Borrower/Client	Mike Ankrom					File No.	262-03716
Property Address	2201 Jefferson Ave						
City	Huntington	County	Cabell	State	WV	Zip Code	25704
Lender	Commercial Loan Funding, LLC ISAOA ATIMA						

TABLE OF CONTENTS

Table of Contents 1
Letter of Transmittal 2
USPAP Identification Addendum 3
Summary of Salient Features 4
URAR 5
Single Family Comparable Rent Schedule 6
URAR 7
Additional Comparables 4-6 8
Additional Comparables 7-9 9
Market Conditions Addendum to the Appraisal Report 10
Analytics Addendum 11
General Text Addendum 12
URAR 14
URAR 15
URAR 16
URAR 17
Appraiser Independence Certification 18
UAD Definitions Addendum 19
Subject Photos 22
Photograph Addendum 23
Photograph Addendum 24
Photograph Addendum 25
Rental Photos 1-3 26
Comparable Photos 1-3 27
Comparable Photos 4-6 28
Comparable Photos 7-9 29
Building Sketch (Page - 1) 30
Building Sketch (Page - 2) 31
Location Map 32
Location Map 33
Location Map 34
Flood Map 35
E&O Insurance 36
WV License 37

Ryan Carter Appraisals, LLC
2201 Coburn Ave
Ashland, KY 41101
606-979-2034

03/05/2026

Fastapp
Commercial Loan Funding, LLC ISAOA ATIMA
211 E Lombard, Suite 290
Baltimore, MD 21202

Re: Property: 2201 Jefferson Ave
Huntington, WV 25704
Borrower: Mike Ankrom
File No.: 262-03716

Opinion of Value: $ 151,000
Effective Date: 03/02/2026

In accordance with your request, we have appraised the above referenced property. The report of that appraisal is attached.

The purpose of the appraisal is to develop an opinion of market value for the property described in this appraisal report, as improved, in unencumbered fee simple title of ownership.

This report is based on a physical analysis of the site and improvements, a locational analysis of the neighborhood and city, and an economic analysis of the market for properties such as the subject. The appraisal was developed and the report was prepared in accordance with the Uniform Standards of Professional Appraisal Practice.

The opinion of value reported above is as of the stated effective date and is contingent upon the certification and limiting conditions attached.

It has been a pleasure to assist you. Please do not hesitate to contact me or any of my staff if we can be of additional service to you.

Sincerely,

Keith Ryan Carter
Certified Residential
License or Certification #: CR2765
State: WV Expires: 09/30/2026
ryancarter@kw.com

USPAP ADDENDUM

2201
File No. 262-03716

Borrower	Mike Ankrom						
Property Address	2201 Jefferson Ave						
City	Huntington	County	Cabell	State	WV	Zip Code	25704
Lender	Commercial Loan Funding, LLC ISAOA ATIMA						

This report was prepared under the following USPAP reporting option:

☒ Appraisal Report — This report was prepared in accordance with USPAP Standards Rule 2-2(a).

☐ Restricted Appraisal Report — This report was prepared in accordance with USPAP Standards Rule 2-2(b).

Reasonable Exposure Time

My opinion of a reasonable exposure time for the subject property at the market value stated in this report is: 0-2 months

This was derived from the median marketing time of the 59 sales within the last 12 months used for statistical purposes in this report. Appraiser assumes 30-45 days between contract being bound and closing date, and the "days on market" on the MLS often includes the time to close.

Additional Certifications

I certify that, to the best of my knowledge and belief:

☒ I have NOT performed services, as an appraiser or in any other capacity, regarding the property that is the subject of this report within the three-year period immediately preceding acceptance of this assignment.

☐ I HAVE performed services, as an appraiser or in another capacity, regarding the property that is the subject of this report within the three-year period immediately preceding acceptance of this assignment. Those services are described in the comments below.

- The statements of fact contained in this report are true and correct.
- The reported analyses, opinions, and conclusions are limited only by the reported assumptions and limiting conditions and are my personal, impartial, and unbiased professional analyses, opinions, and conclusions.
- Unless otherwise indicated, I have no present or prospective interest in the property that is the subject of this report and no personal interest with respect to the parties involved.
- I have no bias with respect to the property that is the subject of this report or the parties involved with this assignment.
- My engagement in this assignment was not contingent upon developing or reporting predetermined results.
- My compensation for completing this assignment is not contingent upon the development or reporting of a predetermined value or direction in value that favors the cause of the client, the amount of the value opinion, the attainment of a stipulated result, or the occurrence of a subsequent event directly related to the intended use of this appraisal.
- My analyses, opinions, and conclusions were developed, and this report has been prepared, in conformity with the Uniform Standards of Professional Appraisal Practice that were in effect at the time this report was prepared.
- Unless otherwise indicated, I have made a personal inspection of the property that is the subject of this report.
- Unless otherwise indicated, no one provided significant real property appraisal assistance to the person(s) signing this certification (if there are exceptions, the name of each individual providing significant real property appraisal assistance is stated elsewhere in this report).

Additional Comments

The Intended User of this appraisal report is the Lender/Client. The Intended Use is to evaluate the property that is the subject of this appraisal for a mortgage finance transaction, subject to the stated Scope of Work, purpose of the appraisal, reporting requirements of the appraisal report form, and Definition of Market Value. No additional Intended Users are identified by the appraiser.

The appraiser has done no prior service for the subject property of this report in the prior 3 years from the accepted date of this assignment, 02/25/2026.

I certify that I have completed this appraisal in accordance with the Uniform Standards of Professional Appraisal Practice (USPAP). I further certify that: My engagement for this assignment was not conditioned on achieving a specific value, approval of a loan, or occurrence of any subsequent event. My compensation for completing this appraisal was not contingent upon the reporting of a predetermined value or direction in value that favors the cause of the client, the attainment of a specific result, or the occurrence of a subsequent event. I have no direct or indirect, current or prospective interest, financial or otherwise, in the subject property or transaction. This appraisal assignment was conducted in a manner that preserves my full independence and ensures that the analysis, opinions, and conclusions contained herein are my own. I certify that the appraisal report submitted is the result of my independent professional judgment, free from influence by any party, including lenders, real estate agents, brokers, or any other interested parties. This certification is in compliance with Fair Housing Act requirements and all applicable regulatory and ethical standards.

APPRAISER:

Signature: Keith R. Carter
Name: Keith Ryan Carter
Date Signed: 03/05/2026
State Certification #: CR2765
or State License #:
State: WV
Expiration Date of Certification or License: 09/30/2026
Effective Date of Appraisal: 03/02/2026

SUPERVISORY APPRAISER: (only if required)

Signature:
Name:
Date Signed:
State Certification #:
or State License #:
State:
Expiration Date of Certification or License:
Supervisory Appraiser Inspection of Subject Property:
☐ Did Not ☐ Exterior-only from Street ☐ Interior and Exterior

SUMMARY OF SALIENT FEATURES

SUBJECT INFORMATION	Subject Address	2201 Jefferson Ave
	Legal Description	BLK 184 LT 1-1A FR HM ADN 2201 JEFFERSON AVE; See DB 1483-337
	City	Huntington
	County	Cabell
	State	WV
	Zip Code	25704
	Census Tract	0010.00
	Map Reference	26580
PRICE & DATE	Contract Price	$
	Date of Contract	
PARTIES	Borrower/Client	Mike Ankrom
	Lender	Commercial Loan Funding, LLC ISAOA ATIMA
DESCRIPTION OF IMPROVEMENTS	Size (Square Feet)	1,076
	Price per Square Foot	$
	Location	N;Res;Res
	Age	126
	Condition	C3
	Total Rooms	5
	Bedrooms	2
	Baths	1.0
APPRAISER	Appraiser	Keith Ryan Carter
	Effective Date of Appraisal	03/02/2026
VALUE	Opinion of Value	$ 151,000

Uniform Residential Appraisal Report

File # 2201 262-03716

The purpose of this summary appraisal report is to provide the lender/client with an accurate, and adequately supported, opinion of the market value of the subject property.

SUBJECT

Property Address 2201 Jefferson Ave | City Huntington | State WV | Zip Code 25704
Borrower Mike Ankrom | Owner of Public Record Ankrom Properties LLC | County Cabell
Legal Description BLK 184 LT 1-1A FR HM ADN 2201 JEFFERSON AVE; See DB 1483-337
Assessor's Parcel # 07-55-00650000 | Tax Year 2025 | R.E. Taxes $ 999
Neighborhood Name A FR HM ADN | Map Reference 26580 | Census Tract 0010.00
Occupant ☐ Owner ☒ Tenant ☐ Vacant | Special Assessments $ 0 | ☐ PUD HOA $ 0 ☐ per year ☐ per month
Property Rights Appraised ☒ Fee Simple ☐ Leasehold ☐ Other (describe)
Assignment Type ☐ Purchase Transaction ☐ Refinance Transaction ☒ Other (describe) Investment
Lender/Client Commercial Loan Funding, LLC ISAOA A Address 211 E Lombard, Suite 290, Baltimore, MD 21202
Is the subject property currently offered for sale or has it been offered for sale in the twelve months prior to the effective date of this appraisal? ☐ Yes ☒ No
Report data source(s) used, offering price(s), and date(s). HBORMLS/HO

CONTRACT

I ☐ did ☐ did not analyze the contract for sale for the subject purchase transaction. Explain the results of the analysis of the contract for sale or why the analysis was not performed.

Contract Price $ | Date of Contract | Is the property seller the owner of public record? ☐ Yes ☐ No Data Source(s)
Is there any financial assistance (loan charges, sale concessions, gift or downpayment assistance, etc.) to be paid by any party on behalf of the borrower? ☐ Yes ☐ No
If Yes, report the total dollar amount and describe the items to be paid.

NEIGHBORHOOD

Note: Race and the racial composition of the neighborhood are not appraisal factors.

Neighborhood Characteristics			One-Unit Housing Trends			One-Unit Housing			Present Land Use %	
Location	☐ Urban ☒ Suburban ☐ Rural		Property Values	☐ Increasing ☒ Stable ☐ Declining		PRICE		AGE	One-Unit	75 %
Built-Up	☒ Over 75% ☐ 25-75% ☐ Under 25%		Demand/Supply	☐ Shortage ☒ In Balance ☐ Over Supply		$ (000)		(yrs)	2-4 Unit	5 %
Growth	☐ Rapid ☒ Stable ☐ Slow		Marketing Time	☒ Under 3 mths ☐ 3-6 mths ☐ Over 6 mths		75	Low	71	Multi-Family	5 %
Neighborhood Boundaries	The subject is bounded on the north by the Ohio River, on the east by US-52,					222	High	126	Commercial	10 %
on the south by I-64, and on the west by Westmoreland.						128	Pred.	81	Other	5 %

Neighborhood Description As of the inspection date, no adverse conditions were observed that would impact the subject's marketability. The property is located in proximity to major roadways, schools, healthcare facilities, retail centers, parks, and employment areas, which may be beneficial to market participants.
Market Conditions (including support for the above conclusions) See addenda.

SITE

Dimensions 35.5 x 155 per county records | Area 5502 sf | Shape Rectangular | View N;Res;Res
Specific Zoning Classification R-2 | Zoning Description Single Family Residential
Zoning Compliance ☒ Legal ☐ Legal Nonconforming (Grandfathered Use) ☐ No Zoning ☐ Illegal (describe)
Is the highest and best use of subject property as improved (or as proposed per plans and specifications) the present use? ☒ Yes ☐ No If No, describe

Utilities	Public	Other (describe)		Public	Other (describe)	Off-site Improvements – Type	Public	Private
Electricity	☒	☐	Water	☒	☐	Street Asphalt	☒	☐
Gas	☒	☐	Sanitary Sewer	☒	☐	Alley Driveway - not through st	☒	☐

FEMA Special Flood Hazard Area ☐ Yes ☒ No | FEMA Flood Zone X500 | FEMA Map # 54011C0111E | FEMA Map Date 02/19/2014
Are the utilities and off-site improvements typical for the market area? ☒ Yes ☐ No If No, describe
Are there any adverse site conditions or external factors (easements, encroachments, environmental conditions, land uses, etc.)? ☐ Yes ☒ No If Yes, describe

IMPROVEMENTS

General Description		Foundation		Exterior Description	materials/condition	Interior	materials/condition
Units	☒ One ☐ One with Accessory Unit	☐ Concrete Slab	☒ Crawl Space	Foundation Walls	Block-Avg	Floors	HW-Good
# of Stories	1	☐ Full Basement	☐ Partial Basement	Exterior Walls	Vinyl-Good	Walls	DW-Good
Type	☒ Det. ☐ Att. ☐ S-Det./End Unit	Basement Area	0 sq.ft.	Roof Surface	CS-Good	Trim/Finish	Wood-Good
☒ Existing	☐ Proposed ☐ Under Const.	Basement Finish	0 %	Gutters & Downspouts	Alum-Avg	Bath Floor	LVT-Good
Design (Style)	Ranch	☐ Outside Entry/Exit	☐ Sump Pump	Window Type	Vinyl-Good	Bath Wainscot	None
Year Built	1900	Evidence of ☐ Infestation		Storm Sash/Insulated	Ins-Good	Car Storage	☐ None
Effective Age (Yrs)	15	☐ Dampness	☐ Settlement	Screens	Scr-Good	☒ Driveway	# of Cars 4
Attic	☐ None	Heating ☒ FWA	☐ HWBB ☐ Radiant	Amenities	☐ Woodstove(s) # 0	Driveway Surface	Concrete-Good
☒ Drop Stair	☐ Stairs	☐ Other	Fuel Gas	☐ Fireplace(s) # 0	☒ Fence Vn/Ch/Wd	☒ Garage	# of Cars 2
☐ Floor	☐ Scuttle	Cooling ☒ Central Air Conditioning		☒ Patio/Deck 1/0	☒ Porch Front	☐ Carport	# of Cars 0
☐ Finished	☐ Heated	☐ Individual	☐ Other	☐ Pool None	☐ Other None	☐ Att.	☒ Det. ☐ Built-in

Appliances ☒ Refrigerator ☒ Range/Oven ☐ Dishwasher ☐ Disposal ☐ Microwave ☐ Washer/Dryer ☐ Other (describe)
Finished area **above** grade contains: 5 Rooms 2 Bedrooms 1.0 Bath(s) 1,076 Square Feet of Gross Living Area Above Grade
Additional features (special energy efficient items, etc.). None
Describe the condition of the property (including needed repairs, deterioration, renovations, remodeling, etc.). C3;Kitchen-updated-six to ten years ago;Bathrooms-remodeled-less than one year ago;See addenda.
Are there any physical deficiencies or adverse conditions that affect the livability, soundness, or structural integrity of the property? ☐ Yes ☒ No If Yes, describe
Does the property generally conform to the neighborhood (functional utility, style, condition, use, construction, etc.)? ☒ Yes ☐ No If No, describe

Form 1004UAD - "TOTAL" appraisal software by a la mode, inc. - 1-800-ALAMODE

Ryan Carter Appraisals

SINGLE FAMILY COMPARABLE RENT SCHEDULE

2201
File # 262-03716

This form is intended to provide the appraiser with a familiar format to estimate the market rent of the subject property. Adjustments should be made only for items of significant difference between the comparables and the subject property.

ITEM	SUBJECT	COMPARABLE NO. 1		COMPARABLE NO. 2		COMPARABLE NO. 3	
Address	2201 Jefferson Ave Huntington, WV 25704	848 Jackson Ave Huntington, WV 25704		4122 Brandon Rd Huntington, WV 25704		372 S Walnut St Huntington, WV 25705	
Proximity to Subject		1.25 miles E		1.31 miles W		4.58 miles E	
Date Lease Begins Date Lease Expires		10/01/2025 10/01/2026		Annual Annual		01/01/2026 01/01/2027	
Monthy Rental	If Currently Rented: $	$ 800		$ 1,200		$ 1,150	
Less: Utilities Furniture	$ 50	$ 50		$ 50		$ 50	
Adjusted Monthly Rent	$ -50	$ 750		$ 1,150		$ 1,100	
Data Source	Int-Ext Inspection	Int-Ext Inspection		Zillow/FB Mktplce/Owner ExtInspection/PVA		Int-Ext Inspection	
RENT ADJUSTMENTS	DESCRIPTION	DESCRIPTION	+(−)$ Adjust.	DESCRIPTION	+(−)$ Adjust.	DESCRIPTION	+(−)$ Adjust.
Rent Concessions							
Location/View	N;Res;Res N;Res;Res	N;Res;Res N;Res;Res		N;Res;Res N;Res;Res		N;Res;Res N;Res;Res	
Design and Appeal	DT1;Ranch	DT1;Ranch		DT1;Ranch		DT1;Ranch	
Age/Condition	126 C3	96 C3	0	125 C3	0	79 C4	0 +50
Above Grade Room Count	Total Bdrms Baths 5 2 1.0	Total Bdrms Baths 4 2 1.0	0	Total Bdrms Baths 4 2 1.0	0	Total Bdrms Baths 4 2 1.0	0
Gross Living Area	1,076 Sq. Ft.	723 Sq. Ft.		854 Sq. Ft.		790 Sq. Ft.	
Other (e.g., basement, etc.)	0sf	0sf		0sf		0sf	
Other:	Pch/Pat/2DG Trash	None Trash	+150	Porch/1dg Trash	+50	Porch/Deck/1bi Trash	0
Net Adj. (total)		☒ + ☐ −	$ 150	☒ + ☐ −	$ 50	☒ + ☐ −	$ 50
Indicated Monthly Market Rent			$ 900		$ 1,200		$ 1,150

Comments on market data, including the range of rents for single family properties, an estimate of vacancy for single family rental properties, the general trend of rents and vacancy, and support for the above adjustments. (Rent concessions should be adjusted to the market, not to the subject property.) The median rent of the 3 comparables is $1150, after adjusting for utilities and amenities. HUD published rents for 2 bedrooms in the 25704 zip code is $1000. Appraiser opinion of market rent was derived using the comps, with HUD published rents representing the true lower end of rents. The subject has a higher than typical GLA for a 2 bedroom, and also has a fenced in yard, 2 car detached garage, covered porch and patio, and additional parking. For these reasons, the subject can achieve a higher than HUD published rent.

Final Reconciliation of Market Rent: Appraiser opinion of market rent was derived from the median adjusted lease value.

I (WE) ESTIMATE THE MONTHLY MARKET RENT OF THE SUBJECT AS OF 03/02/2026 **TO BE $** 1,150

Appraiser(s) SIGNATURE
NAME Keith Ryan Carter
Certified Residential
Date Property Inspected 03/02/2026 Report Signed 03/05/2026
License or Certification # CR2765 State WV
Expiration Date of License or Certification 09/30/2026

Review Appraiser (If applicable) SIGNATURE
NAME
Date Property Inspected Report Signed
License or Certification # State
Expiration Date of License or Certification
Review Appraiser ☐ Did ☐ Did Not Inspect Subject Property

Uniform Residential Appraisal Report

File # 2201 262-03716

There are 10 comparable properties currently offered for sale in the subject neighborhood ranging in price from $ 99,000 to $ 190,000 .

There are 59 comparable sales in the subject neighborhood within the past twelve months ranging in sale price from $ 75,000 to $ 222,000 .

SALES COMPARISON APPROACH

FEATURE	SUBJECT	COMPARABLE SALE # 1		COMPARABLE SALE # 2		COMPARABLE SALE # 3	
Address	2201 Jefferson Ave Huntington, WV 25704	248 Kentucky St Huntington, WV 25704		244 Indiana St Huntington, WV 25704		3416 Hughes St Huntington, WV 25704	
Proximity to Subject		1.07 miles W		1.00 miles W		0.90 miles SW	
Sale Price	$		$ 160,000		$ 169,900		$ 129,500
Sale Price/Gross Liv. Area	$ sq.ft.	$ 135.25 sq.ft.		$ 147.48 sq.ft.		$ 161.88 sq.ft.	
Data Source(s)		181793;DOM 36		182724;DOM 28		182325;DOM 15	
Verification Source(s)		Ext Insp/MLS/PVA		Ext Insp/MLS/PVA		Ext Insp/MLS/PVA	
VALUE ADJUSTMENTS	DESCRIPTION	DESCRIPTION	+(-) $ Adjustment	DESCRIPTION	+(-) $ Adjustment	DESCRIPTION	+(-) $ Adjustment
Sales or Financing Concessions		ArmLth Conv;0		ArmLth Cash;0		ArmLth Cash;0	
Date of Sale/Time		s08/25;c07/25		s12/25;c12/25		s10/25;c10/25	
Location	N;Res;Res	N;Res;Res		N;Res;Res		N;Res;Res	
Leasehold/Fee Simple	Fee Simple	Fee Simple		Fee Simple		Fee Simple	
Site	5502 sf	5240 sf	0	5200 sf	0	5663 sf	0
View	N;Res;Res	N;Res;Res		N;Res;Res		N;Res;Res	
Design (Style)	DT1;Ranch	DT2;Cape Cod	0	DT1;Ranch		DT1;Ranch	
Quality of Construction	Q4	Q4		Q4		Q4	
Actual Age	126	71	0	86	0	75	0
Condition	C3	C3		C3		C3	
Above Grade Room Count (Total / Bdrms. / Baths)	5 / 2 / 1.0	5 / 3 / 1.0	-5,000 / 0	5 / 2 / 1.1	-2,500	5 / 2 / 1.0	
Gross Living Area	1,076 sq.ft.	1,183 sq.ft.	-3,531	1,152 sq.ft.	-2,508	800 sq.ft.	+9,108
Basement & Finished Rooms Below Grade	0sf	0sf		0sf		0sf	
Functional Utility	Functional	Functional		Functional		Functional	
Heating/Cooling	CH&A	CH&A		CH&A		CH&A	
Energy Efficient Items	None	None		None		None	
Garage/Carport	2gd4dw	2gd2dw	0	1cp1dw	+7,000	1gd1dw	+4,000
Porch/Patio/Deck	Porch/Patio	Porch/Patio		Porch/Deck	0	Porch	+1,000
Amenities/Ext	None/Vinyl	None/Vin/Stn	0	None/Vinyl		None/Vinyl	
Amenities	FN	FN		FN/OBx2	-2,000	FN	
Est cost to cure	$0	$0		$0		$0	
Net Adjustment (Total)		☐ + ☒ -	$ -8,531	☐ + ☒ -	$ -8	☒ + ☐ -	$ 14,108
Adjusted Sale Price of Comparables		Net Adj. 5.3 % Gross Adj. 5.3 %	$ 151,469	Net Adj. 0.0 % Gross Adj. 8.2 %	$ 169,892	Net Adj. 10.9 % Gross Adj. 10.9 %	$ 143,608

I ☒ did ☐ did not research the sale or transfer history of the subject property and comparable sales. If not, explain

My research ☒ did ☐ did not reveal any prior sales or transfers of the subject property for the three years prior to the effective date of this appraisal.

Data Source(s) County Records

My research ☒ did ☐ did not reveal any prior sales or transfers of the comparable sales for the year prior to the date of sale of the comparable sale.

Data Source(s) County Records

Report the results of the research and analysis of the prior sale or transfer history of the subject property and comparable sales (report additional prior sales on page 3).

ITEM	SUBJECT	COMPARABLE SALE #1	COMPARABLE SALE #2	COMPARABLE SALE #3
Date of Prior Sale/Transfer	05/30/2023			10/14/2025
Price of Prior Sale/Transfer	$41,000			$129,500
Data Source(s)	County Records	County Records	County Records	County Records
Effective Date of Data Source(s)	03/02/2026	03/02/2026	03/02/2026	03/02/2026

Analysis of prior sale or transfer history of the subject property and comparable sales Prior sale of subject was an arms length sale, and occurred prior to renovations and updates.

The prior transfer for Comp #3 was not an arms length sale, and appears to be a deed transfer for the purpose of closing the sale.

Summary of Sales Comparison Approach See addenda.

Indicated Value by Sales Comparison Approach $ 151,000

RECONCILIATION

Indicated Value by: Sales Comparison Approach $ 151,000 **Cost Approach (if developed) $** 155,781 **Income Approach (if developed) $** 138,000

The income approach was developed using market rents. The cost approach was developed using Marshall and Swift tables, but is not currently the best method for determining market value. Most weight was given to the sales comparison approach since it most accurately reflects current market trends and conditions.

This appraisal is made ☒ "as is", ☐ subject to completion per plans and specifications on the basis of a hypothetical condition that the improvements have been completed, ☐ subject to the following repairs or alterations on the basis of a hypothetical condition that the repairs or alterations have been completed, or ☐ subject to the following required inspection based on the extraordinary assumption that the condition or deficiency does not require alteration or repair:

Based on a complete visual inspection of the interior and exterior areas of the subject property, defined scope of work, statement of assumptions and limiting conditions, and appraiser's certification, my (our) opinion of the market value, as defined, of the real property that is the subject of this report is $ 151,000 **, as of** 03/02/2026 **, which is the date of inspection and the effective date of this appraisal.**

Form 1004UAD - "TOTAL" appraisal software by a la mode, inc. - 1-800-ALAMODE

Uniform Residential Appraisal Report

2201
File # 262-03716

SALES COMPARISON APPROACH

FEATURE	SUBJECT	COMPARABLE SALE # 4		COMPARABLE SALE # 5		COMPARABLE SALE # 6	
Address	2201 Jefferson Ave Huntington, WV 25704	3007 Auburn Rd Huntington, WV 25704		1020 6th St Huntington, WV 25701		3203 Bradley Rd Huntington, WV 25704	
Proximity to Subject		0.66 miles W		2.47 miles E		0.74 miles SW	
Sale Price	$		$ 165,000		$ 164,900		$ 163,500
Sale Price/Gross Liv. Area	$ sq.ft.	$ 152.78 sq.ft.		$ 129.94 sq.ft.		$ 113.62 sq.ft.	
Data Source(s)		182933;DOM 59		180667;DOM 35		182762;DOM 87	
Verification Source(s)		Ext Insp/MLS/PVA		Ext Insp/MLS/PVA		Ext Insp/MLS/PVA	
VALUE ADJUSTMENTS	DESCRIPTION	DESCRIPTION	+(-) $ Adjustment	DESCRIPTION	+(-) $ Adjustment	DESCRIPTION	+(-) $ Adjustment
Sales or Financing Concessions		Listing	-2,030	ArmLth Conv;4000	0	ArmLth FHA;6000	0
Date of Sale/Time		Active		s04/25;c03/25		s02/26;c01/26	
Location	N;Res;Res	N;Res;Res		N;Res;Res		N;Res;Res	
Leasehold/Fee Simple	Fee Simple	Fee Simple		Fee Simple		Fee Simple	
Site	5502 sf	6534 sf	0	3920 sf	0	5401 sf	0
View	N;Res;Res	N;Res;Res		N;Res;Res		N;Res;Res	
Design (Style)	DT1;Ranch	DT1;Ranch		DT2;Cape Cod	0	DT2;Ranch	0
Quality of Construction	Q4	Q4		Q4		Q4	
Actual Age	126	76	0	126		76	0
Condition	C3	C3		C3		C3	
Above Grade Room Count (Total / Bdrms. / Baths)	5 / 2 / 1.0	7 / 3 / 1.1	-2,500	6 / 2 / 2.0	-5,000	6 / 3 / 1.1	-2,500
Above Grade Room Count (Total / Bdrms. / Baths)							-5,000
Gross Living Area	1,076 sq.ft.	1,080 sq.ft.	0	1,269 sq.ft.	-6,369	1,439 sq.ft.	-11,979
Basement & Finished Rooms Below Grade	0sf	400sf200sfwo 0rr0br0.0ba1o	-3,300 -2,500	0sf		750sf0sfin	-6,188
Functional Utility	Functional	Functional		Functional		Functional	
Heating/Cooling	CH&A	CH&A		CH&A		CH&A	
Energy Efficient Items	None	None		None		None	
Garage/Carport	2gd4dw	1gbi1dw	+3,000	1dw	+8,000	1cp1dw	+7,000
Porch/Patio/Deck	Porch/Patio	Porch/Deck	0	Porch/Patio		Porch/Patio	
Amenities/Ext	None/Vinyl	None/Vinyl		None/Vinyl		None/Brick	0
Amenities	FN	FN		FN		FN	
Est cost to cure	$0	$0		$0		$0	
Net Adjustment (Total)		☐ + ☒ -	$ -7,330	☐ + ☒ -	$ -3,369	☐ + ☒ -	$ -18,667
Adjusted Sale Price of Comparables		Net Adj. 4.4 % Gross Adj. 8.1 %	$ 157,670	Net Adj. 2.0 % Gross Adj. 11.7 %	$ 161,531	Net Adj. 11.4 % Gross Adj. 20.0 %	$ 144,833

SALE HISTORY

Report the results of the research and analysis of the prior sale or transfer history of the subject property and comparable sales (report additional prior sales on page 3).

ITEM	SUBJECT	COMPARABLE SALE # 4	COMPARABLE SALE # 5	COMPARABLE SALE # 6
Date of Prior Sale/Transfer	05/30/2023			
Price of Prior Sale/Transfer	$41,000			
Data Source(s)	County Records	County Records	County Records	County Records
Effective Date of Data Source(s)	03/02/2026	03/02/2026	03/02/2026	03/02/2026

Analysis of prior sale or transfer history of the subject property and comparable sales: See analysis under comps 1-3.

ANALYSIS / COMMENTS

Analysis/Comments: See addenda.

Form 1004UAD.(AC) - "TOTAL" appraisal software by a la mode, inc. - 1-800-ALAMODE

Uniform Residential Appraisal Report

File # 2201 262-03716

SALES COMPARISON APPROACH

FEATURE	SUBJECT	COMPARABLE SALE # 7		COMPARABLE SALE # 8		COMPARABLE SALE # 9	
Address	2201 Jefferson Ave Huntington, WV 25704	331 Bernard St Huntington, WV 25704					
Proximity to Subject		0.26 miles NW					
Sale Price	$		$ 153,000		$		$
Sale Price/Gross Liv. Area	$ sq.ft.	$ 99.09 sq.ft.		$ sq.ft.		$ sq.ft.	
Data Source(s)		181876;DOM 165					
Verification Source(s)		Ext Insp/MLS/PVA					
VALUE ADJUSTMENTS	DESCRIPTION	DESCRIPTION	+(-) $ Adjustment	DESCRIPTION	+(-) $ Adjustment	DESCRIPTION	+(-) $ Adjustment
Sales or Financing Concessions		ArmLth FHA;4500	0				
Date of Sale/Time		s01/26;c11/25					
Location	N;Res;Res	N;Res;Res					
Leasehold/Fee Simple	Fee Simple	Fee Simple					
Site	5502 sf	4800 sf	0				
View	N;Res;Res	N;Res;Res					
Design (Style)	DT1;Ranch	DT1;Ranch					
Quality of Construction	Q4	Q4					
Actual Age	126	105	0				
Condition	C3	C3					
Above Grade Room Count	Total 5 / Bdrms. 2 / Baths 1.0	Total 6 / Bdrms. 3 / Baths 2.0	-5,000	Total / Bdrms. / Baths		Total / Bdrms. / Baths	
			-5,000				
Gross Living Area	1,076 sq.ft.	1,544 sq.ft.	-15,444	sq.ft.		sq.ft.	
Basement & Finished Rooms Below Grade	0sf	0sf					
Functional Utility	Functional	Functional					
Heating/Cooling	CH&A	CH&A					
Energy Efficient Items	None	None					
Garage/Carport	2gd4dw	1dw	+8,000				
Porch/Patio/Deck	Porch/Patio	Porch	+1,000				
Amenities/Ext	None/Vinyl	None/Vinyl					
Amenities	FN	OB	+1,000				
Est cost to cure	$0	$0					
Net Adjustment (Total)		☐ + ☒ -	$ -15,444	☐ + ☐ -	$	☐ + ☐ -	$
Adjusted Sale Price of Comparables		Net Adj. 10.1 % Gross Adj. 23.2 %	$ 137,556	Net Adj. % Gross Adj. %	$	Net Adj. % Gross Adj. %	$

SALE HISTORY

Report the results of the research and analysis of the prior sale or transfer history of the subject property and comparable sales (report additional prior sales on page 3).

ITEM	SUBJECT	COMPARABLE SALE # 7	COMPARABLE SALE # 8	COMPARABLE SALE # 9
Date of Prior Sale/Transfer	05/30/2023			
Price of Prior Sale/Transfer	$41,000			
Data Source(s)	County Records	County Records		
Effective Date of Data Source(s)	03/02/2026	03/02/2026		

Analysis of prior sale or transfer history of the subject property and comparable sales: See analysis under comps 1-3.

ANALYSIS / COMMENTS

Analysis/Comments: See addenda.

Form 1004UAD.(AC) - "TOTAL" appraisal software by a la mode, inc. - 1-800-ALAMODE

Market Conditions Addendum to the Appraisal Report

File No. 2201 262-03716

The purpose of this addendum is to provide the lender/client with a clear and accurate understanding of the market trends and conditions prevalent in the subject neighborhood. This is a required addendum for all appraisal reports with an effective date on or after April 1, 2009.

Property Address 2201 Jefferson Ave City Huntington State WV ZIP Code 25704

Borrower Mike Ankrom

Instructions: The appraiser must use the information required on this form as the basis for his/her conclusions, and must provide support for those conclusions, regarding housing trends and overall market conditions as reported in the Neighborhood section of the appraisal report form. The appraiser must fill in all the information to the extent it is available and reliable and must provide analysis as indicated below. If any required data is unavailable or is considered unreliable, the appraiser must provide an explanation. It is recognized that not all data sources will be able to provide data for the shaded areas below; if it is available, however, the appraiser must include the data in the analysis. If data sources provide the required information as an average instead of the median, the appraiser should report the available figure and identify it as an average. Sales and listings must be properties that compete with the subject property, determined by applying the criteria that would be used by a prospective buyer of the subject property. The appraiser must explain any anomalies in the data, such as seasonal markets, new construction, foreclosures, etc.

MARKET RESEARCH & ANALYSIS

Inventory Analysis	Prior 7–12 Months	Prior 4–6 Months	Current – 3 Months	Overall Trend		
Total # of Comparable Sales (Settled)	31	15	13	☐ Increasing	☐ Stable	☒ Declining
Absorption Rate (Total Sales/Months)	5.17	5.00	4.33	☐ Increasing	☐ Stable	☒ Declining
Total # of Comparable Active Listings	5	6	10	☐ Declining	☐ Stable	☒ Increasing
Months of Housing Supply (Total Listings/Ab.Rate)	0.97	1.20	2.31	☐ Declining	☐ Stable	☒ Increasing

Median Sale & List Price, DOM, Sale/List %	Prior 7–12 Months	Prior 4–6 Months	Current – 3 Months	Overall Trend		
Median Comparable Sale Price	$127,000	$129,500	$128,000	☐ Increasing	☒ Stable	☐ Declining
Median Comparable Sales Days on Market	19	14	3	☒ Declining	☐ Stable	☐ Increasing
Median Comparable List Price	$110,000	$159,750	$162,200	☒ Increasing	☐ Stable	☐ Declining
Median Comparable Listings Days on Market	77	11	24	☒ Declining	☐ Stable	☐ Increasing
Median Sale Price as % of List Price	100.00%	97.30%	98.77%	☐ Increasing	☐ Stable	☒ Declining
Seller-(developer, builder, etc.)paid financial assistance prevalent?	☐ Yes	☒ No		☐ Declining	☒ Stable	☐ Increasing

Explain in detail the seller concessions trends for the past 12 months (e.g., seller contributions increased from 3% to 5%, increasing use of buydowns, closing costs, condo fees, options, etc.). Sellers typically negotiate a downward price from the list price to the sale price in this market. This is supported by the data in this report. Sellers often pay closing costs, pre-paids, downpayment or for updating, (e.g., painting, etc.). From observation, more "For Sale by Owner" signs are appearing throughout the subject's market.

Are foreclosure sales (REO sales) a factor in the market? ☒ Yes ☐ No If yes, explain (including the trends in listings and sales of foreclosed properties).

Lenders are marketing and reducing their inventories of foreclosed properties. They are offering reduced pricing to move their inventory per report of a local realtor who specializes in this foreclosure market. The appraiser's experience in the market over the last year also supports this market opinion. However, REO sales are not common and they are not a driving force in the market area. REO sales are not frequent enough to affect the subject's marketability.

Cite data sources for above information. The Market Conditions Addenda was completed with data from Huntington Board of REALTORS MLS with an effective date of 03/02/2026.

Summarize the above information as support for your conclusions in the Neighborhood section of the appraisal report form. If you used any additional information, such as an analysis of pending sales and/or expired and withdrawn listings, to formulate your conclusions, provide both an explanation and support for your conclusions.

The data appears to show prices are stable & supply is increasing but stable. Inventory data appear to be in line with normal seasonal fluctuations. In the market area, inventory is varied from homes that need updating, to move-in ready homes, to move-in ready homes renovated to a high degree. The MC addendum does not reflect variances in site size, amenities, room counts, or updates, which are adjusted for in the grid. In the market area, the cost to build new construction is currently more than the sales comp approach, therefore, there is not an incentive to build. House flippers are incentivized, and more and more houses are getting renovated and flipped in the area, which is the main factor causing price increases between condition ratings. Appraiser did not utilize a time market adjustment in the grid. Variations in pricing are adjusted for in the grid.

CONDO/CO-OP PROJECTS

If the subject is a unit in a condominium or cooperative project , complete the following: **Project Name:**

Subject Project Data	Prior 7–12 Months	Prior 4–6 Months	Current – 3 Months	Overall Trend		
Total # of Comparable Sales (Settled)				☐ Increasing	☐ Stable	☐ Declining
Absorption Rate (Total Sales/Months)				☐ Increasing	☐ Stable	☐ Declining
Total # of Active Comparable Listings				☐ Declining	☐ Stable	☐ Increasing
Months of Unit Supply (Total Listings/Ab.Rate)				☐ Declining	☐ Stable	☐ Increasing

Are foreclosure sales (REO sales) a factor in the project? ☐ Yes ☐ No If yes, indicate the number of REO listings and explain the trends in listings and sales of foreclosed properties.

Summarize the above trends and address the impact on the subject unit and project.

APPRAISER

Signature		Signature	
Appraiser Name	Keith Ryan Carter	Supervisory Appraiser Name	
Company Name	Ryan Carter Appraisals, LLC	Company Name	
Company Address	2201 Coburn Ave, Ashland, KY 41101	Company Address	
State License/Certification #	CR2765 State WV	State License/Certification #	State
Email Address	ryancarter@kw.com	Email Address	

Form 1004MC2 - "TOTAL" appraisal software by a la mode, inc. - 1-800-ALAMODE

Analytics Addendum

Borrower/Client	Mike Ankrom						
Property Address	2201 Jefferson Ave						
City	Huntington	County	Cabell	State	WV	Zip Code	25704
Lender	Commercial Loan Funding, LLC ISAOA ATIMA						

This analysis of prices in the subject market from 03-18-2025 to 02-26-2026 yields a price range of $97,597 to $172,122 for properties in the subject market as of 03-02-2026.

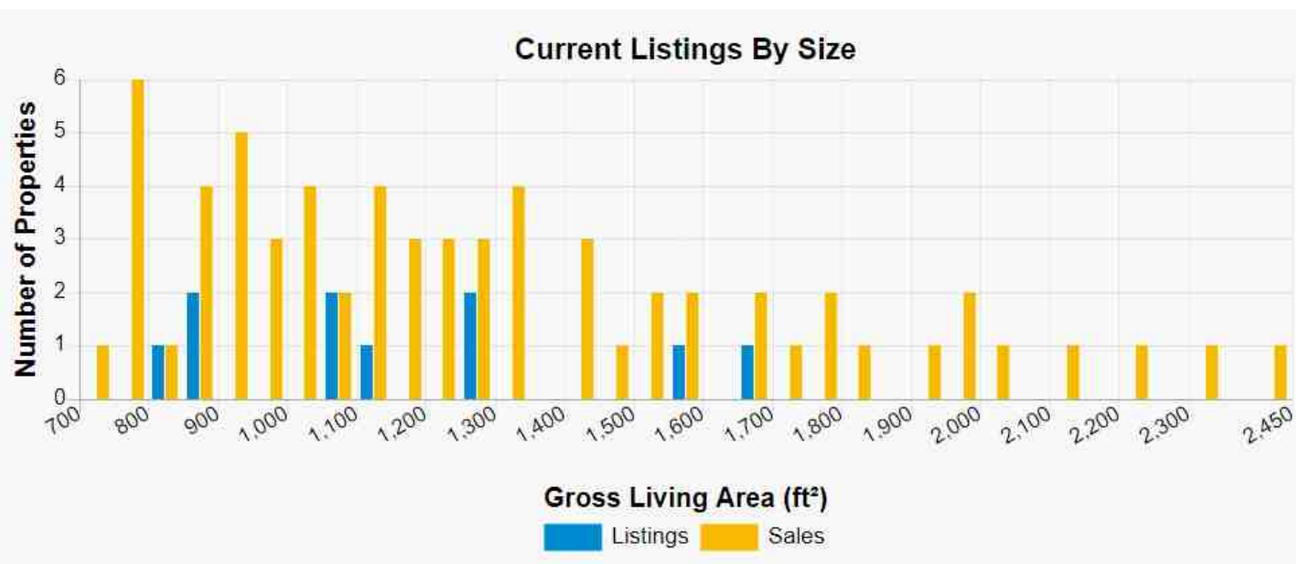

This chart groups 75 properties in the subject market by size.
Subject Property: 1076 sf;
GLA Range: 704 sf - 2,426 sf; GLA Median: 1,164 sf; GLA Average: 1,271 sf;

For each month from 03-03-2025 to 03-02-2026 this chart shows the median price per square foot for both sales and listings in the subject market.

Supplemental Addendum

File No. 262-03716

Borrower/Client	Mike Ankrom						
Property Address	2201 Jefferson Ave						
City	Huntington	County	Cabell	State	WV	Zip Code	25704
Lender	Commercial Loan Funding, LLC ISAOA ATIMA						

• **URAR: Neighborhood - Market Conditions**
Financing is readily available from a wide variety of sources at this particular time. A recent dip in interest rates and market conditions appear to be a driving force of the increase of sold homes in the overall tri-state market area.

Recent economic developments, including the establishment of a Welding & Robotics Technology Training Center, the Appalachian Climate Technologies Now Coalition (which secured $62.8 million in federal funding), renovations at Marshall University, the Kinetic Park Expansion (a 95-acre business and technology park continues to attract commercial and tech enterprises, providing employment opportunities and fostering economic growth), Huntington's approval as a BUILD WV district (that offers tax incentives to developers, addressing a housing gap of over 2,780 units and supporting the influx of workers from projects like Nucor Steel and Marshall University expansions), and broader revitalization efforts, have contributed to increased interest from buyers relocating from higher-cost regions. The largest employers in the Huntington, WV area are Marathon, Huntington Alloys, Marshall University, Kings Daughters UK Medical Center, and St. Mary's Medical Center. All of these appear to be continuing to provide employment for the larger market area. From personal observation, and speaking with other appraiser and realtors, there appears to be people from other locations migrating to the tri-state area. Specific population data is not yet available to determine numbers, as a proper census has not been conducted in the area for a long time. The appraiser notes that market conditions are potentially changing and the local real estate markets could potentially see effects.

An appraisal inspection is typically limited to those things readily observable without the use of special testing or equipment. Appraisals of some types of property, such as gems and jewelry, may require the use of specialized equipment. An inspection by an appraiser is not the equivalent of an inspection by an inspection professional (e.g., structural engineer, home inspector, or surveyor, etc.). The appraiser does not accept liability for potential issues that would require additional equipment and expertise as listed above, or any issues not readily observable. The appraiser is not a home inspector/surveyor/structural engineer/electrician/plumber/etc. The appraiser assumes overall functionality. If the borrower has concerns it is the responsibility of the borrower and or lender to acquire further more detailed inspections.

• **X500 Flood Zone Designation**
The designation of X500 is a FEMA classification that identifies areas with moderate to low risk of flooding based on historical data and hydraulic analysis. This flood zone was created in response to the need for more accurate and detailed information about flood risks in specific areas. The X500 designation means that there is less than a 0.2% chance of annual flooding, or a 1 in 500 chance, which makes it one of the safest flood zones. FEMA regulations require builders and developers to follow certain guidelines when constructing buildings in X500 zones. These guidelines may include elevating structures above the base flood elevation, using appropriate building materials that can withstand flood damage, and implementing drainage systems to prevent water from pooling around buildings. Homeowners who live in these areas are not required to but are still encouraged to purchase flood insurance as a precautionary measure against unexpected floods.

• **Subject Measurement Standards**
The appraiser utilized measurement methods adhering to updated ANSI Z765-2021 standards. Comps used in the report may not be held to the same standards.

• **High Days on Market**
The subject property reported a Days on Market (DOM) of 303 days, compared to a median DOM of 49 days for comparable properties in the market area. The appraiser contacted the listing agent for clarification regarding the extended marketing period. According to the listing agent, the property was tenant-occupied during the listing period and was reportedly difficult to show. Tenant occupancy can limit showing availability and flexibility, which may reduce buyer access and market exposure. The presence of an atypical number of occupants (as observed by the number of beds present during inspection), a dog present in listing photos, and personal property observed at the time of inspection is consistent with active tenancy and potential issues with showing the property. The subject appears to compete primarily in a market segment dominated by owner-occupant purchasers. Properties with tenants in place may appeal to a narrower buyer pool, particularly when access is restricted or when a lease is in effect. Reduced showing availability can contribute to extended marketing time. In the appraiser’s opinion, the extended DOM is reasonably explained by tenant occupancy and limited showing access rather than by observable adverse physical deficiencies. The final contract price is considered reflective of current market conditions.

• **URAR: Subject - Overall Condition of the Property**
C3; Appraiser observed the subject as a ranch style home with vinyl siding. Subject appears to have had all major components updated in the last 3 years. At the time of inspection, tenants had just moved in. The purple paint in the bathroom appears to have been started by the tenants, despite interior paint being recently updated by the owner. The subject has a fenced yard, 2 car detached garage, a covered front porch and rear patio, & central heat & air, which places it above the typical 2 bedroom house in the market area. The in-place rent is $900, however, this rent does not include the usage of the garage, which the owner intends to rent out at $200/mo. Appraiser tested light switches, performed a "head & shoulders" inspection of the crawl space and attic, observed the heat running during inspection, ran the water, flushed the toilet, observed the refrigerator, observed smoke detectors, & observed the water heater (with downward facing relief pipe). No functionality concerns were observed and no cost to cure is necessary. Effective age is below chronological age due to past updates, renovations, and maintenance.

• **URAR: Sales Comparison Analysis - Summary of Sales Comparison Approach**
The appraiser utilized a 12 month sales history and a 2.5 mile search radius to obtain similarly marketable comps. A wider search radius was necessary to locate similarly marketable homes in the area. No adjustments were applied for concessions, as the amounts are typical for the market and paired sales data does not indicate measurable impact on sale prices. GLA, site size, age, bedrooms, and bathrooms are bracketed.

Comps are sorted by appraiser weight. Comp #4 is an active listing. An adjustment was applied for the active listing, using data derived from the MC Addendum. Comp #7 is the closest to the subject in proximity, but has the highest gross adjustment percentage, and a high DOM. Comp #4 has the most similar GLA. Comps #2, #6, & #7 closed within the last 90 days. Comp #1 has the lowest percentage of adjustments. Comp #1 has a 2 car detached garage. Comp #3 has identical room counts.

GLA adjustments were derived using the Ratterman Theory, using 25% of the median sold price of the comps in the report. The basement sf adjustment is 25% of the GLA adjustment. The site size adjustment was derived using 15% of the appraiser opinion of value for the site size. All other adjustments were derived using paired sales analyses.

No time market adjustment was utilized in the grid. The comparable sales span a reasonable timeframe prior to the effective date of the appraisal. After applying market-based adjustments, the adjusted sale prices were reviewed in chronological order and showed no consistent trend over time. Therefore, there is no support for a time adjustment based on observed market

Supplemental Addendum

File No. 262-03716

Borrower/Client	Mike Ankrom						
Property Address	2201 Jefferson Ave						
City	Huntington	County	Cabell	State	WV	Zip Code	25704
Lender	Commercial Loan Funding, LLC ISAOA ATIMA						

behavior. This is consistent with market participant expectations and reflects current market conditions.

The variance between the highest and lowest adjusted values is $32k, which is typical for homes of similar size in this market. Recent economic developments and broader revitalization efforts have contributed to increased interest from buyers relocating from higher-cost regions. These incoming buyers often have comparatively higher purchasing power and may engage in more competitive bidding within a market characterized by limited inventory. Shifts in supply and demand conditions contribute to a range of buyer and seller behaviors, occasionally resulting in outlier transactions. Additionally, listing prices in the area are frequently influenced by individual seller preferences and do not always align with prevailing market data. Due to these factors, the appraiser has placed considerable weight on the median and average adjusted sale prices, rather than relying on isolated sales, when forming the opinion of market value.

The predominant sold price of the 59 comps used for market research is $128k. Subject is not an over-improvement. Appraiser opinion of value for the subject is above the predominant value due to recent updates, a 2 car detached garage, and amenities. The median sold price of the comps is $162k, and the average sold price is $157k. The median adjusted value of the comps is $151k, and the average adjusted value is $152k. Appraiser opinion of value was derived using the adjusted value of Comp #1, which has the lowest gross adjustment percentage, and is also the median adjusted value.

ADDITIONAL COMMENTS

Geographic Competency

The subject property is located approximately 14.50 miles from the appraiser's office. This assignment requires geographic competency as part of the scope of work. The appraiser has spent sufficient time in the subject market area and is familiar with the local market nuances, including supply and demand factors relevant to the property type and location. This level of understanding goes beyond the interpretation of data such as sales, costs, or rentals and provides essential context to accurately compare market activity and value indicators.

Highest and Best Use

The highest and best use of the subject property, as improved, is its current residential use. It is not proposed for any alternative use, and the neighborhood supports continued residential utilization. The subject meets all four tests of highest and best use: Legally permissible, Physically possible, Financially feasible, & Maximally productive

Appraiser Fee & AMC Information

Appraiser fee: $600
AMC: #WV000597

Additional Notes

All addresses within the report have been standardized to USPS format.

All utilities were on and functional at the time of inspection.

All comparable sales used in this report occurred within 12 months of the effective date. A 12-month search period is typical for this market due to its limited population and low transaction volume. All sales and listings used appear to reliably reflect market value based on the overall stability of the area.

Due to ongoing high work volume in this area, the appraiser is familiar with all comparables used in this report. The exterior of each comparable has been observed on multiple occasions, and the photographs included accurately represent each property.

FIRREA Certification Statement

The appraiser certifies and agrees that this appraisal report was prepared in accordance with the requirements of Title XI of the Financial Institutions Reform, Recovery, and Enforcement Act (FIRREA) of 1989, as amended (12 U.S.C. 3331 et seq.), and any applicable implementing regulations in effect at the time of signing.

Land Use Clarification

The "Other" box selected under Present Land Use refers to vacant land and farmland.

COST APPROACH

COST APPROACH TO VALUE (not required by Fannie Mae)

Provide adequate information for the lender/client to replicate the below cost figures and calculations.

Support for the opinion of site value (summary of comparable land sales or other methods for estimating site value) HBORMLS #174161, #175724, #177041, #181352, #177512, #180165, #176635, #174193, & #180164 were used to determine site value, using the median price to determine site value.

ESTIMATED ☐ REPRODUCTION OR ☒ REPLACEMENT COST NEW

Source of cost data Marshall & Swift SwiftEstimator

Quality rating from cost service Average Effective date of cost data MAR 2026

Comments on Cost Approach (gross living area calculations, depreciation, etc.)

Cost approach was developed based on researched Marshall and Swift prices per square foot for similar homes, including site value, minus depreciation. An age life depreciation was taken, with 15 years effective age with a remaining life of 45 years.

OPINION OF SITE VALUE				=$	10,000
DWELLING	1,076	Sq.Ft. @ $	150.23	=$	161,647
	0	Sq.Ft. @ $		=$	
				=$	
Garage/Carport	800	Sq.Ft. @ $	40.91	=$	32,728
Total Estimate of Cost-New				=$	194,375
Less	Physical	Functional	External		
Depreciation	48,594			=$(	48,594)
Depreciated Cost of Improvements				=$	145,781
"As-is" Value of Site Improvements				=$	
INDICATED VALUE BY COST APPROACH				**=$**	155,781

Estimated Remaining Economic Life (HUD and VA only) 45 Years

INCOME

INCOME APPROACH TO VALUE (not required by Fannie Mae)

Estimated Monthly Market Rent $ 1,150 X Gross Rent Multiplier 120 = $ 138,000 Indicated Value by Income Approach

Summary of Income Approach (including support for market rent and GRM) A GRM of 120 appears to be acceptable for the market area, and represent 10 years of gross rent, not including vacancies, rent increases, or costs associated with maintenance.

PUD INFORMATION

PROJECT INFORMATION FOR PUDs (if applicable)

Is the developer/builder in control of the Homeowners' Association (HOA)? ☐ Yes ☐ No Unit type(s) ☐ Detached ☐ Attached

Provide the following information for PUDs ONLY if the developer/builder is in control of the HOA and the subject property is an attached dwelling unit.

Legal Name of Project

Total number of phases Total number of units Total number of units sold

Total number of units rented Total number of units for sale Data source(s)

Was the project created by the conversion of existing building(s) into a PUD? ☐ Yes ☐ No If Yes, date of conversion.

Does the project contain any multi-dwelling units? ☐ Yes ☐ No Data Source

Are the units, common elements, and recreation facilities complete? ☐ Yes ☐ No If No, describe the status of completion.

Are the common elements leased to or by the Homeowners' Association? ☐ Yes ☐ No If Yes, describe the rental terms and options.

Describe common elements and recreational facilities.

Form 1004UAD - "TOTAL" appraisal software by a la mode, inc. - 1-800-ALAMODE

This report form is designed to report an appraisal of a one-unit property or a one-unit property with an accessory unit; including a unit in a planned unit development (PUD). This report form is not designed to report an appraisal of a manufactured home or a unit in a condominium or cooperative project.

This appraisal report is subject to the following scope of work, intended use, intended user, definition of market value, statement of assumptions and limiting conditions, and certifications. Modifications, additions, or deletions to the intended use, intended user, definition of market value, or assumptions and limiting conditions are not permitted. The appraiser may expand the scope of work to include any additional research or analysis necessary based on the complexity of this appraisal assignment. Modifications or deletions to the certifications are also not permitted. However, additional certifications that do not constitute material alterations to this appraisal report, such as those required by law or those related to the appraiser's continuing education or membership in an appraisal organization, are permitted.

SCOPE OF WORK: The scope of work for this appraisal is defined by the complexity of this appraisal assignment and the reporting requirements of this appraisal report form, including the following definition of market value, statement of assumptions and limiting conditions, and certifications. The appraiser must, at a minimum: (1) perform a complete visual inspection of the interior and exterior areas of the subject property, (2) inspect the neighborhood, (3) inspect each of the comparable sales from at least the street, (4) research, verify, and analyze data from reliable public and/or private sources, and (5) report his or her analysis, opinions, and conclusions in this appraisal report.

INTENDED USE: The intended use of this appraisal report is for the lender/client to evaluate the property that is the subject of this appraisal for a mortgage finance transaction.

INTENDED USER: The intended user of this appraisal report is the lender/client.

DEFINITION OF MARKET VALUE: The most probable price which a property should bring in a competitive and open market under all conditions requisite to a fair sale, the buyer and seller, each acting prudently, knowledgeably and assuming the price is not affected by undue stimulus. Implicit in this definition is the consummation of a sale as of a specified date and the passing of title from seller to buyer under conditions whereby: (1) buyer and seller are typically motivated; (2) both parties are well informed or well advised, and each acting in what he or she considers his or her own best interest; (3) a reasonable time is allowed for exposure in the open market; (4) payment is made in terms of cash in U. S. dollars or in terms of financial arrangements comparable thereto; and (5) the price represents the normal consideration for the property sold unaffected by special or creative financing or sales concessions* granted by anyone associated with the sale.

*Adjustments to the comparables must be made for special or creative financing or sales concessions. No adjustments are necessary for those costs which are normally paid by sellers as a result of tradition or law in a market area; these costs are readily identifiable since the seller pays these costs in virtually all sales transactions. Special or creative financing adjustments can be made to the comparable property by comparisons to financing terms offered by a third party institutional lender that is not already involved in the property or transaction. Any adjustment should not be calculated on a mechanical dollar for dollar cost of the financing or concession but the dollar amount of any adjustment should approximate the market's reaction to the financing or concessions based on the appraiser's judgment.

STATEMENT OF ASSUMPTIONS AND LIMITING CONDITIONS: The appraiser's certification in this report is subject to the following assumptions and limiting conditions:

1. The appraiser will not be responsible for matters of a legal nature that affect either the property being appraised or the title to it, except for information that he or she became aware of during the research involved in performing this appraisal. The appraiser assumes that the title is good and marketable and will not render any opinions about the title.

2. The appraiser has provided a sketch in this appraisal report to show the approximate dimensions of the improvements. The sketch is included only to assist the reader in visualizing the property and understanding the appraiser's determination of its size.

3. The appraiser has examined the available flood maps that are provided by the Federal Emergency Management Agency (or other data sources) and has noted in this appraisal report whether any portion of the subject site is located in an identified Special Flood Hazard Area. Because the appraiser is not a surveyor, he or she makes no guarantees, express or implied, regarding this determination.

4. The appraiser will not give testimony or appear in court because he or she made an appraisal of the property in question, unless specific arrangements to do so have been made beforehand, or as otherwise required by law.

5. The appraiser has noted in this appraisal report any adverse conditions (such as needed repairs, deterioration, the presence of hazardous wastes, toxic substances, etc.) observed during the inspection of the subject property or that he or she became aware of during the research involved in performing the appraisal. Unless otherwise stated in this appraisal report, the appraiser has no knowledge of any hidden or unapparent physical deficiencies or adverse conditions of the property (such as, but not limited to, needed repairs, deterioration, the presence of hazardous wastes, toxic substances, adverse environmental conditions, etc.) that would make the property less valuable, and has assumed that there are no such conditions and makes no guarantees or warranties, express or implied. The appraiser will not be responsible for any such conditions that do exist or for any engineering or testing that might be required to discover whether such conditions exist. Because the appraiser is not an expert in the field of environmental hazards, this appraisal report must not be considered as an environmental assessment of the property.

6. The appraiser has based his or her appraisal report and valuation conclusion for an appraisal that is subject to satisfactory completion, repairs, or alterations on the assumption that the completion, repairs, or alterations of the subject property will be performed in a professional manner.

Form 1004UAD - "TOTAL" appraisal software by a la mode, inc. - 1-800-ALAMODE

APPRAISER'S CERTIFICATION: The Appraiser certifies and agrees that:

1. I have, at a minimum, developed and reported this appraisal in accordance with the scope of work requirements stated in this appraisal report.

2. I performed a complete visual inspection of the interior and exterior areas of the subject property. I reported the condition of the improvements in factual, specific terms. I identified and reported the physical deficiencies that could affect the livability, soundness, or structural integrity of the property.

3. I performed this appraisal in accordance with the requirements of the Uniform Standards of Professional Appraisal Practice that were adopted and promulgated by the Appraisal Standards Board of The Appraisal Foundation and that were in place at the time this appraisal report was prepared.

4. I developed my opinion of the market value of the real property that is the subject of this report based on the sales comparison approach to value. I have adequate comparable market data to develop a reliable sales comparison approach for this appraisal assignment. I further certify that I considered the cost and income approaches to value but did not develop them, unless otherwise indicated in this report.

5. I researched, verified, analyzed, and reported on any current agreement for sale for the subject property, any offering for sale of the subject property in the twelve months prior to the effective date of this appraisal, and the prior sales of the subject property for a minimum of three years prior to the effective date of this appraisal, unless otherwise indicated in this report.

6. I researched, verified, analyzed, and reported on the prior sales of the comparable sales for a minimum of one year prior to the date of sale of the comparable sale, unless otherwise indicated in this report.

7. I selected and used comparable sales that are locationally, physically, and functionally the most similar to the subject property.

8. I have not used comparable sales that were the result of combining a land sale with the contract purchase price of a home that has been built or will be built on the land.

9. I have reported adjustments to the comparable sales that reflect the market's reaction to the differences between the subject property and the comparable sales.

10. I verified, from a disinterested source, all information in this report that was provided by parties who have a financial interest in the sale or financing of the subject property.

11. I have knowledge and experience in appraising this type of property in this market area.

12. I am aware of, and have access to, the necessary and appropriate public and private data sources, such as multiple listing services, tax assessment records, public land records and other such data sources for the area in which the property is located.

13. I obtained the information, estimates, and opinions furnished by other parties and expressed in this appraisal report from reliable sources that I believe to be true and correct.

14. I have taken into consideration the factors that have an impact on value with respect to the subject neighborhood, subject property, and the proximity of the subject property to adverse influences in the development of my opinion of market value. I have noted in this appraisal report any adverse conditions (such as, but not limited to, needed repairs, deterioration, the presence of hazardous wastes, toxic substances, adverse environmental conditions, etc.) observed during the inspection of the subject property or that I became aware of during the research involved in performing this appraisal. I have considered these adverse conditions in my analysis of the property value, and have reported on the effect of the conditions on the value and marketability of the subject property.

15. I have not knowingly withheld any significant information from this appraisal report and, to the best of my knowledge, all statements and information in this appraisal report are true and correct.

16. I stated in this appraisal report my own personal, unbiased, and professional analysis, opinions, and conclusions, which are subject only to the assumptions and limiting conditions in this appraisal report.

17. I have no present or prospective interest in the property that is the subject of this report, and I have no present or prospective personal interest or bias with respect to the participants in the transaction. I did not base, either partially or completely, my analysis and/or opinion of market value in this appraisal report on the race, color, religion, sex, age, marital status, handicap, familial status, or national origin of either the prospective owners or occupants of the subject property or of the present owners or occupants of the properties in the vicinity of the subject property or on any other basis prohibited by law.

18. My employment and/or compensation for performing this appraisal or any future or anticipated appraisals was not conditioned on any agreement or understanding, written or otherwise, that I would report (or present analysis supporting) a predetermined specific value, a predetermined minimum value, a range or direction in value, a value that favors the cause of any party, or the attainment of a specific result or occurrence of a specific subsequent event (such as approval of a pending mortgage loan application).

19. I personally prepared all conclusions and opinions about the real estate that were set forth in this appraisal report. If I relied on significant real property appraisal assistance from any individual or individuals in the performance of this appraisal or the preparation of this appraisal report, I have named such individual(s) and disclosed the specific tasks performed in this appraisal report. I certify that any individual so named is qualified to perform the tasks. I have not authorized anyone to make a change to any item in this appraisal report; therefore, any change made to this appraisal is unauthorized and I will take no responsibility for it.

20. I identified the lender/client in this appraisal report who is the individual, organization, or agent for the organization that ordered and will receive this appraisal report.

Form 1004UAD - "TOTAL" appraisal software by a la mode, inc. - 1-800-ALAMODE

21. The lender/client may disclose or distribute this appraisal report to: the borrower; another lender at the request of the borrower; the mortgagee or its successors and assigns; mortgage insurers; government sponsored enterprises; other secondary market participants; data collection or reporting services; professional appraisal organizations; any department, agency, or instrumentality of the United States; and any state, the District of Columbia, or other jurisdictions; without having to obtain the appraiser's or supervisory appraiser's (if applicable) consent. Such consent must be obtained before this appraisal report may be disclosed or distributed to any other party (including, but not limited to, the public through advertising, public relations, news, sales, or other media).

22. I am aware that any disclosure or distribution of this appraisal report by me or the lender/client may be subject to certain laws and regulations. Further, I am also subject to the provisions of the Uniform Standards of Professional Appraisal Practice that pertain to disclosure or distribution by me.

23. The borrower, another lender at the request of the borrower, the mortgagee or its successors and assigns, mortgage insurers, government sponsored enterprises, and other secondary market participants may rely on this appraisal report as part of any mortgage finance transaction that involves any one or more of these parties.

24. If this appraisal report was transmitted as an "electronic record" containing my "electronic signature," as those terms are defined in applicable federal and/or state laws (excluding audio and video recordings), or a facsimile transmission of this appraisal report containing a copy or representation of my signature, the appraisal report shall be as effective, enforceable and valid as if a paper version of this appraisal report were delivered containing my original hand written signature.

25. Any intentional or negligent misrepresentation(s) contained in this appraisal report may result in civil liability and/or criminal penalties including, but not limited to, fine or imprisonment or both under the provisions of Title 18, United States Code, Section 1001, et seq., or similar state laws.

SUPERVISORY APPRAISER'S CERTIFICATION: The Supervisory Appraiser certifies and agrees that:

1. I directly supervised the appraiser for this appraisal assignment, have read the appraisal report, and agree with the appraiser's analysis, opinions, statements, conclusions, and the appraiser's certification.

2. I accept full responsibility for the contents of this appraisal report including, but not limited to, the appraiser's analysis, opinions, statements, conclusions, and the appraiser's certification.

3. The appraiser identified in this appraisal report is either a sub-contractor or an employee of the supervisory appraiser (or the appraisal firm), is qualified to perform this appraisal, and is acceptable to perform this appraisal under the applicable state law.

4. This appraisal report complies with the Uniform Standards of Professional Appraisal Practice that were adopted and promulgated by the Appraisal Standards Board of The Appraisal Foundation and that were in place at the time this appraisal report was prepared.

5. If this appraisal report was transmitted as an "electronic record" containing my "electronic signature," as those terms are defined in applicable federal and/or state laws (excluding audio and video recordings), or a facsimile transmission of this appraisal report containing a copy or representation of my signature, the appraisal report shall be as effective, enforceable and valid as if a paper version of this appraisal report were delivered containing my original hand written signature.

APPRAISER Keith Ryan Carter

Signature
Name Keith Ryan Carter
Company Name Ryan Carter Appraisals, LLC
Company Address 2201 Coburn Ave
Ashland, KY 41101
Telephone Number 606-979-2034
Email Address ryancarter@kw.com
Date of Signature and Report 03/05/2026
Effective Date of Appraisal 03/02/2026
State Certification # CR2765
or State License #
or Other (describe) State #
State WV
Expiration Date of Certification or License 09/30/2026

ADDRESS OF PROPERTY APPRAISED
2201 Jefferson Ave
Huntington, WV 25704
APPRAISED VALUE OF SUBJECT PROPERTY $ 151,000

LENDER/CLIENT
Name FastApp
Company Name Commercial Loan Funding, LLC ISAOA ATIMA
Company Address 211 E Lombard, Suite 290, Baltimore, MD 21202
Email Address info@fastapp.com

SUPERVISORY APPRAISER (ONLY IF REQUIRED)

Signature
Name
Company Name
Company Address
Telephone Number
Email Address
Date of Signature
State Certification #
or State License #
State
Expiration Date of Certification or License

SUBJECT PROPERTY

☐ Did not inspect subject property
☐ Did inspect exterior of subject property from street
Date of Inspection
☐ Did inspect interior and exterior of subject property
Date of Inspection

COMPARABLE SALES

☐ Did not inspect exterior of comparable sales from street
☐ Did inspect exterior of comparable sales from street
Date of Inspection

Form 1004UAD - "TOTAL" appraisal software by a la mode, inc. - 1-800-ALAMODE

Appraiser Independence Certification

I do hereby certify, I have followed the appraiser independence safeguards in compliance with Appraisal Independence and any applicable state laws I may be required to comply with. This includes but is not limited to the following:

- I am currently licensed and/or certified by the state in which the property to be appraised is located My license is the appropriate license for the appraisal assignment(s) and is reflected on the appraisal report.
- I certify that there have been no sanctions against me for any reason that would impair my ability to perform appraisals pursuant to the required guidelines.

I assert that no employee, director, officer, or agent of Commercial Loan Funding, LLC ISAOA ATIMA, or any other third party acting as joint venture partner, independent contractor, appraisal management company, or partner on behalf of Commercial Loan Funding, LLC ISAOA ATIMA, influenced, or attempted to influence the development, reporting, result, or review of my appraisal through coercion, extortion, collusion, compensation, inducement, intimidation, bribery, or in any other manner.

I further assert that Commercial Loan Funding, LLC ISAOA ATIMA has never participated in any of the following prohibited behavior in our business relationship:

1) Withholding or threatening to withhold timely payment or partial payment for an appraisal report;

2) Withholding or threatening to withhold future business with me, or demoting or terminating or threatening to demote or terminate me;

3) Expressly or impliedly promising future business, promotions, or increased compensation for myself;

4) Conditioning the ordering of my appraisal report or the payment of my appraisal fee or salary or bonus on the opinion, conclusion, or valuation to be reached, or on a preliminary value estimate requested from me;

5) Requesting that I provide an estimated, predetermined, or desired valuation in an appraisal report prior to the completion of the appraisal report, or requesting that I provide estimated values or comparable sales at any time prior to my completion of an appraisal report;

6) Provided me an anticipated, estimated, encouraged, or desired value for a subject property or a proposed or target amount to be loaned to the borrower, except that a copy of the sales contract for purchase transactions may be provided;

7) Provided to me, or my appraisal company, or any entity or person related to me as appraiser, appraisal company, stock or other financial or non-financial benefits;

8) Any other act or practice that impairs or attempts to impair my independence, objectivity, or impartiality or violates law or regulation, including, but not limited to, the Truth in Lending Act (TILA) and Regulation Z, or the USPAP.

Signature	03/05/2026 Date
Keith Ryan Carter Appraiser's Name	CR2765 State License or Certification #
Certified Residential State Title or Designation	09/30/2026 WV Expiration Date of License or Certification State

2201 Jefferson Ave, Huntington, WV 25704
Address of Property Appraised

05/13

UNIFORM APPRAISAL DATASET (UAD) DEFINITIONS ADDENDUM

(Source: Fannie Mae UAD Appendix D: UAD Field-Specific Standardization Requirements)

Condition Ratings and Definitions

C1

The improvements have been recently constructed and have not been previously occupied. The entire structure and all components are new and the dwelling features no physical depreciation.

Note: Newly constructed improvements that feature recycled or previously used materials and/or components can be considered new dwellings provided that the dwelling is placed on a 100 percent new foundation and the recycled materials and the recycled components have been rehabilitated/remanufactured into like-new condition. Improvements that have not been previously occupied are not considered “new” if they have any significant physical depreciation (that is, newly constructed dwellings that have been vacant for an extended period of time without adequate maintenance or upkeep).

C2

The improvements feature no deferred maintenance, little or no physical depreciation, and require no repairs. Virtually all building components are new or have been recently repaired, refinished, or rehabilitated. All outdated components and finishes have been updated and/or replaced with components that meet current standards. Dwellings in this category are either almost new or have been recently completely renovated and are similar in condition to new construction.

Note: The improvements represent a relatively new property that is well maintained with no deferred maintenance and little or no physical depreciation, or an older property that has been recently completely renovated.

C3

The improvements are well maintained and feature limited physical depreciation due to normal wear and tear. Some components, but not every major building component, may be updated or recently rehabilitated. The structure has been well maintained.

Note: The improvement is in its first-cycle of replacing short-lived building components (appliances, floor coverings, HVAC, etc.) and is being well maintained. Its estimated effective age is less than its actual age. It also may reflect a property in which the majority of short-lived building components have been replaced but not to the level of a complete renovation.

C4

The improvements feature some minor deferred maintenance and physical deterioration due to normal wear and tear. The dwelling has been adequately maintained and requires only minimal repairs to building components/mechanical systems and cosmetic repairs. All major building components have been adequately maintained and are functionally adequate.

Note: The estimated effective age may be close to or equal to its actual age. It reflects a property in which some of the short-lived building components have been replaced, and some short-lived building components are at or near the end of their physical life expectancy; however, they still function adequately. Most minor repairs have been addressed on an ongoing basis resulting in an adequately maintained property.

C5

The improvements feature obvious deferred maintenance and are in need of some significant repairs. Some building components need repairs, rehabilitation, or updating. The functional utility and overall livability is somewhat diminished due to condition, but the dwelling remains useable and functional as a residence.

Note: Some significant repairs are needed to the improvements due to the lack of adequate maintenance. It reflects a property in which many of its short-lived building components are at the end of or have exceeded their physical life expectancy but remain functional.

C6

The improvements have substantial damage or deferred maintenance with deficiencies or defects that are severe enough to affect the safety, soundness, or structural integrity of the improvements. The improvements are in need of substantial repairs and rehabilitation, including many or most major components.

Note: Substantial repairs are needed to the improvements due to the lack of adequate maintenance or property damage. It reflects a property with conditions severe enough to affect the safety, soundness, or structural integrity of the improvements.

Quality Ratings and Definitions

Q1

Dwellings with this quality rating are usually unique structures that are individually designed by an architect for a specified user. Such residences typically are constructed from detailed architectural plans and specifications and feature an exceptionally high level of workmanship and exceptionally high-grade materials throughout the interior and exterior of the structure. The design features exceptionally high-quality exterior refinements and ornamentation, and exceptionally high-quality interior refinements. The workmanship, materials, and finishes throughout the dwelling are of exceptionally high quality.

Q2

Dwellings with this quality rating are often custom designed for construction on an individual property owner’s site. However, dwellings in this quality grade are also found in high-quality tract developments featuring residence constructed from individual plans or from highly modified or upgraded plans. The design features detailed, high quality exterior ornamentation, high-quality interior refinements, and detail. The workmanship, materials, and finishes throughout the dwelling are generally of high or very high quality.

UNIFORM APPRAISAL DATASET (UAD) DEFINITIONS ADDENDUM

(Source: Fannie Mae UAD Appendix D: UAD Field-Specific Standardization Requirements)

Quality Ratings and Definitions (continued)

Q3

Dwellings with this quality rating are residences of higher quality built from individual or readily available designer plans in above-standard residential tract developments or on an individual property owner's site. The design includes significant exterior ornamentation and interiors that are well finished. The workmanship exceeds acceptable standards and many materials and finishes throughout the dwelling have been upgraded from "stock" standards.

Q4

Dwellings with this quality rating meet or exceed the requirements of applicable building codes. Standard or modified standard building plans are utilized and the design includes adequate fenestration and some exterior ornamentation and interior refinements. Materials, workmanship, finish, and equipment are of stock or builder grade and may feature some upgrades.

Q5

Dwellings with this quality rating feature economy of construction and basic functionality as main considerations. Such dwellings feature a plain design using readily available or basic floor plans featuring minimal fenestration and basic finishes with minimal exterior ornamentation and limited interior detail. These dwellings meet minimum building codes and are constructed with inexpensive, stock materials with limited refinements and upgrades.

Q6

Dwellings with this quality rating are of basic quality and lower cost; some may not be suitable for year-round occupancy. Such dwellings are often built with simple plans or without plans, often utilizing the lowest quality building materials. Such dwellings are often built or expanded by persons who are professionally unskilled or possess only minimal construction skills. Electrical, plumbing, and other mechanical systems and equipment may be minimal or non-existent. Older dwellings may feature one or more substandard or non-conforming additions to the original structure

Definitions of Not Updated, Updated, and Remodeled

Not Updated

Little or no updating or modernization. This description includes, but is not limited to, new homes.

Residential properties of fifteen years of age or less often reflect an original condition with no updating, if no major components have been replaced or updated. Those over fifteen years of age are also considered not updated if the appliances, fixtures, and finishes are predominantly dated. An area that is 'Not Updated' may still be well maintained and fully functional, and this rating does not necessarily imply deferred maintenance or physical/functional deterioration.

Updated

The area of the home has been modified to meet current market expectations. These modifications are limited in terms of both scope and cost.

An updated area of the home should have an improved look and feel, or functional utility. Changes that constitute updates include refurbishment and/or replacing components to meet existing market expectations. Updates do not include significant alterations to the existing structure.

Remodeled

Significant finish and/or structural changes have been made that increase utility and appeal through complete replacement and/or expansion.

A remodeled area reflects fundamental changes that include multiple alterations. These alterations may include some or all of the following: replacement of a major component (cabinet(s), bathtub, or bathroom tile), relocation of plumbing/gas fixtures/appliances, significant structural alterations (relocating walls, and/or the addition of) square footage). This would include a complete gutting and rebuild.

Explanation of Bathroom Count

Three-quarter baths are counted as a full bath in all cases. Quarter baths (baths that feature only a toilet) are not included in the bathroom count. The number of full and half baths is reported by separating the two values using a period, where the full bath count is represented to the left of the period and the half bath count is represented to the right of the period.

Example:
3.2 indicates three full baths and two half baths.

UNIFORM APPRAISAL DATASET (UAD) DEFINITIONS ADDENDUM

(Source: Fannie Mae UAD Appendix D: UAD Field-Specific Standardization Requirements)

Abbreviations Used in Data Standardization Text

Abbreviation	Full Name	Fields Where This Abbreviation May Appear
A	Adverse	Location & View
ac	Acres	Area, Site
AdjPrk	Adjacent to Park	Location
AdjPwr	Adjacent to Power Lines	Location
ArmLth	Arms Length Sale	Sale or Financing Concessions
AT	Attached Structure	Design (Style)
B	Beneficial	Location & View
ba	Bathroom(s)	Basement & Finished Rooms Below Grade
br	Bedroom	Basement & Finished Rooms Below Grade
BsyRd	Busy Road	Location
c	Contracted Date	Date of Sale/Time
Cash	Cash	Sale or Financing Concessions
Comm	Commercial Influence	Location
Conv	Conventional	Sale or Financing Concessions
cp	Carport	Garage/Carport
CrtOrd	Court Ordered Sale	Sale or Financing Concessions
CtySky	City View Skyline View	View
CtyStr	City Street View	View
cv	Covered	Garage/Carport
DOM	Days On Market	Data Sources
DT	Detached Structure	Design (Style)
dw	Driveway	Garage/Carport
e	Expiration Date	Date of Sale/Time
Estate	Estate Sale	Sale or Financing Concessions
FHA	Federal Housing Authority	Sale or Financing Concessions
g	Garage	Garage/Carport
ga	Attached Garage	Garage/Carport
gbi	Built-in Garage	Garage/Carport
gd	Detached Garage	Garage/Carport
GlfCse	Golf Course	Location
Glfvw	Golf Course View	View
GR	Garden	Design (Style)
HR	High Rise	Design (Style)
in	Interior Only Stairs	Basement & Finished Rooms Below Grade
Ind	Industrial	Location & View
Listing	Listing	Sale or Financing Concessions
Lndfl	Landfill	Location
LtdSght	Limited Sight	View
MR	Mid-rise	Design (Style)
Mtn	Mountain View	View
N	Neutral	Location & View
NonArm	Non-Arms Length Sale	Sale or Financing Concessions
o	Other	Basement & Finished Rooms Below Grade
O	Other	Design (Style)
op	Open	Garage/Carport
Prk	Park View	View
Pstrl	Pastoral View	View
PwrLn	Power Lines	View
PubTrn	Public Transportation	Location
Relo	Relocation Sale	Sale or Financing Concessions
REO	REO Sale	Sale or Financing Concessions
Res	Residential	Location & View
RH	USDA - Rural Housing	Sale or Financing Concessions
rr	Recreational (Rec) Room	Basement & Finished Rooms Below Grade
RT	Row or Townhouse	Design (Style)
s	Settlement Date	Date of Sale/Time
SD	Semi-detached Structure	Design (Style)
Short	Short Sale	Sale or Financing Concessions
sf	Square Feet	Area, Site, Basement
sqm	Square Meters	Area, Site
Unk	Unknown	Date of Sale/Time
VA	Veterans Administration	Sale or Financing Concessions
w	Withdrawn Date	Date of Sale/Time
wo	Walk Out Basement	Basement & Finished Rooms Below Grade
Woods	Woods View	View
Wtr	Water View	View
WtrFr	Water Frontage	Location
wu	Walk Up Basement	Basement & Finished Rooms Below Grade
OB/FP/FN/SS/GL/GRC	Outbuilding/Fireplace/Fence/Security System/Gas Logs/Generac	Sales Comparison Grid
DW/Tl/Cpt/Vin/HW/Pan	Drywall/Tile/Carpet/Vinyl/Hardwood/Panel	Sales Comparison Grid/P1
Pc/Pat/Dk/ScrPc	Porch/Patio/Deck/Screened Porch	Sales Comparison Grid
CH&A/CS	Central Heat and Air/Composition Shingles	URAR P1
HBORMLS/PVA	Huntington Board of Realtor's/Property Valuation Administration	Sales Comparison Grid

Subject Photo Page

Borrower/Client	Mike Ankrom						
Property Address	2201 Jefferson Ave						
City	Huntington	County	Cabell	State	WV	Zip Code	25704
Lender	Commercial Loan Funding, LLC ISAOA ATIMA						

Subject Front

2201 Jefferson Ave

Sales Price	
Gross Living Area	1,076
Total Rooms	5
Total Bedrooms	2
Total Bathrooms	1.0
Location	N;Res;Res
View	N;Res;Res
Site	5502 sf
Quality	Q4
Age	126

Subject Rear

Subject Street

Photograph Addendum

Borrower/Client	Mike Ankrom						
Property Address	2201 Jefferson Ave						
City	Huntington	County	Cabell	State	WV	Zip Code	25704
Lender	Commercial Loan Funding, LLC ISAOA ATIMA						

street

street

front

front alt view

address verification

side

electric meter

crawl space access



crawl space

side alt view

rear

side

rear parcel view

2 car detached garage



2 car det garage interior

Photograph Addendum

Borrower/Client	Mike Ankrom						
Property Address	2201 Jefferson Ave						
City	Huntington	County	Cabell	State	WV	Zip Code	25704
Lender	Commercial Loan Funding, LLC ISAOA ATIMA						

2 car det garage interior

ac on roof

side alt view

gas meter

living room



bedroom

bedroom

smoke detector

smoke detector



attic access

attic

attic

bathroom

bathroom alt view

toilet flushed

Photograph Addendum

Borrower/Client	Mike Ankrom						
Property Address	2201 Jefferson Ave						
City	Huntington	County	Cabell	State	WV	Zip Code	25704
Lender	Commercial Loan Funding, LLC ISAOA ATIMA						

utility room

water heater

laundry

kitchen

water on

kitchen alt view



dining room

Rental Photo Page

Borrower/Client	Mike Ankrom						
Property Address	2201 Jefferson Ave						
City	Huntington	County	Cabell	State	WV	Zip Code	25704
Lender	Commercial Loan Funding, LLC ISAOA ATIMA						

Rental 1

848 Jackson Ave

Proximity to Subj.	1.25 miles E
GBA	1,567
Age/Year Built	96

Rental 2

4122 Brandon Rd

Proximity to Subj.	1.31 miles W
GBA	1,094
Age/Year Built	125

Rental 3

372 S Walnut St

Proximity to Subj.	4.58 miles E
GBA	1,560
Age/Year Built	79

Comparable Photo Page

Borrower/Client	Mike Ankrom						
Property Address	2201 Jefferson Ave						
City	Huntington	County	Cabell	State	WV	Zip Code	25704
Lender	Commercial Loan Funding, LLC ISAOA ATIMA						

Comparable 1

248 Kentucky St

Prox. to Subject	1.07 miles W
Sale Price	160,000
Gross Living Area	1,183
Total Rooms	5
Total Bedrooms	3
Total Bathrooms	1.0
Location	N;Res;Res
View	N;Res;Res
Site	5240 sf
Quality	Q4
Age	71

Comparable 2

244 Indiana St

Prox. to Subject	1.00 miles W
Sale Price	169,900
Gross Living Area	1,152
Total Rooms	5
Total Bedrooms	2
Total Bathrooms	1.1
Location	N;Res;Res
View	N;Res;Res
Site	5200 sf
Quality	Q4
Age	86

Comparable 3

3416 Hughes St

Prox. to Subject	0.90 miles SW
Sale Price	129,500
Gross Living Area	800
Total Rooms	5
Total Bedrooms	2
Total Bathrooms	1.0
Location	N;Res;Res
View	N;Res;Res
Site	5663 sf
Quality	Q4
Age	75

Comparable Photo Page

Borrower/Client	Mike Ankrom						
Property Address	2201 Jefferson Ave						
City	Huntington	County	Cabell	State	WV	Zip Code	25704
Lender	Commercial Loan Funding, LLC ISAOA ATIMA						

Comparable 4

3007 Auburn Rd

Prox. to Subject	0.66 miles W
Sale Price	165,000
Gross Living Area	1,080
Total Rooms	7
Total Bedrooms	3
Total Bathrooms	1.1
Location	N;Res;Res
View	N;Res;Res
Site	6534 sf
Quality	Q4
Age	76

Comparable 5

1020 6th St

Prox. to Subject	2.47 miles E
Sale Price	164,900
Gross Living Area	1,269
Total Rooms	6
Total Bedrooms	2
Total Bathrooms	2.0
Location	N;Res;Res
View	N;Res;Res
Site	3920 sf
Quality	Q4
Age	126

Comparable 6

3203 Bradley Rd

Prox. to Subject	0.74 miles SW
Sale Price	163,500
Gross Living Area	1,439
Total Rooms	6
Total Bedrooms	3
Total Bathrooms	1.1
Location	N;Res;Res
View	N;Res;Res
Site	5401 sf
Quality	Q4
Age	76

Comparable Photo Page

Borrower/Client	Mike Ankrom						
Property Address	2201 Jefferson Ave						
City	Huntington	County	Cabell	State	WV	Zip Code	25704
Lender	Commercial Loan Funding, LLC ISAOA ATIMA						

Comparable 7

331 Bernard St

Prox. to Subject	0.26 miles NW
Sale Price	153,000
Gross Living Area	1,544
Total Rooms	6
Total Bedrooms	3
Total Bathrooms	2.0
Location	N;Res;Res
View	N;Res;Res
Site	4800 sf
Quality	Q4
Age	105

Comparable 8

Prox. to Subject	
Sale Price	
Gross Living Area	
Total Rooms	
Total Bedrooms	
Total Bathrooms	
Location	
View	
Site	
Quality	
Age	

Comparable 9

Prox. to Subject	
Sale Price	
Gross Living Area	
Total Rooms	
Total Bedrooms	
Total Bathrooms	
Location	
View	
Site	
Quality	
Age	

Building Sketch (Page - 1)

Borrower/Client	Mike Ankrom						
Property Address	2201 Jefferson Ave						
City	Huntington	County	Cabell	State	WV	Zip Code	25704
Lender	Commercial Loan Funding, LLC ISAOA ATIMA						

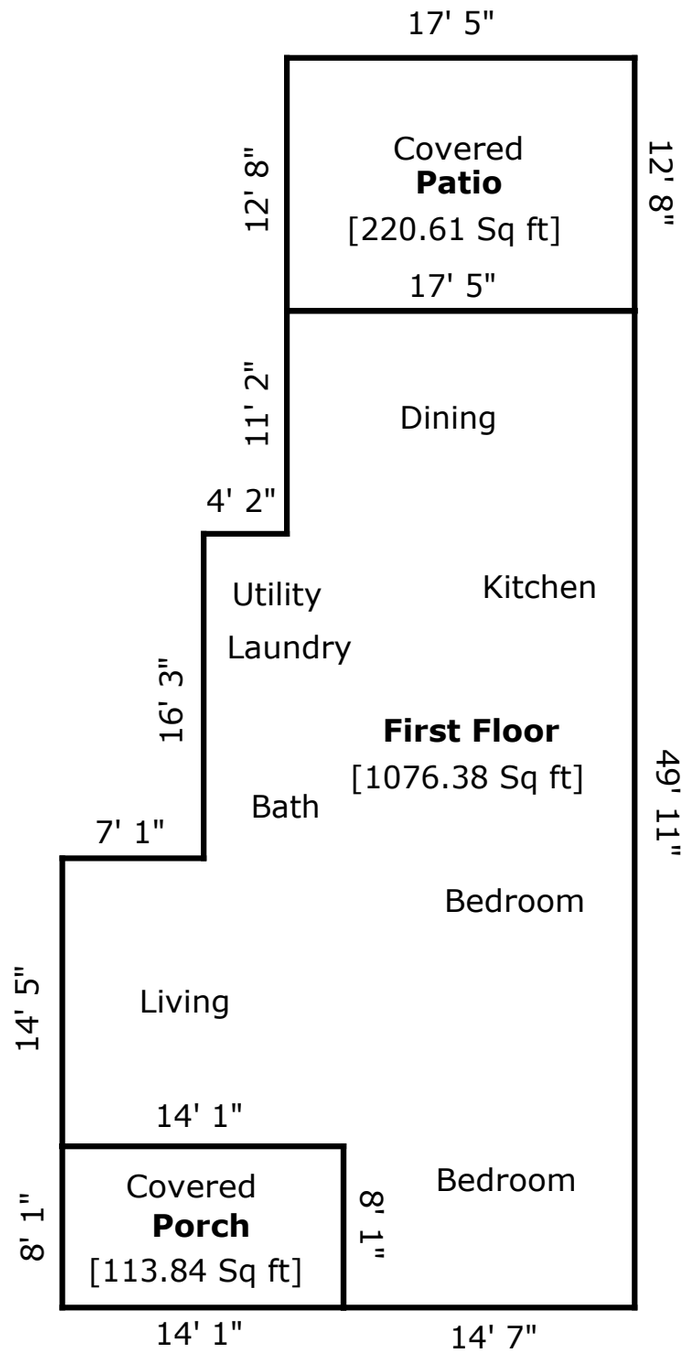

TOTAL Sketch by a la mode

Area Calculations Summary

Living Area		**Calculation Details**
First Floor	1076.38 Sq ft	17.42 × 11.17 = 194.49 21.58 × 16.25 = 350.73 14.42 × 14.08 = 203.03 22.5 × 14.58 = 328.12
Total Living Area (Rounded):	**1076 Sq ft**	
Non-living Area		
Patio	220.61 Sq ft	17.42 × 12.67 = 220.61
Porch	113.84 Sq ft	8.08 × 14.08 = 113.84

Building Sketch (Page - 2)

Borrower/Client	Mike Ankrom						
Property Address	2201 Jefferson Ave						
City	Huntington	County	Cabell	State	WV	Zip Code	25704
Lender	Commercial Loan Funding, LLC ISAOA ATIMA						

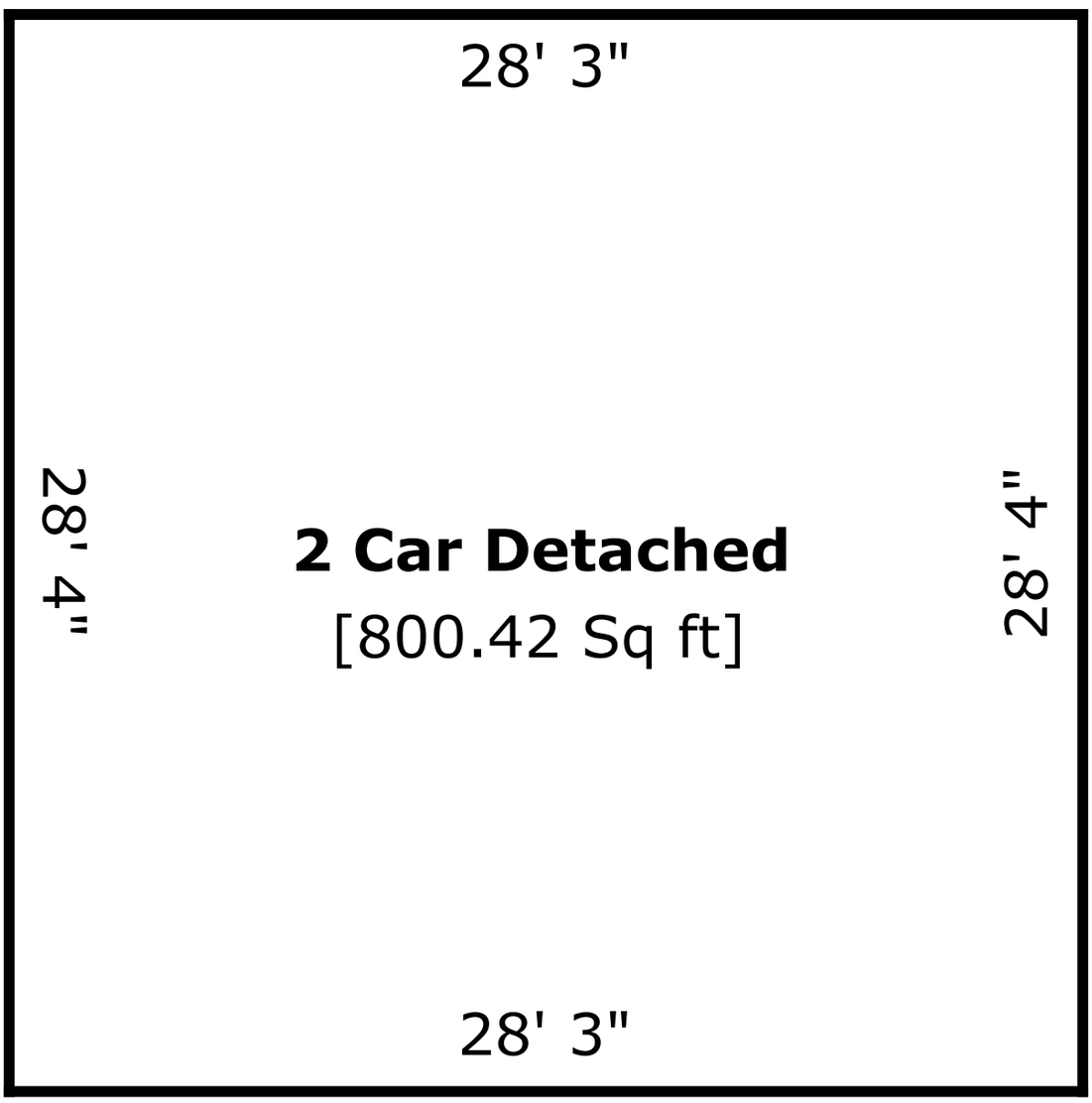

TOTAL Sketch by a la mode

Area Calculations Summary

Non-living Area		
2 Car Detached	800.42 Sq ft	28.33 × 28.25 = 800.42

Subject Aerial Location Map

Borrower/Client	Mike Ankrom						
Property Address	2201 Jefferson Ave						
City	Huntington	County	Cabell	State	WV	Zip Code	25704
Lender	Commercial Loan Funding, LLC ISAOA ATIMA						

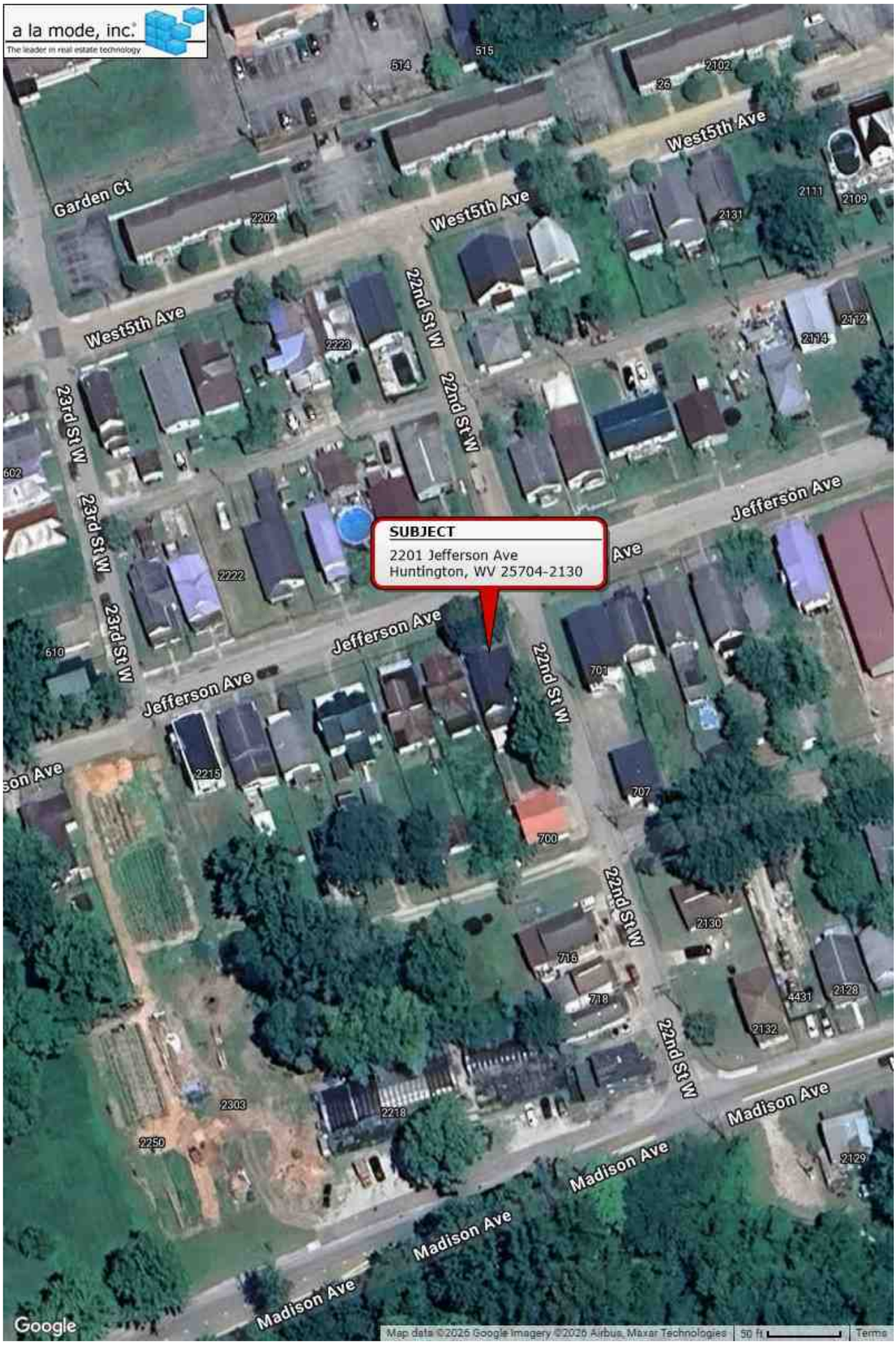

Subject & Rental Comps Aerial Location Map

Borrower/Client	Mike Ankrom						
Property Address	2201 Jefferson Ave						
City	Huntington	County	Cabell	State	WV	Zip Code	25704
Lender	Commercial Loan Funding, LLC ISAOA ATIMA						

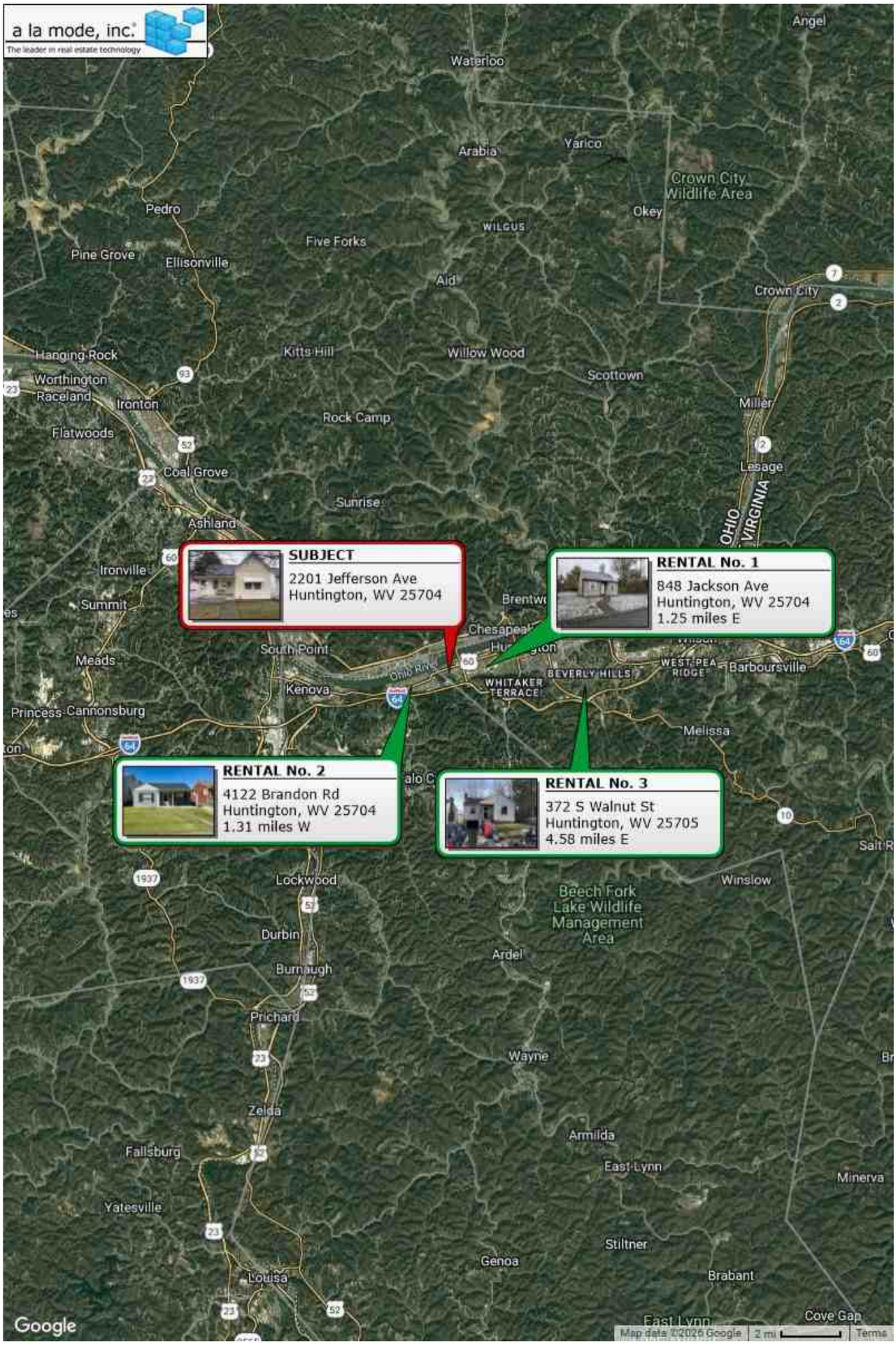

Subject & Comps Aerial Location Map

Borrower/Client	Mike Ankrom						
Property Address	2201 Jefferson Ave						
City	Huntington	County	Cabell	State	WV	Zip Code	25704
Lender	Commercial Loan Funding, LLC ISAOA ATIMA						

Flood Map

Borrower/Client	Mike Ankrom						
Property Address	2201 Jefferson Ave						
City	Huntington	County	Cabell	State	WV	Zip Code	25704
Lender	Commercial Loan Funding, LLC ISAOA ATIMA						

InterFlood by a la mode

Prepared for: Ryan Carter Appraisals
2201 Jefferson Ave
Huntington, WV 25704-2130

Powered by CoreLogic®

MAP DATA

FEMA Special Flood Hazard Area: **No**
Map Number: **54011C0111E**
Zone: **X500**
Map Date: **February 19, 2014**
FIPS: **54011**

MAP LEGEND

- Areas inundated by 500-year flooding
- Areas inundated by 100-year flooding
- Velocity Hazard
- Protected Areas
- Floodway
- Subject Area

E&O Insurance

ACORD

CERTIFICATE OF LIABILITY INSURANCE

DATE(MM-DD-YYYY)
02-15-2025

THIS CERTIFICATE IS ISSUED AS A MATTER OF INFORMATION ONLY AND CONFERS NO RIGHTS UPON THE CERTIFICATE HOLDER. THIS CERTIFICATE DOES NOT AFFIRMATIVELY OR NEGATIVELY AMEND, EXTEND OR ALTER THE COVERAGE AFFORDED BY THE POLICIES BELOW. THIS CERTIFICATE OF INSURANCE DOES NOT CONSTITUTE A CONTRACT BETWEEN THE ISSUING INSURER(S), AUTHORIZED REPRESENTATIVE OR PRODUCER, AND THE CERTIFICATE HOLDER.

IMPORTANT: If the certificate holder is an ADDITIONAL INSURED, the policy(ies) must have ADDITIONAL INSURED provisions or be endorsed. If SUBROGATION IS WAIVED, subject to the terms and conditions of the policy, certain policies may require an endorsement. A statement on this certificate does not confer rights to the certificate holder in lieu of such endorsement(s).

PRODUCER	CONTACT NAME:	CRES A Gallagher Company	
Gallagher Affinity Insurance Services, Inc.	PHONE(A/C, No, Ext): 800-880-2747	FAX(A/C, No): 858-618-1655	
P.O. Box 29502 #69121	E-MAIL ADDRESS:	GGB.LV2.CRES.RnwICS@ajg.com	
Las Vegas, NV 89126	INSURER(S) AFFORDING COVERAGE		NAIC #
CA Ins Lic 0783129	INSURER A :	HDI Global Insurance Company	41343
INSURED	INSURER B :		
Keith Ryan Carter	INSURER C :		
	INSURER D :		
2616 Newman Street	INSURER E :		
Ashland, Kentucky, 41101	INSURER F :		

COVERAGES CERTIFICATE NUMBER: REVISION NUMBER:

THIS IS TO CERTIFY THAT THE POLICIES OF INSURANCE LISTED BELOW HAVE BEEN ISSUED TO THE INSURED NAMED ABOVE FOR THE POLICY PERIOD INDICATED. NOTWITHSTANDING ANY REQUIREMENT, TERM OR CONDITION OF ANY CONTRACT OR OTHER DOCUMENT WITH RESPECT TO WHICH THIS CERTIFICATE MAY BE ISSUED OR MAY PERTAIN, THE INSURANCE AFFORDED BY THE POLICIES DESCRIBED HEREIN IS SUBJECT TO ALL THE TERMS,EXCLUSIONS AND CONDITIONS OF SUCH POLICIES. LIMITS SHOWN MAY HAVE BEEN REDUCED BY PAID CLAIMS.

INSR LTR	TYPE OF INSURANCE	ADDL INSR	SUBR WVD	POLICY NUMBER	POLICY EFF (MM/DD/YYYY)	POLICY EXP (MM/DD/YYYY)	LIMITS	
	COMMERCIAL GENERAL LIABILITY						EACH OCCURRENCE	$
	CLAIMS-MADE / OCCUR						DAMAGE TO RENTED PREMISES (Ea occurrence)	$
							MED EXP (Any one person)	$
							PERSONAL & ADV INJURY	$
	GEN'L AGGREGATE LIMIT APPLIES PER:						GENERAL AGGREGATE	$
	POLICY / PROJECT / LOC						PRODUCTS - COMP/OP AGG	$
	OTHER:							$
	AUTOMOBILE LIABILITY						COMBINED SINGLE LIMIT (Ea accident)	$
	ANY AUTO						BODILY INJURY (Per person)	$
	OWNED AUTOS ONLY / SCHEDULED AUTOS						BODILY INJURY (Per Accident)	$
	HIRED AUTOS ONLY / NON-OWNED AUTOS ONLY						PROPERTY DAMAGE (Per accident)	$
								$
	UMBRELLA LIAB / OCCUR						EACH OCCURRENCE	$
	EXCESS LIAB / CLAIMS-MADE						AGGREGATE	$
	DED / RETENTION $							$
	WORKERS COMPENSATION AND EMPLOYERS' LIABILITY						PER STATUTE / OTHER	$
	ANY PROPRIETOR/PARTNER/EXECUTIVE OFFICER/MEMBER EXCLUDED? Y/N	N/A					E.L. EACH ACCIDENT	$
	(Mandatory in NH)						E.L. DISEASE - EA EMPLOYEE	$
	If yes, describe under DESCRIPTION OF OPERATIONS below						E.L. DISEASE - POLICY LIMIT	$
A	Claims Made and Reported Errors and Omissions Coverage Professional Liability	N		HGI-1053646-01	04-01-2025	04-01-2026	Per Occurrence:	$500,000
							Aggregate:	$1,000,000
							Retention:	$2500

DESCRIPTION OF OPERATIONS /Locations/Vehicles (ACORD 101, Additional Remarks Schedule, may be attached if more space is required)

Appraisal of 1-4 unit residential properties.

License Number: 282579

CERTIFICATE HOLDER	CANCELLATION
	SHOULD ANY OF THE ABOVE DESCRIBED POLICIES BE CANCELLED BEFORE THE EXPIRATION DATE THEREOF, NOTICE WILL BE DELIVERED IN ACCORDANCE WITH THE POLICY PROVISIONS.
	AUTHORIZED REPRESENTATIVE

ACORD 25 (2016/03)

© 1988-2015 ACORD CORPORATION. All rights reserved.

The ACORD name and logo are registered marks of ACORD

WV License

State of West Virginia
WV Real Estate Appraiser Licensing & Certification Board
This is to certify that

Certified Residential CR2765
Expiration: 9/30/2026
Keith Ryan Carter
2616 Newman St
Ashland, KY 41101

has met the requirements of the law, and is authorized to appraise real estate and real property in the State of West Virginia.

Executive Director

The Board has received your annual fee and verification of completion of continuing education. The adjoining pocket card evidencing that you are entitles to appraise real property in the State of West Virginia is valid until the expiration date on the face of the card. If you do not receive your renewal application at least 30 days prior to the expiration date, contact the Board office. It is your responsibility to renew your license or certification, even if you do not automatically receive a renewal application.

Important

When signing an appraisal report, place your classification and license or certification number adjacent to or immediately below your signature. Also, use your number and classification in all statements of qualifications, contracts or other instruments, including advertising media. You are required to comply with the Uniform Standards of Professional Appraisal Practice, which are promulgated by The Appraisal Foundation, and are bound by the Competency Provision contained therein.