INVOICE

FROM:

MG Appraisals Inc

146 Maple Ave
Victor, NY 14564

Telephone Number: (585) 507-5658 **Fax Number:**

TO:

Fastapp Appraisal Management Company

Telephone Number: **Fax Number:**
Alternate Number: **E-Mail:**

INVOICE NUMBER
262-04201
DATE
03/13/2026

REFERENCE	
Internal Order #:	0000299
Lender Case #:	R26-000843
Client File #:	262-04201
Main File # on form:	262-04201
Other File # on form:	R26-000843
Federal Tax ID:	93-4603948
Employer ID:	

DESCRIPTION

Lender: BPL Mortgage, LLC **Client:** Fastapp Appraisal Management Company
Purchaser/Borrower: Bajan LLC
Property Address: 46 Del Rio Lane
City: Rochester
County: Monroe **State:** NY **Zip:** 14622
Legal Description: Deed Book 12903 Page 622

FEES	AMOUNT
form 1004	500.00
SUBTOTAL	500.00

PAYMENTS			AMOUNT
Check #:	**Date:**	**Description:**	
Check #:	**Date:**	**Description:**	
Check #:	**Date:**	**Description:**	
		SUBTOTAL	
		TOTAL DUE	$ 500.00

APPRAISAL OF REAL PROPERTY

LOCATED AT

46 Del Rio Lane
Rochester, NY 14622
Deed Book 12903 Page 622

FOR

BPL Mortgage, LLC
1801 S. Meyers Road, Suite 400
Oakbrook Terrace, IL 60181

OPINION OF VALUE

228,000

AS OF

03/13/2026

BY

Melissa Woods
MG Appraisals Inc
146 Maple Ave
Victor, NY 14564
(585) 507-5658
melissa.mgappraisals@gmail.com

By submitting this report, I confirm that these services were completed in compliance of all AIR, FIRREA, Dodd-Frank, and other regulations.

I make the following statements:

Appraisers USPAP/A.I.R

I have no current or prospective interest in the subject property or the parties involved; and no services were performed by the appraiser within the 3 year period immediately preceding acceptance of this assignment, as an appraiser or in any capacity.

XI FIRREA

Title XI FIRREA compliance statement: Appraiser certifies that the appraisal was prepared in accordance with the requirements of Title XI of the Financial Institutions Reform, Recovery, and Enforcement Act of 1989, as amended (12 U.S.C. 3331 et seq), and any implementing regulations.

USPAP Compliance Addendum

Loan # R26-000843
File # 262-04201

Borrower	Bajan LLC						
Property Address	46 Del Rio Lane						
City	Rochester	County	Monroe	State	NY	Zip Code	14622
Lender/Client	BPL Mortgage, LLC						

APPRAISAL AND REPORT IDENTIFICATION

This Appraisal Report is one of the following types:

- [x] Appraisal Report — This report was prepared in accordance with the requirements of the Appraisal Report option of USPAP Standards Rule 2-2(a).
- [ ] Restricted Appraisal Report — This report was prepared in accordance with the requirements of the Restricted Appraisal Report option of USPAP Standards Rule 2-2(b), and is intended only for the use of the client and any other named intended user(s). Users of this report must clearly understand that the report may not contain supporting rationale for all of the opinions and conclusions set forth in the report.

ADDITIONAL CERTIFICATIONS

I certify that, to the best of my knowledge and belief:

- The statements of fact contained in this report are true and correct.
- The report analyses, opinions, and conclusions are limited only by the reported assumptions and are my personal, impartial, and unbiased professional analyses, opinions, and conclusions.
- I have no (or the specified) present or prospective interest in the property that is the subject of this report and no (or specified) personal interest with respect to the parties involved.
- I have no bias with respect to the property that is the subject of this report or the parties involved with this assignment.
- My engagement in this assignment was not contingent upon developing or reporting predetermined results.
- My compensation for completing this assignment is not contingent upon the development or reporting of a predetermined value or direction in value that favors the cause of the client, the amount of the value opinion, the attainment of a stipulated result, or the occurrence of a subsequent event directly related to the intended use of this appraisal.
- My analyses, opinions, and conclusions were developed and this report has been prepared, in conformity with the Uniform Standards of Professional Appraisal Practice.
- This appraisal report was prepared in accordance with the requirements of Title XI of FIRREA and any implementing regulations.

PRIOR SERVICES

- [x] I have NOT performed services, as an appraiser or in any other capacity, regarding the property that is the subject of this report within the three-year period immediately preceding acceptance of this assignment.
- [ ] I HAVE performed services, as an appraiser or in another capacity, regarding the property that is the subject of this report within the three-year period immediately preceding acceptance of this assignment. Those services are described in the comments below.

PROPERTY INSPECTION

- [ ] I have NOT made a personal inspection of the property that is the subject of this report.
- [x] I HAVE made a personal inspection of the property that is the subject of this report.

APPRAISAL ASSISTANCE

Unless otherwise noted, no one provided significant real property appraisal assistance to the person signing this certification. If anyone did provide significant assistance, they are hereby identified along with a summary of the extent of the assistance provided in the report.

None

ADDITIONAL COMMENTS

Additional USPAP related issues requiring disclosure and/or any state mandated requirements: None

MARKETING TIME AND EXPOSURE TIME FOR THE SUBJECT PROPERTY

- [x] A reasonable marketing time for the subject property is 30 day(s) utilizing market conditions pertinent to the appraisal assignment.
- [x] A reasonable exposure time for the subject property is 30 day(s).

APPRAISER		SUPERVISORY APPRAISER (ONLY IF REQUIRED)	
Signature		Signature	
Name	Melissa Woods	Name	
Date of Signature	03/19/2026	Date of Signature	
State Certification #	45000053462	State Certification #	
or State License #		or State License #	
State	NY	State	
Expiration Date of Certification or License	12/06/2027	Expiration Date of Certification or License	
		Supervisory Appraiser Inspection of Subject Property	
Effective Date of Appraisal	03/13/2026	[ ] Did Not [ ] Exterior-only from Street [ ] Interior and Exterior	

Form ID20EC - "TOTAL" appraisal software by a la mode, inc. - 1-800-ALAMODE

Uniform Residential Appraisal Report

R26-000843
File # 262-04201

The purpose of this summary appraisal report is to provide the lender/client with an accurate, and adequately supported, opinion of the market value of the subject property.

SUBJECT

Property Address 46 Del Rio Lane | City Rochester | State NY | Zip Code 14622
Borrower Bajan LLC | Owner of Public Record Freddie L Blair Jr | County Monroe
Legal Description Deed Book 12903 Page 622
Assessor's Parcel # 092.06-3-49 | Tax Year 2026 | R.E. Taxes $ 7,059
Neighborhood Name Town of Irondequoit/ Culver Mdws Sub | Map Reference 40380 | Census Tract 0109.02
Occupant ☐ Owner ☐ Tenant ☒ Vacant | Special Assessments $ 0 | ☐ PUD HOA $ 0 ☐ per year ☐ per month
Property Rights Appraised ☒ Fee Simple ☐ Leasehold ☐ Other (describe)
Assignment Type ☒ Purchase Transaction ☐ Refinance Transaction ☐ Other (describe)
Lender/Client BPL Mortgage, LLC | Address 1801 S. Meyers Road, Suite 400, Oakbrook Terrace, IL 60181
Is the subject property currently offered for sale or has it been offered for sale in the twelve months prior to the effective date of this appraisal? ☒ Yes ☐ No
Report data source(s) used, offering price(s), and date(s). DOM 21;Datasource: GRARMLS#R1627268 listed on 08/10/2025 for $190,000 and was reduced to $185,000. Subject is still currently active in the MLS however was sold outside of the listing. For Sale By Owner between aquintances.

CONTRACT

I ☒ did ☐ did not analyze the contract for sale for the subject purchase transaction. Explain the results of the analysis of the contract for sale or why the analysis was not performed. Non-arms length sale;The signed copy of the purchase contract was reviewed.

Contract Price $ 168,000 | Date of Contract 11/07/2025 | Is the property seller the owner of public record? ☒ Yes ☐ No | Data Source(s) tax record/assessor
Is there any financial assistance (loan charges, sale concessions, gift or downpayment assistance, etc.) to be paid by any party on behalf of the borrower? ☐ Yes ☒ No
If Yes, report the total dollar amount and describe the items to be paid. $0;;

NEIGHBORHOOD

Note: Race and the racial composition of the neighborhood are not appraisal factors.

Neighborhood Characteristics			One-Unit Housing Trends			One-Unit Housing			Present Land Use %	
Location	☐ Urban	☒ Suburban ☐ Rural	Property Values	☐ Increasing	☒ Stable ☐ Declining	PRICE		AGE	One-Unit	64 %
Built-Up	☐ Over 75%	☒ 25-75% ☐ Under 25%	Demand/Supply	☐ Shortage	☒ In Balance ☐ Over Supply	$ (000)		(yrs)	2-4 Unit	20 %
Growth	☐ Rapid	☒ Stable ☐ Slow	Marketing Time	☒ Under 3 mths	☐ 3-6 mths ☐ Over 6 mths	77	Low	1	Multi-Family	5 %
Neighborhood Boundaries Borders on the North by Titus Ave, on the East by RT 590, on the South by Rt 104 and on the West by Culver Rd.						395	High	128	Commercial	10 %
						226	Pred.	74	Other	1 %

Neighborhood Description Subject is located within the Town of Irondequoit within close proximity to all main services, schools, shoppings, public transportation and major employment services. The area is a mixture of single and multi family dwellings, homes varying in style, size, age and are in generally maintained condition with average exterior appeal.
Market Conditions (including support for the above conclusions) Property Values are starting to reflect stability within the area with the marketing time being less than three months for homes which are reasonably priced and properly marketed. There is still a slight shortage in supply and increase in demand..Financing is favorable and available in various form with rates of 6% +/-.

SITE

Dimensions 84.25x120 | Area 10890 sf | Shape irregular | View N;Res;
Specific Zoning Classification R1 | Zoning Description Residential single Family
Zoning Compliance ☒ Legal ☐ Legal Nonconforming (Grandfathered Use) ☐ No Zoning ☐ Illegal (describe)
Is the highest and best use of subject property as improved (or as proposed per plans and specifications) the present use? ☒ Yes ☐ No If No, describe present use

Utilities	Public	Other (describe)		Public	Other (describe)	Off-site Improvements – Type	Public	Private
Electricity	☒	☐	Water	☒	☐	Street asphalt	☒	☐
Gas	☒	☐	Sanitary Sewer	☒	☐	Alley none	☐	☐

FEMA Special Flood Hazard Area ☐ Yes ☒ No | FEMA Flood Zone X | FEMA Map # 36055C0208H | FEMA Map Date 07/31/2024
Are the utilities and off-site improvements typical for the market area? ☒ Yes ☐ No If No, describe
Are there any adverse site conditions or external factors (easements, encroachments, environmental conditions, land uses, etc.)? ☐ Yes ☒ No If Yes, describe
There are no external or functional inadequacies noted However, Title was not searched to fully qualify this statement. Flood map data is considered accurate, but not guaranteed. Other 1% consists of parks.

IMPROVEMENTS

General Description		Foundation		Exterior Description	materials/condition	Interior	materials/condition
Units	☒ One ☐ One with Accessory Unit	☐ Concrete Slab	☐ Crawl Space	Foundation Walls	concreteblk/avg	Floors	hd/vinyl/crp/avg
# of Stories	1.0	☒ Full Basement	☐ Partial Basement	Exterior Walls	comp/avg	Walls	plaster/drywall/avg
Type	☒ Det. ☐ Att. ☐ S-Det./End Unit	Basement Area	1,348 sq.ft.	Roof Surface	asphalt shingle/avg	Trim/Finish	wood/painted/ag
☒ Existing	☐ Proposed ☐ Under Const.	Basement Finish	0 %	Gutters & Downspouts	alum/avg	Bath Floor	tile/avg
Design (Style)	Ranch	☒ Outside Entry/Exit	☒ Sump Pump	Window Type	dbl/hung/avg	Bath Wainscot	tile//avg
Year Built	1958	Evidence of	☐ Infestation	Storm Sash/Insulated	combo/avg	Car Storage	☐ None
Effective Age (Yrs)	25	☐ Dampness	☐ Settlement	Screens	yes/typical/avg	☒ Driveway	# of Cars 2
Attic	☐ None	Heating ☒ FWA	☐ HWBB ☐ Radiant	Amenities	☐ Woodstove(s) # 0	Driveway Surface	blacktop
☐ Drop Stair	☐ Stairs	☐ Other	Fuel gas	☒ Fireplace(s) # 1	☒ Fence rear	☒ Garage	# of Cars 2
☐ Floor	☒ Scuttle	Cooling	☒ Central Air Conditioning	☐ Patio/Deck none	☒ Porch covered	☐ Carport	# of Cars 0
☐ Finished	☐ Heated	☐ Individual	☐ Other	☐ Pool none	☐ Other none	☒ Att.	☐ Det. ☐ Built-in

Appliances ☒ Refrigerator ☒ Range/Oven ☒ Dishwasher ☒ Disposal ☐ Microwave ☐ Washer/Dryer ☐ Other (describe)
Finished area **above** grade contains: 6 Rooms 3 Bedrooms 1.0 Bath(s) 1,348 Square Feet of Gross Living Area Above Grade
Additional features (special energy efficient items, etc.). no special energy efficient items noted.
Describe the condition of the property (including needed repairs, deterioration, renovations, remodeling, etc.). C4;No updates in the prior 15 years;The overall condition of the interior, exterior and mechanical appears average. Physical depreciation due to normal wear and tear.The utilities were on and mechanical systems-plumbing,heating, electrical systems and appliances appear to be in good condition and function properly.
Are there any physical deficiencies or adverse conditions that affect the livability, soundness, or structural integrity of the property? ☐ Yes ☒ No If Yes, describe
Does the property generally conform to the neighborhood (functional utility, style, condition, use, construction, etc.)? ☒ Yes ☐ No If No, describe

Form 1004UAD - "TOTAL" appraisal software by a la mode, inc. - 1-800-ALAMODE

Uniform Residential Appraisal Report

R26-000843
File # 262-04201

There are 1 comparable properties currently offered for sale in the subject neighborhood ranging in price from $ 224,900 to $ 224,900 .

There are 24 comparable sales in the subject neighborhood within the past twelve months ranging in sale price from $ 165,000 to $ 292,400 .

SALES COMPARISON APPROACH

FEATURE	SUBJECT	COMPARABLE SALE # 1		COMPARABLE SALE # 2		COMPARABLE SALE # 3	
Address	46 Del Rio Lane Rochester, NY 14622	38 Moroa Dr Rochester, NY 14622		25 Breton Rd Rochester, NY 14622		126 Salem Rd Rochester, NY 14622	
Proximity to Subject		0.29 miles E		0.15 miles W		0.50 miles N	
Sale Price	$ 168,000		$ 290,000		$ 270,250		$ 260,000
Sale Price/Gross Liv. Area	$ 124.63 sq.ft.	$ 196.88 sq.ft.		$ 200.48 sq.ft.		$ 180.43 sq.ft.	
Data Source(s)		GRARMLS#R1615472;DOM 6		GRARMLS#R1593608;DOM 7		GRARMLS#R1590211;DOM 6	
Verification Source(s)		Public Records/NYS MLS		Public Records/NYS MLS		Public Records/NYS MLS	
VALUE ADJUSTMENTS	DESCRIPTION	DESCRIPTION	+(-) $ Adjustment	DESCRIPTION	+(-) $ Adjustment	DESCRIPTION	+(-) $ Adjustment
Sales or Financing Concessions		ArmLth Conv;0		ArmLth Conv;0		ArmLth Cash;1000	-1,000
Date of Sale/Time		s08/25;c06/25		s05/25;c03/25		s04/25;c03/25	
Location	N;Res;	N;Res;Xway	+10,000	N;Res;		N;Res;	
Leasehold/Fee Simple	Fee Simple	Fee SImple		Fee Simple		Fee Simple	
Site	10890 sf	15682 sf	0	8276 sf	0	9148 sf	0
View	N;Res;	N;Res;		N;Res;		N;Res;	
Design (Style)	DT1.0;Ranch	DT1.0;Ranch		DT1.0;Ranch		DT1.0;Ranch	
Quality of Construction	Q4	Q4		Q4		Q4	
Actual Age	68	63	0	69	0	78	0
Condition	C4	C3	0	C3	0	C3	0
Above Grade Room Count (Total / Bdrms. / Baths)	6 / 3 / 1.0	8 / 3 / 1.1	-5,000	5 / 3 / 1.0	0	6 / 2 / 1.0	0
Gross Living Area	1,348 sq.ft.	1,473 sq.ft.	-5,625	1,348 sq.ft.		1,441 sq.ft.	0
Basement & Finished	1348sf0sfwu	1473sf0sfin	0	1348sf674sfin	0	1441sf720sfin	0
Rooms Below Grade				1rr0br2.0ba0o	-15,000	1rr0br0.0ba0o	-10,000
Functional Utility	Average	Average		Average		Average	
Heating/Cooling	Fa/Central	Fa/Central		Fa/Central		Fa/Central	
Energy Efficient Items	Standard	Standard		Standard		Standard	
Garage/Carport	2ga2dw	2ga2dw		1ga1dw	+5,000	1ga1dw	+5,000
Porch/Patio/Deck	CovP	CovP/Patio	-5,000	CovP/Deck	-5,000	CovP	
Fireplace	None	None		None		Frpl	-5,000
Other	None	None		None		None	
Net Adjustment (Total)		☐ + ☒ -	$ -5,625	☐ + ☒ -	$ -15,000	☐ + ☒ -	$ -11,000
Adjusted Sale Price of Comparables		Net Adj. 1.9 % Gross Adj. 8.8 %	$ 284,375	Net Adj. 5.6 % Gross Adj. 9.3 %	$ 255,250	Net Adj. 4.2 % Gross Adj. 8.1 %	$ 249,000

I ☒ did ☐ did not research the sale or transfer history of the subject property and comparable sales. If not, explain

My research ☒ did ☐ did not reveal any prior sales or transfers of the subject property for the three years prior to the effective date of this appraisal.

Data Source(s) GRAR-MLS system/Monroe County Tax Records

My research ☒ did ☐ did not reveal any prior sales or transfers of the comparable sales for the year prior to the date of sale of the comparable sale.

Data Source(s) GRAR-MLS system/Monroe County Tax Records

Report the results of the research and analysis of the prior sale or transfer history of the subject property and comparable sales (report additional prior sales on page 3).

ITEM	SUBJECT	COMPARABLE SALE #1	COMPARABLE SALE #2	COMPARABLE SALE #3
Date of Prior Sale/Transfer	12/19/2023	04/22/2025		
Price of Prior Sale/Transfer	$1	$200,000		
Data Source(s)	Public Records/NYS MLS	Public Records/NYS MLS	Public Records/NYS MLS	Public Records/NYS MLS
Effective Date of Data Source(s)	03/13/2026	03/13/2026	03/13/2026	03/13/2026

Analysis of prior sale or transfer history of the subject property and comparable sales Subject transferred by executor deed on 12/19/2023 for $1.
Comparable #2 transferred by warranty deed on 07/10/2025 for $1. Comparable #4 transferred by warranty deed on 04/22/2025 for $200,000.

Summary of Sales Comparison Approach Sales recited are from subject neighborhood and are in acceptable proximity to the subject. They are the most recent and most comparable found. All value affecting dissimilarities were adjusted according to market reaction.
Location adjustment for comparable #3 was made for inferior location - backs to expressway
GLA adjusted at $45 per sq ft.
No site adjustment made as they all are considered typical suburban sites.
5% condition adjustment for comparable #1 for superior interior condition (flooring)

Indicated Value by Sales Comparison Approach $ 228,000

RECONCILIATION

Indicated Value by: Sales Comparison Approach $ 228,000 **Cost Approach (if developed) $** 192,538 **Income Approach (if developed) $**

Market actions of buyers and sellers are best analyzed by the Sales Comparison Approach. That approach is given greatest weight in the reconciliation with good support from the Income Approach. Cost Approach is not developed due to the age of the subject and difficulty in estimating depreciation.

This appraisal is made ☒ "as is", ☐ subject to completion per plans and specifications on the basis of a hypothetical condition that the improvements have been completed, ☐ subject to the following repairs or alterations on the basis of a hypothetical condition that the repairs or alterations have been completed, or ☐ subject to the following required inspection based on the extraordinary assumption that the condition or deficiency does not require alteration or repair:

Based on a complete visual inspection of the interior and exterior areas of the subject property, defined scope of work, statement of assumptions and limiting conditions, and appraiser's certification, my (our) opinion of the market value, as defined, of the real property that is the subject of this report is $ 228,000 **, as of** 03/13/2026 **, which is the date of inspection and the effective date of this appraisal.**

Form 1004UAD - "TOTAL" appraisal software by a la mode, inc. - 1-800-ALAMODE

ADDITIONAL COMMENTS

The appraiser did not move any personal property,due to liability concerns for potential damage to the property, to disclose or reveal any unapparent or hidden defects to the structure, nor did the appraiser dismantle or probe the structure to observe enclosed,encased,or otherwise concealed areas.

Comparable data was generally obtained from third-party sources including but not limited to the local mls,county assessor,township assessor,online resources and additional public data sources.
Consequently, this information should be considered and estimate unless otherwise noted by the appraiser.

The Intended User of this appraisal report is Lender/Client. The Intended Use is to evaluate the property that is the subject of the appraisal for a mortgage finance transaction, subject to the stated Scope of Work, purpose of the appraisal, reporting requirements of the this appraisal report from, and Definition of Market Value.

No additional Intended Users are identified by the appraiser.
Any other party receiving a copy of this report for any reason is not an intended user; nor dose receiving a copy of this report result in an appraiser-client relationship. Use of this report by any other party(ies) is not intended by the appraiser.
THE APPRAISER IS NOT A HOME INSPECTOR AND THE CLIENT SHOULD NOT RELY ON THE APPRAISER TO DETECT DEFECTS THAT WOULD NORMALLY BE UNCOVERED BY A HOME INSPECTOR. THE APPRAISER WILL DISCLOSE ANY DEFECTS FOUND IN THE NORMAL APPRAISAL INSPECTION PROCESS.

USPAP 3 years disclosure:
I have not preformed services, as an appraiser or in any other capacity, regarding the property that is the subject of this report within the three-years preceding acceptance of this assignment.

Exposure time:
Exposure time less than 30 days based on the current market value as of the effective date of this report.
The definitions section of the 2014-2015 version of USPAP definition for exposure time:
"Exposure time: estimated length of time that the property interest being appraised would have been consummation of a sale at market value on the effective date of the appraisal.

FIRREA Certification Statement:
The appraiser certifies and agrees that this appraisal report was prepared in accordance with the requirements of Tile XI of Financial Institution, Reform, Recovery, and Enforcement Act(FIRREA) of 1989, as amended (12 U.S.C.3331 et seq), and any implementing regulations in effect at the time the appraiser signs the appraisal certification.

At the time of inspection mechanical systems and the utilities were on and operational and a representative sampling of switches, outlets water based fixtures and heat was tested. All are in acceptable working order.

The appraiser is not a home inspector and the appraisal report is not a home inspection. The appraiser only performed a visual observation of accessible areas and the appraisal report cannot be relied upon to disclose conditions and/or defects in the property.

COST APPROACH

COST APPROACH TO VALUE (not required by Fannie Mae)

Provide adequate information for the lender/client to replicate the below cost figures and calculations.
Support for the opinion of site value (summary of comparable land sales or other methods for estimating site value)
Site value was obtained utilizing the extraction method. This method is utilized due to insuffcent comparable sales available of vacant land.

ESTIMATED ☐ REPRODUCTION OR ☒ REPLACEMENT COST NEW
Source of cost data Marshall & Swift/local builders
Quality rating from cost service avg Effective date of cost data 02/2026
Comments on Cost Approach (gross living area calculations, depreciation, etc.)
While reasonable care was exercised in the measurement of the subject property, final square footage figure should be considered an approximation only. See sketch addendum for SqFt calculation.The site value is estimated based upon assessor data. The site/value ratio is typical for the subject's marketplace.

OPINION OF SITE VALUE				=$	7,500
DWELLING	1,348	Sq.Ft. @ $	175.00	=$	235,900
	1,348	Sq.Ft. @ $	40.00	=$	53,920
porches				=$	5,000
Garage/Carport	453	Sq.Ft. @ $	40.00	=$	18,120
Total Estimate of Cost-New				=$	312,940
Less Physical	Functional	External			
Depreciation	130,402			=$(	130,402)
Depreciated Cost of Improvements				=$	182,538
"As-is" Value of Site Improvements				=$	2,500
Estimated Remaining Economic Life (HUD and VA only)	35 Years	INDICATED VALUE BY COST APPROACH		=$	192,538

INCOME

INCOME APPROACH TO VALUE (not required by Fannie Mae)

Estimated Monthly Market Rent $ X Gross Rent Multiplier = $ Indicated Value by Income Approach
Summary of Income Approach (including support for market rent and GRM) GRM is typical for the subject's market area. Good support from the Income approach.

PUD INFORMATION

PROJECT INFORMATION FOR PUDs (if applicable)

Is the developer/builder in control of the Homeowners' Association (HOA)? ☐ Yes ☐ No Unit type(s) ☐ Detached ☐ Attached
Provide the following information for PUDs ONLY if the developer/builder is in control of the HOA and the subject property is an attached dwelling unit.
Legal Name of Project
Total number of phases Total number of units Total number of units sold
Total number of units rented Total number of units for sale Data source(s)
Was the project created by the conversion of existing building(s) into a PUD? ☐ Yes ☐ No If Yes, date of conversion.
Does the project contain any multi-dwelling units? ☐ Yes ☐ No Data Source
Are the units, common elements, and recreation facilities complete? ☐ Yes ☐ No If No, describe the status of completion.

Are the common elements leased to or by the Homeowners' Association? ☐ Yes ☐ No If Yes, describe the rental terms and options.

Describe common elements and recreational facilities.

Form 1004UAD - "TOTAL" appraisal software by a la mode, inc. - 1-800-ALAMODE

This report form is designed to report an appraisal of a one-unit property or a one-unit property with an accessory unit; including a unit in a planned unit development (PUD). This report form is not designed to report an appraisal of a manufactured home or a unit in a condominium or cooperative project.

This appraisal report is subject to the following scope of work, intended use, intended user, definition of market value, statement of assumptions and limiting conditions, and certifications. Modifications, additions, or deletions to the intended use, intended user, definition of market value, or assumptions and limiting conditions are not permitted. The appraiser may expand the scope of work to include any additional research or analysis necessary based on the complexity of this appraisal assignment. Modifications or deletions to the certifications are also not permitted. However, additional certifications that do not constitute material alterations to this appraisal report, such as those required by law or those related to the appraiser's continuing education or membership in an appraisal organization, are permitted.

SCOPE OF WORK: The scope of work for this appraisal is defined by the complexity of this appraisal assignment and the reporting requirements of this appraisal report form, including the following definition of market value, statement of assumptions and limiting conditions, and certifications. The appraiser must, at a minimum: (1) perform a complete visual inspection of the interior and exterior areas of the subject property, (2) inspect the neighborhood, (3) inspect each of the comparable sales from at least the street, (4) research, verify, and analyze data from reliable public and/or private sources, and (5) report his or her analysis, opinions, and conclusions in this appraisal report.

INTENDED USE: The intended use of this appraisal report is for the lender/client to evaluate the property that is the subject of this appraisal for a mortgage finance transaction.

INTENDED USER: The intended user of this appraisal report is the lender/client.

DEFINITION OF MARKET VALUE: The most probable price which a property should bring in a competitive and open market under all conditions requisite to a fair sale, the buyer and seller, each acting prudently, knowledgeably and assuming the price is not affected by undue stimulus. Implicit in this definition is the consummation of a sale as of a specified date and the passing of title from seller to buyer under conditions whereby: (1) buyer and seller are typically motivated; (2) both parties are well informed or well advised, and each acting in what he or she considers his or her own best interest; (3) a reasonable time is allowed for exposure in the open market; (4) payment is made in terms of cash in U. S. dollars or in terms of financial arrangements comparable thereto; and (5) the price represents the normal consideration for the property sold unaffected by special or creative financing or sales concessions* granted by anyone associated with the sale.

*Adjustments to the comparables must be made for special or creative financing or sales concessions. No adjustments are necessary for those costs which are normally paid by sellers as a result of tradition or law in a market area; these costs are readily identifiable since the seller pays these costs in virtually all sales transactions. Special or creative financing adjustments can be made to the comparable property by comparisons to financing terms offered by a third party institutional lender that is not already involved in the property or transaction. Any adjustment should not be calculated on a mechanical dollar for dollar cost of the financing or concession but the dollar amount of any adjustment should approximate the market's reaction to the financing or concessions based on the appraiser's judgment.

STATEMENT OF ASSUMPTIONS AND LIMITING CONDITIONS: The appraiser's certification in this report is subject to the following assumptions and limiting conditions:

1. The appraiser will not be responsible for matters of a legal nature that affect either the property being appraised or the title to it, except for information that he or she became aware of during the research involved in performing this appraisal. The appraiser assumes that the title is good and marketable and will not render any opinions about the title.

2. The appraiser has provided a sketch in this appraisal report to show the approximate dimensions of the improvements. The sketch is included only to assist the reader in visualizing the property and understanding the appraiser's determination of its size.

3. The appraiser has examined the available flood maps that are provided by the Federal Emergency Management Agency (or other data sources) and has noted in this appraisal report whether any portion of the subject site is located in an identified Special Flood Hazard Area. Because the appraiser is not a surveyor, he or she makes no guarantees, express or implied, regarding this determination.

4. The appraiser will not give testimony or appear in court because he or she made an appraisal of the property in question, unless specific arrangements to do so have been made beforehand, or as otherwise required by law.

5. The appraiser has noted in this appraisal report any adverse conditions (such as needed repairs, deterioration, the presence of hazardous wastes, toxic substances, etc.) observed during the inspection of the subject property or that he or she became aware of during the research involved in performing the appraisal. Unless otherwise stated in this appraisal report, the appraiser has no knowledge of any hidden or unapparent physical deficiencies or adverse conditions of the property (such as, but not limited to, needed repairs, deterioration, the presence of hazardous wastes, toxic substances, adverse environmental conditions, etc.) that would make the property less valuable, and has assumed that there are no such conditions and makes no guarantees or warranties, express or implied. The appraiser will not be responsible for any such conditions that do exist or for any engineering or testing that might be required to discover whether such conditions exist. Because the appraiser is not an expert in the field of environmental hazards, this appraisal report must not be considered as an environmental assessment of the property.

6. The appraiser has based his or her appraisal report and valuation conclusion for an appraisal that is subject to satisfactory completion, repairs, or alterations on the assumption that the completion, repairs, or alterations of the subject property will be performed in a professional manner.

Form 1004UAD - "TOTAL" appraisal software by a la mode, inc. - 1-800-ALAMODE

APPRAISER'S CERTIFICATION: The Appraiser certifies and agrees that:

1. I have, at a minimum, developed and reported this appraisal in accordance with the scope of work requirements stated in this appraisal report.

2. I performed a complete visual inspection of the interior and exterior areas of the subject property. I reported the condition of the improvements in factual, specific terms. I identified and reported the physical deficiencies that could affect the livability, soundness, or structural integrity of the property.

3. I performed this appraisal in accordance with the requirements of the Uniform Standards of Professional Appraisal Practice that were adopted and promulgated by the Appraisal Standards Board of The Appraisal Foundation and that were in place at the time this appraisal report was prepared.

4. I developed my opinion of the market value of the real property that is the subject of this report based on the sales comparison approach to value. I have adequate comparable market data to develop a reliable sales comparison approach for this appraisal assignment. I further certify that I considered the cost and income approaches to value but did not develop them, unless otherwise indicated in this report.

5. I researched, verified, analyzed, and reported on any current agreement for sale for the subject property, any offering for sale of the subject property in the twelve months prior to the effective date of this appraisal, and the prior sales of the subject property for a minimum of three years prior to the effective date of this appraisal, unless otherwise indicated in this report.

6. I researched, verified, analyzed, and reported on the prior sales of the comparable sales for a minimum of one year prior to the date of sale of the comparable sale, unless otherwise indicated in this report.

7. I selected and used comparable sales that are locationally, physically, and functionally the most similar to the subject property.

8. I have not used comparable sales that were the result of combining a land sale with the contract purchase price of a home that has been built or will be built on the land.

9. I have reported adjustments to the comparable sales that reflect the market's reaction to the differences between the subject property and the comparable sales.

10. I verified, from a disinterested source, all information in this report that was provided by parties who have a financial interest in the sale or financing of the subject property.

11. I have knowledge and experience in appraising this type of property in this market area.

12. I am aware of, and have access to, the necessary and appropriate public and private data sources, such as multiple listing services, tax assessment records, public land records and other such data sources for the area in which the property is located.

13. I obtained the information, estimates, and opinions furnished by other parties and expressed in this appraisal report from reliable sources that I believe to be true and correct.

14. I have taken into consideration the factors that have an impact on value with respect to the subject neighborhood, subject property, and the proximity of the subject property to adverse influences in the development of my opinion of market value. I have noted in this appraisal report any adverse conditions (such as, but not limited to, needed repairs, deterioration, the presence of hazardous wastes, toxic substances, adverse environmental conditions, etc.) observed during the inspection of the subject property or that I became aware of during the research involved in performing this appraisal. I have considered these adverse conditions in my analysis of the property value, and have reported on the effect of the conditions on the value and marketability of the subject property.

15. I have not knowingly withheld any significant information from this appraisal report and, to the best of my knowledge, all statements and information in this appraisal report are true and correct.

16. I stated in this appraisal report my own personal, unbiased, and professional analysis, opinions, and conclusions, which are subject only to the assumptions and limiting conditions in this appraisal report.

17. I have no present or prospective interest in the property that is the subject of this report, and I have no present or prospective personal interest or bias with respect to the participants in the transaction. I did not base, either partially or completely, my analysis and/or opinion of market value in this appraisal report on the race, color, religion, sex, age, marital status, handicap, familial status, or national origin of either the prospective owners or occupants of the subject property or of the present owners or occupants of the properties in the vicinity of the subject property or on any other basis prohibited by law.

18. My employment and/or compensation for performing this appraisal or any future or anticipated appraisals was not conditioned on any agreement or understanding, written or otherwise, that I would report (or present analysis supporting) a predetermined specific value, a predetermined minimum value, a range or direction in value, a value that favors the cause of any party, or the attainment of a specific result or occurrence of a specific subsequent event (such as approval of a pending mortgage loan application).

19. I personally prepared all conclusions and opinions about the real estate that were set forth in this appraisal report. If I relied on significant real property appraisal assistance from any individual or individuals in the performance of this appraisal or the preparation of this appraisal report, I have named such individual(s) and disclosed the specific tasks performed in this appraisal report. I certify that any individual so named is qualified to perform the tasks. I have not authorized anyone to make a change to any item in this appraisal report; therefore, any change made to this appraisal is unauthorized and I will take no responsibility for it.

20. I identified the lender/client in this appraisal report who is the individual, organization, or agent for the organization that ordered and will receive this appraisal report.

Form 1004UAD - "TOTAL" appraisal software by a la mode, inc. - 1-800-ALAMODE

21. The lender/client may disclose or distribute this appraisal report to: the borrower; another lender at the request of the borrower; the mortgagee or its successors and assigns; mortgage insurers; government sponsored enterprises; other secondary market participants; data collection or reporting services; professional appraisal organizations; any department, agency, or instrumentality of the United States; and any state, the District of Columbia, or other jurisdictions; without having to obtain the appraiser's or supervisory appraiser's (if applicable) consent. Such consent must be obtained before this appraisal report may be disclosed or distributed to any other party (including, but not limited to, the public through advertising, public relations, news, sales, or other media).

22. I am aware that any disclosure or distribution of this appraisal report by me or the lender/client may be subject to certain laws and regulations. Further, I am also subject to the provisions of the Uniform Standards of Professional Appraisal Practice that pertain to disclosure or distribution by me.

23. The borrower, another lender at the request of the borrower, the mortgagee or its successors and assigns, mortgage insurers, government sponsored enterprises, and other secondary market participants may rely on this appraisal report as part of any mortgage finance transaction that involves any one or more of these parties.

24. If this appraisal report was transmitted as an "electronic record" containing my "electronic signature," as those terms are defined in applicable federal and/or state laws (excluding audio and video recordings), or a facsimile transmission of this appraisal report containing a copy or representation of my signature, the appraisal report shall be as effective, enforceable and valid as if a paper version of this appraisal report were delivered containing my original hand written signature.

25. Any intentional or negligent misrepresentation(s) contained in this appraisal report may result in civil liability and/or criminal penalties including, but not limited to, fine or imprisonment or both under the provisions of Title 18, United States Code, Section 1001, et seq., or similar state laws.

SUPERVISORY APPRAISER'S CERTIFICATION: The Supervisory Appraiser certifies and agrees that:

1. I directly supervised the appraiser for this appraisal assignment, have read the appraisal report, and agree with the appraiser's analysis, opinions, statements, conclusions, and the appraiser's certification.

2. I accept full responsibility for the contents of this appraisal report including, but not limited to, the appraiser's analysis, opinions, statements, conclusions, and the appraiser's certification.

3. The appraiser identified in this appraisal report is either a sub-contractor or an employee of the supervisory appraiser (or the appraisal firm), is qualified to perform this appraisal, and is acceptable to perform this appraisal under the applicable state law.

4. This appraisal report complies with the Uniform Standards of Professional Appraisal Practice that were adopted and promulgated by the Appraisal Standards Board of The Appraisal Foundation and that were in place at the time this appraisal report was prepared.

5. If this appraisal report was transmitted as an "electronic record" containing my "electronic signature," as those terms are defined in applicable federal and/or state laws (excluding audio and video recordings), or a facsimile transmission of this appraisal report containing a copy or representation of my signature, the appraisal report shall be as effective, enforceable and valid as if a paper version of this appraisal report were delivered containing my original hand written signature.

APPRAISER

Signature
Name Melissa Woods
Company Name MG Appraisals Inc
Company Address 146 Maple Ave
Victor, NY 14564
Telephone Number (585) 507-5658
Email Address melissa.mgappraisals@gmail.com
Date of Signature and Report 03/19/2026
Effective Date of Appraisal 03/13/2026
State Certification # 45000053462
or State License #
or Other (describe) State #
State NY
Expiration Date of Certification or License 12/06/2027

ADDRESS OF PROPERTY APPRAISED
46 Del Rio Lane
Rochester, NY 14622
APPRAISED VALUE OF SUBJECT PROPERTY $ 228,000

LENDER/CLIENT
Name Fastapp Appraisal Management Company
Company Name BPL Mortgage, LLC
Company Address 1801 S. Meyers Road, Suite 400, Oakbrook Terrace, IL 60181
Email Address

SUPERVISORY APPRAISER (ONLY IF REQUIRED)

Signature
Name
Company Name
Company Address
Telephone Number
Email Address
Date of Signature
State Certification #
or State License #
State
Expiration Date of Certification or License

SUBJECT PROPERTY

☐ Did not inspect subject property
☐ Did inspect exterior of subject property from street
Date of Inspection
☐ Did inspect interior and exterior of subject property
Date of Inspection

COMPARABLE SALES

☐ Did not inspect exterior of comparable sales from street
☐ Did inspect exterior of comparable sales from street
Date of Inspection

Form 1004UAD - "TOTAL" appraisal software by a la mode, inc. - 1-800-ALAMODE

Uniform Residential Appraisal Report

R26-000843
File # 262-04201

SALES COMPARISON APPROACH

FEATURE	SUBJECT	COMPARABLE SALE # 4		COMPARABLE SALE # 5		COMPARABLE SALE # 6	
Address	46 Del Rio Lane Rochester, NY 14622	26 Catalina Dr Rochester, NY 14622		247 Angelus Dr Rochester, NY 14622		43 Moroa Dr Rochester, NY 14622	
Proximity to Subject		0.07 miles SW		0.09 miles E		0.28 miles E	
Sale Price	$ 168,000		$ 235,000		$ 242,000		$ 223,846
Sale Price/Gross Liv. Area	$ 124.63 sq.ft.	$ 163.31 sq.ft.		$ 199.67 sq.ft.		$ 183.78 sq.ft.	
Data Source(s)		GRARMLS#R1615958;DOM 7		GRARMLS#R1611223;DOM 4		GRARMLS#R1630612;DOM 6	
Verification Source(s)		Public Records/NYS MLS		Public Records/NYS MLS		Public Records/NYS MLS	
VALUE ADJUSTMENTS	DESCRIPTION	DESCRIPTION	+(-) $ Adjustment	DESCRIPTION	+(-) $ Adjustment	DESCRIPTION	+(-) $ Adjustment
Sales or Financing Concessions		ArmLth Cash;0		ArmLth Conv;0		ArmLth Cash;0	
Date of Sale/Time		s09/25;c06/25		s07/25;c06/25		s10/25;c08/25	
Location	N;Res;	N;Res;		N;Res;		N;Res;Xway	+10,000
Leasehold/Fee Simple	Fee Simple	Fee Simple		Fee Simple		Fee Simple	
Site	10890 sf	8276 sf	0	8276 sf	0	10019 sf	0
View	N;Res;	N;Res;		N;Res;		N;Res;	
Design (Style)	DT1.0;Ranch	DT1.0;Ranch		DT1.0;Ranch		DT1.0;Ranch	
Quality of Construction	Q4	Q4		Q4		Q4	
Actual Age	68	68		68		63	0
Condition	C4	C4	-11,750	C4		C4	
Above Grade Room Count (Total / Bdrms. / Baths)	6 / 3 / 1.0	6 / 3 / 1.0		5 / 3 / 1.0	0	6 / 3 / 1.0	
Gross Living Area	1,348 sq.ft.	1,439 sq.ft.	0	1,212 sq.ft.	+6,120	1,218 sq.ft.	+5,850
Basement & Finished Rooms Below Grade	1348sf0sfwu	1439sf0sfin	0	1212sf606sfin 1rr0br0.0ba0o	0 -10,000	1218sf609sfin 1rr0br0.0ba0o	0 -10,000
Functional Utility	Average	Average		Average		Average	
Heating/Cooling	Fa/Central	Fa/Central		Fa/Central		Fa/Central	
Energy Efficient Items	Standard	Standard		Standard		Standard	
Garage/Carport	2ga2dw	1ga1dw	+5,000	1ga1dw	+5,000	2ga2dw	
Porch/Patio/Deck	CovP	CovP/Deck	-5,000	CovP		ScrnP/EnclP	-7,500
Fireplace	None	None		Frpl	-5,000	None	
Other	None	None		None		None	
Net Adjustment (Total)		☐ + ☒ -	$ -11,750	☐ + ☒ -	$ -3,880	☐ + ☒ -	$ -1,650
Adjusted Sale Price of Comparables		Net Adj. 5.0 % Gross Adj. 9.3 %	$ 223,250	Net Adj. 1.6 % Gross Adj. 10.8 %	$ 238,120	Net Adj. 0.7 % Gross Adj. 14.9 %	$ 222,196

SALE HISTORY

Report the results of the research and analysis of the prior sale or transfer history of the subject property and comparable sales (report additional prior sales on page 3).

ITEM	SUBJECT	COMPARABLE SALE # 4	COMPARABLE SALE # 5	COMPARABLE SALE # 6
Date of Prior Sale/Transfer	12/19/2023		07/10/2025	
Price of Prior Sale/Transfer	$1		$1	
Data Source(s)	Public Records/NYS MLS	Public Records/NYS MLS	Public Records/NYS MLS	Public Records/NYS MLS
Effective Date of Data Source(s)	03/13/2026	03/13/2026	03/13/2026	03/13/2026

Analysis of prior sale or transfer history of the subject property and comparable sales

ANALYSIS / COMMENTS

Analysis/Comments

Form 1004UAD.(AC) - "TOTAL" appraisal software by a la mode, inc. - 1-800-ALAMODE

Supplemental Addendum

File No. 262-04201

Borrower	Bajan LLC						
Property Address	46 Del Rio Lane						
City	Rochester	County	Monroe	State	NY	Zip Code	14622
Lender/Client	BPL Mortgage, LLC						

Subject Section:

The appraiser utilized a physical inspection, MLS and Real Property Info to report the information in this section. No deed or title was obtained or provided to the appraiser.

The research of prior listings of the subject was completed by searching the MLS and/or Real Property Info by address for the subject property. In doing this search, all "status" categories were included, meaning that the records for active, sold, expired, withdrawn and under contract were searched. The appraiser has no way to identify possible current or past "for sale by owner" offerings if they exist.

Contract Section:

If applicable, the appraiser has analyzed the sales contract, The information is considered to be accurate and true. No deed or title was obtained or provided to the appraiser. The appraiser assumes no responsibility for any changes or omission of pages of the sales contract that were not supplied to the appraiser.

Financial assistance was strictly limited to reporting any concessions shown on the agreement of sale. In this market, agreements of sale do not typically include any reference to gifts borrowers may be receiving from any party other than the seller, such as from a parent. That information is also not matter of public record and is not available from any disinterested party. I have asked the client to provide details of any financial assistance to the borrower and reported the response here if applicable. It is beyond the scope of work to research these details except as shown on the agreement of sale or the appraisal order form. Any concessions being paid have no impact on appraised or marketability.

Neighborhood Section:

The information reported in this section was gathered be researching the MLS and viewing the area determined by the neighborhood boundaries.

Site Section:

Determination of the flood zone was limited to the examination of FEMA flood map. Scope of work does not include a survey or additional flood research. Client is advised that not all local streams were mapped be FEMA, these maps do not depict individual property boundaries and are vague and poorly defined in some area. The services of an approved flood hazard insuring agent should be provided for a detailed determination.

Residential use is among those uses deemed legally permissible, physically possible and financially feasible. Thus, the current/proposed residential use is considered an adequate expression of the concept of highest and best use as improved/proposed to be improved.For existing houses, it is my opinion that there are no legally uses that would economically justify the removal of the existing improvements at this time. My scope of work in evaluating highest and best use includes meeting Fannie Mae's highest and best use guidelines, which state that "if the use of comparable sales demonstrates that the improvements are reasonably typical and compatible with market demand for the neighborhood, and the present improvements contribute to the value of the subject property so that its value is greater than the estimated vacant site value, the appraiser should consider the existing use as reasonable and report it as the highest and best use analysis which would include analyzing all legally permitted and physically possible uses based on the assumption that the site is vacant.

MLS, Real Property Info or county assessment records provided site dimensions/area. The shape is based on a visual inspection, survey if supplied, or county tax maps when available. View is observed at the site. Zoning classification is according to the municipality zoning maps and ordinance. it does not include a zoning update inquiry at the time of each appraisal or determining if permits for work done on the property at any point in time have been secured. Online County assessment records provide the determination of the presence of public water and/or sewer.Presence of public gas is reported if a gas meter is seen on site. Determination about whether an alley exists and whether the road and.or alley are public is based on local maps or a visual inspection. Easements, encroachments environmental conditions and detrimental land uses are reported only as visually observed at the site or as reported to me during the course of my research. Scope of work does not include an attempt to research subjects title or legal documents. I have no expertise in the areas of law, title searching or environmental hazards or inspection for environmental conditions. No additional verifications or any of these items has been attempted and client is encouraged, if concerned, to employ the services of appropriate experts.

• **URAR: Reconciliation - Reconciliation and Final Value Conclusion**

In developing this appraisal, the appraiser has incorporated only the Sales Comparison approach. The appraiser has excluded the Income approaches. The income approach was not used due to the lack of rental data for similar single family residences. The cost approach was calculated at the request of the lender but was given no weight. Appraiser considered all comparables when arriving at the final indicated opinion of value.

The best available comparables sales and listings have been used. Comparable sales were selected based on location, size,style and appeal to the market. Comparable sales are selected on the basis of nearest similarity to the subject property as to time of sale, proximity of location and similarity as to age, condition, gross living area, bedroom and bathroom count, basement, garage size and updated and upgrade features.

The reconciliation of value takes into account the amount of adjustments necessary to make the comparables similar to the subject. Adjustment for GLA, bathroom count,rooms below grade, heating and cooling, fireplace,garages, porches, etc are based on the market reaction to these features in the subject neighborhood.

Improvements Sections:

Supplemental Addendum

File No. 262-04201

Borrower	Bajan LLC						
Property Address	46 Del Rio Lane						
City	Rochester	County	Monroe	State	NY	Zip Code	14622
Lender/Client	BPL Mortgage, LLC						

The rating of condition and adequacy of mechanical systems (heating, cooling,plumbing, electrical, etc) is based only on a visual inspection. The appraiser is not qualified to render judgment on the life expectancy of adequacy of those systems.

The testing of systems (structural, electrical,mechanical,heating, cooling,plumbing) and components (such as appliances, fixtures,doors,windows,etc) lies outside the scope of this appraisal assignment. No warranties are expressed or implied about the condition of these items.

Some degree of deterioration is found in all existing residential structures and the scope of work does not include reporting each and every items of deterioration. Obvious repairs are noted. Not all needed repairs/deterioration or remodeling/renovation entries will impact value. In order for one of these items to impact value, that item must meet all the following requirements:
1. A typical buyer would be aware of that item when looking at the property
2. The item must be substantially different from what is typically found in competing real estate
3. The item measurably influences the typical buyer to pay more or less for the property.

Condition and Quality Ratings:

See separate page included in this report regarding Uniform Appraisal Dataset (UAD) Definitions.

Sales Comparison Approach Section:

Researching primary sales was completed utilizing MLS and/or Real Property Info. There may be sales handled privately that are reported on the tax records only. However, it is next to impossible to reliably verify the terms of these sales, the features and conditions of the property and other pertinent information. Therefore they are judge to be inferior in reliability to the data available and have not been considered.

In this market, the MLS provides information about price, sale date and concessions that has evolved over time to be highly reliable;sale date and sale price are typically verified on tax records and/or Real Property Info unless the sale is too recent to be shown there. All sales concessions information of which I am aware is reported on the grid;however, sales concession information is only available from the MLS with no reasonable means of verification available. If an appraiser from this office has previously visited the comparable for a prior appraisal assignment, then that data source is considered the most reliable for information about the properties physical characteristics.Otherwise, physical attributes are taken primarily from the MLS with lot size and GLA being confirmed on tax records. Where these sources of information conflict, data that is recorded with the county is used. WHen examining a wide range of sales for use as potential comparables, sales that are clearly out of range are easily identified and then once investigated further they are excluded from consideration. Although sometimes it is necessary to contact the agent of local assessor to have questions answered, my scope of work does not involve contacting every agent or assessor to verify particulars of every sale. An appraiser is dependent on the real estate agent or assessor being willing to take his/her call and willing to spend time providing additional information to the appraiser on a sale which had already settled. Unless the comparable data source is shown as "physical inspection" the comparables included an exterior visual inspection observable from the front street elevation and did not include looking at any other sides or interior of the comparable.

Intended Use:

The intended user of this appraisal report is the lender/client. The intended use is to evaluate the property that is the subject of this appraisal for a mortgage finance transaction, subject to the stated scope of work, purpose of the appraisal reporting requirements of this appraisal report form and definition of market value.

Any other party receiving a copy of this report for any reason is not an intended user; nor dose receiving a copy of this report result in an appraiser-client relationship. Use of this report by any other party(ies) is not intended by the appraiser

Level of Visual Inspection:

Complete visual inspection of the interior areas of the subject property: a visual observation from standing height of the accessible areas and unobstructed, exposed surfaces of the living area without removal of personal possessions. It includes the visual observation of attached automobile storage, if any, as well as of any attached accessory building judged by the appraiser to have contributory value. This includes a visual observation of basements, crawl spaces and attics if accessible.

Complete visual inspection of the exterior of the subjects property: a visual observation of the unobstructed, exposed and accessible perimeter of the residential improvements from standing height. It includes the visual observation of detached automobile storage, if any, as well as of any detached accessory building judged by the appraiser to have contributory value.

The appraiser report is also being completed based on the extraordinary assumption that all details supplied by the borrower/owner, agents, multiple listings and the client which assisted this appraiser in determining the subject's overall condition is true and accurate.

UAD Data Collection & Assumptions:

The UAD data standards requires property information for the Subject and comparables that may be difficult to verify in the normal course of business. The appraiser relies on MLS data, public records, property owner and realtor verification as available and when possible. However, when those collective sources cannot provide

Supplemental Addendum

File No. 262-04201

Borrower	Bajan LLC						
Property Address	46 Del Rio Lane						
City	Rochester	County	Monroe	State	NY	Zip Code	14622
Lender/Client	BPL Mortgage, LLC						

precise information, estimates and assumptions are made to comply with the UAD requirements. Should information later become available that was not known during the original appraisal due diligence process that could impact the appraisal.

Exposure Time:

The definition of market value employed for this assignment includes a component of exposure time. Exposure time is the estimated length of time that the property interest being appraised would have been offered on the market prior to the hypothetical consummation of a sale at market value on the effective date of the appraisal. Based on statistical analysis and the examination of relevant sales history of comparable properties, the reasonable exposure time for the subject property type and value range is less than 90 days.

1004MC:

1004 MC (market conditions addendum):
The information contained in this addendum is property specific and does not correlate with the neighborhood section of the report. This form specifically states "comparable" sales and listings. The term"comparable" denotes significant similarities to the subject property. As a result the data developed in this form is not indicative of the entire market and/or neighborhood for the subject property. Statistical analysis requires a sample size large enough to be considered reliable which is not always available. Data in the MLS systems can be manipulated by real estate agents in regards to days on market (DOM), gross living area (GLA), and sales concessions which could affect the statistical results. My scope of work is based on the information supplied in the MLS being accurate and reliable. When possible, the appraiser verified the information with a second source such as Real Info or assessors records.

The appraiser only performed a visual observation of accessible areas and the appraisal report cannot be relied upon to disclose conditions and/or defects in the property.
The appraiser is not an expert in matters of pest control, structural engineering, hazardous waste, survey, or title matters, and no expertise or warranty is implied in these or other areas.

Additional Comments and Variances:

At the time of inspection mechanical systems and utilities were on and operational and a representative sampling of switches, outlets water based fixtures and heat was tested. All are in acceptable working order. All appliance were in acceptable working order at the time of inspection.

Researching of comparable sales was completed utilizing mls and/or real-info. There may be sales handled privately that are reported on the tax records only. However, it is next to impossible to reliably verify the terms of these sales, the features and condition of the property and other pertinent information. Therefore, they are judged to be inferior in reliability to the data available and have not been considered.

The researching of comparable listings was completed solely by utilizing mls.

The research of prior sales and listings of the subject and the comparables was completed utilizing mls and/or real-info.

The subject property is not indicated to be an over-improvement nor is the variance in value from the predominant price indicated to negatively impede normal marketability. The subject property is within the state price range for homes in this area; and the fact that the subject property does not represent the predominant value has no adverse affect on the subject's value or marketability.

Appraisal has been measured as per ANSI® Z765-2021 (American National Standards Institute®) Measuring Standard for measuring, calculating, and reporting gross living area (GLA) and non-GLA areas of subject properties for appraisals requiring interior and exterior inspections with effective dates of April 1, 2022, or later for loans sold to Fannie Mae. Subject was measured to the nearest tenth of a foot.

Comparables have a price/sf that exceeds subject. This maybe due to difference in GLA, age, quality and/or amenities.

This appraiser completed a search of the subject's neighborhood for recently closed sales that were similar in GLA, design, age and condition. The comparable are slightly dated (in excess of 6 months) from the date of inspection however they were used since are the most recent sales within the subject's competing neighborhoods. This condition is normal and common for this area, population density, variety of housing designs, ages and conditions.
This condition has no adverse effects on the subject marketability and the subject is not considered to be unique in any way.

As-is opinion of value is $228,000.

Improved opinion of value - (Comparables #4-#6) - $260,000

Electronic signatures are utilized in the report. USPAP and the appraisal standards board state that electronically affixing a signature to a report carries the same level of authenticity and responsibility as ink signature on a paper copy report(the term written records included information stored on electronic,magnetic or other media"). Electronic signatures in this report have a security feature maintained by individual passwords for each signing have a security feature maintained by individual passwords for each signing appraiser. No person can alter the appraisal with the exception of the appraiser.

Supplemental Addendum

File No. 262-04201

Borrower	Bajan LLC						
Property Address	46 Del Rio Lane						
City	Rochester	County	Monroe	State	NY	Zip Code	14622
Lender/Client	BPL Mortgage, LLC						

Based upon an interior inspection, the subject property has no observable disaster related damage as of 03/13/2026. Property is free from damage and the disaster had no effect on the property as value or marketability. There have been no recent disasters in the subject's market area, and based upon an interior inspection, the subject property has no observable disaster related damage as of 03/13/2026.

Update Request 03/19/2026

Smoke/CO Detectors were present and operational at the time of inspection

Client:	Fastapp Appraisal Management Company	Client File #:	262-04201
Subject Property:	46 Del Rio Lane, Rochester, NY 14622	Appraisal File #:	262-04201

STATEMENT OF ASSUMPTIONS AND LIMITING CONDITIONS

This appraisal is subject to the following assumptions and limiting conditions:

- This report is prepared using forms developed and copyrighted by the Appraisal Institute. However, the content, analyses, and opinions set forth in this report are the sole product of the appraiser. The Appraisal Institute is not liable for any of the content, analyses, or opinions set forth herein.
- No responsibility is assumed for matters legal in character or nature. No opinion is rendered as to title, which is assumed to be good and marketable. All existing liens, encumbrances, and assessments have been disregarded, unless otherwise noted, and the property is appraised as though free and clear, having responsible ownership and competent management.
- I have examined the property described herein exclusively for the purposes of identification and description of the real property. The objective of our data collection is to develop an opinion of the highest and best use of the subject property and make meaningful comparisons in the valuation of the property. The appraiser's observations and reporting of the subject improvements are for the appraisal process and valuation purposes only and should not be considered as a warranty of any component of the property. This appraisal assumes (unless otherwise specifically stated) that the subject is structurally sound and all components are in working condition.
- I will not be required to give testimony or appear in court because of having made an appraisal of the property in question, unless specific arrangements to do so have been made in advance, or as otherwise required by law.
- I have noted in this appraisal report any significant adverse conditions (such as needed repairs, depreciation, the presence of hazardous wastes, toxic substances, etc.) discovered during the data collection process in performing the appraisal. Unless otherwise stated in this appraisal report, I have no knowledge of any hidden or unapparent physical deficiencies or adverse conditions of the property (such as, but not limited to, needed repairs, deterioration, the presence of hazardous wastes, toxic substances, adverse environmental conditions, etc.) that would make the property less valuable, and have assumed that there are no such conditions and make no guarantees or warranties, express or implied. I will not be responsible for any such conditions that do exist or for any engineering or testing that might be required to discover whether such conditions exist. Because I am not an expert in the field of environmental hazards, this appraisal report must not be considered as an environmental assessment of the property. I obtained the information, estimates, and opinions furnished by other parties and expressed in this appraisal report from reliable public and/or private sources that I believe to be true and correct.
- I will not disclose the contents of this appraisal report except as provided for in the Uniform Standards of Professional Appraisal Practice, and/or applicable federal, state or local laws.
- The Client is the party or parties who engage an appraiser (by employment contract) in a specific assignment. A party receiving a copy of this report from the client does not, as a consequence, become a party to the appraiser-client relationship. Any person who receives a copy of this appraisal report as a consequence of disclosure requirements that apply to an appraiser's client, does not become an intended user of this report unless the client specifically identified them at the time of the assignment. The appraiser's written consent and approval must be obtained before this appraisal report can be conveyed by anyone to the public through advertising, public relations, news, sales, or other media.
- If this valuation conclusion is subject to satisfactory completion, repairs, or alterations, it is assumed that the improvements will be completed competently and without significant deviation.

VALUE DEFINITION

☒ Market Value Definition (below) ☐ Alternate Value Definition (attached)

MARKET VALUE is defined as the most probable price which a property should bring in a competitive and open market under all conditions requisite to a fair sale, the buyer and seller each acting prudently and knowledgeably, and assuming the price is not affected by undue stimulus. Implicit in this definition is the consummation of a sale as of a specified date and the passing of title from seller to buyer under conditions whereby:

1. buyer and seller are typically motivated;
2. both parties are well informed or well advised and acting in what they consider their own best interests;
3. a reasonable time is allowed for exposure in the open market;
4. payment is made in terms of cash in U.S. dollars or in terms of financial arrangements comparable thereto; and
5. the price represents the normal consideration for the property sold unaffected by special or creative financing or sales concessions granted by anyone associated with the sale.

Source: The Dictionary of Real Estate Appraisal, 5th ed., Appraisal Institute

* NOTICE: The Appraisal Institute publishes this form for use by appraisers where the appraiser deems use of the form appropriate. Depending on the assignment, the appraiser may need to provide additional data, analysis and work product not called for in this form. The Appraisal Institute plays no role in completing the form and disclaims any responsibility for the data, analysis or any other work product provided by the individual appraiser(s).

Client:	Fastapp Appraisal Management Company	Client File #:	262-04201
Subject Property:	46 Del Rio Lane, Rochester, NY 14622	Appraisal File #:	262-04201

APPRAISER CERTIFICATION

I certify that, to the best of my knowledge and belief:

- The statements of fact contained in this report are true and correct.
- The reported analysis, opinions, and conclusions are limited only by the report assumptions and limiting conditions, and are my personal, unbiased professional analysis, opinions, and conclusions.
- I have no present (unless specified below) or prospective interest in the property that is the subject of this report, and I have no (unless specified below) personal interest with respect to the parties involved.
- I have no bias with respect to any property that is the subject of this report or to the parties involved with this assignment.
- My engagement in this assignment was not contingent upon the developing or reporting predetermined results.
- My compensation for completing this assignment is not contingent upon the development or reporting of a predetermined value or direction in value that favors the cause of the client, the amount of the value opinion, the attainment of a stipulated result, or the occurrence of a subsequent event directly related to the intended use of this appraisal.
- My analysis, opinions, and conclusions were developed, and this report has been prepared, in conformity with the Uniform Standards of Professional Appraisal Practice.
- Individuals who have provided significant real property appraisal assistance are named below. The specific tasks performed by those named are outlined in the Scope of Work section of this report.

  ☒ None ☐ Name(s)

  As previously identified in the Scope of Work section of this report, the signer(s) of this report certify to the inspection of the property that is the subject of this report as follows:

  Property inspected by Appraiser ☒ Yes ☐ No

  Property inspected by Co-Appraiser ☐ Yes ☐ No

- Services provided, as an appraiser or in any other capacity, regarding the property that is the subject of this report within the three-year period immediately preceding acceptance of this assignment: ☒ None ☐ Specify services provided:

ADDITIONAL CERTIFICATION FOR APPRAISAL INSTITUTE MEMBERS, CANDIDATES AND PRACTICING AFFILIATES

Appraisal Institute Designated Member, Candidate for Designation, or Practicing Affiliate Certify:

- The reported analyses, opinions, and conclusions were developed, and this report has been prepared, in conformity with the requirements of the Code of Professional Ethics and the Standards of Professional Appraisal Practice of the Appraisal Institute, which include the Uniform Standards of Professional Appraisal Practice.
- The use of this report is subject to the requirements of the Appraisal Institute relating to review by its duly authorized representatives.

APPRAISERS SIGNATURES

APPRAISER:	CO-APPRAISER:
Signature	Signature
Name Melissa Woods	Name
Report Date 03/19/2026	Report Date
Trainee ☐ Licensed ☐ Certified Residential ☒ Certified General ☐	Trainee ☐ Licensed ☐ Certified Residential ☐ Certified General ☐
License # 45000053462 State NY	License # State
Expiration Date 12/06/2027	Expiration Date

* NOTICE: The Appraisal Institute publishes this form for use by appraisers where the appraiser deems use of the form appropriate. Depending on the assignment, the appraiser may need to provide additional data, analysis and work product not called for in this form. The Appraisal Institute plays no role in completing the form and disclaims any responsibility for the data, analysis or any other work product provided by the individual appraiser(s).

 © Appraisal Institute 2013, All Rights Reserved

Market Conditions Addendum to the Appraisal Report

R26-000843
File No. 262-04201

The purpose of this addendum is to provide the lender/client with a clear and accurate understanding of the market trends and conditions prevalent in the subject neighborhood. This is a required addendum for all appraisal reports with an effective date on or after April 1, 2009.

Property Address 46 Del Rio Lane City Rochester State NY ZIP Code 14622

Borrower Bajan LLC

Instructions: The appraiser must use the information required on this form as the basis for his/her conclusions, and must provide support for those conclusions, regarding housing trends and overall market conditions as reported in the Neighborhood section of the appraisal report form. The appraiser must fill in all the information to the extent it is available and reliable and must provide analysis as indicated below. If any required data is unavailable or is considered unreliable, the appraiser must provide an explanation. It is recognized that not all data sources will be able to provide data for the shaded areas below; if it is available, however, the appraiser must include the data in the analysis. If data sources provide the required information as an average instead of the median, the appraiser should report the available figure and identify it as an average. Sales and listings must be properties that compete with the subject property, determined by applying the criteria that would be used by a prospective buyer of the subject property. The appraiser must explain any anomalies in the data, such as seasonal markets, new construction, foreclosures, etc.

MARKET RESEARCH & ANALYSIS

Inventory Analysis	Prior 7–12 Months	Prior 4–6 Months	Current – 3 Months	Overall Trend		
Total # of Comparable Sales (Settled)	12	8	4	☐ Increasing	☒ Stable	☐ Declining
Absorption Rate (Total Sales/Months)	2.00	2.67	1.33	☐ Increasing	☒ Stable	☐ Declining
Total # of Comparable Active Listings	0	0	1	☐ Declining	☒ Stable	☐ Increasing
Months of Housing Supply (Total Listings/Ab.Rate)	1.5	1.9	0.8	☐ Declining	☒ Stable	☐ Increasing

Median Sale & List Price, DOM, Sale/List %	Prior 7–12 Months	Prior 4–6 Months	Current – 3 Months	Overall Trend		
Median Comparable Sale Price	265,000	221,923	226,750	☐ Increasing	☒ Stable	☐ Declining
Median Comparable Sales Days on Market	6	6	6	☐ Declining	☒ Stable	☐ Increasing
Median Comparable List Price	0	0	224,900	☐ Increasing	☒ Stable	☐ Declining
Median Comparable Listings Days on Market	0	0	4	☐ Declining	☒ Stable	☐ Increasing
Median Sale Price as % of List Price	125.06%	116.00%	121.25%	☐ Increasing	☒ Stable	☐ Declining
Seller-(developer, builder, etc.)paid financial assistance prevalent? ☐ Yes ☒ No				☐ Declining	☒ Stable	☐ Increasing

Explain in detail the seller concessions trends for the past 12 months (e.g., seller contributions increased from 3% to 5%, increasing use of buydowns, closing costs, condo fees, options, etc.). Based on the active listings and pending sales prevalent in the neighborhood, concessions average between 2-6%, which are used for closing costs and downpayments by the borrowers according to real estate agents and brokers active in this market area. SALES/FINANCING CONCESSIONS IN THE SUBJECT'S AREA ARE NOT CONSIDERED TO HAVE A NEGATIVE IMPACT ON MARKET VALUES.

Are foreclosure sales (REO sales) a factor in the market? ☐ Yes ☒ No If yes, explain (including the trends in listings and sales of foreclosed properties).

There have been a minimal number of foreclosure sales in this area. The foreclosure sales that have occurred have had little impact on the overall market. Foreclosure represent less than 0.02% of the transaction in this market over the past year. Tending is declining.

Cite data sources for above information. Real estate agents, brokers, Local MLS listing Service, and public records.

Summarize the above information as support for your conclusions in the Neighborhood section of the appraisal report form. If you used any additional information, such as an analysis of pending sales and/or expired and withdrawn listings, to formulate your conclusions, provide both an explanation and support for your conclusions.

This appraiser has researched all sales in the subject area as well as active listings, pending sales and expired listings over the past 12 months that are in similar condition, style, design, location, appeal and utility as the subject property. Only those properties that are deemed reasonably comparable to the subject are included in the Market Condition Addendum.

CONDO/CO-OP PROJECTS

If the subject is a unit in a condominium or cooperative project , complete the following: **Project Name:**

Subject Project Data	Prior 7–12 Months	Prior 4–6 Months	Current – 3 Months	Overall Trend		
Total # of Comparable Sales (Settled)				☐ Increasing	☐ Stable	☐ Declining
Absorption Rate (Total Sales/Months)				☐ Increasing	☐ Stable	☐ Declining
Total # of Active Comparable Listings				☐ Declining	☐ Stable	☐ Increasing
Months of Unit Supply (Total Listings/Ab.Rate)				☐ Declining	☐ Stable	☐ Increasing

Are foreclosure sales (REO sales) a factor in the project? ☐ Yes ☐ No If yes, indicate the number of REO listings and explain the trends in listings and sales of foreclosed properties.

Summarize the above trends and address the impact on the subject unit and project.

APPRAISER

Signature	Signature
Appraiser Name Melissa Woods	Supervisory Appraiser Name
Company Name MG Appraisals Inc	Company Name
Company Address 146 Maple Ave, Victor, NY 14564	Company Address
State License/Certification # 45000053462 State NY	State License/Certification # State
Email Address melissa.mgappraisals@gmail.com	Email Address

Form 1004MC2 - "TOTAL" appraisal software by a la mode, inc. - 1-800-ALAMODE

Subject Photo Page

Borrower	Bajan LLC						
Property Address	46 Del Rio Lane						
City	Rochester	County	Monroe	State	NY	Zip Code	14622
Lender/Client	BPL Mortgage, LLC						

Subject Front

46 Del Rio Lane

Sales Price	168,000
Gross Living Area	1,348
Total Rooms	6
Total Bedrooms	3
Total Bathrooms	1.0
Location	N;Res;
View	N;Res;
Site	10890 sf
Quality	Q4
Age	68

Subject Rear

Side View

Subject Photo Page

Borrower	Bajan LLC						
Property Address	46 Del Rio Lane						
City	Rochester	County	Monroe	State	NY	Zip Code	14622
Lender/Client	BPL Mortgage, LLC						

Side VIew

46 Del Rio Lane

Sales Price	168,000
Gross Living Area	1,348
Total Rooms	6
Total Bedrooms	3
Total Bathrooms	1.0
Location	N;Res;
View	N;Res;
Site	10890 sf
Quality	Q4
Age	68



Street View

Street View

Subject Photo Page

Borrower	Bajan LLC						
Property Address	46 Del Rio Lane						
City	Rochester	County	Monroe	State	NY	Zip Code	14622
Lender/Client	BPL Mortgage, LLC						

Central Air

46 Del Rio Lane

Sales Price	168,000
Gross Living Area	1,348
Total Rooms	6
Total Bedrooms	3
Total Bathrooms	1.0
Location	N;Res;
View	N;Res;
Site	10890 sf
Quality	Q4
Age	68

Garage Interior

Interior Photos

Borrower	Bajan LLC						
Property Address	46 Del Rio Lane						
City	Rochester	County	Monroe	State	NY	Zip Code	14622
Lender/Client	BPL Mortgage, LLC						

Kitchen

Living Room

Den

Bathroom



Bedroom 1

Bedroom 2

Interior Photos

Borrower	Bajan LLC						
Property Address	46 Del Rio Lane						
City	Rochester	County	Monroe	State	NY	Zip Code	14622
Lender/Client	BPL Mortgage, LLC						

Bedroom 3

Basement Unfinished

Laundry

Furnace

Electric Panel Box

Sump Pump

Comparable Photo Page

Borrower	Bajan LLC						
Property Address	46 Del Rio Lane						
City	Rochester	County	Monroe	State	NY	Zip Code	14622
Lender/Client	BPL Mortgage, LLC						

Comparable 1

38 Moroa Dr

Prox. to Subject	0.29 miles E
Sale Price	290,000
Gross Living Area	1,473
Total Rooms	8
Total Bedrooms	3
Total Bathrooms	1.1
Location	N;Res;Xway
View	N;Res;
Site	15682 sf
Quality	Q4
Age	63

Comparable 2

25 Breton Rd

Prox. to Subject	0.15 miles W
Sale Price	270,250
Gross Living Area	1,348
Total Rooms	5
Total Bedrooms	3
Total Bathrooms	1.0
Location	N;Res;
View	N;Res;
Site	8276 sf
Quality	Q4
Age	69

Comparable 3

126 Salem Rd

Prox. to Subject	0.50 miles N
Sale Price	260,000
Gross Living Area	1,441
Total Rooms	6
Total Bedrooms	2
Total Bathrooms	1.0
Location	N;Res;
View	N;Res;
Site	9148 sf
Quality	Q4
Age	78

Comparable Photo Page

Borrower	Bajan LLC						
Property Address	46 Del Rio Lane						
City	Rochester	County	Monroe	State	NY	Zip Code	14622
Lender/Client	BPL Mortgage, LLC						

Comparable 4

26 Catalina Dr

Prox. to Subject	0.07 miles SW
Sale Price	235,000
Gross Living Area	1,439
Total Rooms	6
Total Bedrooms	3
Total Bathrooms	1.0
Location	N;Res;
View	N;Res;
Site	8276 sf
Quality	Q4
Age	68

Comparable 5

247 Angelus Dr

Prox. to Subject	0.09 miles E
Sale Price	242,000
Gross Living Area	1,212
Total Rooms	5
Total Bedrooms	3
Total Bathrooms	1.0
Location	N;Res;
View	N;Res;
Site	8276 sf
Quality	Q4
Age	68

Comparable 6

43 Moroa Dr

Prox. to Subject	0.28 miles E
Sale Price	223,846
Gross Living Area	1,218
Total Rooms	6
Total Bedrooms	3
Total Bathrooms	1.0
Location	N;Res;Xway
View	N;Res;
Site	10019 sf
Quality	Q4
Age	63

Building Sketch

Borrower	Bajan LLC						
Property Address	46 Del Rio Lane						
City	Rochester	County	Monroe	State	NY	Zip Code	14622
Lender/Client	BPL Mortgage, LLC						

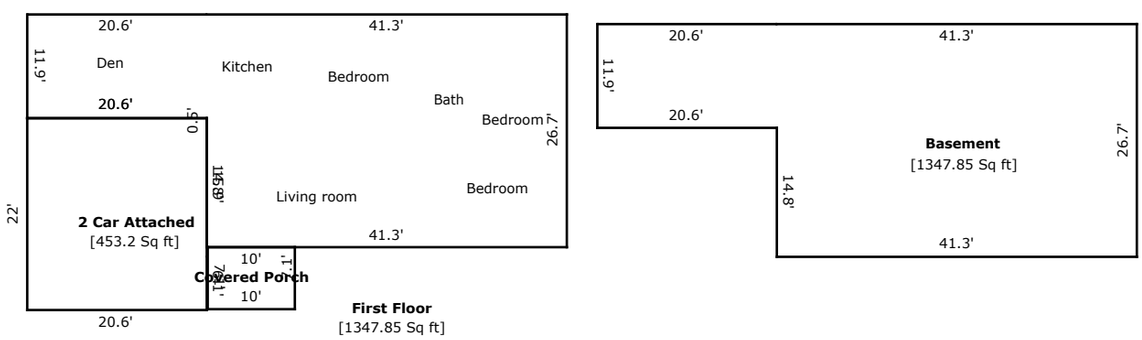

TOTAL Sketch by a la mode

Area Calculations Summary

Living Area		**Calculation Details**
First Floor	1347.85 Sq ft	26.7 × 41.3 = 1102.71 11.9 × 20.6 = 245.14
Total Living Area (Rounded):	**1348 Sq ft**	
Non-living Area		
Covered Porch	71 Sq ft	7.1 × 10 = 71
Basement	1347.85 Sq ft	26.7 × 41.3 = 1102.71 11.9 × 20.6 = 245.14
2 Car Attached	453.2 Sq ft	20.6 × 22 = 453.2

46 Del Rio Ln, Rochester, NY 14622-3172, Monroe County

Pending Listing

APN: 263400-092-060-0003-049-000 CLIP: 7692118655

MLS Beds	MLS Full Baths	Half Baths	MLS List Price	MLS List Date
3	2	N/A	$185,000	08/10/2025
Bldg Sq Ft	**Lot Sq Ft**	**MLS Yr Built**	**Type**	
1,356	10,890	1958	SFR	

OWNER INFORMATION

Owner Name	Blair Freddie L Jr	Tax Billing Address	45 Marne St
Owner Name 2		Tax Billing City & State	Rochester, NY
Do Not Mail		Tax Billing Zip	14609
Owner Occupied	No	Tax Billing Zip+4	2201

COMMUNITY INSIGHTS

Median Home Value	$231,234	School District	EAST IRONDEQUOIT CENTRAL SCHOOL DISTRICT
Median Home Value Rating	3 / 10	Family Friendly Score	21 / 100
Total Crime Risk Score (for the neighborhood, relative to the nation)	27 / 100	Walkable Score	68 / 100
Total Incidents (1 yr)	90	Q1 Home Price Forecast	$228,238
Standardized Test Rank	30 / 100	Last 2 Yr Home Appreciation	16%

LOCATION INFORMATION

School District	263401	Zoning	02
School District Name	East Irondequoit	Assessment District	Suburban-2
Subdivision	Culver Mdws	Location Influence	
Township	Irondequoit	Most Hazardous Flood Zone	X
Village	263400	Flood Zone Date	07/31/2024
Census Tract	109.02	Flood Zone Panel	36055C0208H
Carrier Route		Within 250 Feet of Multiple Flood Zone	No

TAX INFORMATION

Tax ID	263400-092-060-0003-049-000	% Improved	81%
Alt. Tax ID	263400A0920600003049000	SWIS Code	263400
Lot #	49	Tax Appraisal Area	3400
Block #	3		
Legal Description	0035-14-07 CULVER MDWS L24 01		

ASSESSMENT & TAX

Assessment Year	2024	2023	2022
Assessed Value - Total	$172,000	$172,000	$112,400
Assessed Value - Land	$32,000	$32,000	$25,300
Assessed Value - Improved	$140,000	$140,000	$87,100
YOY Assessed Change ($)	$0	$59,600	
YOY Assessed Change (%)	0%	53.02%	
Market Value - Total	$187,000	$172,000	$144,100
Market Value - Land		$32,000	
Market Value - Improved		$140,000	
Exempt Building Value			
Exempt Land Value			
Exempt Total Value			

CHARACTERISTICS

Land Use - State	Single Family Resid	Half Baths	
Land Use - CoreLogic	SFR	Total Rooms	
Lot Acres	0.25	Basement Type	Tax: Full MLS: Block

The data within this report is compiled by CoreLogic from public and private sources. The data is deemed reliable, but is not guaranteed. The accuracy of the data contained herein can be independently verified by the recipient of this report with the applicable county or municipality.

Lot Sq Ft	10,890	Basement Sq Ft	
Lot Frontage	84.25	Finished Basement Sq Ft	
Lot Depth	120	Fireplaces	
Total Buildings	1	Heat Type	Hot Air
Building Type		Heat Fuel Type	Gas
Parking Type	Attached Garage	Cooling Type	Central
No. Parking Spaces	MLS: 462	Electric Service Type	Type Unknown
Garage Type	Attached Garage	Other Rooms	Kitchen
Garage Capacity	MLS: 462	Exterior	Wood
Garage Sq Ft	462	Condition	Average
Style	Ranch	Quality	
Stories	Tax: 1 MLS: 2	Patio Type	
Year Built	1958	Patio/Deck 1 Sq Ft	
Effective Year Built		Patio/Deck 2 Sq Ft	
Building Sq Ft	1,356	Porch	Covered Porch
Above Grade Sq Ft	1,356	Porch Sq Ft	70
Ground Floor Sq Ft	1,356	Pool	
Second Floor Sq Ft		Pool Size	
Gross Sq Ft	MLS: 1,356	Water	Commercial
Bedrooms	3	Sewer	Commercial
Total Baths	2	Total Units	
Full Baths	2	Area Above 3rd Floor	

FEATURES

Feature Type	Unit	Size/Qty	Width	Depth	Year Built
Garage 1 Stry Attchd	S	462	21	22	1958
Covered Porch	S	70	7	10	1958

Feature Type	Value
Garage 1 Stry Attchd	
Covered Porch	

Building Description	Building Size

ESTIMATED VALUE

RealAVM™	$233,200	Confidence Score	51
RealAVM™ Range	$177,000 - $289,400	Forecast Standard Deviation	24
Value As Of	03/02/2026		

(1) RealAVM™ is a CoreLogic® derived value and should not be used in lieu of an appraisal.

(2) The Confidence Score is a measure of the extent to which sales data, property information, and comparable sales support the property valuation analysis process. The confidence score range is 50 - 100. Clear and consistent quality and quantity of data drive higher confidence scores while lower confidence scores indicate diversity in data, lower quality and quantity of data, and/or limited similarity of the subject property to comparable sales.

(3) The FSD denotes confidence in an AVM estimate and uses a consistent scale and meaning to generate a standardized confidence metric. The FSD is a statistic that measures the likely range or dispersion an AVM estimate will fall within, based on the consistency of the information available to the AVM at the time of estimation. The FSD can be used to create confidence that the true value has a statistical degree of certainty.

RENTAL TRENDS

Estimated Value	1900	Cap Rate	4.5%
Estimated Value High	2154	Forecast Standard Deviation (FSD)	0.13
Estimated Value Low	1646		

(1) Rental Trends is a CoreLogic® derived value and should be used for informational purposes only. Rental Trends is not intended to provide recommendations regarding rental prices, lease renewal terms, or occupancy levels to landlords.

(2) The FSD denotes confidence in a Rental Trends estimate and uses a consistent scale and meaning to generate a standardized confidence metric. The FSD is a statistic that measures the likely range or dispersion a Rental Trends estimate will fall within, based on the consistency of the information available at the time of estimation. The FSD can be used to create confidence that the displayed value has a statistical degree of certainty.

LISTING INFORMATION

MLS Listing #	R1627268	MLS Orig. List Price	$190,000
MLS Status	U-Under Contract	MLS Contingency Date	
MLS Area	IRONDEQUOIT-263400	MLS Pending Date	11/08/2025
MLS D.O.M	21	MLS Sale Date	
MLS Status Change Date	11/08/2025	MLS Sale Price	
MLS Listing Date	08/10/2025	MLS Withdrawn Date	
MLS Current List Price	$185,000		

MLS Listing #
MLS Status
MLS Listing Date

MLS Listing Price	
MLS Orig Listing Price	
MLS Sale Date	
MLS Sale Price	
MLS Expiration Date	
MLS Withdrawn Date	

LAST MARKET SALE & SALES HISTORY

Recording Date	**01/20/2004**	Owner Name 2	
Sale Date	**01/14/2004**	Seller	**Costa Concettina**
Sale Price	**$91,900**	Document Number	**9908-95**
Price Per Square Feet	**$67.77**	Deed Type	**Warranty Deed**
Owner Name	**Blair Freddie L Jr**		

Recording Date	12/19/2023	01/20/2004
Sale/Settlement Date	**12/05/2023**	**01/14/2004**
Sale Price		**$91,900**
Nominal	**Y**	
Buyer Name	**Blair Freddie L Jr**	**Blair Trudie M**
Buyer Name 2		
Seller Name	**Blair Trudie M**	**Costa Concettina**
Document Number	**12903-622**	**9908-95**
Document Type	**Executor's Deed**	**Warranty Deed**

MORTGAGE HISTORY

Mortgage Date	
Mortgage Amount	
Mortgage Lender	
Mortgage Type	

PROPERTY MAP

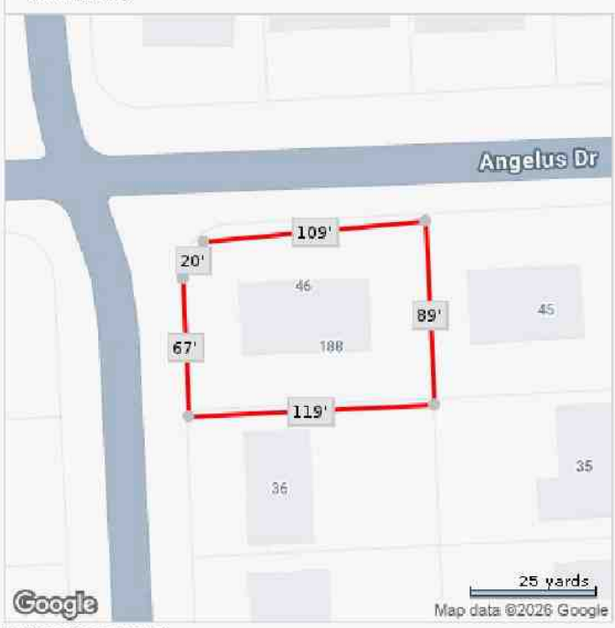

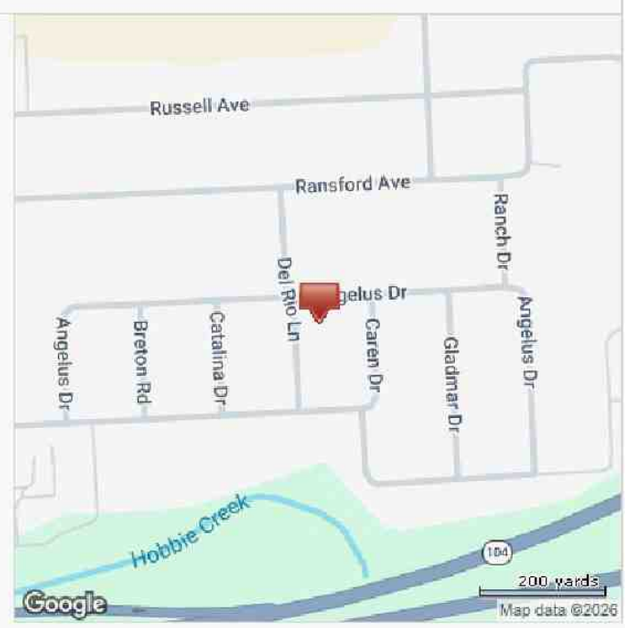

*Lot Dimensions are Estimated

The data within this report is compiled by CoreLogic from public and private sources. The data is deemed reliable, but is not guaranteed. The accuracy of the data contained herein can be independently verified by the recipient of this report with the applicable county or municipality.

Scope of Work - Page 1

PROJECT SCOPE OF WORK AND REHAB BUDGET

Date:	BORROWER PROJECT NARRATIVE			Existing	Post Renovation
Property Address:	46 del rio lane		Property Type (select dropdown) +	Single Family	Single Family
Borrowing Entity:	bajan holdings LLC		Square Footage Above Grade	1356	1356
Borrower's Name:	sharon thompson		# Bedrooms (select dropdown)+	3	2
Are there any repairs needed due to fire, mold, flooding, or other major disaster-related damage? (select dropdown) +		No	# Bathrooms (select dropdown)+	3	2
Are you adding square footage, expanding the existing footprint, or doing substantial foundation work? (select dropdown) +		No	Square Footage Below Grade	def here	def here
Does the local municipality require permits for any work on your SOW? (select dropdown) +		No	# Bedrooms (select dropdown)+		
Name of municipality responsible for issuing required permits:			# Bathrooms (select dropdown)+		
			# Other Finished Rooms (dropdown)+		
List all required permits (e.g., building, framing, electrical, plumbing, hvac):			Narrative:		

Note

INELIGIBLE COSTS FOR REIMBURSEMENT:
Permit and Architect Drawings, Permit & Impact fees, Builder's Fee, Builders Risk Insurance, Surveys,
Soil Testing, Closing Costs, Carrying Costs, Regulatory Fees, Tap Fees, Utility Connection Fees, Other Site Fees,
Misc. Fees in excess of 5% of total budget

Borrower SOW: Fill out SOW Descriptions and Budget Amounts. Items with no descriptions and budgets will not be considered part of the project.

CONSTRUCTION MANAGER (CM) USE ONLY

1	Scope of Work	Scope of Work Descriptions	Budget Amount	CM Budget Adjustment	TOTAL ADJUSTED REHAB BUDGET	CM Adjustment Comments
2	Demo/dumpster/debris removal	Demo/dumpster/debris removal	$2,500	$0	$2,500	
3	Foundation repairs/crawl space/waterproofing		$0	$0	$0	
4	Roofing/fans		$0	$0	$0	
5	Framing		$0	$0	$0	
6	Windows/Exterior Doors/Trim	new windows	$4,500	$0	$4,500	
7	Exterior Siding/Brick/Stucco/ Stone/Paint		$0	$0	$0	
8	Garage/Garage doors		$0	$0	$0	
9	**Mechanicals**					
10	Plumbing repairs/water heater		$0	$0	$0	
11	Electrical repairs/fixtures	all new fixtures and outlets/ switches	$1,200	$0	$1,200	
12	HVAC repairs/installations		$0	$0	$0	
13	**Interior**					
14	Drywall repairs, installation/insulation	remove all wallpaper and repair drywall as needed . Remove tile in bathroom	$1,100	$0	$1,100	
15	Finish carpentry/doors/trim	remove old carpet in living room and hallway	$400	$0	$400	
16	Interior Paint	paint where wall paper will be removed	$1,750	$0	$1,750	
17	Flooring - LVP/wood/carpet/vinyl/tile	top living room and hallway	$2,000	$0	$2,000	
18	**Kitchen**					
19	Kitchen cabinets/tops		$0	$0	$0	
20	Sinks and faucets	new faucet	$350	$0	$350	
21	Appliances		$0	$0	$0	
22	**Primary Bathroom**					
23	Vanities/Tops	new vanity	$800	$0	$800	
24	Toilets, sinks, and fixtures	new toilet	$200	$0	$200	
25	Tubs/showers/glass		$0	$0	$0	
26	**Secondary Bathrooms Combined**					
27	Vanities/Tops	new vanity (smaller)	$350	$0	$350	
28	Toilets, sinks, and fixtures	new toilet	$200	$0	$200	
29	Tubs/showers/glass	new shower including drywalling and finishing the bathroom	$5,500	$0	$5,500	
30	**Basement**					
31	Framing and insulation		$0	$0	$0	
32	Drywall/finishes/floorin/paint	dry lock basement	$3,000	$0	$3,000	
33	**Exterior**					
34	Concrete driveway/Walks/Patio		$0	$0	$0	
35	Landscaping/fence/tree removal, blending		$0	$0	$0	
36	Decks/porches (sizes)/rails		$0	$0	$0	
40	Misc. (5% Max)		$0	$0	$0	
43		**TOTAL BORROWER REHAB BUDGET**	$23,550	$0	$23,550	
44						

PROJECT REHAB INSTRUCTIONS AND ESCROW HOLDBACK POLICY

Asset Management determines contingency and escrow holdback amounts on a case-by-case basis up to 100% of a construction budget. Property rehabilitation must begin within 60 days of closing and must be fully completed within a maximum of six months, subject to extreme weather. Rehabilitation draw proceeds will be disbursed by Asset Management only upon completion of the work phases evidenced with subsequent inspections of the property. Draw proceeds will be disbursed based on the percentage of work completed compared to the total eligible budget.

***PERMITS: Underwriting requires all municipality-mandated permits to protect your project and our investment. Before releasing draw funds, we verify:**
* Required (e.g., framing, plumbing, electrical, hvac) sign-offs have been obtained and uploaded to the project file before disbursing funds.
* Sign-off documentation has been obtained and uploaded to portal. Draws will be placed on hold until permit requirements are satisfied.
* A valid general building permit shall remain active, and in good standing (no stop work orders, outstanding violations, no expirations) with the local jurisdiction throughout the construction process.
* The permit is visible in the jurisdictions portal or confirmed by a permit card and posted on jobsite.
* The permit and scope description must be consistent with the borrower's approved SOW.

Suspension of Construction:
Asset Management will track and, if applicable, take appropriate action if:
(a) A construction/rehab draw request has not been submitted by the Borrower within 60 days of closing the loan,
(b) A construction/rehab draw has not been submitted by the Borrower within 45 days of any previous construction/rehab draw,
(c) If a loan has exceeded the construction draw period without having been extended,
(d) Asset Management becomes aware of any unresolved pending liens or materials inactivity at the site/project, or
(e) The Borrower is in default of the loan agreement and the cure period has expired.

Borrower SOW Descriptions and Budget Amounts: Complete SOW descriptions and budget amounts in Columns D-E. Items with no descriptions and budgets will not be considered part of the project.
To ensure your project is reviewed efficiently, refer to and select applicable items from the list below when completing each section.
- Material Types & Finishes: e.g., wood/concrete porch, quartz countertops, vinyl windows, shaker cabinets, 3-tab shingles
- Flooring & Surfaces: install, replace, or refinish? Type (LVP, hardwood, tile, carpet, etc.)
- Windows, Doors & Hardware: include type and finish level (e.g., wood, vinyl windows, raised panel, flat panel doors, matte black, brushed nickel hardware)
- Lighting & Electrical: recessed, flush mount, ceiling fans, or upgrades
- Plumbing Fixtures: sinks, tubs, toilets, include type and finish
- Cabinetry & Countertops (Kitchens & Baths): style (shaker, flat panel) and material type, countertop material (granite, quartz, laminate)
- Construction & Layout Changes: framing, wall removals, additions
- Special Features: built-ins, coffered ceilings, decorative trim or tile
- Exterior Elements: siding type (fiber cement, brick, stucco), roofing (3-tab, architectural), porches, decks, drive-ways, walks, or landscaping
- Square Footage: estimate size of each area being updated or added

Sharon Thompson

Sharon Thompson

Doc ID: 00d788fae45869803130134f8b70a4b3a1157628

Dropbox Sign

Audit trail

Title	SOW SIGNED by ALL MEMEBERS - 46 Del Rio LN, Rochester, NY,...
File name	UNSIGNED_-_SOW.pdf
Document ID	00d788fae45869803130134f8b70a4b3a1157628
Audit trail date format	MM / DD / YYYY
Status	Signed

Document History

SENT	**02 / 20 / 2026** 14:24:59 UTC-5	Sent for signature to Shamar Thompson (lockhart1235@gmail.com) and Sharon Thompson (sthompson58@frontier.com) from info@suncrestcapitalgroup.com IP: 104.188.187.6
VIEWED	**02 / 20 / 2026** 14:33:07 UTC-5	Viewed by Shamar Thompson (lockhart1235@gmail.com) IP: 208.83.126.128
SIGNED	**02 / 20 / 2026** 14:33:27 UTC-5	Signed by Shamar Thompson (lockhart1235@gmail.com) IP: 208.83.126.128
VIEWED	**02 / 20 / 2026** 22:11:44 UTC-5	Viewed by Sharon Thompson (sthompson58@frontier.com) IP: 98.13.45.122
SIGNED	**02 / 20 / 2026** 22:11:58 UTC-5	Signed by Sharon Thompson (sthompson58@frontier.com) IP: 98.13.45.122
COMPLETED	**02 / 20 / 2026** 22:11:58 UTC-5	The document has been completed.

Powered by Dropbox Sign

Location Map

Borrower	Bajan LLC						
Property Address	46 Del Rio Lane						
City	Rochester	County	Monroe	State	NY	Zip Code	14622
Lender/Client	BPL Mortgage, LLC						

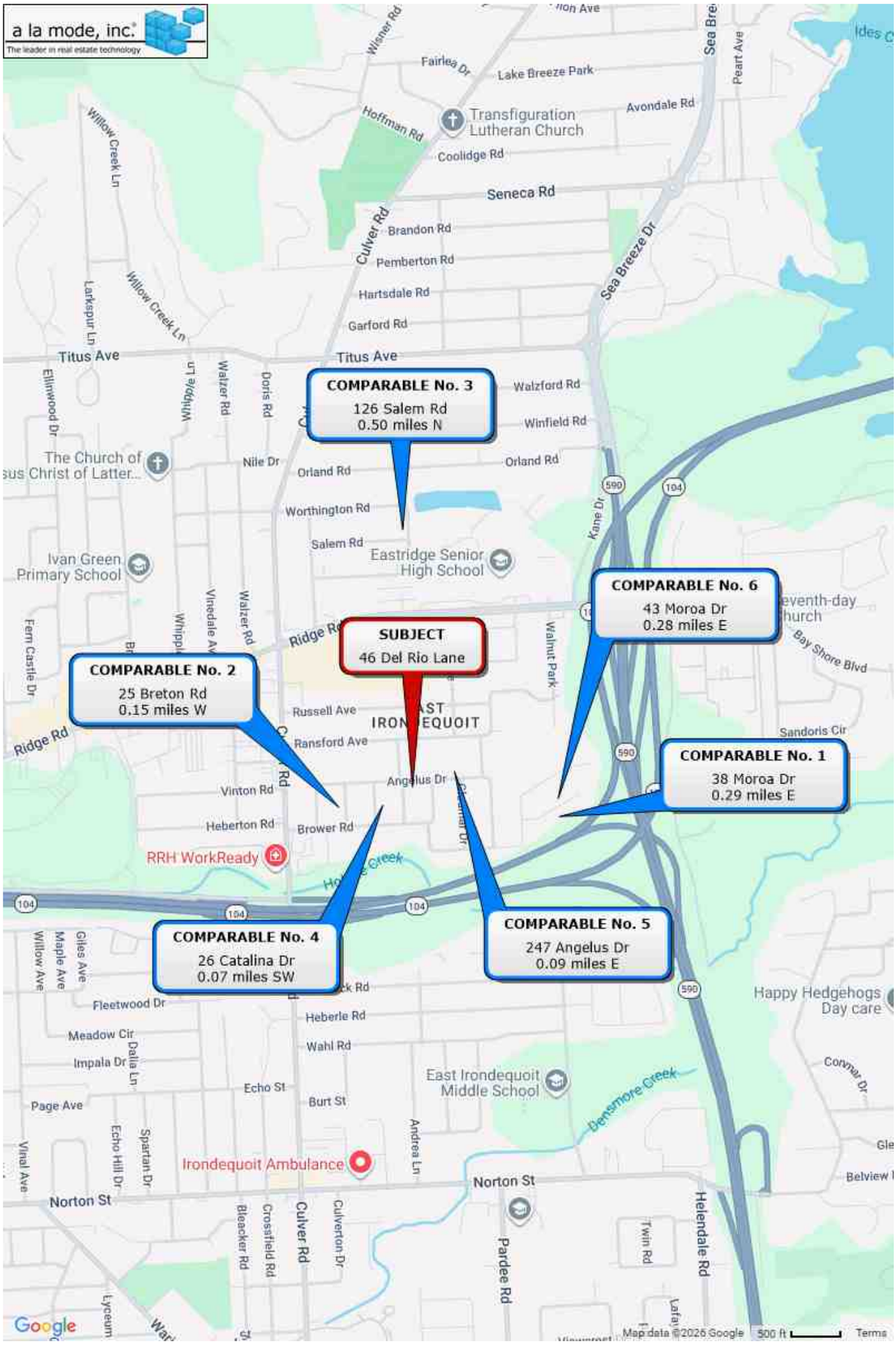

Aerial Map

Borrower	Bajan LLC						
Property Address	46 Del Rio Lane						
City	Rochester	County	Monroe	State	NY	Zip Code	14622
Lender/Client	BPL Mortgage, LLC						

GREAT AMERICAN INSURANCE GROUP

301 E. Fourth Street, Cincinnati, OH 45202

DECLARATIONS
for
REAL ESTATE APPRAISERS ERRORS & OMISSIONS INSURANCE POLICY

THIS IS A CLAIMS MADE INSURANCE POLICY.

THIS POLICY APPLIES ONLY TO THOSE CLAIMS THAT ARE FIRST MADE AGAINST THE NAMED INSURED DURING THE POLICY PERIOD OR ANY EXTENDED REPORTING PERIOD. THE POLICY PROVIDES NO COVERAGE FOR CLAIMS ARISING OUT OF ACTS OR OMISSIONS IN THE PERFORMANCE OF APPRAISAL SERVICES WHICH TOOK PLACE PRIOR TO THE RETROACTIVE DATE.

COVERAGE UNDER THE POLICY CEASES UPON TERMINATION OF THE POLICY, EXCEPT FOR AUTOMATIC EXTENDED REPORTING PERIOD COVERAGE, UNLESS THE NAMED INSURED PURCHASES OPTIONAL EXTENDED REPORTING COVERAGE. THE POLICY PROVIDES FOR AUTOMATIC EXTENDED REPORTING PERIOD COVERAGE OF 60 DAYS, OPTIONAL EXTENDED REPORTING PERIOD COVERAGE OF 1, 2 OR 3 YEARS AND OTHER EXTENDED REPORTING PERIODS MAY BE AVAILABLE FOR AN UNLIMITED DURATION OF TIME AFTER THE TERMINATION OF THE POLICY. IF THERE IS NO UNLIMITED EXTENDED REPORTING PERIOD, POTENTIAL COVERAGE GAPS MAY ARISE AT THE EXPIRATION OF ANY APPLICABLE EXTENDED REPORTING PERIOD.

DURING THE FIRST SEVERAL YEARS OF THE CLAIMS MADE RELATIONSHIP, CLAIMS-MADE RATES ARE COMPARATIVELY LOWER THAN OCCURRENCE RATES AND THE NAMED INSURED MAY EXPECT SUBSTANTIAL ANNUAL PREMIUM INCREASES, INDEPENDENT OF THE OVERALL RATE LEVEL INCREASES, UNTIL THE CLAIMS-MADE RELATIONSHIP REACHES MATURITY.

Insurance is afforded by the company indicated below: (A capital stock corporation)

☒ Great American Insurance Company

Note: The Insurance Company selected above shall herein be referred to as the **Company**.

Policy Number: **RAP4119777-26** Renewal of: **RAP4119777-25**

Program Administrator: **Herbert H. Landy Insurance Agency Inc.**
100 River Ridge Drive, Suite 301 Norwood, MA 02062

Item 1. **Named Insured**: **Melissa Woods**

Item 2. **Mailing Address**: **146 Maple Ave**
City, State, Zip Code: **Victor, NY 14564**

Item 3. **Policy Period**: From **01/26/2026** *(Month, Day, Year)* To **01/26/2027** *(Month, Day, Year)*
(Both dates at 12:01 a.m. Standard Time at the address of the **Named Insured** as stated in Item 2.)

Item 4. **Limits of Liability** (inclusive of **Claim Expenses**):

A. $ **1,000,000** Limit of Liability – Each **Claim**

B. $ **2,000,000** Limit of Liability – Policy Aggregate

Form SCNLGL - "TOTAL" appraisal software by a la mode, inc. - 1-800-ALAMODE

Item 5. **Deductible** (**Damages** only):

A. $ **0** Each **Claim**

Item 6. **Annual Premium**: $ **780.00**

Item 7. **Retroactive Date** (if applicable): **01/26/2024**

Item 8. **Optional Extended Reporting Period Premium**:

A. One (1) year **Extended Reporting Period** – 85% of the annual premium

B. Two (2) year **Extended Reporting Period** – 135% of the annual premium

C. Three (3) year **Extended Reporting Period** – 150% of the annual premium

Item 9. **Forms, Notices and Endorsements attached**:

D42100 NY (04/21) IL7324 (07/21)
D42402 (05/13)

Authorized Representative

Form SCNLGL - "TOTAL" appraisal software by a la mode, inc. - 1-800-ALAMODE

License and E&O

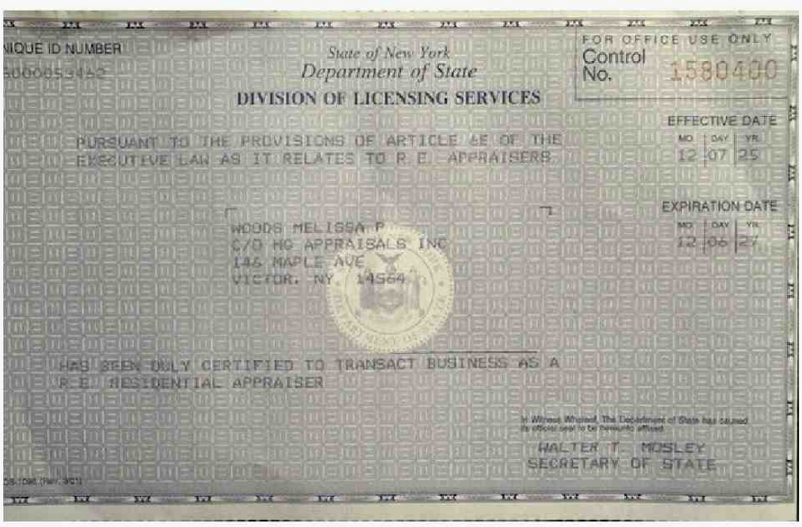

NIQUE ID NUMBER
1000085445

State of New York
Department of State

DIVISION OF LICENSING SERVICES

FOR OFFICE USE ONLY
Control No. 1580400

EFFECTIVE DATE
MO 12 DAY 07 YR 25

EXPIRATION DATE
MO 12 DAY 06 YR 27

PURSUANT TO THE PROVISIONS OF ARTICLE 6E OF THE EXECUTIVE LAW AS IT RELATES TO R.E. APPRAISERS,

WOODS MELISSA P
C/O HC APPRAISALS INC
146 MAPLE AVE
VICTOR, NY 14564

HAS BEEN DULY CERTIFIED TO TRANSACT BUSINESS AS A
R.E. RESIDENTIAL APPRAISER

In Witness Whereof, The Department of State has caused its official seal to be hereunto affixed.

WALTER T. MOSLEY
SECRETARY OF STATE