Borrower	Adriana K DaCunha & Hailey Thompson					File No.	263-01743
Property Address	25 Gores Dr						
City	Mastic	County	SUFFOLK	State	NY	Zip Code	11950
Lender/Client	CROSSCOUNTRY MORTGAGE,LLC						

TABLE OF CONTENTS

URAR 1
Additional Comparables 4-6 7
UAD Definitions Addendum 8
Supplemental Addendum 11
Market Conditions Addendum to the Appraisal Report 12
Subject Photos 13
Subject Photos 14
Photograph Addendum 15
Photograph Addendum 16
Photograph Addendum 17
Photograph Addendum 18
Photograph Addendum 19
Comparable Photos 1-3 20
Comparable Photos 4-6 21
Building Sketch 22
COMPARABLE SALES 23
Location Map 24
Location Map 25
LICENSE 26
INSURANCE 27

Serial# 7008D220
esign.alamode.com/verify

Uniform Residential Appraisal Report

374-9408828
File # 263-01743

The purpose of this summary appraisal report is to provide the lender/client with an accurate, and adequately supported, opinion of the market value of the subject property.

SUBJECT

Property Address 25 Gores Dr | City Mastic | State NY | Zip Code 11950
Borrower Adriana K DaCunha & Hailey Thompson | Owner of Public Record Geraldine Kirshner | County SUFFOLK
Legal Description DISTRICT:200, SECTION:823.00,BLK:6,LOT:16.000
Assessor's Parcel # 0200-823-00-06-00-016-000 | Tax Year 2025 | R.E. Taxes $ 5,620
Neighborhood Name MASTIC | Map Reference 35004 | Census Tract 1594.16
Occupant [X] Owner [ ] Tenant [ ] Vacant | Special Assessments $ 0 | [ ] PUD HOA $ 0 [ ] per year [ ] per month
Property Rights Appraised [X] Fee Simple [ ] Leasehold [ ] Other (describe)
Assignment Type [X] Purchase Transaction [ ] Refinance Transaction [ ] Other (describe)
Lender/Client CROSSCOUNTRY MORTGAGE,LLC | Address 2160 SUPERIOR AVENUE E,CLEVELAND OH 44114
Is the subject property currently offered for sale or has it been offered for sale in the twelve months prior to the effective date of this appraisal? [X] Yes [ ] No
Report data source(s) used, offering price(s), and date(s). DOM 11;SUFFOLK COUNTY ASSESSMENT RECORDS,LIMLS DATA ,COMPS INC/CLOSED.SUBJECT WAS LISTED ON 01/10/2025 FOR $399,999, LIMLS#953194

CONTRACT

I [X] did [ ] did not analyze the contract for sale for the subject purchase transaction. Explain the results of the analysis of the contract for sale or why the analysis was not performed. Arms length sale;THE CONTRACT WAS REVIEW AND APPEARED TO BE IN ORDER.

Contract Price $ 425,000 | Date of Contract 02/09/2026 | Is the property seller the owner of public record? [X] Yes [ ] No | Data Source(s) COUNTY REORDS
Is there any financial assistance (loan charges, sale concessions, gift or downpayment assistance, etc.) to be paid by any party on behalf of the borrower? [ ] Yes [X] No
If Yes, report the total dollar amount and describe the items to be paid. $0;;

NEIGHBORHOOD

Note: Race and the racial composition of the neighborhood are not appraisal factors.

Neighborhood Characteristics	One-Unit Housing Trends	One-Unit Housing			Present Land Use %	
Location [ ] Urban [X] Suburban [ ] Rural	Property Values [ ] Increasing [X] Stable [ ] Declining	PRICE		AGE	One-Unit	88 %
Built-Up [X] Over 75% [ ] 25-75% [ ] Under 25%	Demand/Supply [X] Shortage [ ] In Balance [ ] Over Supply	$ (000)		(yrs)	2-4 Unit	1 %
Growth [ ] Rapid [X] Stable [ ] Slow	Marketing Time [X] Under 3 mths [ ] 3-6 mths [ ] Over 6 mths	300	Low	0	Multi-Family	1 %
Neighborhood Boundaries NORTH-SUNRISE HIGHWAY,SOUTH-SOMERSET ROAD, EAST-FORGE RIVER,WEST-WILLIAM FLOYD PARKWAY		695	High	225	Commercial	4 %
		500	Pred.	50	Other	6 %

Neighborhood Description THERE ARE NO APPARENT ADVERSE FACTORS WHICH WOULD AFFECT THE SUBJECTS MARKETABILITY. STEADY MARKET VALUE DEMONSTRATE A GOOD MARKET DEMAND FOR THIS NEIGHBORHOOD. EMPLOYMENT IS STABLE AND THE SUBJECT HAS ACCESS TO ALL NECESSARY SUPPORT FACILITIES INCLUDING SCHOOLS,SHOPPING AND EMPLOYMENT.
Market Conditions (including support for the above conclusions) THE REAL ESTATE MARKET IN THIS NEIGHBORHOOD HAS GRADUALLY IMPROVED AS PER RECORDED MLS DATA AND IS CURRENTLY IN BALANCE WITH MARKETING TIME TYPICALLY LESS THAN 30 DAYS. MOST HOME PURCHASES ARE GENERALLY FINANCED WITH CONVENTIONAL AND FHA FIXED RATE MORTGAGES.

SITE

Dimensions .11 ac | Area 4792 sf | Shape IRREGULAR | View N;Res;Res
Specific Zoning Classification A1 | Zoning Description RESIDENTIAL
Zoning Compliance [X] Legal [ ] Legal Nonconforming (Grandfathered Use) [ ] No Zoning [ ] Illegal (describe)
Is the highest and best use of subject property as improved (or as proposed per plans and specifications) the present use? [X] Yes [ ] No If No, describe THE SUBJECTS CURRENT USES IS CONSIDERED TO BE ITS HIGHEST AND BEST USE AS IT IS LOCATED IN A RESIDENTIAL ZONE.

Utilities	Public	Other (describe)		Public	Other (describe)	Off-site Improvements – Type	Public	Private
Electricity	[X]	[ ]	Water	[X]	[ ]	Street ASPHALT	[X]	[ ]
Gas	[ ]	[X] OIL	Sanitary Sewer	[ ]	[X] CESSPOOL	Alley NONE	[ ]	[ ]

FEMA Special Flood Hazard Area [ ] Yes [X] No | FEMA Flood Zone X | FEMA Map # 36103C0736H | FEMA Map Date 09/25/2009
Are the utilities and off-site improvements typical for the market area? [X] Yes [ ] No If No, describe
Are there any adverse site conditions or external factors (easements, encroachments, environmental conditions, land uses, etc.)? [ ] Yes [X] No If Yes, describe THERE WERE NO KNOWN OR APPARENT HAZARDOUS WASTE OR OTHER TOXIC SUBSTANCES THAT ARE PRESENT ON THE SITE OR IN THE IMMEDIATE VINCINITY.

IMPROVEMENTS

General Description	Foundation	Exterior Description	materials/condition	Interior	materials/condition
Units [X] One [ ] One with Accessory Unit	[ ] Concrete Slab [ ] Crawl Space	Foundation Walls	CONCRETE/AVER	Floors	WD/CER/CPT/AVE
# of Stories 2	[X] Full Basement [ ] Partial Basement	Exterior Walls	VINYL/AVER	Walls	DRYWALL/AVER
Type [X] Det. [ ] Att. [ ] S-Det./End Unit	Basement Area 725 sq.ft.	Roof Surface	ASPHALT/AVER	Trim/Finish	WOOD/AVER
[X] Existing [ ] Proposed [ ] Under Const.	Basement Finish 0 %	Gutters & Downspouts	ALUM/AVER	Bath Floor	CERAMIC/AVER
Design (Style) CAPE	[ ] Outside Entry/Exit [ ] Sump Pump	Window Type	D/H/AVER	Bath Wainscot	CERAMIC/AVER
Year Built 1961	Evidence of [ ] Infestation	Storm Sash/Insulated	THERMO/AVER	Car Storage	[ ] None
Effective Age (Yrs) 10	[ ] Dampness [ ] Settlement	Screens	VINYL/AVER	[X] Driveway	# of Cars 1
Attic [X] None	Heating [ ] FWA [X] HWBB [ ] Radiant	Amenities	[X] Woodstove(s) # 1	Driveway Surface	ASPHALT
[ ] Drop Stair [ ] Stairs	[ ] Other Fuel OIL	[ ] Fireplace(s) # 0	[X] Fence WOOD	[ ] Garage	# of Cars 0
[ ] Floor [ ] Scuttle	Cooling [ ] Central Air Conditioning	[X] Patio/Deck DECK	[ ] Porch NONE	[ ] Carport	# of Cars 0
[ ] Finished [ ] Heated	[ ] Individual [X] Other NONE	[ ] Pool NONE	[ ] Other NONE	[ ] Att.	[ ] Det. [ ] Built-in

Appliances [ ] Refrigerator [ ] Range/Oven [ ] Dishwasher [ ] Disposal [ ] Microwave [ ] Washer/Dryer [ ] Other (describe)
Finished area **above** grade contains: 7 Rooms 4 Bedrooms 1.1 Bath(s) 1,407 Square Feet of Gross Living Area Above Grade
Additional features (special energy efficient items, etc.). INSULATED WINDOWS.THE SUBJECT HAS SMOKE AND CO2 DETECTORS.

Describe the condition of the property (including needed repairs, deterioration, renovations, remodeling, etc.). C3;Kitchen-updated-one to five years ago;Bathrooms-updated-one to five years ago;SUBJECT WAS IN AVERAGE CONDITION AT THE TIME OF THE INSPECTION. EXTERNAL OBSOLESCENCE:NONE NOTED. FUNCTIONAL OBSOLESCENCE: NONE NOTED. RENOVATIONS:UPGRADED ELECTRIC PANEL, NEW FURNANCE

Are there any physical deficiencies or adverse conditions that affect the livability, soundness, or structural integrity of the property? [ ] Yes [X] No If Yes, describe THERE WERE NO KNOWN OR APPARENT HAZARDOUS WASTE OR OTHER TOXIC SUBSTANCES THAT ARE PRESENT ON THE SITE OR IN THE IMMEDIATE VINCINITY.THE OIL TANK IS OUTSIDE ABOVE GROUND AND AT THE TIME OF THE INSPECTION THERE WERE NO SIGNS OF LEAKAGE OR ODOR.
Does the property generally conform to the neighborhood (functional utility, style, condition, use, construction, etc.)? [X] Yes [ ] No If No, describe THE SUBJECT PROPERTY CONFORMS WELL TO THE NEIGHBORHOOD WITH ITS CONDITION AND CONSTRUCTION IS CONSIDERED AVERAGE.

Serial# 7008D220
esign.alamode.com/verify
Form 1004UAD - "TOTAL" appraisal software by a la mode, inc. - 1-800-ALAMODE

Uniform Residential Appraisal Report

374-9408828
File # 263-01743

There are 6 comparable properties currently offered for sale in the subject neighborhood ranging in price from $ 425,000 to $ 550,000 .

There are 50 comparable sales in the subject neighborhood within the past twelve months ranging in sale price from $ 400,000 to $ 575,000 .

SALES COMPARISON APPROACH

FEATURE	SUBJECT	COMPARABLE SALE # 1		COMPARABLE SALE # 2		COMPARABLE SALE # 3	
Address	25 Gores Dr Mastic, NY 11950	14 Hawthorne St Mastic, NY 11950		145 Clinton Ave Mastic, NY 11950		3 Hoover Ct Mastic, NY 11950	
Proximity to Subject		0.22 miles SE		0.57 miles E		0.32 miles SW	
Sale Price	$ 425,000		$ 500,000		$ 430,000		$ 575,000
Sale Price/Gross Liv. Area	$ 302.06 sq.ft.	$ 416.67 sq.ft.		$ 336.99 sq.ft.		$ 346.39 sq.ft.	
Data Source(s)		LIMLS#907250;DOM 10		LIMLS#913726;DOM 30		LIMLS#925328;DOM 49	
Verification Source(s)		SUFFOLK ASSESSMENTS		SUFFOLK ASSESSMENTS		SUFFOLK ASSESSMENTS	
VALUE ADJUSTMENTS	DESCRIPTION	DESCRIPTION	+(-) $ Adjustment	DESCRIPTION	+(-) $ Adjustment	DESCRIPTION	+(-) $ Adjustment
Sales or Financing Concessions		ArmLth Conv;0		ArmLth FHA;0		ArmLth Conv;0	
Date of Sale/Time		s11/25;c09/25		s12/25;c10/25		s01/26;c12/25	
Location	N;Res;Res	N;Res;Res		N;Res;Res		N;Res;Res	
Leasehold/Fee Simple	FEE SIMPLE	FEE SIMPLE		FEE SIMPLE		FEE SIMPLE	
Site	4792 sf	3920 sf	0	13939 sf	-2,500	7841 sf	-1,000
View	N;Res;Res	N;Res;Res		N;Res;Res		N;Res;Res	
Design (Style)	DT2;CAPE	DT2;CAPE		DT1;RANCH	0	DT3;SPLIT	0
Quality of Construction	Q4	Q4		Q4		Q4	
Actual Age	65	23	0	98	0	53	0
Condition	C3	C3		C3		C3	
Above Grade Room Count (Total / Bdrms. / Baths)	7 / 4 / 1.1	7 / 3 / 2.0	-2,500	6 / 3 / 1.0	+2,500	6 / 3 / 2.0	-2,500
Gross Living Area	1,407 sq.ft.	1,200 sq.ft.	+9,315	1,276 sq.ft.	+5,895	1,660 sq.ft.	-11,385
Basement & Finished Rooms Below Grade	725sf0sfin	800sf0sfin	0	500sf0sfin	0	0sf	+5,000
Functional Utility	ONE FAMILY	ONE FAMILY		ONE FAMILY		ONE FAMILY	
Heating/Cooling	OHW/NONE	OFA/CAC	-2,500	OHW/NONE		OHW/NONE	
Energy Efficient Items	INSUL WINS	INSUL WINS		INSUL WINS		INSUL WINS	
Garage/Carport	1dw	2dw	0	1dw		2dw	0
Porch/Patio/Deck	DECK	PORCH,DECK	-2,500	NONE	+2,500	PORCH,PATIO	-2,500
FIREPLACE	NONE	NONE		NONE		NONE	
ING-POOL	NONE	NONE		NONE		NONE	
EQUIPMENT	AVER EQUIP	AVER EQUIP		AVER EQUIP		AVER EQUIP	
Net Adjustment (Total)		☒ + ☐ -	$ 1,815	☒ + ☐ -	$ 8,395	☐ + ☒ -	$ -12,385
Adjusted Sale Price of Comparables		Net Adj. 0.4 % Gross Adj. 3.4 %	$ 501,815	Net Adj. 2.0 % Gross Adj. 3.1 %	$ 438,395	Net Adj. 2.2 % Gross Adj. 3.9 %	$ 562,615

I ☒ did ☐ did not research the sale or transfer history of the subject property and comparable sales. If not, explain

My research ☐ did ☒ did not reveal any prior sales or transfers of the subject property for the three years prior to the effective date of this appraisal.

Data Source(s) SUFFOLK COUNTY ASSESSMENT RECORDS,MLSDATA SERVICES,COMPS INC/CLOSED SALES

My research ☐ did ☒ did not reveal any prior sales or transfers of the comparable sales for the year prior to the date of sale of the comparable sale.

Data Source(s) SUFFOLK COUNTY ASSESSMENT RECORDS,MLS DATA SERVICES,COMPS INC/CLOSED SALES

Report the results of the research and analysis of the prior sale or transfer history of the subject property and comparable sales (report additional prior sales on page 3).

ITEM	SUBJECT	COMPARABLE SALE #1	COMPARABLE SALE #2	COMPARABLE SALE #3
Date of Prior Sale/Transfer				
Price of Prior Sale/Transfer				
Data Source(s)	SUFFOLK ASSESSMENTS	SUFFOLK ASSESSMENTS	SUFFOLK ASSESSMENTS	SUFFOLK ASSESSMENTS
Effective Date of Data Source(s)	03/17/2026	03/17/2026	03/17/2026	03/17/2026

Analysis of prior sale or transfer history of the subject property and comparable sales Corelogic public records indicate the subject's most recent transfer occurred on 1/27/1999 (deed (reg) - doc #11955-831 recorded on 4/7/1999)

Summary of Sales Comparison Approach THE SALES THAT WERE UTILIZED WERE CONSIDERED TO BE THE BEST AND MOST RECENT SALES THAT COULD BE VERIFIED AT THE TIME OF THE INSPECTION. GROSS LIVING AREA WAS ADJUSTED AT $45 A SQUARE FOOT,ROUNDED. LOT SIZE DIFFERENCES WERE ADJUSTED AT $.25 SQUARE FOOT,ROUNDED. THE MASTIC MARKET PLACE HAS STABALIZED IN THE PAST YEAR AND NO TIME ADJUSTMENTS WERE WARRANTED. COMPARABLE 6 IS A LOCAL LISTINGS THAT IS WAS ADJUSTED 2%,THE DIFFERENCE BETWEEN SALES PRICE TO LIST PRICE. ALL COMPARABLES POSSESS DIFFERENT ACTUAL AGES ,BUT ALL HAVE SIMILAR EFFECTIVE AGES, ACCORDING TO MLS ALL HAVE SOME UPDATES AND NO CONDITION ADJUSTMENTS WERE REQUIRED. SUBJECT AND ALL COMPARABLES HAVE SIMILAR BUYER APPEAL IN THIS MARKET PLACE AND NO ADJUSTMENTS WERE REQUIRED FOR DIFFERENCES IN HOME DESIGN. ADDENDUM

Indicated Value by Sales Comparison Approach $ 480,000

RECONCILIATION

Indicated Value by: Sales Comparison Approach $ 480,000 **Cost Approach (if developed) $** 487,719 **Income Approach (if developed) $**

ALL COMPARABLE SALES WERE CONSIDERED IN ARRIVING AT A FAIR MARKET VALUE FOR THE SUBJECT.THE INCOME WAS NOT REQUIRED FOR THIS ASSIGNMENT.

This appraisal is made ☒ "as is", ☐ subject to completion per plans and specifications on the basis of a hypothetical condition that the improvements have been completed, ☐ subject to the following repairs or alterations on the basis of a hypothetical condition that the repairs or alterations have been completed, or ☐ subject to the following required inspection based on the extraordinary assumption that the condition or deficiency does not require alteration or repair: ALL FACTORS AFFECTING THE SUBJECTS VALUE AND THE MARKETABILITY HAVE BEEN CONSIDERED AND REFLECTED IN THE FINAL VALUE ESTIMATE. THE SUBJEC

Based on a complete visual inspection of the interior and exterior areas of the subject property, defined scope of work, statement of assumptions and limiting conditions, and appraiser's certification, my (our) opinion of the market value, as defined, of the real property that is the subject of this report is $ 480,000 **, as of** 03/17/2026 **, which is the date of inspection and the effective date of this appraisal.**

Form 1004UAD - "TOTAL" appraisal software by a la mode, inc. - 1-800-ALAMODE
Serial# 7008D220
esign.alamode.com/verify

ADDITIONAL COMMENTS

DIGITAL SIGNATURES: DIGITAL SIGNATURIES ARE EXACT COPIES OF ORIGINALS THAT ARE ELECTRONICALLY PRODUCED. THE SIGNATURES ARE ENCODED BY PASSWORD ENTRY ONLY

THE APPRAISER HAS PREPARED THIS APPRAISAL IN FULL COMPLIANCE WITH THE APPRAISER INDEPENDENCE GUIDELINES AND HAS NOT PERFORMED, PARTICIPATED IN, OR BEEN ASSOCIATED WITH ANY ACTIVITY IN VIOLATION OF THE GUIDELINES.

SQUARE FOOTAGE ARE ESTIMATES BASED ON VISUAL INSPECTION FROM THE STREET AND PUBLIC RECORD IF AVAILABLE

THE RATING OF CONDITION AND ADEQUACY OF MECHANICAL SYSTEMS, (HEATING, COOLING, PLUMBING, ELECTRICAL) IS BASED ON VISUAL INSPECTION ONLY. THE APPRAISER, HOWEVER,IS NOT QUALIFIED TO RENDER JUDGEMENT ON THE LIFE EXPECTANCY OR ADEQUACY OF THE SYSTEMS.

THE SUBJECTS SITE VALUE EXCEEDS 30% OF THE INDICATED VALUE BECAUSE OF THE DEMAND FOR HOUSING IN THE MASTIC HOUSING MARKET.

SEARCH CRITERIOR INCLUDED PROPERTIES SOLD WITHIN THE LAST 6 MONTHS AND IN THE MASTIC MARKET PLACE.

AT THE TIME OF THE INSPECTION ALL UTILITIES WERE ON AND IN WORKING ORDER

THE SUBJECTS EXPOSURE TIME WITHIN THIS MARKET AREA IS ABOUT 30 DAYS

I HAVE NOT PERFORMED A VALUATION (OR OTHER) SERVICES AS AN APPRAISER OR IN ANY OTHER CAPACITY, REGARDING THE SUBJECT OF THIS REPORT WITHIN A 1 MONTH PERIOD IMMEDIATELY PRECEDING ACCEPTANCE OF THIS ASSIGNMENT

THE SUBJECT HAS CESSPOOLS WHICH ARE COMMON TO THIS MARKET AREA AND HAVE NO ADVERSE AFFECT ON VALUE OR MARKETABILITY. THERE ARE NO PUBLIC SEWER WITHIN THIS MARKET PLACE.THERE WERE NO SIGNS OF LEAKAGE OR ODOR AT THE TIME OF THE INSPECTION.

IT IS NOTED THAT THE COMPARABLES HAVE A RANGE OF VALUE THAT IS WIDER THAN DESIRED. THIS IS UNAVOIDABLE WHEN UTILIZING THOSE SALES AND LISTINGS NEAREST TO THE SUBJECT THAT ARE SIMILAR IN UTILITY AND MARKETABILITY. A RESULT IS THAT THE SIZE AND/OR INDICATEDED VALUE FOR THE COMPARABLE MAY VARY MORE THAN DESIRED FROM THE SUBJECT. THIS IS CONSIDERED BETTER THAN USING HOMES OUTSIDE THE SUBJECTS MARKET AREA.

COST APPROACH

COST APPROACH TO VALUE (not required by Fannie Mae)

Provide adequate information for the lender/client to replicate the below cost figures and calculations.

Support for the opinion of site value (summary of comparable land sales or other methods for estimating site value) SITE VALUE IS ESTIMATED FOR AVAILABLE SALES OF VACANT LAND AND FROM THE EXTRACTION METHOD IN PREVIOUS SOLD PROPERTIES.

ESTIMATED ☐ REPRODUCTION OR ☒ REPLACEMENT COST NEW

Source of cost data MARSHALL & SWIFT

Quality rating from cost service AVER Effective date of cost data 2025

Comments on Cost Approach (gross living area calculations, depreciation, etc.)

NO FUNCTIONALOR EXTERNAL OBSOLESCENCE NOTED. THE AGE LIFE METHOD OF DEPRECIATION IS USED. THE SUBJECTS SITE VALUE EXCEEDS 30% OF THE INDICATED MARKET VALUE. THIS IS COMMON TO THE AREA AND HAS NO ADVERSE AFFECT ON THE SUBJECTS VALUE OR MARKETABILITY.

Estimated Remaining Economic Life (HUD and VA only) 50 Years

OPINION OF SITE VALUE				=$	225,000
DWELLING	1,407	Sq.Ft. @ $	200.00	=$	281,400
BSMT	725	Sq.Ft. @ $	35.00	=$	25,375
DECK				=$	2,500
Garage/Carport		Sq.Ft. @ $		=$	
Total Estimate of Cost-New				=$	309,275
Less Depreciation	Physical 51,556	Functional	External	=$(	51,556)
Depreciated Cost of Improvements				=$	257,719
"As-is" Value of Site Improvements				=$	5,000
INDICATED VALUE BY COST APPROACH				**=$**	487,719

INCOME

INCOME APPROACH TO VALUE (not required by Fannie Mae)

Estimated Monthly Market Rent $ X Gross Rent Multiplier = $ Indicated Value by Income Approach

Summary of Income Approach (including support for market rent and GRM)

PUD INFORMATION

PROJECT INFORMATION FOR PUDs (if applicable)

Is the developer/builder in control of the Homeowners' Association (HOA)? ☐ Yes ☐ No Unit type(s) ☐ Detached ☐ Attached

Provide the following information for PUDs ONLY if the developer/builder is in control of the HOA and the subject property is an attached dwelling unit.

Legal Name of Project

Total number of phases Total number of units Total number of units sold

Total number of units rented Total number of units for sale Data source(s)

Was the project created by the conversion of existing building(s) into a PUD? ☐ Yes ☐ No If Yes, date of conversion.

Does the project contain any multi-dwelling units? ☐ Yes ☐ No Data Source

Are the units, common elements, and recreation facilities complete? ☐ Yes ☐ No If No, describe the status of completion.

Are the common elements leased to or by the Homeowners' Association? ☐ Yes ☐ No If Yes, describe the rental terms and options.

Describe common elements and recreational facilities.

Form 1004UAD - "TOTAL" appraisal software by a la mode, inc. - 1-800-ALAMODE

Serial# 7008D220
esign.alamode.com/verify

This report form is designed to report an appraisal of a one-unit property or a one-unit property with an accessory unit; including a unit in a planned unit development (PUD). This report form is not designed to report an appraisal of a manufactured home or a unit in a condominium or cooperative project.

This appraisal report is subject to the following scope of work, intended use, intended user, definition of market value, statement of assumptions and limiting conditions, and certifications. Modifications, additions, or deletions to the intended use, intended user, definition of market value, or assumptions and limiting conditions are not permitted. The appraiser may expand the scope of work to include any additional research or analysis necessary based on the complexity of this appraisal assignment. Modifications or deletions to the certifications are also not permitted. However, additional certifications that do not constitute material alterations to this appraisal report, such as those required by law or those related to the appraiser's continuing education or membership in an appraisal organization, are permitted.

SCOPE OF WORK: The scope of work for this appraisal is defined by the complexity of this appraisal assignment and the reporting requirements of this appraisal report form, including the following definition of market value, statement of assumptions and limiting conditions, and certifications. The appraiser must, at a minimum: (1) perform a complete visual inspection of the interior and exterior areas of the subject property, (2) inspect the neighborhood, (3) inspect each of the comparable sales from at least the street, (4) research, verify, and analyze data from reliable public and/or private sources, and (5) report his or her analysis, opinions, and conclusions in this appraisal report.

INTENDED USE: The intended use of this appraisal report is for the lender/client to evaluate the property that is the subject of this appraisal for a mortgage finance transaction.

INTENDED USER: The intended user of this appraisal report is the lender/client.

DEFINITION OF MARKET VALUE: The most probable price which a property should bring in a competitive and open market under all conditions requisite to a fair sale, the buyer and seller, each acting prudently, knowledgeably and assuming the price is not affected by undue stimulus. Implicit in this definition is the consummation of a sale as of a specified date and the passing of title from seller to buyer under conditions whereby: (1) buyer and seller are typically motivated; (2) both parties are well informed or well advised, and each acting in what he or she considers his or her own best interest; (3) a reasonable time is allowed for exposure in the open market; (4) payment is made in terms of cash in U. S. dollars or in terms of financial arrangements comparable thereto; and (5) the price represents the normal consideration for the property sold unaffected by special or creative financing or sales concessions* granted by anyone associated with the sale.

*Adjustments to the comparables must be made for special or creative financing or sales concessions. No adjustments are necessary for those costs which are normally paid by sellers as a result of tradition or law in a market area; these costs are readily identifiable since the seller pays these costs in virtually all sales transactions. Special or creative financing adjustments can be made to the comparable property by comparisons to financing terms offered by a third party institutional lender that is not already involved in the property or transaction. Any adjustment should not be calculated on a mechanical dollar for dollar cost of the financing or concession but the dollar amount of any adjustment should approximate the market's reaction to the financing or concessions based on the appraiser's judgment.

STATEMENT OF ASSUMPTIONS AND LIMITING CONDITIONS: The appraiser's certification in this report is subject to the following assumptions and limiting conditions:

1. The appraiser will not be responsible for matters of a legal nature that affect either the property being appraised or the title to it, except for information that he or she became aware of during the research involved in performing this appraisal. The appraiser assumes that the title is good and marketable and will not render any opinions about the title.

2. The appraiser has provided a sketch in this appraisal report to show the approximate dimensions of the improvements. The sketch is included only to assist the reader in visualizing the property and understanding the appraiser's determination of its size.

3. The appraiser has examined the available flood maps that are provided by the Federal Emergency Management Agency (or other data sources) and has noted in this appraisal report whether any portion of the subject site is located in an identified Special Flood Hazard Area. Because the appraiser is not a surveyor, he or she makes no guarantees, express or implied, regarding this determination.

4. The appraiser will not give testimony or appear in court because he or she made an appraisal of the property in question, unless specific arrangements to do so have been made beforehand, or as otherwise required by law.

5. The appraiser has noted in this appraisal report any adverse conditions (such as needed repairs, deterioration, the presence of hazardous wastes, toxic substances, etc.) observed during the inspection of the subject property or that he or she became aware of during the research involved in performing the appraisal. Unless otherwise stated in this appraisal report, the appraiser has no knowledge of any hidden or unapparent physical deficiencies or adverse conditions of the property (such as, but not limited to, needed repairs, deterioration, the presence of hazardous wastes, toxic substances, adverse environmental conditions, etc.) that would make the property less valuable, and has assumed that there are no such conditions and makes no guarantees or warranties, express or implied. The appraiser will not be responsible for any such conditions that do exist or for any engineering or testing that might be required to discover whether such conditions exist. Because the appraiser is not an expert in the field of environmental hazards, this appraisal report must not be considered as an environmental assessment of the property.

6. The appraiser has based his or her appraisal report and valuation conclusion for an appraisal that is subject to satisfactory completion, repairs, or alterations on the assumption that the completion, repairs, or alterations of the subject property will be performed in a professional manner.

Form 1004UAD - "TOTAL" appraisal software by a la mode, inc. - 1-800-ALAMODE
Serial# 7008D220
esign.alamode.com/verify

APPRAISER'S CERTIFICATION: The Appraiser certifies and agrees that:

1. I have, at a minimum, developed and reported this appraisal in accordance with the scope of work requirements stated in this appraisal report.

2. I performed a complete visual inspection of the interior and exterior areas of the subject property. I reported the condition of the improvements in factual, specific terms. I identified and reported the physical deficiencies that could affect the livability, soundness, or structural integrity of the property.

3. I performed this appraisal in accordance with the requirements of the Uniform Standards of Professional Appraisal Practice that were adopted and promulgated by the Appraisal Standards Board of The Appraisal Foundation and that were in place at the time this appraisal report was prepared.

4. I developed my opinion of the market value of the real property that is the subject of this report based on the sales comparison approach to value. I have adequate comparable market data to develop a reliable sales comparison approach for this appraisal assignment. I further certify that I considered the cost and income approaches to value but did not develop them, unless otherwise indicated in this report.

5. I researched, verified, analyzed, and reported on any current agreement for sale for the subject property, any offering for sale of the subject property in the twelve months prior to the effective date of this appraisal, and the prior sales of the subject property for a minimum of three years prior to the effective date of this appraisal, unless otherwise indicated in this report.

6. I researched, verified, analyzed, and reported on the prior sales of the comparable sales for a minimum of one year prior to the date of sale of the comparable sale, unless otherwise indicated in this report.

7. I selected and used comparable sales that are locationally, physically, and functionally the most similar to the subject property.

8. I have not used comparable sales that were the result of combining a land sale with the contract purchase price of a home that has been built or will be built on the land.

9. I have reported adjustments to the comparable sales that reflect the market's reaction to the differences between the subject property and the comparable sales.

10. I verified, from a disinterested source, all information in this report that was provided by parties who have a financial interest in the sale or financing of the subject property.

11. I have knowledge and experience in appraising this type of property in this market area.

12. I am aware of, and have access to, the necessary and appropriate public and private data sources, such as multiple listing services, tax assessment records, public land records and other such data sources for the area in which the property is located.

13. I obtained the information, estimates, and opinions furnished by other parties and expressed in this appraisal report from reliable sources that I believe to be true and correct.

14. I have taken into consideration the factors that have an impact on value with respect to the subject neighborhood, subject property, and the proximity of the subject property to adverse influences in the development of my opinion of market value. I have noted in this appraisal report any adverse conditions (such as, but not limited to, needed repairs, deterioration, the presence of hazardous wastes, toxic substances, adverse environmental conditions, etc.) observed during the inspection of the subject property or that I became aware of during the research involved in performing this appraisal. I have considered these adverse conditions in my analysis of the property value, and have reported on the effect of the conditions on the value and marketability of the subject property.

15. I have not knowingly withheld any significant information from this appraisal report and, to the best of my knowledge, all statements and information in this appraisal report are true and correct.

16. I stated in this appraisal report my own personal, unbiased, and professional analysis, opinions, and conclusions, which are subject only to the assumptions and limiting conditions in this appraisal report.

17. I have no present or prospective interest in the property that is the subject of this report, and I have no present or prospective personal interest or bias with respect to the participants in the transaction. I did not base, either partially or completely, my analysis and/or opinion of market value in this appraisal report on the race, color, religion, sex, age, marital status, handicap, familial status, or national origin of either the prospective owners or occupants of the subject property or of the present owners or occupants of the properties in the vicinity of the subject property or on any other basis prohibited by law.

18. My employment and/or compensation for performing this appraisal or any future or anticipated appraisals was not conditioned on any agreement or understanding, written or otherwise, that I would report (or present analysis supporting) a predetermined specific value, a predetermined minimum value, a range or direction in value, a value that favors the cause of any party, or the attainment of a specific result or occurrence of a specific subsequent event (such as approval of a pending mortgage loan application).

19. I personally prepared all conclusions and opinions about the real estate that were set forth in this appraisal report. If I relied on significant real property appraisal assistance from any individual or individuals in the performance of this appraisal or the preparation of this appraisal report, I have named such individual(s) and disclosed the specific tasks performed in this appraisal report. I certify that any individual so named is qualified to perform the tasks. I have not authorized anyone to make a change to any item in this appraisal report; therefore, any change made to this appraisal is unauthorized and I will take no responsibility for it.

20. I identified the lender/client in this appraisal report who is the individual, organization, or agent for the organization that ordered and will receive this appraisal report.

Serial# 7008D220
esign.alamode.com/verify

Form 1004UAD - "TOTAL" appraisal software by a la mode, inc. - 1-800-ALAMODE

21. The lender/client may disclose or distribute this appraisal report to: the borrower; another lender at the request of the borrower; the mortgagee or its successors and assigns; mortgage insurers; government sponsored enterprises; other secondary market participants; data collection or reporting services; professional appraisal organizations; any department, agency, or instrumentality of the United States; and any state, the District of Columbia, or other jurisdictions; without having to obtain the appraiser's or supervisory appraiser's (if applicable) consent. Such consent must be obtained before this appraisal report may be disclosed or distributed to any other party (including, but not limited to, the public through advertising, public relations, news, sales, or other media).

22. I am aware that any disclosure or distribution of this appraisal report by me or the lender/client may be subject to certain laws and regulations. Further, I am also subject to the provisions of the Uniform Standards of Professional Appraisal Practice that pertain to disclosure or distribution by me.

23. The borrower, another lender at the request of the borrower, the mortgagee or its successors and assigns, mortgage insurers, government sponsored enterprises, and other secondary market participants may rely on this appraisal report as part of any mortgage finance transaction that involves any one or more of these parties.

24. If this appraisal report was transmitted as an "electronic record" containing my "electronic signature," as those terms are defined in applicable federal and/or state laws (excluding audio and video recordings), or a facsimile transmission of this appraisal report containing a copy or representation of my signature, the appraisal report shall be as effective, enforceable and valid as if a paper version of this appraisal report were delivered containing my original hand written signature.

25. Any intentional or negligent misrepresentation(s) contained in this appraisal report may result in civil liability and/or criminal penalties including, but not limited to, fine or imprisonment or both under the provisions of Title 18, United States Code, Section 1001, et seq., or similar state laws.

SUPERVISORY APPRAISER'S CERTIFICATION: The Supervisory Appraiser certifies and agrees that:

1. I directly supervised the appraiser for this appraisal assignment, have read the appraisal report, and agree with the appraiser's analysis, opinions, statements, conclusions, and the appraiser's certification.

2. I accept full responsibility for the contents of this appraisal report including, but not limited to, the appraiser's analysis, opinions, statements, conclusions, and the appraiser's certification.

3. The appraiser identified in this appraisal report is either a sub-contractor or an employee of the supervisory appraiser (or the appraisal firm), is qualified to perform this appraisal, and is acceptable to perform this appraisal under the applicable state law.

4. This appraisal report complies with the Uniform Standards of Professional Appraisal Practice that were adopted and promulgated by the Appraisal Standards Board of The Appraisal Foundation and that were in place at the time this appraisal report was prepared.

5. If this appraisal report was transmitted as an "electronic record" containing my "electronic signature," as those terms are defined in applicable federal and/or state laws (excluding audio and video recordings), or a facsimile transmission of this appraisal report containing a copy or representation of my signature, the appraisal report shall be as effective, enforceable and valid as if a paper version of this appraisal report were delivered containing my original hand written signature.

esign.alamode.com/verify Serial:7008D220

APPRAISER

Signature
Name MICHAEL VOYACK
Company Name VOYACK APPRAISALS, INC
Company Address 34 BOYLAN LANE
BLUE POINT, NY 11715
Telephone Number 631-363-6481
Email Address VAPPRAISAL@HOTMAIL.COM
Date of Signature and Report 03/17/2026
Effective Date of Appraisal 03/17/2026
State Certification # 45000039978
or State License #
or Other (describe) State #
State NY
Expiration Date of Certification or License 09/09/2027

SUPERVISORY APPRAISER (ONLY IF REQUIRED)

Signature
Name
Company Name
Company Address
Telephone Number
Email Address
Date of Signature
State Certification #
or State License #
State
Expiration Date of Certification or License

ADDRESS OF PROPERTY APPRAISED

25 Gores Dr
Mastic, NY 11950
APPRAISED VALUE OF SUBJECT PROPERTY $ 480,000

LENDER/CLIENT

Name FASTAPP APPRAISAL MANAGEMENT COMPANY
Company Name CROSSCOUNTRY MORTGAGE,LLC
Company Address 2160 SUPERIOR AVENUE E,CLEVELAND
OH 44114
Email Address

SUBJECT PROPERTY

☐ Did not inspect subject property
☐ Did inspect exterior of subject property from street
Date of Inspection
☐ Did inspect interior and exterior of subject property
Date of Inspection

COMPARABLE SALES

☐ Did not inspect exterior of comparable sales from street
☐ Did inspect exterior of comparable sales from street
Date of Inspection

Serial# 7008D220
esign.alamode.com/verify

Form 1004UAD - "TOTAL" appraisal software by a la mode, inc. - 1-800-ALAMODE

Uniform Residential Appraisal Report

File # 263-01743

SALES COMPARISON APPROACH

FEATURE	SUBJECT	COMPARABLE SALE # 4		COMPARABLE SALE # 5		COMPARABLE SALE # 6	
Address	25 Gores Dr Mastic, NY 11950	176 Bedford Ave Mastic, NY 11950		40 Lafayette Ave Mastic, NY 11950		13 Gores Dr Mastic, NY 11950	
Proximity to Subject		0.45 miles SE		0.80 miles NE		0.04 miles S	
Sale Price	$ 425,000		$ 520,000		$ 430,000		$ 489,000
Sale Price/Gross Liv. Area	$ 302.06 sq.ft.	$ 335.27 sq.ft.		$ 407.20 sq.ft.		$ 626.92 sq.ft.	
Data Source(s)		LIMLS#931262;DOM 33		LIMLS # 895828;DOM 14		LIMLS#967714;DOM 6	
Verification Source(s)		SUFFOLK ASSESSMENTS		SUFFOLK ASSESSMENTS		REAL ESTATE BROKER	
VALUE ADJUSTMENTS	DESCRIPTION	DESCRIPTION	+(-) $ Adjustment	DESCRIPTION	+(-) $ Adjustment	DESCRIPTION	+(-) $ Adjustment
Sales or Financing Concessions		ArmLth Conv;0		ArmLth Cash;0		Listing Unk;0	
Date of Sale/Time		c01/26		s09/25;c08/25		Active	-9,780
Location	N;Res;Res	N;Res;Res		N;Res;Res		N;Res;Res	
Leasehold/Fee Simple	FEE SIMPLE	FEE SIMPLE		FEE SIMPLE		FEE SIMPLE	
Site	4792 sf	6098 sf	0	9148 sf	-1,000	4792 sf	
View	N;Res;Res	N;Res;Res		N;Res;Res		N;Res;Res	
Design (Style)	DT2;CAPE	DT2;CAPE		DT1;RANCH	0	DT1;RANCH	0
Quality of Construction	Q4	Q4		Q4		Q4	
Actual Age	65	13	0	52	0	65	
Condition	C3	C3		C3		C3	
Above Grade Room Count (Total / Bdrms. / Baths)	7 / 4 / 1.1	6 / 3 / 2.1	-5,000	5 / 3 / 1.0	+2,500	5 / 2 / 1.0	+2,500
Gross Living Area	1,407 sq.ft.	1,551 sq.ft.	-6,480	1,056 sq.ft.	+15,795	780 sq.ft.	+28,215
Basement & Finished Rooms Below Grade	725sf0sfin	603sf0sfin	0	0sf	+5,000	760sf0sfin	0
Functional Utility	ONE FAMILY	ONE FAMILY		ONE FAMILY		ONE FAMILY	
Heating/Cooling	OHW/NONE	OHW/NONE		OHW/NONE		OHW/NONE	
Energy Efficient Items	INSUL WINS	INSUL WINS		INSUL WINS		INSUL WINS	
Garage/Carport	1dw	1dw		1gd1dw	-5,000	1dw	
Porch/Patio/Deck	DECK	PORCH,PATIO	-2,500	PORCH	0	NONE	+2,500
FIREPLACE	NONE	NONE		NONE		NONE	
ING-POOL	NONE	NONE		NONE		NONE	
EQUIPMENT	AVER EQUIP	AVER EQUIP		AVER EQUIP		AVER EQUIP	
Net Adjustment (Total)		☐ + ☒ -	$ -13,980	☒ + ☐ -	$ 17,295	☒ + ☐ -	$ 23,435
Adjusted Sale Price of Comparables		Net Adj. 2.7 % Gross Adj. 2.7 %	$ 506,020	Net Adj. 4.0 % Gross Adj. 6.8 %	$ 447,295	Net Adj. 4.8 % Gross Adj. 8.8 %	$ 512,435

SALE HISTORY

Report the results of the research and analysis of the prior sale or transfer history of the subject property and comparable sales (report additional prior sales on page 3).

ITEM	SUBJECT	COMPARABLE SALE # 4	COMPARABLE SALE # 5	COMPARABLE SALE # 6
Date of Prior Sale/Transfer				
Price of Prior Sale/Transfer				
Data Source(s)	SUFFOLK ASSESSMENTS	SUFFOLK ASSESSMENTS	SUFFOLK ASSESSMENTS	SUFFOLK ASSESSMENTS
Effective Date of Data Source(s)	03/17/2026	03/17/2026	03/17/2026	03/17/2026

Analysis of prior sale or transfer history of the subject property and comparable sales

ANALYSIS / COMMENTS

Analysis/Comments

Form 1004UAD.(AC) - "TOTAL" appraisal software by a la mode, inc. - 1-800-ALAMODE

Serial# 7008D220
esign.alamode.com/verify

UNIFORM APPRAISAL DATASET (UAD) DEFINITIONS ADDENDUM

(Source: Fannie Mae UAD Appendix D: UAD Field-Specific Standardization Requirements)

Condition Ratings and Definitions

C1

The improvements have been recently constructed and have not been previously occupied. The entire structure and all components are new and the dwelling features no physical depreciation.

Note: Newly constructed improvements that feature recycled or previously used materials and/or components can be considered new dwellings provided that the dwelling is placed on a 100 percent new foundation and the recycled materials and the recycled components have been rehabilitated/remanufactured into like-new condition. Improvements that have not been previously occupied are not considered “new” if they have any significant physical depreciation (that is, newly constructed dwellings that have been vacant for an extended period of time without adequate maintenance or upkeep).

C2

The improvements feature no deferred maintenance, little or no physical depreciation, and require no repairs. Virtually all building components are new or have been recently repaired, refinished, or rehabilitated. All outdated components and finishes have been updated and/or replaced with components that meet current standards. Dwellings in this category are either almost new or have been recently completely renovated and are similar in condition to new construction.

Note: The improvements represent a relatively new property that is well maintained with no deferred maintenance and little or no physical depreciation, or an older property that has been recently completely renovated.

C3

The improvements are well maintained and feature limited physical depreciation due to normal wear and tear. Some components, but not every major building component, may be updated or recently rehabilitated. The structure has been well maintained.

Note: The improvement is in its first-cycle of replacing short-lived building components (appliances, floor coverings, HVAC, etc.) and is being well maintained. Its estimated effective age is less than its actual age. It also may reflect a property in which the majority of short-lived building components have been replaced but not to the level of a complete renovation.

C4

The improvements feature some minor deferred maintenance and physical deterioration due to normal wear and tear. The dwelling has been adequately maintained and requires only minimal repairs to building components/mechanical systems and cosmetic repairs. All major building components have been adequately maintained and are functionally adequate.

Note: The estimated effective age may be close to or equal to its actual age. It reflects a property in which some of the short-lived building components have been replaced, and some short-lived building components are at or near the end of their physical life expectancy; however, they still function adequately. Most minor repairs have been addressed on an ongoing basis resulting in an adequately maintained property.

C5

The improvements feature obvious deferred maintenance and are in need of some significant repairs. Some building components need repairs, rehabilitation, or updating. The functional utility and overall livability is somewhat diminished due to condition, but the dwelling remains useable and functional as a residence.

Note: Some significant repairs are needed to the improvements due to the lack of adequate maintenance. It reflects a property in which many of its short-lived building components are at the end of or have exceeded their physical life expectancy but remain functional.

C6

The improvements have substantial damage or deferred maintenance with deficiencies or defects that are severe enough to affect the safety, soundness, or structural integrity of the improvements. The improvements are in need of substantial repairs and rehabilitation, including many or most major components.

Note: Substantial repairs are needed to the improvements due to the lack of adequate maintenance or property damage. It reflects a property with conditions severe enough to affect the safety, soundness, or structural integrity of the improvements.

Quality Ratings and Definitions

Q1

Dwellings with this quality rating are usually unique structures that are individually designed by an architect for a specified user. Such residences typically are constructed from detailed architectural plans and specifications and feature an exceptionally high level of workmanship and exceptionally high-grade materials throughout the interior and exterior of the structure. The design features exceptionally high-quality exterior refinements and ornamentation, and exceptionally high-quality interior refinements. The workmanship, materials, and finishes throughout the dwelling are of exceptionally high quality.

Q2

Dwellings with this quality rating are often custom designed for construction on an individual property owner’s site. However, dwellings in this quality grade are also found in high-quality tract developments featuring residence constructed from individual plans or from highly modified or upgraded plans. The design features detailed, high quality exterior ornamentation, high-quality interior refinements, and detail. The workmanship, materials, and finishes throughout the dwelling are generally of high or very high quality.

Serial# 7008D220
esign.alamode.com/verify

UNIFORM APPRAISAL DATASET (UAD) DEFINITIONS ADDENDUM

(Source: Fannie Mae UAD Appendix D: UAD Field-Specific Standardization Requirements)

Quality Ratings and Definitions (continued)

Q3

Dwellings with this quality rating are residences of higher quality built from individual or readily available designer plans in above-standard residential tract developments or on an individual property owner's site. The design includes significant exterior ornamentation and interiors that are well finished. The workmanship exceeds acceptable standards and many materials and finishes throughout the dwelling have been upgraded from "stock" standards.

Q4

Dwellings with this quality rating meet or exceed the requirements of applicable building codes. Standard or modified standard building plans are utilized and the design includes adequate fenestration and some exterior ornamentation and interior refinements. Materials, workmanship, finish, and equipment are of stock or builder grade and may feature some upgrades.

Q5

Dwellings with this quality rating feature economy of construction and basic functionality as main considerations. Such dwellings feature a plain design using readily available or basic floor plans featuring minimal fenestration and basic finishes with minimal exterior ornamentation and limited interior detail. These dwellings meet minimum building codes and are constructed with inexpensive, stock materials with limited refinements and upgrades.

Q6

Dwellings with this quality rating are of basic quality and lower cost; some may not be suitable for year-round occupancy. Such dwellings are often built with simple plans or without plans, often utilizing the lowest quality building materials. Such dwellings are often built or expanded by persons who are professionally unskilled or possess only minimal construction skills. Electrical, plumbing, and other mechanical systems and equipment may be minimal or non-existent. Older dwellings may feature one or more substandard or non-conforming additions to the original structure

Definitions of Not Updated, Updated, and Remodeled

Not Updated

Little or no updating or modernization. This description includes, but is not limited to, new homes.

Residential properties of fifteen years of age or less often reflect an original condition with no updating, if no major components have been replaced or updated. Those over fifteen years of age are also considered not updated if the appliances, fixtures, and finishes are predominantly dated. An area that is 'Not Updated' may still be well maintained and fully functional, and this rating does not necessarily imply deferred maintenance or physical/functional deterioration.

Updated

The area of the home has been modified to meet current market expectations. These modifications are limited in terms of both scope and cost.

An updated area of the home should have an improved look and feel, or functional utility. Changes that constitute updates include refurbishment and/or replacing components to meet existing market expectations. Updates do not include significant alterations to the existing structure.

Remodeled

Significant finish and/or structural changes have been made that increase utility and appeal through complete replacement and/or expansion.

A remodeled area reflects fundamental changes that include multiple alterations. These alterations may include some or all of the following: replacement of a major component (cabinet(s), bathtub, or bathroom tile), relocation of plumbing/gas fixtures/appliances, significant structural alterations (relocating walls, and/or the addition of) square footage). This would include a complete gutting and rebuild.

Explanation of Bathroom Count

Three-quarter baths are counted as a full bath in all cases. Quarter baths (baths that feature only a toilet) are not included in the bathroom count. The number of full and half baths is reported by separating the two values using a period, where the full bath count is represented to the left of the period and the half bath count is represented to the right of the period.

Example:
3.2 indicates three full baths and two half baths.

Serial# 7008D220
esign.alamode.com/verify

UNIFORM APPRAISAL DATASET (UAD) DEFINITIONS ADDENDUM

(Source: Fannie Mae UAD Appendix D: UAD Field-Specific Standardization Requirements)

Abbreviations Used in Data Standardization Text

Abbreviation	Full Name	Fields Where This Abbreviation May Appear
A	Adverse	Location & View
ac	Acres	Area, Site
AdjPrk	Adjacent to Park	Location
AdjPwr	Adjacent to Power Lines	Location
ArmLth	Arms Length Sale	Sale or Financing Concessions
AT	Attached Structure	Design (Style)
B	Beneficial	Location & View
ba	Bathroom(s)	Basement & Finished Rooms Below Grade
br	Bedroom	Basement & Finished Rooms Below Grade
BsyRd	Busy Road	Location
c	Contracted Date	Date of Sale/Time
Cash	Cash	Sale or Financing Concessions
Comm	Commercial Influence	Location
Conv	Conventional	Sale or Financing Concessions
cp	Carport	Garage/Carport
CrtOrd	Court Ordered Sale	Sale or Financing Concessions
CtySky	City View Skyline View	View
CtyStr	City Street View	View
cv	Covered	Garage/Carport
DOM	Days On Market	Data Sources
DT	Detached Structure	Design (Style)
dw	Driveway	Garage/Carport
e	Expiration Date	Date of Sale/Time
Estate	Estate Sale	Sale or Financing Concessions
FHA	Federal Housing Authority	Sale or Financing Concessions
g	Garage	Garage/Carport
ga	Attached Garage	Garage/Carport
gbi	Built-in Garage	Garage/Carport
gd	Detached Garage	Garage/Carport
GlfCse	Golf Course	Location
Glfvw	Golf Course View	View
GR	Garden	Design (Style)
HR	High Rise	Design (Style)
in	Interior Only Stairs	Basement & Finished Rooms Below Grade
Ind	Industrial	Location & View
Listing	Listing	Sale or Financing Concessions
Lndfl	Landfill	Location
LtdSght	Limited Sight	View
MR	Mid-rise	Design (Style)
Mtn	Mountain View	View
N	Neutral	Location & View
NonArm	Non-Arms Length Sale	Sale or Financing Concessions
o	Other	Basement & Finished Rooms Below Grade
O	Other	Design (Style)
op	Open	Garage/Carport
Prk	Park View	View
Pstrl	Pastoral View	View
PwrLn	Power Lines	View
PubTrn	Public Transportation	Location
Relo	Relocation Sale	Sale or Financing Concessions
REO	REO Sale	Sale or Financing Concessions
Res	Residential	Location & View
RH	USDA - Rural Housing	Sale or Financing Concessions
rr	Recreational (Rec) Room	Basement & Finished Rooms Below Grade
RT	Row or Townhouse	Design (Style)
s	Settlement Date	Date of Sale/Time
SD	Semi-detached Structure	Design (Style)
Short	Short Sale	Sale or Financing Concessions
sf	Square Feet	Area, Site, Basement
sqm	Square Meters	Area, Site
Unk	Unknown	Date of Sale/Time
VA	Veterans Administration	Sale or Financing Concessions
w	Withdrawn Date	Date of Sale/Time
wo	Walk Out Basement	Basement & Finished Rooms Below Grade
Woods	Woods View	View
Wtr	Water View	View
WtrFr	Water Frontage	Location
wu	Walk Up Basement	Basement & Finished Rooms Below Grade

Serial# 7008D220
esign.alamode.com/verify

Supplemental Addendum

File No. 263-01743

Borrower	Adriana K DaCunha & Hailey Thompson						
Property Address	25 Gores Dr						
City	Mastic	County	SUFFOLK	State	NY	Zip Code	11950
Lender/Client	CROSSCOUNTRY MORTGAGE,LLC						

THE APPRAISER DOES NOT GUARANTEE THAT THE PROPERTY IS FREE FROM DEFECTS. THE APPRAISAL ESTABLISHES THE VALUE OF THE PROPERTY FOR MORTGAGE PURPOSES ONLY.

IN THE LAND USE SECTION "OTHER" INCLUDES, VACANT LAND, PARKS, SCHOOLS, GOVERNMENT BUILDINGS AND PLACES OF WORSHIP.

AT THE TIME OF THE INSPECTION ALL UTILITIES WERE ON AND IN WORKING ORDER

THE INTENDED USER OF THIS APPRAISAL REPORT IS THE LENDER/CLIENT . THE PROPERTY THAT IS THE SUBJECT OF THIS APPRAISAL FOR MORTGAGE FINANCE TRANSACTION, SUBJECT TO THE SCOPE OF WORK, PURPOSE OF THE APPRAISAL, REPORTING REQUIREMENTS OF THIS APPRAISAL REPORT FORM AND THE DEFINITION OF MARKET VALUE. NO ADDITIONAL INTENDED USERS IDENTIFIED BY THE APPRAISER.

MARKET EXTRACTED ADJUSTMENTS (BASED ON CURRENT AND HISTORICAL SATISTICAL DATA AND/OR PAIRED SALES ANAYLSIS AND THIS APPRAISERS KNOWLEDGE AND EXPERIENCE REGARDING THE SUBJECTS MARKET AREA).

IN THE RECONCILATION OF VALUE ALL THE COMPARABLES ALL THE COMPARABLES WERE GIVEN EQUAL WEIGHT BECAUSE THEY WERE THE MOST RECENT SIMILAR SALES WITHIN CLOSE PROXIMITY THAT HAD THE LEAST AMOUNT OF NET ADJUSTMENT IN THE RENDERING A ESTIMATE OF VALUE FOR THE SUBJECT.

AT THE TIME OF THE INSPECTION ALL UTILITIES WERE ON AND IN WORKING ORDER

THE SUBJECT AND ALL COMPARABLES ARE WITHIN THE SAME SCHOOL DISTRICT AND MARKET AREA. THEY ALL HAVE SIMILAR SOCIAL,ECONOMIC AND ENVIRONMENTAL ELEMENTS.

PORCH,PATIO DECK, FIREPLACES AND IN GROUND POOL ADJUSTMENTS WERE DERIVED FROM MARKET ANAYLSIS OF THE SUBJECTS NEIGHBORHOOD AND ANY DIFFERENCES IN SALES PRICES FOR SOLD HOMES WITH AND WITHOUT THESE AMENTIES. THERE IS NO REAL CONCRETE VALUE ON THESE ITEMS, BUT A MARKET ANAYLSIS WOULD DERIVE AT A DOLLAR AMOUNT BASED ON ANY DIFFERENCES AND THE APPRAISER MADE A ADJUSTMENT TO ACCOUNT FOR ANY DIFFERENCES.

SOME OF THE COMPARABLES EXCEED GLA AND AGE GUIDELINES, BUT WERE UTLIZED FOR BEING THE MOST RECENT SIMILAR SALES IN THE SUBJECTS MARKET AREA.

THE SUBJECT MEETS FHA/HUD REQUIREMENTS AS OUTLINED IN HUD HANDBOOK 4000.1.

INTENDED USE OF THE APPRAISAL IS SOLELY TO ASSIST FHA IN ASSESSING THE RISK OF THE PROPERTY SECURING THE FHA-INSURED MORTGAGE (24 CFR S 200.145 (B).

THE SUBJECTS FINISHED SQUARE FOOTAGE CALCULATIONS WERE MADE BASED ON MEASURED DIMENSIONS ONLY. THE FINISHED SQUARE FOOTAGE OF EACH LEVEL IS THE SUM OF THE FINISHED AREAS ON THAT LEVEL MEASURED AT FLOOR LEVEL TO THE EXTERIOR FINISHED SURFACE OF THE OUTSIDE WALL. THE SUBJECTS MEASUREMENTS WERE MEASURED IN ENGLISH MEASMENTS TO THE NEAREST TENTH OF A FOOT.BASED ON THE ANSI GUIDELINES THE TOTAL ABOVE GRADE LIVING AREA IS 1407 SF AND THE TOTAL BELOW GRADE IS 725 SF., WHICH 0 SF FINISHED. SUBJECT WAS MEASURED VIA ANSI STANDARDS DUE TO FANNIE MAE GUIDELINES.

THE APPRAISED VALUE EXCEEDS THE CONTRACT PRICE BECAUSE THE THE MOST RECENT SIMILAR COMPARABLES SUPPORT THE INDICATED VALUE.

Serial# 7008D220
esign.alamode.com/verify

Market Conditions Addendum to the Appraisal Report

File No. 263-01743

The purpose of this addendum is to provide the lender/client with a clear and accurate understanding of the market trends and conditions prevalent in the subject neighborhood. This is a required addendum for all appraisal reports with an effective date on or after April 1, 2009.

Property Address 25 Gores Dr City Mastic State NY ZIP Code 11950

Borrower Adriana K DaCunha & Hailey Thompson

Instructions: The appraiser must use the information required on this form as the basis for his/her conclusions, and must provide support for those conclusions, regarding housing trends and overall market conditions as reported in the Neighborhood section of the appraisal report form. The appraiser must fill in all the information to the extent it is available and reliable and must provide analysis as indicated below. If any required data is unavailable or is considered unreliable, the appraiser must provide an explanation. It is recognized that not all data sources will be able to provide data for the shaded areas below; if it is available, however, the appraiser must include the data in the analysis. If data sources provide the required information as an average instead of the median, the appraiser should report the available figure and identify it as an average. Sales and listings must be properties that compete with the subject property, determined by applying the criteria that would be used by a prospective buyer of the subject property. The appraiser must explain any anomalies in the data, such as seasonal markets, new construction, foreclosures, etc.

MARKET RESEARCH & ANALYSIS

Inventory Analysis	Prior 7–12 Months	Prior 4–6 Months	Current – 3 Months	Overall Trend		
Total # of Comparable Sales (Settled)	27	21	2	☐ Increasing	☒ Stable	☐ Declining
Absorption Rate (Total Sales/Months)	4.50	7.00	0.67	☐ Increasing	☒ Stable	☐ Declining
Total # of Comparable Active Listings	32	24	6	☒ Declining	☐ Stable	☐ Increasing
Months of Housing Supply (Total Listings/Ab.Rate)	7.1	3.4	9.0	☒ Declining	☐ Stable	☐ Increasing
Median Sale & List Price, DOM, Sale/List %	Prior 7–12 Months	Prior 4–6 Months	Current – 3 Months	Overall Trend		
Median Comparable Sale Price	469,000	477,000	523,000	☐ Increasing	☒ Stable	☐ Declining
Median Comparable Sales Days on Market	67	64	65	☐ Declining	☒ Stable	☐ Increasing
Median Comparable List Price	485,000	480,000	529,000	☐ Increasing	☒ Stable	☐ Declining
Median Comparable Listings Days on Market	33	30	31	☐ Declining	☒ Stable	☐ Increasing
Median Sale Price as % of List Price	96.7%	99.4%	98.9%	☐ Increasing	☒ Stable	☐ Declining
Seller-(developer, builder, etc.)paid financial assistance prevalent? ☐ Yes ☒ No				☐ Declining	☒ Stable	☐ Increasing

Explain in detail the seller concessions trends for the past 12 months (e.g., seller contributions increased from 3% to 5%, increasing use of buydowns, closing costs, condo fees, options, etc.). CONVENTIONAL AND GOVERNMENTAL FINANCING IS INDICATED AND SALES CONCESSIONS. ALTHOUGH NOT PREVALENT, ARE NOT UNCOMMON, TYPICAL CONTRIBUTIONS WITHIN THIS SPECIFIC MARKET AREA ARE SELLER CONTRIBUTIONS TOWARDS PURCHASER CLOSING COST AND GENERALLY RANGE IN THE AREA OF 4-6%. THIS LEVEL OF CONTRIBUTION HAS REMAINED RELATIVELY STABLE OVER THE PAST YEAR AND THERE IS NO SUPPORTABLE DATA THAT COULD LEAD ONE TO LOGICALLY CONCLUDE THAT A SUBSATANTIAL CHANGE IS EXPECTED IN THE NEAR FUTURE.

Are foreclosure sales (REO sales) a factor in the market? ☐ Yes ☒ No If yes, explain (including the trends in listings and sales of foreclosed properties).

FORECLOSURE ACTIVITY IS NOT CONSIDERATION PREVALENT AT THIS TIME IN THE MASTIC MARKET PLACE. THE MARKET HAS STABALIZED ON SALES PRICES, AS WELL AS TYPICAL MARKETING TIMES. THERE ARE NO REO/SHORT SALES THAT AFFECT THE SUBJECT MARKET VALUE.

Cite data sources for above information. COMPS INC/CLOSED SALES,SUFFOLKCOUNTY ASSESSMENT RECORDS,MLS AND PROPERTY SHARK COMPS,

Summarize the above information as support for your conclusions in the Neighborhood section of the appraisal report form. If you used any additional information, such as an analysis of pending sales and/or expired and withdrawn listings, to formulate your conclusions, provide both an explanation and support for your conclusions.

THE REAL ESTATE MARKET HAS GRADUALLY STABALIZED SINCE THE SUB-PRIME COLLAPSE AND THE FREEZE OF CREDIT MARKETS. THIS INVENTORY OF HOMES IN THE MARKET APPEARS TO BE BALANCED. THE MASTIC MARKET PLACE HAS NOT FOUND THE FORECLOSURES AND DECLINING VALUES OF OTHER AREAS OF SUFFOLK COUNTY. THE MARKET SAMPLE WAS LIMITED IN THE PAST 12 MONTHS AND THE TREND APPEARS TO BE STABLE.

CONDO/CO-OP PROJECTS

If the subject is a unit in a condominium or cooperative project , complete the following: **Project Name:**

Subject Project Data	Prior 7–12 Months	Prior 4–6 Months	Current – 3 Months	Overall Trend		
Total # of Comparable Sales (Settled)				☐ Increasing	☐ Stable	☐ Declining
Absorption Rate (Total Sales/Months)				☐ Increasing	☐ Stable	☐ Declining
Total # of Active Comparable Listings				☐ Declining	☐ Stable	☐ Increasing
Months of Unit Supply (Total Listings/Ab.Rate)				☐ Declining	☐ Stable	☐ Increasing

Are foreclosure sales (REO sales) a factor in the project? ☐ Yes ☐ No If yes, indicate the number of REO listings and explain the trends in listings and sales of foreclosed properties.

Summarize the above trends and address the impact on the subject unit and project.

esign.alamode.com/verify Serial:7008D220

APPRAISER

Signature	Signature
Appraiser Name MICHAEL VOYACK	Supervisory Appraiser Name
Company Name VOYACK APPRAISALS, INC	Company Name
Company Address 34 BOYLAN LANE, BLUE POINT, NY 11715	Company Address
State License/Certification # 45000039978 State NY	State License/Certification # State
Email Address VAPPRAISAL@HOTMAIL.COM	Email Address

Serial# 7008D220
esign.alamode.com/verify

Form 1004MC2 - "TOTAL" appraisal software by a la mode, inc. - 1-800-ALAMODE

Subject Photo Page

Borrower	Adriana K DaCunha & Hailey Thompson						
Property Address	25 Gores Dr						
City	Mastic	County	SUFFOLK	State	NY	Zip Code	11950
Lender/Client	CROSSCOUNTRY MORTGAGE,LLC						

Subject Front

25 Gores Dr

Sales Price	425,000
Gross Living Area	1,407
Total Rooms	7
Total Bedrooms	4
Total Bathrooms	1.1
Location	N;Res;Res
View	N;Res;Res
Site	4792 sf
Quality	Q4
Age	65

Subject Rear

Subject Street

Serial# 7008D220
esign.alamode.com/verify

Subject Photo Page

Borrower	Adriana K DaCunha & Hailey Thompson						
Property Address	25 Gores Dr						
City	Mastic	County	SUFFOLK	State	NY	Zip Code	11950
Lender/Client	CROSSCOUNTRY MORTGAGE,LLC						



Subject Side

25 Gores Dr

Sales Price	425,000
Gross Living Area	1,407
Total Rooms	7
Total Bedrooms	4
Total Bathrooms	1.1
Location	N;Res;Res
View	N;Res;Res
Site	4792 sf
Quality	Q4
Age	65

Subject Side

Subject Street

Serial# 7008D220
esign.alamode.com/verify

Photograph Addendum

Borrower	Adriana K DaCunha & Hailey Thompson						
Property Address	25 Gores Dr						
City	Mastic	County	SUFFOLK	State	NY	Zip Code	11950
Lender/Client	CROSSCOUNTRY MORTGAGE,LLC						



KITCHEN



BATHROOM



LIVING ROOM

Serial# 7008D220
esign.alamode.com/verify

Photograph Addendum

Borrower	Adriana K DaCunha & Hailey Thompson						
Property Address	25 Gores Dr						
City	Mastic	County	SUFFOLK	State	NY	Zip Code	11950
Lender/Client	CROSSCOUNTRY MORTGAGE,LLC						

DINING ROOM

HALF BATHROOM

BEDROOM

Serial# 7008D220
esign.alamode.com/verify

Photograph Addendum

Borrower	Adriana K DaCunha & Hailey Thompson						
Property Address	25 Gores Dr						
City	Mastic	County	SUFFOLK	State	NY	Zip Code	11950
Lender/Client	CROSSCOUNTRY MORTGAGE,LLC						



BEDROOM



BEDROOM



BEDROOM

Serial# 7008D220
esign.alamode.com/verify

Photograph Addendum

Borrower	Adriana K DaCunha & Hailey Thompson						
Property Address	25 Gores Dr						
City	Mastic	County	SUFFOLK	State	NY	Zip Code	11950
Lender/Client	CROSSCOUNTRY MORTGAGE,LLC						

FURNANCE

ELECTRIC PANEL



UNFINISHED BASEMENT

Serial# 7008D220
esign.alamode.com/verify

Photograph Addendum

Borrower	Adriana K DaCunha & Hailey Thompson						
Property Address	25 Gores Dr						
City	Mastic	County	SUFFOLK	State	NY	Zip Code	11950
Lender/Client	CROSSCOUNTRY MORTGAGE,LLC						

SMOKE & CO2 DETECTOR

Serial# 7008D220
esign.alamode.com/verify

Comparable Photo Page

Borrower	Adriana K DaCunha & Hailey Thompson						
Property Address	25 Gores Dr						
City	Mastic	County	SUFFOLK	State	NY	Zip Code	11950
Lender/Client	CROSSCOUNTRY MORTGAGE,LLC						

Comparable 1

14 Hawthorne St

Prox. to Subject	0.22 miles SE
Sales Price	500,000
Gross Living Area	1,200
Total Rooms	7
Total Bedrooms	3
Total Bathrooms	2.0
Location	N;Res;Res
View	N;Res;Res
Site	3920 sf
Quality	Q4
Age	23

Comparable 2

145 Clinton Ave

Prox. to Subject	0.57 miles E
Sales Price	430,000
Gross Living Area	1,276
Total Rooms	6
Total Bedrooms	3
Total Bathrooms	1.0
Location	N;Res;Res
View	N;Res;Res
Site	13939 sf
Quality	Q4
Age	98

Comparable 3

3 Hoover Ct

Prox. to Subject	0.32 miles SW
Sales Price	575,000
Gross Living Area	1,660
Total Rooms	6
Total Bedrooms	3
Total Bathrooms	2.0
Location	N;Res;Res
View	N;Res;Res
Site	7841 sf
Quality	Q4
Age	53

Serial# 7008D220
esign.alamode.com/verify

Comparable Photo Page

Borrower	Adriana K DaCunha & Hailey Thompson						
Property Address	25 Gores Dr						
City	Mastic	County	SUFFOLK	State	NY	Zip Code	11950
Lender/Client	CROSSCOUNTRY MORTGAGE,LLC						

Comparable 4

176 Bedford Ave

Prox. to Subject	0.45 miles SE
Sales Price	520,000
Gross Living Area	1,551
Total Rooms	6
Total Bedrooms	3
Total Bathrooms	2.1
Location	N;Res;Res
View	N;Res;Res
Site	6098 sf
Quality	Q4
Age	13

Comparable 5

40 Lafayette Ave

Prox. to Subject	0.80 miles NE
Sales Price	430,000
Gross Living Area	1,056
Total Rooms	5
Total Bedrooms	3
Total Bathrooms	1.0
Location	N;Res;Res
View	N;Res;Res
Site	9148 sf
Quality	Q4
Age	52



Comparable 6

13 Gores Dr

Prox. to Subject	0.04 miles S
Sales Price	489,000
Gross Living Area	780
Total Rooms	5
Total Bedrooms	2
Total Bathrooms	1.0
Location	N;Res;Res
View	N;Res;Res
Site	4792 sf
Quality	Q4
Age	65

Serial# 7008D220
esign.alamode.com/verify

Building Sketch

Borrower	Adriana K DaCunha & Hailey Thompson						
Property Address	25 Gores Dr						
City	Mastic	County	SUFFOLK	State	NY	Zip Code	11950
Lender/Client	CROSSCOUNTRY MORTGAGE,LLC						

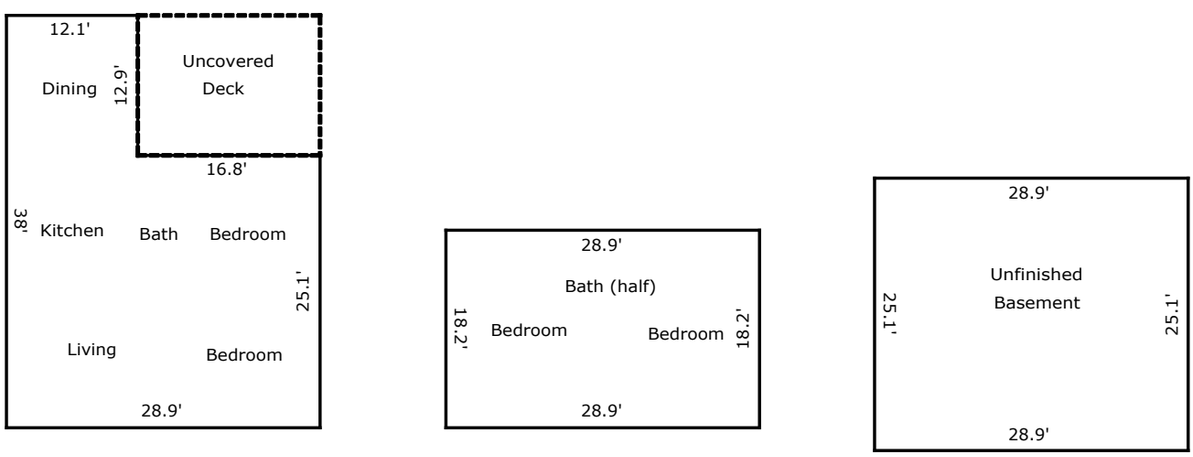

TOTAL Sketch by a la mode

Area Calculations Summary

Living Area		**Calculation Details**
First Floor	881.48 Sq ft	12.1 × 12.9 = 156.09 25.1 × 28.9 = 725.39
Second Floor	525.98 Sq ft	18.2 × 28.9 = 525.98
Total Living Area (Rounded):	**1407 Sq ft**	
Non-living Area		
Wood Deck	216.72 Sq ft	12.9 × 16.8 = 216.72
Basement	725.39 Sq ft	28.9 × 25.1 = 725.39

Serial# 7008D220
esign.alamode.com/verify

COMPARABLE SALES

hamlet	hs_numb	st_name	lot_size	rooms_bat	sqft	hs_style	saledate	sale_price
MASTIC	11	BONNY DR	.230 AC	K1B2B1.0	667	RANCH	10/10/2025	585000
MASTIC	14	HAWTHORNE ST	.090 AC	K1B2B1.0	720	CONTEMP	11/19/2025	500000
MASTIC	2	DREAMLAND ST	100X100	K1B3B1.0	1058	RANCH	9/25/2025	525000
SHIRLEY	21	NORTHERN BLVD	50X160	K1B3B1.0	1075	RANCH	9/23/2025	553000
MASTIC	30	KILROY DR	50X218				12/9/2025	560000
MASTIC	966	MASTIC RD	.320 AC	K1B3B1.0	1008	RANCH	10/29/2025	510000
MASTIC	172	HAMPTON AVE	60X100	K1B3B1.1	1512	COLONIAL	1/7/2026	517000
MASTIC	194	MORICHES AVE	40X100	K1B5B2.0	2088	HI-RANCH	11/24/2025	525000
SHIRLEY	11	ROBERTS RD	76X110	K1B3B1.0	1848	CAPE COD	12/15/2025	512550
SHIRLEY	46	BROADWAY ST	.190 AC	K1B3B2.0	1152	RANCH	12/23/2025	530000
MASTIC	172	VAN BUREN ST	.540 AC	K1B3B1.0	1008	RANCH	10/2/2025	510000
MASTIC	24	DOVER AVE	100X125	K1B3B2.0	1300	RANCH	12/9/2025	530000

Serial# 7008D220
esign.alamode.com/verify

Location Map

Borrower	Adriana K DaCunha & Hailey Thompson						
Property Address	25 Gores Dr						
City	Mastic	County	SUFFOLK	State	NY	Zip Code	11950
Lender/Client	CROSSCOUNTRY MORTGAGE,LLC						

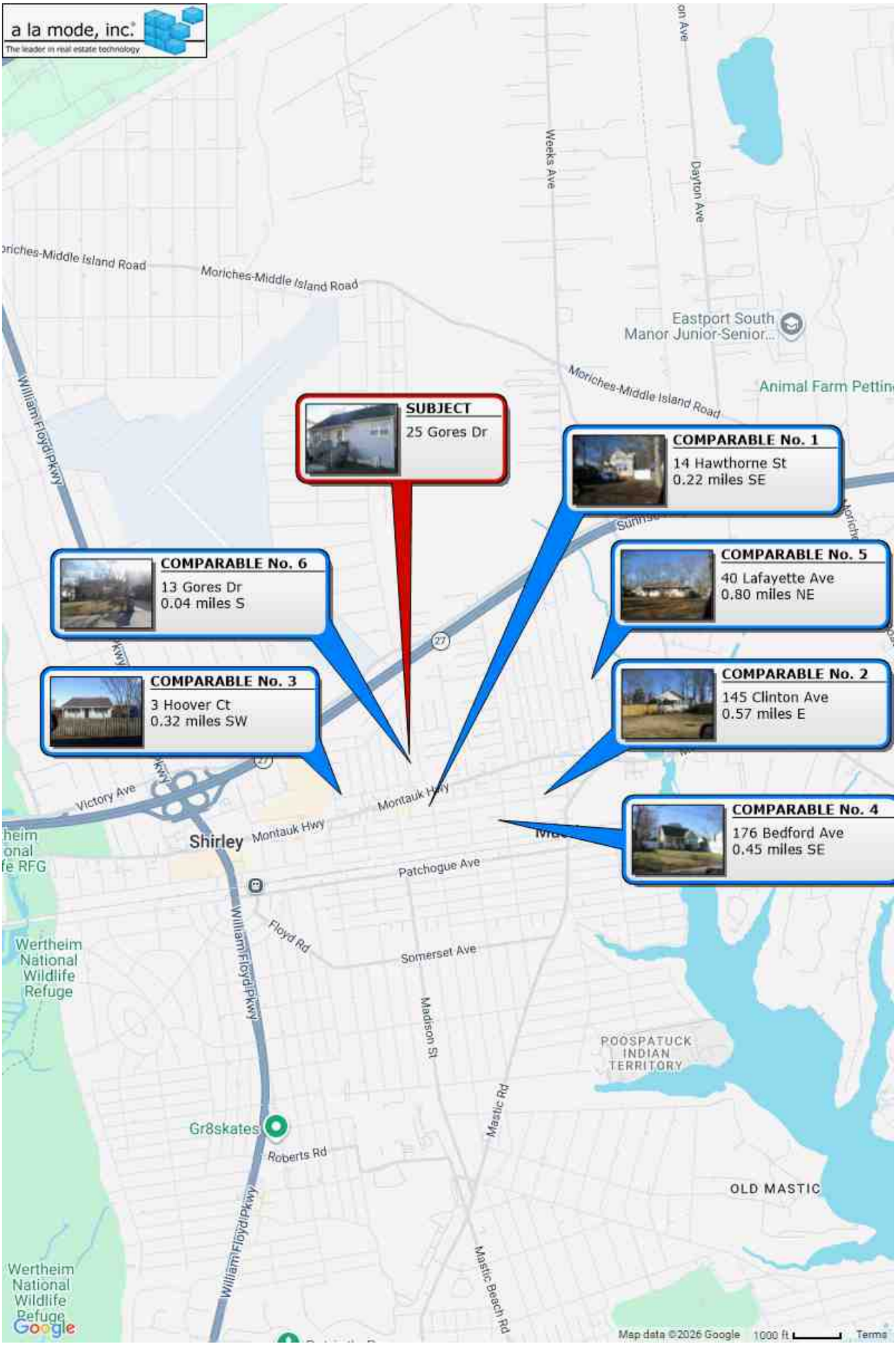

Serial# 7008D220
esign.alamode.com/verify

Aerial Map

Borrower	Adriana K DaCunha & Hailey Thompson						
Property Address	25 Gores Dr						
City	Mastic	County	SUFFOLK	State	NY	Zip Code	11950
Lender/Client	CROSSCOUNTRY MORTGAGE,LLC						

Serial# 7008D220
esign.alamode.com/verify

LICENSE

UNIQUE ID NUMBER
45000039978

State of New York
Department of State
DIVISION OF LICENSING SERVICES

FOR OFFICE USE ONLY
Control No. 1559580

EFFECTIVE DATE
MO. 09 DAY 10 YR. 25

PURSUANT TO THE PROVISIONS OF ARTICLE 6E OF THE EXECUTIVE LAW AS IT RELATES TO R.E. APPRAISERS.

EXPIRATION DATE
MO. 09 DAY 09 YR. 27

VOYACK MICHAEL F
C/O VOYACK APPRAISALS
34 BOYLAN LN
BLUE POINT, NY 11715

HAS BEEN DULY CERTIFIED TO TRANSACT BUSINESS AS A R.E. RESIDENTIAL APPRAISER

In Witness Whereof, The Department of State has caused its official seal to be hereunto affixed.

WALTER T. MOSLEY
SECRETARY OF STATE

DOS-1098 (Rev. 3/01)

Serial# 7008D220
esign.alamode.com/verify

CNA

Real Estate Professionals
Errors and Omissions Policy

Declarations

Agency	Branch	Prefix	Policy Number
078990	969	RFB	28753194425

Insurance is provided by
Continental Casualty Company,
151 North Franklin Street, Chicago, IL 60606
A Stock Insurance Company.

1. NAMED INSURED AND MAILING ADDRESS:

Michael Voyack DBA: Voyack Appraisals

34 Boylan Lane
Blue Point, NY 11715

NOTICE TO POLICYHOLDERS:
The Errors and Omissions Liability coverage afforded by this policy is on a Claims Made basis. Please review the policy carefully and discuss this coverage with **your** insurance agent or broker.

2. POLICY PERIOD: Inception: 09/27/2025 Expiration: 09/27/2026
at 12:01 A.M. Standard time at your address shown above.

3. ERRORS AND OMISSIONS LIABILITY:

A. Limits of Liability: Each Claim: $1,000,000 Aggregate: $1,000,000

B. Discrimination Limits of Liability: $250,000

C. Deductible: Each Claim: $2,500

D. First Coverage Date: 09/27/2005

E. Retroactive Date: 09/27/2005

4. PREMIUM $863

Total Premium: $863.00

5. EXTENDED REPORTING PERIOD PREMIUM

One Year: 50% of the Policy Premium
Three Year: 130% of the Policy Premium

6. FORMS AND ENDORSEMENTS ATTACHED AT INCEPTION:

CNA65781NYc (03/14) Real Estate Professionals Errors and Omissions Policy - New York

CNA65780NY ED. 09-2013

I - 1328780 B - 021183

Kathleen W. Curry
Countersigned by Authorized Representative

Form SCNLGL - "TOTAL" appraisal software by a la mode, inc. - 1-800-ALAMODE

Serial# 7008D220
esign.alamode.com/verify

INVOICE

FROM:
VOYACK APPRAISALS,INC
34 BOYLAN LANE
BLUE POINT,NEW YORK 11715

Telephone Number: **Fax Number:**

TO:
JEDER VALUATIONS

E-Mail:
Telephone Number: **Fax Number:**
Alternate Number:

INVOICE NUMBER

DATES
Invoice Date: 02/14/2025
Due Date:

REFERENCE
Internal Order #:
Lender Case #:
Client File #:
FHA/VA Case #:
Main File # on form: 263-01743
Other File # on form:
Federal Tax ID:
Employer ID:

DESCRIPTION

Lender: CROSSCOUNTRY MORTGAGE,LLC **Client:** UNITED MORTGAGE CORP
Purchaser/Borrower: Adriana K DaCunha & Hailey Thompson
Property Address: 25 Gores Dr
City: Mastic
County: SUFFOLK **State:** NY **Zip:** 11950
Legal Description: DISTRICT:200, SECTION:823.00,BLK:6,LOT:16.000

FEES	AMOUNT
FULL FHA RESIDENTIAL APPRAISAL	375.00
SUBTOTAL	375.00

PAYMENTS			AMOUNT
Check #:	**Date:**	**Description:**	
Check #:	**Date:**	**Description:**	
Check #:	**Date:**	**Description:**	
		SUBTOTAL	
		TOTAL DUE	$ 375.00

Serial# 7008D220
esign.alamode.com/verify