APPRAISAL OF REAL PROPERTY

LOCATED AT

674/678 SE 11th Ave
Hillsboro, OR 97123
BONNIE ADDITION TO HILLSBORO OREGON LOT 17 ACRES 0.20

FOR

EASY STREET CAPITAL, LLC
3232 E. Cesar Chavez St., Suite 1-320
Austin, TX 78702

OPINION OF VALUE

575,000

AS OF

12/08/2025

BY

CHRIS L WILLIS
Mahon & Rutledge Appraisal Group
340 E SUNSET WAY, SUITE 201
Issaquah, WA 98027
(425) 454-4100
cwillis@mahonandrutledge.com

Supplemental Addendum

File No. 48171776563

Borrower/Client	Benjamin Artaiz						
Property Address	674/678 SE 11th Ave						
City	Hillsboro	County	Washington	State	OR	Zip Code	97123
Lender	EASY STREET CAPITAL, LLC						

THIS IS A CORRECTED / REVISED APPRAISAL REPORT (3rd Request)

THIS ORIGINAL APPRAISAL REPORT HAS A SIGNATURE DATE OF 12/10/2025 AND FIRST REVISION DATED 12/11/2025 AND 2ND REVISION SIGNED ON 03/06/2026. AFTER DELIVERY, THE APPRAISER WAS REQUESTED TO MAKE A CORRECTION TO THE ORIGINAL APPRAISAL TO INCLUDE THE FOLLOWING, AND THESE REVISIONS HAVE BEEN INCORPORATED INTO THIS REPORT:

1. Area in the site section should match the uploaded partition plat. Confirm that site value is same accurate / or update
2. Appraiser to confirm value is excluding the SFR and land belonging to that parcel.
3. Please update the Legal description to match the uploaded title.

Appraiser Response:

1. The partition plat was not available as of the effective date of this original appraisal. It has been updated as requested. Site value has been updated to reflect the now available data.

2. Confirmed. The neighboring SFR is not included the overall valuation as is evidenced by it not being included in the sketch, not listed or adjusted for on the sales comparison grid or cost approach and not mentioned as being included in the improvements section.
The site value and adjustments have been ammended to reflect the new site size which was not available as of the effective date of the original appraisal. No change to the overall valuation.

3. The legal description utilized in the original report was accurate as of the effective date of this appraisal as provided by county records. The legal description below is the new legal description after the parcel partition was complete. (Per provided title report)
Parcel 1, Partition Plat 2026-005, in the City of Hillsboro, County of Washington and State of Oregon

THIS IS A CORRECTED / REVISED APPRAISAL REPORT (2nd Request)

THIS ORIGINAL APPRAISAL REPORT HAS A SIGNATURE DATE OF 12/10/2025 AND FIRST REVISION DATED 12/11/2025. AFTER DELIVERY, THE APPRAISER WAS REQUESTED TO MAKE A CORRECTION TO THE ORIGINAL APPRAISAL TO INCLUDE THE FOLLOWING, AND THESE REVISIONS HAVE BEEN INCORPORATED INTO THIS REPORT:

1.Please update Owner of Public Record name must exactly match current vesting name in TC. If OPR name does not fit, include full name in addendum. Andre Paul Simmons, Successor Trustee of the Edward James Simmons and Anita Simmons Revocable Living Trust.
2.Please indicate if transaction is Arm's length in the Contract section.
3.Please include commentary if subject's heating type for both units 'Wall/Electric' is a permanent affixed continuous heat source, typical, and no impact on marketability.
4.On Subject lease dates line in the Comparable Rental Data section, please indicate 'See below' to refer on Subject Rent Schedule.
5.All Comp Rentals need to be active. Please include commentary if lease dates are MTM/Annual or if unknown, Subject's market rent is based on long term rentals.
6.Please update Subject lease dates for both units to match lease agreements Unit 1 - 2/27/2020-MTM and Unit 2 - 4/1/2025-3/31/2026.
7.The Unfurnished rents noted for Unit 1 and 2 do no match the Total Rents in the Opinion of Market Rent section. Please update.
8.Please provide commentary on use of Comp Sale 2 with Date of Sale over six months.
9.1004MC: A total of 0.0% were reported to have seller concessions. please comment on Comp Sale 2 reflects a concession of $10,000 with no adjustments.
10.Please update Expiration date to match lease agreement for Unit 1 - MTM and Unit 2 - 3/31/2026 in the 216 Operating Income Statement.
11.Subject Rear Unit 678: Please provide comment if wires hanging on subject rear's soffit is a safety concern.

Appraiser Response:

1. A copy of the title report was not originally provided to the appraiser. In the original report the owner of public record was obtained from county records as that was the best available data. The appraiser has now been provided a copy of the Title Report which is dated 03/06/2026 (after the effective date of this appraisal). As requested the Owner of Public record has been updated it is not known if this data was accurate as of the effective date of this appraisal.
2. Done.
3. If the heat sources were not permanently affixed they would be considered personal property and not included in the report. Additionally, if this was the case the report would have indicated there is no heat source for either unit. Wall / baseboard heaters are common and typical in most areas across the

Borrower/Client	Benjamin Artaiz						
Property Address	674/678 SE 11th Ave						
City	Hillsboro	County	Washington	State	OR	Zip Code	97123
Lender	EASY STREET CAPITAL, LLC						

nation. They are considered typical for and acceptable with the subject's marketplace as well.
4. Done.
5. Requested comment has been copied and pasted to Comparable Rental Data comments.
6. Lease agreements were not originally provided to the appraiaser and not reveiwed. Based on newly provided documents the subject lease info has been updated.
7. Done
8. As the orignal comment of Comp 2 being a dated sale (beyond 6 months) was no sufficient additional commentary reiterating Comp 2 is a dated sale has been added. It is noted the original Engagement Letter provided to the appraiser does not indicate all comparables must have COEs within six months.
9. The 1004MC form is widely regarded as not being the best indicator of actual market activity. The data reported in the form is only as good as the available data from RMLS. The concession data from RMLS is only as good as the data manually inputed by the real estate agents who enter the data when closing the listing. With that said the the form has been corrected to reflect 0.06% as the reflects the most accurate information. No adjustment was made as not enough market data was available to determine if an adjustment was supported.
10. Done. Again, the lease data was not originally provided to the appraiser. If this data is required in future assignments it is critical the appraiser is provided to the appraiser at time the order is placed.
11. The subject property was inspected by the appraiser over 3 months ago and the appraiser is unable to recall the details of those wires. However, they were not called out as a safety concern at the time. It is noted the appraiser is not a wire expert. If the underwriter has their own concerns about the wires it is recommended a licensed professional with the expertise be contacted for inspection.

THIS IS A CORRECTED / REVISED APPRAISAL REPORT (1st Request)

THIS ORIGINAL APPRAISAL REPORT HAS A SIGNATURE DATE OF 12/10/2025. AFTER DELIVERY, THE APPRAISER WAS REQUESTED TO MAKE A CORRECTION TO THE ORIGINAL APPRAISAL TO INCLUDE THE FOLLOWING, AND THESE REVISIONS HAVE BEEN INCORPORATED INTO THIS REPORT:

The submitted order report was not approved and a revision is requested with the following reason:

1.Please provide all rental comps photos in the report.
2.The subject GLA noted in the improvements section and sales grid does not match with the sketch, please revise.
3.Please provide photos for the labels on page 29 and 30 on the report.
4.Please remove blank pages # 31-34 from the report.
5.The improvements section shows the subject has attach-garage; however, the sketch shows the subject has an in-build garage, Please revise.
6.Per the address, rental comp# 1 and comparable sale# 2 are the same properties however the Age reflects differently, please revise.
7.Per the address, rental comp# 3 and comparable sale# 2 are the same properties however the GLA reflects differently, please revise.

Appraiser Response:

1. Rental comp photos have been added.
2. GLA has been corrected to match the sketch.
3. Photo labels have been corrected
4. Extra blank pages have been removed.
5. Garage label has been corrected.
6. Both reflect an age of 45. No correction needed.
7. GLA has been corrected to match county records.

Small Residential Income Property Appraisal Report

R25-004052
File # 48171776563

The purpose of this summary appraisal report is to provide the lender/client with an accurate, and adequately supported, opinion of the market value of the subject property.

SUBJECT

Property Address 674/678 SE 11th Ave | City Hillsboro | State OR | Zip Code 97123
Borrower Benjamin Artaiz | Owner of Public Record See Addendum. | County Washington
Legal Description BONNIE ADDITION TO HILLSBORO OREGON LOT 17 ACRES 0.20
Assessor's Parcel # R326178 | Tax Year 2024 | R.E. Taxes $ 4,270.2
Neighborhood Name Hillsboro | Map Reference 38900 | Census Tract 0324.09
Occupant ☐ Owner ☒ Tenant ☐ Vacant | Special Assessments $ 0 | ☐ PUD HOA $ 0 ☐ per year ☐ per month
Property Rights Appraised ☒ Fee Simple ☐ Leasehold ☐ Other (describe)
Assignment Type ☒ Purchase Transaction ☐ Refinance Transaction ☐ Other (describe)
Lender/Client EASY STREET CAPITAL, LLC | Address 3232 E. Cesar Chavez St., Suite 1-320, Austin, TX 78702
Is the subject property currently offered for sale or has it been offered for sale in the twelve months prior to the effective date of this appraisal? ☒ Yes ☐ No
Report data source(s) used, offering price(s), and date(s). The subject was offered for sale on 10/25/2025 for $589,000, per RMLS #745855568. The most recent list price is $589,000 and the subject is now under contract with an MLS contract date of 11/05/2025.

CONTRACT

I ☒ did ☐ did not analyze the contract for sale for the subject purchase transaction. Explain the results of the analysis of the contract for sale or why the analysis was not performed. PER CONTRACT DATED ON 11/01/2025 THE SALES PRICE IS $575,000. Arm's Length Transaction.

Contract Price $ 575,000 | Date of Contract 11/01/2025 | Is the property seller the owner of public record? ☒ Yes ☐ No | Data Source(s) County Recs
Is there any financial assistance (loan charges, sale concessions, gift or downpayment assistance, etc.) to be paid by any party on behalf of the borrower? ☐ Yes ☒ No
If Yes, report the total dollar amount and describe the items to be paid.

NEIGHBORHOOD

Note: Race and the racial composition of the neighborhood are not appraisal factors.

Neighborhood Characteristics			2–4 Unit Housing Trends				2–4 Unit Housing			Present Land Use %	
Location	☐ Urban	☒ Suburban	☐ Rural	Property Values	☐ Increasing	☒ Stable	☐ Declining	PRICE	AGE	One-Unit	75 %
Built-Up	☐ Over 75%	☒ 25-75%	☐ Under 25%	Demand/Supply	☒ Shortage	☐ In Balance	☐ Over Supply	$ (000)	(yrs)	2-4 Unit	5 %
Growth	☐ Rapid	☒ Stable	☐ Slow	Marketing Time	☒ Under 3 mths	☐ 3-6 mths	☐ Over 6 mths	250 Low	0	Multi-Family	5 %
								3,500 High	125	Commercial	10 %
								525 Pred.	50	Other	5 %

Neighborhood Boundaries NORTH BY HWY 26, EAST BY NE CORNELIUS PASS RD, SOUTH BY TUALATIN VALLEY HWY AND WEST BY E ST.

Neighborhood Description NEIGHBORHOOD CONSISTS OF Q4-Q5 QUALITY MIXED STYLE AND AGE SFR'S WITH MIX OF MULTI-FAMILY PROPERTIES AND COMMERCIAL PROPERTIES ALONG MAJOR ROADWAYS. AREA HAS ACCESS TO MAJOR ARTERIALS WITH EMPLOYMENT CENTERS IN PORTLAND VANCOUVER METRO AREA. SCHOOLS AS WELL AS REMAINING SUPPORT SERVICES ARE IN THE NEIGHBORHOOD.

Market Conditions (including support for the above conclusions) SEE ADDENDUM

SITE

Dimensions 83.13x60.39x83.05x30.02 | Area 5,020 sf | Shape RECTANGULAR | View N;Res;
Specific Zoning Classification SCR-MD | Zoning Description Station Community Residential - Medium Density
Zoning Compliance ☒ Legal ☐ Legal Nonconforming (Grandfathered Use) ☐ No Zoning ☐ Illegal (describe)
Is the highest and best use of subject property as improved (or as proposed per plans and specifications) the present use? ☒ Yes ☐ No If No, describe SEE ADDENDUM

Utilities	Public	Other (describe)		Public	Other (describe)	Off-site Improvements – Type	Public	Private
Electricity	☒	☐	Water	☒	☐	Street Asphalt	☒	☐
Gas	☐	☐ None	Sanitary Sewer	☒	☐	Alley NONE	☐	☐

FEMA Special Flood Hazard Area ☐ Yes ☒ No | FEMA Flood Zone X | FEMA Map # 41067C0338E | FEMA Map Date 11/4/2016
Are the utilities and/or off-site improvements typical for the market area? ☒ Yes ☐ No If No, describe
Are there any adverse site conditions or external factors (easements, encroachments, environmental conditions, land uses, etc.)? ☒ Yes ☐ No If Yes, describe SEE ADDENDUM

IMPROVEMENTS

General Description			Foundation			Exterior Description	materials/condition	Interior	materials/condition
Units	☒ Two	☐ Three ☐ Four	☐ Concrete Slab	☒ Crawl Space		Foundation Walls	CONCRETE / C3	Floors	LVP/CPT/C3
☐ Accessory Unit (describe below)			☐ Full Basement	☐ Partial Basement		Exterior Walls	WOOD / C3	Walls	DW /C3
# of Stories 1	# of bldgs. 1		Basement Area	0 sq.ft.		Roof Surface	COMP/ C3	Trim/Finish	WD / C3
Type	☒ Det.	☐ Att. ☐ S-Det./End Unit	Basement Finish	0 %		Gutters & Downspouts	METAL / C3	Bath Floor	LVP / C3
☒ Existing	☐ Proposed	☐ Under Const.	☐ Outside Entry/Exit	☐ Sump Pump		Window Type	INSUL /C3	Bath Wainscot	FG/ C3
Design (Style)	1;Duplex		Evidence of	☐ Infestation		Storm Sash/Insulated	NONE	**Car Storage**	
Year Built	1951		☐ Dampness	☐ Settlement		Screens	Yes / C3	☐ None	
Effective Age (Yrs)	15		**Heating/Cooling**			**Amenities**		☒ Driveway	# of Cars 2
Attic	☐ None		☐ FWA	☐ HWBB	☐ Radiant	☐ Fireplace(s) # 0	☐ Woodstove(s) #	Driveway Surface	Concrete
☐ Drop Stair	☐ Stairs		☒ Other Wall	Fuel ELECTRIC		☒ Patio/Deck Uncov	☒ Fence Wood	☒ Garage	# of Cars 2
☐ Floor	☒ Scuttle		Cooling	☐ Central Air Conditioning		☐ Pool None	☐ Porch None	☐ Carport	# of Cars 0
☐ Finished	☐ Heated		☐ Individual	☐ Other		☐ Other		☒ Att.	☐ Det. ☐ Built-in

# of Appliances	Refrigerator 2	Range/Oven 2	Dishwasher 2	Disposal 2	Microwave 2	Washer/Dryer 2	Other (describe)

Unit # 1 contains:	5 Rooms	2 Bedrooms	1.0 Bath(s)	804 Square Feet of Gross Living Area	
Unit # 2 contains:	5 Rooms	2 Bedrooms	1.0 Bath(s)	823 Square Feet of Gross Living Area	
Unit # 3 contains:	Rooms	Bedrooms	Bath(s)	Square Feet of Gross Living Area	
Unit # 4 contains:	Rooms	Bedrooms	Bath(s)	Square Feet of Gross Living Area	

Additional features (special energy efficient items, etc.). NONE

Describe the condition of the property (including needed repairs, deterioration, renovations, remodeling, etc.). SEE ADDENDUM

Small Residential Income Property Appraisal Report

R25-004052
File # 48171776563

IMPROVEMENTS

Are there any physical deficiencies or adverse conditions that affect the livability, soundness, or structural integrity of the property? ☐ Yes ☒ No If Yes, describe.

NONE NOTED

Does the property generally conform to the neighborhood (functional utility, style, condition, use, construction, etc.)? ☒ Yes ☐ No If No, describe.

Is the property subject to rent control? ☐ Yes ☒ No If Yes, describe

COMPARABLE RENTAL DATA

The following properties represent the most current, similar, and proximate comparable rental properties to the subject property. This analysis is intended to support the opinion of the market rent for the subject property.

FEATURE	SUBJECT	COMPARABLE RENTAL # 1	COMPARABLE RENTAL # 2	COMPARABLE RENTAL # 3
Address	674/678 SE 11th Ave Hillsboro, OR 97123	2082/2080 NE Darby St Hillsboro, OR 97124	710 NE 69th Ave Hillsboro, OR 97124	1925 NE Darby St Hillsboro, OR 97124
Proximity to Subject		1.43 miles NE	3.13 miles E	1.43 miles NE
Current Monthly Rent	$ 2,970	$ 3,250	$ 3,050	$ 4,000
Rent/Gross Bldg. Area	$ 1.83 sq.ft.	$ 1.64 sq.ft.	$ 1.84 sq.ft.	$ 2.03 sq.ft.
Rent Control	☐ Yes ☒ No	☐ Yes ☒ No	☐ Yes ☒ No	☐ Yes ☒ No
Data Source(s)	Visual,Cnty Recs	MLS, County Records, Visual	MLS, County Records, Visual	MLS, County Records, Visual
Date of Lease(s)	See Below	08/21/2025 (MLS LIST DATE)	05/23/2025 (MLS LIST DATE)	12/11/2024 (MLS LIST DATE)
Location	A;BsyRd;	A;Airport	A;BsyRd;	A;Airport
Actual Age	74	45	62	45
Condition	C3	C4	C4	C3
Gross Building Area	1,619	1,980	1,656	1,968

Unit Breakdown	Rm Count Tot	Br	Ba	Size Sq. Ft.	Rm Count Tot	Br	Ba	Size Sq. Ft.	Monthly Rent	Rm Count Tot	Br	Ba	Size Sq. Ft.	Monthly Rent	Rm Count Tot	Br	Ba	Size Sq. Ft.	Monthly Rent
				1,627				1,980	3,250				1,656	3,050				1,968	4,000
Unit # 1	5	2	1.0	804	5	2	1.0	990	$ 1,500	5	2	1.0	828	$ 1,525	5	2	1.0	984	$ 2,000
Unit # 2	5	2	1.0	823	5	2	1.0	990	$ 1,750	5	2	1.0	828	$ 1,525	5	2	1.0	984	$ 2,000
Unit # 3									$					$					$
Unit # 4									$					$					$

Utilities Included	Water, Sewer	Water, Sewer	Water, Sewer	Water, Sewer
PARKING	1 Gar,1Open/Unit	1 Gar,1Open/Unit	2 Carport/Unit	1 Gar,1Open/Unit

Analysis of rental data and support for estimated market rents for the individual subject units reported below (including the adequacy of the comparables, rental concessions, etc.) THE MARKET RENT FOR THE SUBJECT UNITS IS ESTIMATED AT $1700 / MONTH. ALL COMPS WERE TAKEN INTO CONSIDERATION

Lease dates terms are unknown, Subject's market rent is based on long term rentals.

SUBJECT RENT SCHEDULE

Rent Schedule: The appraiser must reconcile the applicable indicated monthly market rents to provide an opinion of the market rent for each unit in the subject property.

Leases			Actual Rents			Opinion of Market Rent		
	Lease Date		Per Unit		Total Rents	Per Unit		Total Rents
Unit #	Begin Date	End Date	Unfurnished	Furnished		Unfurnished	Furnished	
1	02/27/2020	MO	$ 1,450	$	$ 1,450	$ 1,700	$	$ 1,700
2	04/1/2025	03/31/2026	1,520		1,520	1,700		1,700
3								
4								

Comment on lease data	Both units have been occupied by the same tenants for 1-2 years.	Total Actual Monthly Rent	$ 2,970	Total Gross Monthly Rent	$ 3,400
		Other Monthly Income (itemize)	$ 0	Other Monthly Income (itemize)	$
		Total Actual Monthly Income	$ 2,970	Total Estimated Monthly Income	$ 3,400

Utilities included in estimated rents ☐ Electric ☐ Water ☐ Sewer ☐ Gas ☐ Oil ☐ Trash collection ☐ Cable ☐ Other

Comments on actual or estimated rents and other monthly income (including personal property) BOTH UNITS HAVE LONG TERM TENANTS OCCUPYING EACH UNITS. RENTS APPEAR TO BE SLIGHTLY BELOW CURRENT MARKET RENTS.

PRIOR SALE HISTORY

I ☒ did ☐ did not research the sale or transfer history of the subject property and comparable sales. If not, explain

My research ☐ did ☒ did not reveal any prior sales or transfers of the subject property for the three years prior to the effective date of this appraisal.

Data Source(s) Realist

My research ☒ did ☐ did not reveal any prior sales or transfers of the comparable sales for the year prior to the date of sale of the comparable sale.

Data Source(s) Realist

Report the results of the research and analysis of the prior sale or transfer history of the subject property and comparable sales (report additional prior sales on page 3).

ITEM	SUBJECT	COMPARABLE SALE # 1	COMPARABLE SALE # 2	COMPARABLE SALE # 3
Date of Prior Sale/Transfer	N/A	N/A	10/08/2025	N/A
Price of Prior Sale/Transfer	N/A	N/A	575,000	N/A
Data Source(s)	Realist	Realist	Realist	Realist
Effective Date of Data Source(s)	12/08/2025	12/05/2025	04/07/2025	12/05/2025

Analysis of prior sale or transfer history of the subject property and comparable sales NO PRIOR SALE OF THE SUBJECT IN PAST 3 YEARS OR COMPS OR COMPS 1-3 IN PAST YEAR.

Form 1025 - "TOTAL" appraisal software by a la mode, inc. - 1-800-ALAMODE

Small Residential Income Property Appraisal Report

R25-004052
File # 48171776563

There are 1 comparable properties currently offered for sale in the subject neighborhood ranging in price from $ 589,000 to $ 589,000 .

There are 18 comparable sales in the subject neighborhood within the past twelve months ranging in sale price from $ 501,000 to $ 750,000 .

SALES COMPARISON APPROACH

FEATURE	SUBJECT	COMPARABLE SALE # 1		COMPARABLE SALE # 2		COMPARABLE SALE # 3	
Address	674/678 SE 11th Ave Hillsboro, OR 97123	1428 NE Thomas Ct Hillsboro, OR 97124		1925 NE Darby St Hillsboro, OR 97124		856 NW Val Ct Hillsboro, OR 97124	
Proximity to Subject		1.54 miles N		1.43 miles NE		1.42 miles NW	
Sale Price	$ 575,000		$ 660,000		$ 575,000		$ 534,000
Sale Price/Gross Bldg. Area	$ 355.16 sq.ft.	$ 250.76 sq.ft.		$ 292.17 sq.ft.		$ 322.46 sq.ft.	
Gross Monthly Rent	$ 3,400	$ 4,190		$ 4,200		$ 3,600	
Gross Rent Multiplier	169.12	157.52		136.90		148.33	
Price per Unit	$ 287,500	$ 330,000		$ 287,500		$ 267,000	
Price per Room	$ 57,500	$ 55,000		$ 57,500		$ 53,400	
Price per Bedroom	$ 143,750	$ 110,000		$ 143,750		$ 133,500	
Rent Control	☐ Yes ☒ No	☐ Yes ☒ No		☐ Yes ☒ No		☐ Yes ☒ No	
Data Source(s)		RMLS #750604605;DOM 2		RMLS #24599850;DOM 117		RMLS #394602759;DOM 95	
Verification Source(s)		Doc #16876/APN R2075978		Doc #/APN R712027		Doc #/APN R758745	
VALUE ADJUSTMENTS	DESCRIPTION	DESCRIPTION	+(–) Adjustment	DESCRIPTION	+(–) Adjustment	DESCRIPTION	+(–) Adjustment
Sale or Financing Concessions		ArmLth FHA;0		ArmLth UNK;$10,000		ArmLth FHA;0	
Date of Sale/Time		s04/25;c03/25		s01/25;c12/24		s11/25;c09/25	
Location	A;BsyRd;	A;Airport	0	A;Airport	0	A;RailRoad	0
Leasehold/Fee Simple	Fee Simple	Fee Simple		Fee Simple		Fee Simple	
Site	5,020 sf	8276 sf	-6,500	6534 sf	0	11761 sf	-13,500
View	N;Res;	N;Res;		N;Res;		N;Res;	
Design (Style)	1;Duplex	2;Duplex		1;Duplex		1;Duplex	
Quality of Construction	Q4	Q4		Q4		Q4	
Actual Age	74	26	0	45	0	52	0
Condition	C3	C3		C3		C4	+45,000
Gross Building Area	1,619	2,632	0	1,968		1,656	0
Unit Breakdown	Total / Bdrms / Baths	Total / Bdrms / Baths		Total / Bdrms / Baths		Total / Bdrms / Baths	
Unit # 1	5 / 2 / 1.0	6 / 3 / 1.1	-40,000	5 / 2 / 1.0		5 / 2 / 1.0	
Unit # 2	5 / 2 / 1.0	6 / 3 / 1.1	-40,000	5 / 2 / 1.0		5 / 2 / 1.0	
Unit # 3							
Unit # 4							
Basement Description	0	0		0		0	
Basement Finished Rooms	0	0		0		0	
Functional Utility	Typical	Typical		Average		Typical	
Heating/Cooling	Wall/No AC	Wall/No AC		FAU/No AC		FAU/No AC	
Energy Efficient Items	Windows	Windows		Windows		Windows	
Parking On/Off Site	2Gar/2dw	2Gar/4dw	0	2Gar/4dw		2Carport	+10,000
Porch/Patio/Deck	Patio	Patio		Patio/Porch	0	Patio	
Amenities	None	None		FP	0	FP	
Close of Escrow	n/a	04/17/2025		01/24/2025		11/26/2025	
Net Adjustment (Total)		☐ + ☒ –	$ -86,500	☐ + ☐ –	$ 0	☒ + ☐ –	$ 41,500
Adjusted Sale Price of Comparables		Net Adj. 13.1 % Gross Adj. 13.1 %	$ 573,500	Net Adj. 0.0 % Gross Adj. 0.0 %	$ 575,000	Net Adj. 7.8 % Gross Adj. 12.8 %	$ 575,500
Adjusted Price Per Unit (Adj. SP Comp / # of Comp Units)		$ 286,750		$ 287,500		$ 287,750	
Adjusted Price Per Room (Adj. SP Comp / # of Comp Rooms)		$ 47,792		$ 57,500		$ 57,550	
Adjusted Price Per Bedrm (Adj. SP Comp / # of Comp Bedrooms)		$ 95,583		$ 143,750		$ 143,875	

Value per Unit $ 280,000 X 2 Units = $ 560,000 | Value per GBA $ 315 X 1,619 GBA = $ 509,985

Value per Rm. $ 55,000 X 10 Rooms = $ 550,000 | Value per Bdrms. $ 135,000 X 4 Bdrms. = $ 540,000

Summary of Sales Comparison Approach including reconciliation of the above indicators of value. Researched parameters for substitute properties including sales and/or listings with transaction dates within 12 months of the effective date, located within 6 miles of the subject. GBA range was 1500-2400 sf, lot size was 0.1-0.75 acre and age was not defined.

Indicated Value by Sales Comparison Approach $ 575,000

INCOME

Total gross monthly rent $ 3,400 X gross rent multiplier (GRM) 150 = $ 510,000 Indicated value by the Income Approach

Comments on income approach including reconciliation of the GRM

RECONCILIATION

Indicated Value by: Sales Comparison Approach $ 575,000 **Income Approach $** 510,000 **Cost Approach (if developed) $** 547,403

WEIGHT TO THE SALES COMPARISON APPROACH AS IT IS THE BEST INDICATOR OF VALUE OF TYPICAL BUYERS/ INVESTORS AND SELLERS OF RESIDENTIAL PROPERTIES. MOST WEIGHT GIVEN TO COMPS 1 AND 2 AS THEY ARE THE MOST SIMILAR IN CONDITION AS THE SUBJECT. THIS SALE COMPARISON APPROACH IS ALSO SUPPORTED BY THE COST APPROACH AND INCOME APPROACH.

This appraisal is made ☐ "as is", ☐ subject to completion per plans and specifications on the basis of a hypothetical condition that the improvements have been completed, ☒ subject to the following repairs or alterations on the basis of a hypothetical condition that the repairs or alterations have been completed, or ☐ subject to the following required inspection based on the extraordinary assumption that the condition or deficiency does not require alteration or repair: Subject repair items not yet complete in repair addendum. 2. City's final approval of plat partition. See reconciliation section of addendum and attached repair contract addendum for further reference.

Based on a complete visual inspection of the interior and exterior areas of the subject property, defined scope of work, statement of assumptions and limiting conditions, and appraiser's certification, my (our) opinion of the market value, as defined, of the real property that is the subject of this report is $ 575,000 **, as of** 12/08/2025 **, which is the date of inspection and the effective date of this appraisal.**

Form 1025 - "TOTAL" appraisal software by a la mode, inc. - 1-800-ALAMODE

Small Residential Income Property Appraisal Report

R25-004052
File # 48171776563

SALES COMPARISON APPROACH

FEATURE	SUBJECT	COMPARABLE SALE # 4		COMPARABLE SALE # 5		COMPARABLE SALE # 6	
Address	674/678 SE 11th Ave Hillsboro, OR 97123	580 NE 69th Ave Hillsboro, OR 97124		2082 NE Darby St # 2080 Hillsboro, OR 97124			
Proximity to Subject		3.12 miles E		1.43 miles NE			
Sale Price	$ 575,000		$ 540,000		$ 525,000		$
Sale Price/Gross Bldg. Area	$ 353.00 sq.ft.	$ 329.27 sq.ft.		$ 265.15 sq.ft.		$ sq.ft.	
Gross Monthly Rent	$ 3,400	$ 3,190		$ 3,250		$	
Gross Rent Multiplier	169.12	169.28		161.54			
Price per Unit	$ 287,500	$ 270,000		$ 262,500		$	
Price per Room	$ 57,500	$ 54,000		$ 52,500		$	
Price per Bedroom	$ 143,750	$ 135,000		$ 131,250		$	
Rent Control	☐ Yes ☒ No	☐ Yes ☒ No		☐ Yes ☒ No		☐ Yes ☐ No	
Data Source(s)		RMLS #748946400;DOM 24		RMLS #207971084;DOM 7			
Verification Source(s)		Doc #/APN R727093		Realist/APN R712081			
VALUE ADJUSTMENTS	DESCRIPTION	DESCRIPTION	+(–) Adjustment	DESCRIPTION	+(–) Adjustment	DESCRIPTION	+(–) Adjustment
Sale or Financing Concessions		ArmLth Conv;0		Listing FHA;0			
Date of Sale/Time		s09/25;c06/25		c08/25			
Location	A;BsyRd;	A;BsyRd;		A;Airport	0		
Leasehold/Fee Simple	Fee Simple	Fee Simple		Fee Simple			
Site	5,020 sf	29621	-49,200	6970 sf			
View	N;Res;	N;Res;		N;Res;			
Design (Style)	1;Duplex	1;Duplex		1;Duplex			
Quality of Construction	Q4	Q4		Q4			
Actual Age	74	61	0	45			
Condition	C3	C4	+45,000	C4	+45,000		
Gross Building Area	1,627	1,640	0	1,980			
Unit Breakdown	Total / Bdrms / Baths	Total / Bdrms / Baths		Total / Bdrms / Baths		Total / Bdrms / Baths	
Unit # 1	5 / 2 / 1.0	5 / 2 / 1.0		5 / 2 / 1.0			
Unit # 2	5 / 2 / 1.0	5 / 2 / 1.0		5 / 2 / 1.0			
Unit # 3							
Unit # 4							
Basement Description	0	0		0			
Basement Finished Rooms	0	0		0			
Functional Utility	Typical	Typical		Typical			
Heating/Cooling	Wall/No AC	FAU/No AC		FAU/UNK			
Energy Efficient Items	Windows	Windows		Windows			
Parking On/Off Site	2Gar/2dw	3dw	+20,000	2Gar/2dw			
Porch/Patio/Deck	Patio	Patio		Patio			
Amenities	None	None		FP			
Close of Escrow	n/a	09/30/2025		LP/SP RATIO 0%	0		
Net Adjustment (Total)		☒ + ☐ –	$ 15,800	☒ + ☐ –	$ 45,000	☐ + ☐ –	$
Adjusted Sale Price of Comparables		Net Adj. 2.9 % Gross Adj. 21.1 %	$ 555,800	Net Adj. 8.6 % Gross Adj. 8.6 %	$ 570,000	Net Adj. % Gross Adj. %	$
Adjusted Price Per Unit (Adj. SP Comp / # of Comp Units)		$ 277,900		$ 285,000		$	
Adjusted Price Per Room (Adj. SP Comp / # of Comp Rooms)		$ 55,580		$ 57,000		$	
Adjusted Price Per Bedrm (Adj. SP Comp / # of Comp Bedrooms)		$ 138,950		$ 142,500		$	

SALE HISTORY

Report the results of the research and analysis of the prior sale or transfer history of the subject property and comparable sales (report additional prior sales on page 3).

ITEM	SUBJECT	COMPARABLE SALE # 4	COMPARABLE SALE # 5	COMPARABLE SALE # 6
Date of Prior Sale/Transfer	N/A	N/A	10/24/2025	
Price of Prior Sale/Transfer	N/A	N/A	500,000	
Data Source(s)	Realist	Realist	Realist	
Effective Date of Data Source(s)	12/08/2025	12/09/2025	12/05/2025	

Analysis of prior sale or transfer history of the subject property and comparable sales SEE PRIOR SALES ADDENDUM

ANALYSIS / COMMENTS

Analysis/Comments SEE ADDENDUM

Form 1025.(AC) - "TOTAL" appraisal software by a la mode, inc. - 1-800-ALAMODE

ADDITIONAL COMMENTS

FIRREA Certification Statement

The appraiser certifies and agrees that this appraisal report was prepared in accordance with the requirements of Title XI of the Financial Institutions, Reform, Recovery, and Enforcement Act (FIRREA) of 1989, as amended (12 U.S.C. 3331 et seq.), and any applicable implementing regulations in effect at the time the appraiser signs the appraisal certification.

USPAP 3 YEAR DISCLOSURE:

I HAVE NOT PERFORMED SERVICES, AS AN APPRAISER OR IN ANY OTHER CAPACITY, REGARDING THE PROPERTY THAT IS THE SUBJECT OF THIS REPORT WITHIN THE THREE YEAR PERIOD IMMEDIATELY PRECEDING ACCEPTANCE OF THIS ASSIGNMENT

ANSI Declaration: A 1 story duplex, DETACHED with 1,619 total above-grade finished square feet and 0 below-grade finished square feet and 0 below-grade unfinished square feet.

EXPOSURE TIME:

THE OPINION OF THE VALUE EXPRESSED IN THIS REPORT IS BASED ON THE HYPOTHETICAL CONDITION THAT THE SUBJECT IS BEING SOLD AS OF THE EFFECTIVE DATE OF THE APPRAISAL. AS PER USPAP (2012-2013) STANDARDS RULE 1-2(c), THE OPINION OF REASONABLE EXPOSURE TIME FOR THE SUBJECT PROPERTY IS: __0-3___ MONTHS

COST APPROACH

COST APPROACH TO VALUE (not required by Fannie Mae)

Provide adequate information for the lender/client to replicate the below cost figures and calculations.

Support for the opinion of site value (summary of comparable land sales or other methods for estimating site value) SEE ADDENDUM

ESTIMATED ☐ REPRODUCTION OR ☒ REPLACEMENT COST NEW	OPINION OF SITE VALUE			=$	199,999
Source of cost data DWELLING COST	DWELLING	1,619 Sq.Ft. @ $	203.57	=$	329,580
Quality rating from cost service 4.5 Effective date of cost data 7/15/2025		0 Sq.Ft. @ $		=$	
Comments on Cost Approach (gross building area calculations, depreciation, etc.)	Patio			=$	7,600
Total economic life (60 years) less effective age (15Years) equal	Garage/Carport	390 Sq.Ft. @ $	66.73	=$	26,025
remaining economic life below.	Total Estimate of Cost-New			=$	363,205
	Less Physical	Functional	External		
	Depreciation 90,801			=$(	90,801)
	Depreciated Cost of Improvements			=$	272,404
	"As-is" Value of Site Improvements			=$	75,000
Estimated Remaining Economic Life (HUD and VA only) 45 Years	**INDICATED VALUE BY COST APPROACH**			**=$**	547,403

PUD INFORMATION

PROJECT INFORMATION FOR PUDs (if applicable)

Is the developer/builder in control of the Homeowners' Association (HOA)? ☐ Yes ☐ No Unit type(s) ☐ Detached ☐ Attached

Provide the following information for PUDs ONLY if the developer/builder is in control of the HOA and the subject property is an attached dwelling unit.

Legal Name of Project

Total number of phases | Total number of units | Total number of units sold

Total number of units rented | Total number of units for sale | Data source(s)

Was the project created by the conversion of existing building(s) into a PUD? ☐ Yes ☐ No If Yes, date of conversion.

Does the project contain any multi-dwelling units? ☐ Yes ☐ No Data Source

Are the units, common elements, and recreation facilities complete? ☐ Yes ☐ No If No, describe the status of completion.

Are the common elements leased to or by the Homeowners' Association? ☐ Yes ☐ No If Yes, describe the rental terms and options.

Describe common elements and recreational facilities.

Form 1025 - "TOTAL" appraisal software by a la mode, inc. - 1-800-ALAMODE

This report form is designed to report an appraisal of a two- to four-unit property, including a two- to four-unit property in a planned unit development (PUD). A two- to four-unit property located in either a condominium or cooperative project requires the appraiser to inspect the project and complete the project information section of the Individual Condominium Unit Appraisal Report or the Individual Cooperative Interest Appraisal Report and attach it as an addendum to this report.

This appraisal report is subject to the following scope of work, intended use, intended user, definition of market value, statement of assumptions and limiting conditions, and certifications. Modifications, additions, or deletions to the intended use, intended user, definition of market value, or assumptions and limiting conditions are not permitted. The appraiser may expand the scope of work to include any additional research or analysis necessary based on the complexity of this appraisal assignment. Modifications or deletions to the certifications are also not permitted. However, additional certifications that do not constitute material alterations to this appraisal report, such as those required by law or those related to the appraiser's continuing education or membership in an appraisal organization, are permitted.

SCOPE OF WORK: The scope of work for this appraisal is defined by the complexity of this appraisal assignment and the reporting requirements of this appraisal report form, including the following definition of market value, statement of assumptions and limiting conditions, and certifications. The appraiser must, at a minimum: (1) perform a complete visual inspection of the interior and exterior areas of the subject property, (2) inspect the neighborhood, (3) inspect each of the comparable sales from at least the street, (4) research, verify, and analyze data from reliable public and/or private sources, and (5) report his or her analysis, opinions, and conclusions in this appraisal report.

INTENDED USE: The intended use of this appraisal report is for the lender/client to evaluate the property that is the subject of this appraisal for a mortgage finance transaction.

INTENDED USER: The intended user of this appraisal report is the lender/client.

DEFINITION OF MARKET VALUE: The most probable price which a property should bring in a competitive and open market under all conditions requisite to a fair sale, the buyer and seller, each acting prudently, knowledgeably and assuming the price is not affected by undue stimulus. Implicit in this definition is the consummation of a sale as of a specified date and the passing of title from seller to buyer under conditions whereby: (1) buyer and seller are typically motivated; (2) both parties are well informed or well advised, and each acting in what he or she considers his or her own best interest; (3) a reasonable time is allowed for exposure in the open market; (4) payment is made in terms of cash in U. S. dollars or in terms of financial arrangements comparable thereto; and (5) the price represents the normal consideration for the property sold unaffected by special or creative financing or sales concessions* granted by anyone associated with the sale.

*Adjustments to the comparables must be made for special or creative financing or sales concessions. No adjustments are necessary for those costs which are normally paid by sellers as a result of tradition or law in a market area; these costs are readily identifiable since the seller pays these costs in virtually all sales transactions. Special or creative financing adjustments can be made to the comparable property by comparisons to financing terms offered by a third party institutional lender that is not already involved in the property or transaction. Any adjustment should not be calculated on a mechanical dollar for dollar cost of the financing or concession but the dollar amount of any adjustment should approximate the market's reaction to the financing or concessions based on the appraiser's judgment.

STATEMENT OF ASSUMPTIONS AND LIMITING CONDITIONS: The appraiser's certification in this report is subject to the following assumptions and limiting conditions:

1. The appraiser will not be responsible for matters of a legal nature that affect either the property being appraised or the title to it, except for information that he or she became aware of during the research involved in performing this appraisal. The appraiser assumes that the title is good and marketable and will not render any opinions about the title.

2. The appraiser has provided a sketch in this appraisal report to show the approximate dimensions of the improvements, including each of the units. The sketch is included only to assist the reader in visualizing the property and understanding the appraiser's determination of its size.

3. The appraiser has examined the available flood maps that are provided by the Federal Emergency Management Agency (or other data sources) and has noted in this appraisal report whether any portion of the subject site is located in an identified Special Flood Hazard Area. Because the appraiser is not a surveyor, he or she makes no guarantees, express or implied, regarding this determination.

4. The appraiser will not give testimony or appear in court because he or she made an appraisal of the property in question, unless specific arrangements to do so have been made beforehand, or as otherwise required by law.

5. The appraiser has noted in this appraisal report any adverse conditions (such as needed repairs, deterioration, the presence of hazardous wastes, toxic substances, etc.) observed during the inspection of the subject property or that he or she became aware of during the research involved in performing this appraisal. Unless otherwise stated in this appraisal report, the appraiser has no knowledge of any hidden or unapparent physical deficiencies or adverse conditions of the property (such as, but not limited to, needed repairs, deterioration, the presence of hazardous wastes, toxic substances, adverse environmental conditions, etc.) that would make the property less valuable, and has assumed that there are no such conditions and makes no guarantees or warranties, express or implied. The appraiser will not be responsible for any such conditions that do exist or for any engineering or testing that might be required to discover whether such conditions exist. Because the appraiser is not an expert in the field of environmental hazards, this appraisal report must not be considered as an environmental assessment of the property.

6. The appraiser has based his or her appraisal report and valuation conclusion for an appraisal that is subject to satisfactory completion, repairs, or alterations on the assumption that the completion, repairs, or alterations of the subject property will be performed in a professional manner.

Form 1025 - "TOTAL" appraisal software by a la mode, inc. - 1-800-ALAMODE

APPRAISER'S CERTIFICATION: The Appraiser certifies and agrees that:

1. I have, at a minimum, developed and reported this appraisal in accordance with the scope of work requirements stated in this appraisal report.

2. I performed a complete visual inspection of the interior and exterior areas of the subject property, including all units. I reported the condition of the improvements in factual, specific terms. I identified and reported the physical deficiencies that could affect the livability, soundness, or structural integrity of the property.

3. I performed this appraisal in accordance with the requirements of the Uniform Standards of Professional Appraisal Practice that were adopted and promulgated by the Appraisal Standards Board of The Appraisal Foundation and that were in place at the time this appraisal report was prepared.

4. I developed my opinion of the market value of the real property that is the subject of this report based on the sales comparison and income approaches to value. I have adequate market data to develop reliable sales comparison and income approaches to value for this appraisal assignment. I further certify that I considered the cost approach to value but did not develop it, unless otherwise indicated in this report.

5. I researched, verified, analyzed, and reported on any current agreement for sale for the subject property, any offering for sale of the subject property in the twelve months prior to the effective date of this appraisal, and the prior sales of the subject property for a minimum of three years prior to the effective date of this appraisal, unless otherwise indicated in this report.

6. I researched, verified, analyzed, and reported on the prior sales of the comparable sales for a minimum of one year prior to the date of sale of the comparable sale, unless otherwise indicated in this report.

7. I selected and used comparable sales that are locationally, physically, and functionally the most similar to the subject property.

8. I have not used comparable sales that were the result of combining a land sale with the contract purchase price of a home that has been built or will be built on the land.

9. I have reported adjustments to the comparable sales that reflect the market's reaction to the differences between the subject property and the comparable sales.

10. I verified, from a disinterested source, all information in this report that was provided by parties who have a financial interest in the sale or financing of the subject property.

11. I have knowledge and experience in appraising this type of property in this market area.

12. I am aware of, and have access to, the necessary and appropriate public and private data sources, such as multiple listing services, tax assessment records, public land records and other such data sources for the area in which the property is located.

13. I obtained the information, estimates, and opinions furnished by other parties and expressed in this appraisal report from reliable sources that I believe to be true and correct.

14. I have taken into consideration the factors that have an impact on value with respect to the subject neighborhood, subject property, and the proximity of the subject property to adverse influences in the development of my opinion of market value. I have noted in this appraisal report any adverse conditions (such as, but not limited to, needed repairs, deterioration, the presence of hazardous wastes, toxic substances, adverse environmental conditions, etc.) observed during the inspection of the subject property or that I became aware of during the research involved in performing this appraisal. I have considered these adverse conditions in my analysis of the property value, and have reported on the effect of the conditions on the value and marketability of the subject property.

15. I have not knowingly withheld any significant information from this appraisal report and, to the best of my knowledge, all statements and information in this appraisal report are true and correct.

16. I stated in this appraisal report my own personal, unbiased, and professional analysis, opinions, and conclusions, which are subject only to the assumptions and limiting conditions in this appraisal report.

17. I have no present or prospective interest in the property that is the subject of this report, and I have no present or prospective personal interest or bias with respect to the participants in the transaction. I did not base, either partially or completely, my analysis and/or opinion of market value in this appraisal report on the race, color, religion, sex, age, marital status, handicap, familial status, or national origin of either the prospective owners or occupants of the subject property or of the present owners or occupants of the properties in the vicinity of the subject property or on any other basis prohibited by law.

18. My employment and/or compensation for performing this appraisal or any future or anticipated appraisals was not conditioned on any agreement or understanding, written or otherwise, that I would report (or present analysis supporting) a predetermined specific value, a predetermined minimum value, a range or direction in value, a value that favors the cause of any party, or the attainment of a specific result or occurrence of a specific subsequent event (such as approval of a pending mortgage loan application).

19. I personally prepared all conclusions and opinions about the real estate that were set forth in this appraisal report. If I relied on significant real property appraisal assistance from any individual or individuals in the performance of this appraisal or the preparation of this appraisal report, I have named such individual(s) and disclosed the specific tasks performed in this appraisal report. I certify that any individual so named is qualified to perform the tasks. I have not authorized anyone to make a change to any item in this appraisal report; therefore, any change made to this appraisal is unauthorized and I will take no responsibility for it.

20. I identified the lender/client in this appraisal report who is the individual, organization, or agent for the organization that ordered and will receive this appraisal report.

Form 1025 - "TOTAL" appraisal software by a la mode, inc. - 1-800-ALAMODE

21. The lender/client may disclose or distribute this appraisal report to: the borrower; another lender at the request of the borrower; the mortgagee or its successors and assigns; mortgage insurers; government sponsored enterprises; other secondary market participants; data collection or reporting services; professional appraisal organizations; any department, agency, or instrumentality of the United States; and any state, the District of Columbia, or other jurisdictions; without having to obtain the appraiser's or supervisory appraiser's (if applicable) consent. Such consent must be obtained before this appraisal report may be disclosed or distributed to any other party (including, but not limited to, the public through advertising, public relations, news, sales, or other media).

22. I am aware that any disclosure or distribution of this appraisal report by me or the lender/client may be subject to certain laws and regulations. Further, I am also subject to the provisions of the Uniform Standards of Professional Appraisal Practice that pertain to disclosure or distribution by me.

23. The borrower, another lender at the request of the borrower, the mortgagee or its successors and assigns, mortgage insurers, government sponsored enterprises, and other secondary market participants may rely on this appraisal report as part of any mortgage finance transaction that involves any one or more of these parties.

24. If this appraisal report was transmitted as an "electronic record" containing my "electronic signature," as those terms are defined in applicable federal and/or state laws (excluding audio and video recordings), or a facsimile transmission of this appraisal report containing a copy or representation of my signature, the appraisal report shall be as effective, enforceable and valid as if a paper version of this appraisal report were delivered containing my original hand written signature.

25. Any intentional or negligent misrepresentation(s) contained in this appraisal report may result in civil liability and/or criminal penalties including, but not limited to, fine or imprisonment or both under the provisions of Title 18, United States Code, Section 1001, et seq., or similar state laws.

SUPERVISORY APPRAISER'S CERTIFICATION:

The Supervisory Appraiser certifies and agrees that:

1. I directly supervised the appraiser for this appraisal assignment, have read the appraisal report, and agree with the appraiser's analysis, opinions, statements, conclusions, and the appraiser's certification.

2. I accept full responsibility for the contents of this appraisal report including, but not limited to, the appraiser's analysis, opinions, statements, conclusions, and the appraiser's certification.

3. The appraiser identified in this appraisal report is either a sub-contractor or an employee of the supervisory appraiser (or the appraisal firm), is qualified to perform this appraisal, and is acceptable to perform this appraisal under the applicable state law.

4. This appraisal report complies with the Uniform Standards of Professional Appraisal Practice that were adopted and promulgated by the Appraisal Standards Board of The Appraisal Foundation and that were in place at the time this appraisal report was prepared.

5. If this appraisal report was transmitted as an "electronic record" containing my "electronic signature," as those terms are defined in applicable federal and/or state laws (excluding audio and video recordings), or a facsimile transmission of this appraisal report containing a copy or representation of my signature, the appraisal report shall be as effective, enforceable and valid as if a paper version of this appraisal report were delivered containing my original hand written signature.

APPRAISER

Signature
Name CHRIS L WILLIS
Company Name Mahon & Rutledge Appraisal Group
Company Address 340 E SUNSET WAY, SUITE 201, Issaquah, WA 98027
Telephone Number (425) 454-4100
Email Address cwillis@mahonandrutledge.com
Date of Signature and Report 03/18/2026
Effective Date of Appraisal 12/08/2025
State Certification # CR01349
or State License #
or Other (describe) State #
State OR
Expiration Date of Certification or License 10/31/2027

SUPERVISORY APPRAISER (ONLY IF REQUIRED)

Signature
Name
Company Name
Company Address
Telephone Number
Email Address
Date of Signature
State Certification #
or State License #
State
Expiration Date of Certification or License

ADDRESS OF PROPERTY APPRAISED
674/678 SE 11th Ave
Hillsboro, OR 97123

APPRAISED VALUE OF SUBJECT PROPERTY $ 575,000

LENDER/CLIENT
Name Fastapp Appraisal Management Company
Company Name EASY STREET CAPITAL, LLC
Company Address 3232 E. Cesar Chavez St., Suite 1-320, Austin, TX 78702
Email Address

SUBJECT PROPERTY

☐ Did not inspect subject property
☐ Did inspect exterior of subject property from street
Date of Inspection
☐ Did inspect interior and exterior of subject property
Date of Inspection

COMPARABLE SALES

☐ Did not inspect exterior of comparable sales from street
☐ Did inspect exterior of comparable sales from street
Date of Inspection

Form 1025 - "TOTAL" appraisal software by a la mode, inc. - 1-800-ALAMODE

LAND SALES

MLS#	Image	Status	Area	Type	Address	City, State	Acres	Sold Date	Price
24331366		ACT	152	RESID	0 SE Cedar ST	Hillsboro, OR	0.14		$200,000
450407982		ACT	152	RESID	Crescent DR	Forest Grove, OR			$200,000
23555932		ACT	152	RESID	1 NE 3rd AVE	Hillsboro, OR			$245,500
198104872		ACT	152	MULTI	1675 NE HERROLD CT	Hillsboro, OR	0.25		$249,000
545125952		ACT	152	RESID	539 SE ALDER CT	Hillsboro, OR	0.28		$249,900
24563042		SLD	152	RESID	695 SE Century BLVD	Hillsboro, OR		11/21/2024	$180,000
24210430		SLD	152	RES/REC	349 SE WALNUT ST	Hillsboro, OR	0.13	08/16/2024	$185,000
24573550		SLD	152	RES/REC	456 SE Haddock ST	Hillsboro, OR	0.13	09/11/2024	$185,000
23310599		SLD	152	RESID	5477 SE GOLDEN RD	Hillsboro, OR	0.20	05/09/2024	$200,000
24510087		SLD	149	RESID	NW Hillcrest	North Plains, OR	0.29	03/21/2025	$210,000

Supplemental Addendum

File No. 48171776563

Borrower/Client	Benjamin Artaiz						
Property Address	674/678 SE 11th Ave						
City	Hillsboro	County	Washington	State	OR	Zip Code	97123
Lender	EASY STREET CAPITAL, LLC						

SCOPE OF THE APPRAISAL
THIS APPRAISAL REPORT IS REPORTED IN A SUMMARY FORMAT WHICH IS INTENDED TO COMPLY WITH THE UNIFORM STANDARDS OF PROFESSIONAL APPRAISAL PRACTICE (USPAP) STANDARDS RULES . THE EXTENT OF THE APPRAISER'S INVESTIGATING INCLUDED REVIEWING LEGAL DESCRIPTIONS OF THE SUBJECT PROPERTY, CONDUCTING EITHER AN INTERIOR AND/OR EXTERIOR OR DRIVE-BY INSPECTION (BASED ON CLIENTS REQUEST) OF THE PROPERTY IMPROVEMENTS AND THE SITE; CONDUCTING AN INSPECTION OF THE NEIGHBORHOOD AND REGIONAL CHARACTERISTICS; RESEARCH OF COMPARABLE SALES FROM IN-HOUSE FILES, MULTIPLE LISTING SERVICE, ; ANALYSIS OF SELECTED COMPARABLE SALES INCLUDING VERIFICATION OF THE REPORTED DATA; CONSIDERATION AND ANALYSIS OF HIGHEST AND BEST USE OF THE SUBJECT; CONSIDERATION AND APPLICATION OF APPROPRIATE APPROACHES TO VALUE; AND FINAL RECONCILIATION OF DATA TO ARRIVE AT ESTIMATED MARKET VALUE.

INTENDED USE/USER
INTENDED USER OF THIS APPRAISAL REPORT IS THE LENDER/CLIENT. THE INTENDED USE IS TO EVALUATE THE PROPERTY THAT IS THE SUBJECT OF THIS APPRAISAL FOR A MORTGAGE FINANCE TRANSACTION, SUBJECT TO THE STATED SCOPE OF WORK, PURPOSE OF THE APPRAISAL, REPORTING REQUIREMENTS OF THIS APPRAISAL REPORT FORM, AND DEFINITIONS OF MARKET VALUE. NO ADDITIONAL INTENDED USERS ARE IDENTIFIED BY THE APPRAISER.

THE APPRAISER HAS NOT IDENTIFIED ANY PURCHASER, BORROWER OR SELLER AS AN INTENDED USER OF THIS APPRAISAL, AND NO SUCH PARTY SHOULD USE OR RELY ON THIS APPRAISAL FOR ANY PURPOSE. SUCH PARTIES ARE ADVISED TO OBTAIN AN APPRAISAL FROM AN APPRAISER OF THEIR OWN CHOOSING IF THEY REQUIRE AN APPRAISAL FOR THEIR OWN USE. ANY REFERENCE TO OR USE OF THIS APPRAISAL REPORT BY A PURCHASER, BORROWER OR SELLER FOR THEIR OWN PURPOSES, INCLUDING WITHOUT LIMITATION FOR THE PURPOSES OF A PROPERTY PURCHASE DECISION OR AN APPRAISAL CONTINGENCY IN A PURCHASE AGREEMENT, IS AT SUCH PARTY'S OWN RISK AND IS NOT INTENDED OR AUTHORIZED BY THE APPRAISER.

HIGHEST AND BEST USE
CRITERIA: 1. LEGALLY PERMISSIBLE 2. PHYSICALLY POSSIBLE 3. FINANCIALLY FEASIBLE 4. MAXIMALLY PRODUCTIVE.

THE HIGHEST AND BEST USE OF THE SUBJECT IS PROJECTED BASED UPON LOCATION, PHYSICAL CHARACTERISTICS, PAST AND PROPOSED USES, AND APPLICABLE ZONING. THE HIGHEST AND BEST USE OF THE SUBJECT "AS IF VACANT" IS FOR RESIDENTIAL CONSTRUCTION. IT IS THE MOST APPLICABLE USE, THE PREVIOUS OR PROPOSED USE, AND THE MOST PROFITABLE USE OF THE SITE. THE HIGHEST AND BEST USE OF THE SUBJECT "AS IMPROVED" IS ITS CURRENT USE. THE IMPROVEMENTS HAVE REMAINING ECONOMIC LIFE; ARE THE PROBABLE FUTURE USE; ARE THE CURRENT AND PREVIOUS USE AND ARE LEGALLY PERMISSIBLE BY ZONING.

FLOOD ZONE INFORMATION:
FLOOD ZONE INFORMATION WAS OBTAINED THROUGH THE INTERNET DATA FLOOD SEARCH SERVICE PROVIDED THROUGH ALAMODE SOFTWARE. FOR LOAN PURPOSES, THE LENDER/CLIENT OBTAINS FLOOD ZONE VERIFICATION THROUGH A THIRD PARTY VENDOR.

SITE COMMENTS
SUBJECT IS IN THE PROCESS OF HAVING A LOT PARTITION FILED WITH THE CITY OF HILLSBORO. PER AGENT THIS SHOULD BE FINALIZED WITHIN THE NEXT WEEK OR TWO. THE SITE DETAILS ARE THAT OF THE PARENT PARCEL AS THE DETAILS OF THE SUBJECT SPECIFIC LOT ARE NOT YET AVAILABLE. THIS REPORT WILL BE MADE SUBJECT TO THE FINAL APPROVAL FROM THE CITY.

SUBJECT IS ADJACENT TO A 2 LANE ARTERIAL WITH MODERATE EXTERNAL AND MINIMAL INTERNAL NOISE DETRIMENT NOTED AT TIME OF INSPECTION.

OWNER OF PUBLIC RECORD
Andre Paul Simmons, Successor Trustee of the Edward James Simmons and Anita Simmons Revocable Living Trust

PARENT PARCEL INFORMATION:
PARCEL #: R0326178
LEGAL DESCRIPTION: BONNIE ADDITION TO HILLSBORO OREGON LOT 17 ACRES 0.20
SITE SIZE: 8,712 SF
DIMENSIONS: 85x104x86x104+/-

THIS INFORMATION WILL CHANGE ONCE THE SUBJECT LOT LINE ADJUSTMENT IS COMPLETE.

PRESENT LAND USE %
THE 5% OTHER REPRESENTS OPEN SPACE, PARKS, UNDEVELOPED PARCELS.

DISASTER COMMENT
HAVING PERSONALLY INSPECTED THE SUBJECT PROPERTY, I HERBY CERTIFY THAT, TO THE BEST OF

Supplemental Addendum

File No. 48171776563

Borrower/Client	Benjamin Artaiz						
Property Address	674/678 SE 11th Ave						
City	Hillsboro	County	Washington	State	OR	Zip Code	97123
Lender	EASY STREET CAPITAL, LLC						

MY KNOWLEDGE AND BELIEF, THE INSPECTION REVEALED NO INDICATIONS OF SIGNIFICANT PHYSICAL DAMAGE TO THE PROPERTY, OR NEEDED REPAIRS TO THE SITE OR THE IMPROVEMENTS, AND THE MARKETABILITY AND VALUE OF THE PROPERTY HAS NOT BEEN ADVERSELY EFFECTED, DUE TO NATURAL DISASTER. THE DWELLING IS HABITABLE.

MARKET CONDITIONS IN NEIGHBORHOOD

BASED ON THE MLS DATA THE SUBJECT MARKET HAS FLUCTUATED OVER THE LAST YEAR. THE ESTIMATED MARKET TIME REQUIRED IN ORDER TO OBTAIN AN AMOUNT EQUAL TO MARKET VALUE IS 1-3 MONTHS BASED ON TYPICAL MARKETING TIME FOR COMPARABLE SALES IN SUBJECT NEIGHBORHOOD. INTEREST RATES REMAIN IN THE 6-8% RANGE FOR 30 YEAR FIXED RATE MORTGAGES.

CONDITION OF IMPROVEMENTS

SUBJECT IS OF Q4 QUALITY AND C3 CONDITION.

SUBJECT CONSISTS OF TWO 2 BEDROOM 1 BATHROOM UNITS. BOTH UNITS HAVE A KITCHEN, LIVING ROOM, NOOK/DINING AREA AND LAUNDRY FACILITIES. BOTH UNITS HAVE BEEN REMODELED/UPDATED IN RECENT YEARS.

- THE UTILITIES IN BOTH UNITS WERE ON AND APPEAR TO BE FUNCTIONING PROPERLY
- UNIT 674 HAS BOTH UNITS HAS CO/SMOKE DETECTORS INSTALLED. UNIT 678 HAS SMOKE DETECTORS ONLY.
- WATER HEATERS IN BOTH UNITS ARE DOUBLE STRAPPED.

REPAIRS DETAILED IN CONTRACT ADDENDUM (DATED 12/04/2025) STILL NEEDING COMPLETION:
1. Remediate mold in attic and install proper venting.
2. Complete plumbing work
3. Clean crawlspace and install new vapor barrier and screens on the 12 foundation vents.
4. Have pest control company sanitize and conduct pest control services for the crawlspace.
5. Repair front gutter and downspout.
6. Have seismic straps installed on both water heaters. (At time of inspection this work has been completed)

A copy of the addendum has been included in this report for reference.

SALES COMPARISON COMMENTS

ALL COMPS TAKEN INTO CONSIDERATION AND CONSIDERED BEST AVAILABLE AT TIME OF INSPECTION. MOST WEIGHT GIVEN TO COMPS 1 AND 2 AS THEY ARE THE MOST SIMILAR IN CONDITION AS THE SUBJECT.

DUE TO LACK OF RECENT COMPARABLE SALES OF SIMILAR LOCATION AND UTILITY PROPERTIES, IT WAS DEEMED NECESSARY TO EXPAND THE RADIUS SEARCH. ALL COMPS ARE LOCATED IN AREAS WITH SIMILAR AMENITIES AND SERVICES. NO ADJUSTMENT MADE AS NONE WAS SUPPORTABLE.

COMP 1 WAS INSPECTED BY THE APPRAISER AT TIME OF SALE. IT WAS UTILIZED FOR SIMILAR CONDITION. IT IS A DATED SALE HOWEVER, NO TIME ADJUSTMENT WAS MADE AS NONE WAS SUPPORTED BY THE MARKET DATA.
COMP 2 UTILIZED FOR SIMILAR CONDITION AND UTILITY. IT IS A DATED SALE HOWEVER, NO TIME ADJUSTMENT WAS MADE AS NONE WAS SUPPORTED BY THE MARKET DATA. UTILIZED DUE TO LACK OF SALES WITHIN THE LAST 3 MONTHS.
COMP 3 UTILIZED FOR RECENT SALES DATE AND SIMILAR UTILITY.
COMP 4 UTILIZED FOR RECENT SALES DATE AND SIMILAR UTILITY.
COMP 5 IS A PENDING SALE FROM THE SUBJECT MARKETPLACE. IT WAS TAKEN INTO CONSIDERATION WHEN DETERMINING THE INDICATED VALUE OF THE SUBJECT.

ALL SUBJECT FEATURES ARE BRACKETED BY COMPARABLE SALES WITHIN THE SALES GRID. ADJUSTMENTS ARE SUMMARIZED IN THE **"Sales Comp Adjustment Support/Comments"** ADDENDUMS WHICH ARE DIRECTLY AFTER THIS GENERAL ADDENDUM.

NO ACTUAL AGE ADJUSTMENT WAS MADE, HOWEVER, THE ESTIMATED EFFECTIVE AGE WAS TAKEN INTO CONSIDERATION WHEN DETERMINING THE OVERALL CONDITION RATING.

NO GBA OR GLA ADJUSTMENT WAS MADE AS MARKET PRICE VARIATIONS ARE TYPICALLY MORE DEPENDENT ON BEDROOM AND BATHROOM COUNTS.

THE QUALITY AND CONDITION RATINGS ARE GENERIC RATINGS. THESE GENERIC RATINGS ALLOW FOR A WIDE VARIETY OF PROPERTIES TO FALL INTO A PARTICULAR CATEGORY. HOWEVER, WITHIN THAT CATEGORY THE PARTICULAR SFRs MAY DIFFER IN THE AMOUNT OF UPGRADES OR CONDITION OF EACH. THEREFORE ADJUSTMENTS MAY BE DEEMED NECESSARY FOR THESE DIFFERENCES.
- CONDITION ADJUSTMENT BASED ON MATCHED PAIR ANALYSIS OF COMPS 1&2 AND 2&3.

SELLER PAID CONCESSION DATA WAS PROVIDED WHEN AVAILABLE. THIS DATA WAS OBTAINED DIRECTLY FROM REAL ESTATE AGENTS OR MLS DATA. SUBJECT CONCESSIONS ARE TYPICAL IN THE SUBJECT'S CURRENT MARKET. NO ADJUSTMENT WAS MADE AS NONE WAS SUPPORTABLE BY THE MARKET DATA.

Supplemental Addendum

File No. 48171776563

Borrower/Client	Benjamin Artaiz						
Property Address	674/678 SE 11th Ave						
City	Hillsboro	County	Washington	State	OR	Zip Code	97123
Lender	EASY STREET CAPITAL, LLC						

COST APPROACH

LAND VALUE WAS DETERMINED BY AN ANALYSIS OF LAND SALES IN THE SUBJECT MARKET. SEE LAND SALE ADDENDUM ON NEXT PAGE.

SUBJECT LAND VALUE IS ESTIMATED AT: $199,999

THE SUBJECT LAND VALUE IS GREATER THE 30% OF THE OVERALL VALUATION OF THE SUBJECT. THIS IS TYPICAL FOR THE MARKETPLACE. NO NEGATIVE IMPACT ON MARKETABILITY.

COST FIGURES USED IN THIS COST APPROACH ARE FOR VALUATION PURPOSES ONLY. THESE FIGURES SHOULD NOT BE RELIED ON FOR DETERMINATION OF ADEQUATE INSURANCE COVERAGE.

COST APPROACH IS PREPARED UTILIZING THE MARSHALL AND SWIFT RESIDENTIAL COST HANDBOOK AS WELL AS KNOWLEDGE OF LOCAL BUILDER'S COSTS. LAND VALUE IS DETERMINED BY ANALYZING CURRENT SALES IN THE MARKET, PURCHASES IN THE SUBJECT'S MARKET AREA. DEPRECIATION IS BASED ON THE AGE/LIFE METHOD. SEE ATTACHED SKETCH WHERE MEASUREMENTS ARE +/-

COMMENTS ON PRIOR SALES HISTORY

APPRAISER HAS RESEARCHED AND REPORTED THE SUBJECT'S SALES HISTORY INFORMATION FOR THE PRECEDING 3 YEAR PERIOD, IN COMPLIANCE WITH USPAP STANDARD RULE 1-5. UNLESS OTHERWISE STATED THERE ARE NO FURTHER SALES IN THE PAST 36 MONTHS. THE APPRAISER HAS ALSO REPORTED APPARENT MARKET SALES OF THE COMPARABLES WITHIN THAT SAME PERIOD IF SUCH INFORMATION WAS AVAILABLE IN THE NORMAL COURSE OF BUSINESS. NO VALUE WAS GIVEN TO ANY PERSONAL PROPERTY IN THIS REPORT UNLESS SIGNIFICANT AND INCLUDED IN THE SALE OF THE SUBJECT OR COMPARABLES AND KNOWN TO THE APPRAISER.

RECONCILIATION

WEIGHT TO THE SALES COMPARISON APPROACH AS IT IS THE BEST INDICATOR OF VALUE OF TYPICAL BUYERS AND SELLERS OF RESIDENTIAL PROPERTIES. THE COST APPROACH WHILE APPLICABLE IS NOT NECESSARY TO PRODUCE A CREDIBLE OPINION OF VALUE. THE INCOME APPROACH WAS NOT USE DUE TO THE LACK OF RENTAL DATA AND ACCURATE GRM.

ALL COMPS TAKEN INTO CONSIDERATION AND CONSIDERED BEST AVAILABLE AT TIME OF INSPECTION. MOST WEIGHT GIVEN TO COMPS 1 AND 2 AS THEY ARE THE MOST SIMILAR IN CONDITION AS THE SUBJECT.

REPORT HAS BEEN MADE SUBJECT-TO THE FOLLOWING ITEMS:

Repair Items

1. Remediate mold in attic and install proper venting.
2. Complete plumbing work
3. Clean crawlspace and install new vapor barrier and screens on the 12 foundation vents.
4. Have pest control company sanitize and conduct pest control services for the crawlspace.
5. Repair front gutter and downspout.
6. Have seismic straps installed on both water heaters. (At time of inspection this work has been completed)

(A copy of the addendum has been included in this report for reference.)

Approval from City:

1. Final approval from the City of Hillsboro for final approval of plat partition.

Contract Repair Addendum

Docusign Envelope ID: 86F39231-A463-49B5-816C-0B005349F5ED

OREF

SALE AGREEMENT # Hazen25 | 11PLEX
ADDENDUM # Buyer Repair Addendum
RESIDENTIAL

ADDENDUM TO SALE AGREEMENT

Buyer(s) Laura Artaiz, Benjamin Artaiz
Seller(s) Edward J & Anita Simmons Revocable Living Trust
Property Address or Tax ID # 674/678 SE 11TH AVE , Hillsboro, OR 97123
R326178 (the "Property")

Seller and Buyer hereby agree the following will be a part of the Sale Agreement referenced above:

Seller at Sellers expense and prior to closing shall:

Hire Portland Mold Solutions to remediate the mold and to install proper venting as described in the bid attached as Exhibit C, including extension of the bathroom vent fans to the exterior of the roof line and a 3 year transferable warranty.

Hire PEX Plumbing to complete the plumbing work as described in the bid attached as Exhibit A. Buyer agrees to pay through escrow at the time of closing the amounts shown on the PEX Plumbing bid for the following items only: SR 00 Sheetrock, Electrical Grounding, and WS 00 Water Service.

Hire NW Weatherization to remove and haul away all crawl space debris, waste and the existing vapor barrier in the crawl space and to install a new 6 mil vapor barrier and new screens on 12 foundation vents as described in the bid attached as Exhibit D.

Hire Bloom Pest Control to sanitize the crawl space and to conduct pest control service and pest control follow up as described in the bid attached as Exhibit B.

Hire handyman Leif Skredsvig to rework the front gutter low point, install one additional downspout on the left unit to mirror the right unit gutter configuration, and install a firewall in the attic to meet fire code, all as set forth in Exhibit E including the additional downspout work as part of the agreed repairs.

Seller shall have both water heaters properly double strapped prior to appraisal to meet lender and code requirements. All work described above shall be completed in a good and workmanlike manner by appropriately licensed bonded and insured contractors where required by law and paid receipts and any transferable warranties shall be provided to Buyer prior to closing.

Buyer	Signed by: Laura Artaiz	Print Laura Artaiz	Date 12/2/2025 | 9:00 PM PST	☐ a.m. ☐ p.m. ←
Buyer	DocuSigned by: Benjamin Artaiz	Print Benjamin Artaiz	Date 12/2/2025 | 9:03 PM PST	☐ a.m. ☐ p.m. ←
Seller	DocuSigned by: Andre Simmons 0CCC4C1E1F2D4CD...	Print Edward J & Anita Simmons Revocable	Date 12/4/2025 | 18:41 CST	☐ a.m. ☐ p.m. ←
Seller		Print	Date	☐ a.m. ☐ p.m. ←

Buyer's Agent Alia Marie Hazen, PC. Seller's Agent Taya Mower

LINES WITH THIS SYMBOL ← REQUIRE A SIGNATURE AND DATE **OREF 002 | Released 01/2025 | Page 1 of 1**

No portion of this form may be reproduced without the express permission of Oregon Real Estate Forms, LLC | Copyright Oregon Real Estate Forms, LLC 2022
This form has been licensed for use solely by the user named below under the terms of the Oregon Real Estate Forms license agreement located at: https://orefonline.com/oref-forms-license-terms-and-conditions.

Sales Comparison Adjustment Support

Summary Information

Property Address	674 SE 11th Ave, 97123		
Effective Date	12/10/2025	Datasets Analyzed	3
Analysis Date	12/10/2025	Properties per Dataset	109 - 28 - 7

The following transactional items were accounted for in the order shown prior to calculating any property feature adjustments below and only as necessary for transaction adjustments: Property Rights, Financing, Distressed Sales, Seller Concessions, Market Conditions.

Lot Size

$2.00 / SqFt

Calculated Results for the Adjustment Methods

Low: $0.00 **High: $10.24**

Name of the Adjustment Methods Calculated Above:
Average Grouped Data, 7 different types of Simple Regression, Sensitivity Analysis, True Paired Sales (Median and Average)

Full Bath

$20,000

Calculated Results for the Adjustment Methods

Low: $4,000 **High: $48,943**

Name of the Adjustment Methods Calculated Above:
Median Grouped Data, 6 different types of Simple Regression, Sensitivity Analysis

Bedroom

$25,000

Calculated Results for the Adjustment Methods

Low: $4,349 **High: $28,491**

Name of the Adjustment Methods Calculated Above:
Least Median of Squares Regression, Robust Least Squares Regression, Sensitivity Analysis

Sales Comparison Adjustment Comments

The following transactional items were accounted for in the order shown prior to calculating any property feature adjustment results: Property Rights, Financing Terms, Distressed Sales, Seller Concessions, and Market Conditions.

Lot Size
The Lot Size adjustment was developed at $2.00 per square foot. The results (based on all adjustment methods that were calculated and considered relevant) provide an adjustment range from $0.00 to $10.24. Average Grouped Data, True Paired Sales (Median and Average), 7 different types of simple regression, and Sensitivity Analysis were the adjustment methods used to develop this adjustment.

Full Bath
The Full Bath adjustment was developed at $20,000. The results (based on all adjustment methods that were calculated and considered relevant) provide an adjustment range from $4,000 to $48,900. Median Grouped Data, 6 different types of simple regression, and Sensitivity Analysis were the adjustment methods used to develop this adjustment.

Bedroom
The Bedroom adjustment was developed at $25,000. The results (based on all adjustment methods that were calculated and considered relevant) provide an adjustment range from $4,300 to $28,500. Least Median of Squares Regression, Robust Least Squares Regression, and Sensitivity Analysis were the adjustment methods used to develop this adjustment.

Sales Comparison Adjustment Methods

Allocation
For the allocation method, a certain percentage of the sale price of a property is allocated to each feature. The potential adjustment is based on that percentage allocated for a particular feature.

Depreciated Cost
This method determines a potential adjustment by subtracting depreciation from the cost to build an improvement with the result being the value (adjustment) for the feature being measured. The difference between cost and value is depreciation so if the cost to build an improvement and the depreciation can be determined with relative accuracy then the result is the potential adjustment for that feature.

Grouped Data
This method involves grouping the data (sales) into two categories based on the feature being measured. The average or median price of the first group is compared to the average or median price of the second. The difference in those two prices is the potential adjustment for the feature being measured.

Paired Sales (True)
A method of comparing two properties that are considered to be the same in all features except for one. In theory, the difference in the sales price of each property is an approximation of the value difference (or adjustment) for the one feature in which the properties differ. For this analysis, all properties that were analyzed are compared against each other to find all "pairs" and then the average and median of the results of all of those pairs is found.

Paired Sales (Adjusted)
This is the same as True Paired Sales except that if, in analyzing two properties, they differ in more than one feature (True Paired Sales requires that only one feature is different) and the appraiser is confident they can adjust for those differing features such that the result is only one differing feature, then this would be an "Adjusted Pair". Adjusted Pairs will nearly always have more data points since it allows for more than one differing feature (non-perfect matches).

Sensitivity
This method is based on the theory that the best adjustment is the one that results in the smallest range of adjusted sales prices for all sales analyzed. It "plugs in" an adjustment and calculates what the sales price would be if that were the adjustment and it does that for every sale. Then it determines the range (difference between the low and high) of the adjusted sales prices. It repeats that process to test every possible adjustment. The adjustment that leads to the smallest range of adjusted prices is the final result.

Survey
In this method, market participants (e.g. appraisers, brokers, real estate agents, etc) are contacted in order to determine what they believe to be what a typical buyer and seller would agree to as far as the added value for a particular feature (swimming pool, barn, new roof, addition, etc). Typically the average and/or median of those results is the potential adjustment based on the survey method.

Ordinary Least Squares Regression
Among the most common of all types of simple regression, this method minimizes the sum of the squares of the differences between a variable and it's predicted value (called the residual). One of the results of this regression method is the slope of a line that can be drawn through the data points. That slope is the potential adjustment based on this method.

Theil-Sen Regression
This simple regression method finds the slope of every possible line that can be drawn between every pair of data points if they were plotted on a chart. It then takes the median of all of the slopes of those lines and that is the potential adjustment based on this method. Since this method utilizes the median, it does reduce the impact of outliers on the data.

Least Absolute Deviation
This simple regression method determines every line that can be drawn between each pair of data points. For each of those lines, the distance of the remaining data points to the line is calculated using the absolute value. All of those distances are then added up and the slope of the particular line that results in the smallest sum of absolute values for the residuals (deviation) is the potential adjustment result based on this method.

Least Median of Squares
Another form of simple regression that is very similar to Ordinary Least Squares Regression except that instead of taking the average of the squares of the residuals, this method utilizes the median of the squares of the residuals. As a result this method tends to be a bit more robust to outliers than Ordinary Least Squares Regression.

Robust Simple Regression
If any of the above Simple Regression methods has the word "Robust" in front of it that means that during the calculations, when the average of all of the data points is subtracted from the data point in question, instead the median of all data points is subtracted from the data point in question. This tends to make a particular regression method more "robust" to outliers (meaning less impacted by outliers).

Modified Quantile Regression
This is a modified type of Robust Least Squares Regression where, instead of subtracting the median (the 50th percentile) from each data point, 9 different percentiles are tested (from 10% up to 90%) and the result from the one that has the best (highest) r-squared is the final result. This means that regression is calculated nine times (one time for each percentile tested) but only the results from the one with the best r-squared score is utilized.

Peer Adjustments
Peer adjustments represent the average or median of the adjustments that were utilized by other appraisers for similar quality properties in the same zip code, assuming those appraisers opted to share that information.

Market Conditions Addendum to the Appraisal Report

File No. R25-004052 48171776563

The purpose of this addendum is to provide the lender/client with a clear and accurate understanding of the market trends and conditions prevalent in the subject neighborhood. This is a required addendum for all appraisal reports with an effective date on or after April 1, 2009.

Property Address 674/678 SE 11th Ave City Hillsboro State OR ZIP Code 97123

Borrower Benjamin Artaiz

Instructions: The appraiser must use the information required on this form as the basis for his/her conclusions, and must provide support for those conclusions, regarding housing trends and overall market conditions as reported in the Neighborhood section of the appraisal report form. The appraiser must fill in all the information to the extent it is available and reliable and must provide analysis as indicated below. If any required data is unavailable or is considered unreliable, the appraiser must provide an explanation. It is recognized that not all data sources will be able to provide data for the shaded areas below; if it is available, however, the appraiser must include the data in the analysis. If data sources provide the required information as an average instead of the median, the appraiser should report the available figure and identify it as an average. Sales and listings must be properties that compete with the subject property, determined by applying the criteria that would be used by a prospective buyer of the subject property. The appraiser must explain any anomalies in the data, such as seasonal markets, new construction, foreclosures, etc.

MARKET RESEARCH & ANALYSIS

Inventory Analysis	Prior 7–12 Months	Prior 4–6 Months	Current – 3 Months	Overall Trend		
Total # of Comparable Sales (Settled)	7	6	5	☐ Increasing	☒ Stable	☐ Declining
Absorption Rate (Total Sales/Months)	1.17	2.00	1.67	☐ Increasing	☒ Stable	☐ Declining
Total # of Comparable Active Listings	6	4	1	☒ Declining	☐ Stable	☐ Increasing
Months of Housing Supply (Total Listings/Ab.Rate)	5.1	2.0	0.6	☒ Declining	☐ Stable	☐ Increasing

Median Sale & List Price, DOM, Sale/List %	Prior 7–12 Months	Prior 4–6 Months	Current – 3 Months	Overall Trend		
Median Comparable Sale Price	$545,000	$524,750	$534,000	☐ Increasing	☒ Stable	☐ Declining
Median Comparable Sales Days on Market	7	13	24	☐ Declining	☐ Stable	☒ Increasing
Median Comparable List Price	$549,950	$529,900	$589,000	☒ Increasing	☐ Stable	☐ Declining
Median Comparable Listings Days on Market	32	82	55	☐ Declining	☒ Stable	☐ Increasing
Median Sale Price as % of List Price	97%	98%	99%	☐ Increasing	☒ Stable	☐ Declining
Seller-(developer, builder, etc.)paid financial assistance prevalent? ☐ Yes ☒ No				☐ Declining	☒ Stable	☐ Increasing

Explain in detail the seller concessions trends for the past 12 months (e.g., seller contributions increased from 3% to 5%, increasing use of buydowns, closing costs, condo fees, options, etc.). An analysis was performed on 18 competing sales over the past 12 months. For those sales, a total of 0.06% were reported to have seller concessions.

Are foreclosure sales (REO sales) a factor in the market? ☐ Yes ☒ No If yes, explain (including the trends in listings and sales of foreclosed properties).

An analysis was performed on 18 competing sales over the past 12 months. For those sales, a total of 0.0% were reported to be REO.

Cite data sources for above information. Information reported in the RMLS system (using an effective date of 12/08/2025) was utilized to arrive at the results noted on this addendum. Any percent change results noted in these comments are based on simple regression.

Summarize the above information as support for your conclusions in the Neighborhood section of the appraisal report form. If you used any additional information, such as an analysis of pending sales and/or expired and withdrawn listings, to formulate your conclusions, provide both an explanation and support for your conclusions.

An analysis was performed on 18 competing sales over the past 12 months. The sales within this group had a median sale price of $534,500. This analysis shows a change of -1% per month. Based on all sales in this same group, there is a 0.7 month supply. This analysis shows a change of +0.1% per month. These sales had a median DOM of 14. This analysis shows a change of -3.8% per month.

CONDO/CO-OP PROJECTS

If the subject is a unit in a condominium or cooperative project , complete the following: **Project Name:**

Subject Project Data	Prior 7–12 Months	Prior 4–6 Months	Current – 3 Months	Overall Trend		
Total # of Comparable Sales (Settled)				☐ Increasing	☐ Stable	☐ Declining
Absorption Rate (Total Sales/Months)				☐ Increasing	☐ Stable	☐ Declining
Total # of Active Comparable Listings				☐ Declining	☐ Stable	☐ Increasing
Months of Unit Supply (Total Listings/Ab.Rate)				☐ Declining	☐ Stable	☐ Increasing

Are foreclosure sales (REO sales) a factor in the project? ☐ Yes ☐ No If yes, indicate the number of REO listings and explain the trends in listings and sales of foreclosed properties.

Summarize the above trends and address the impact on the subject unit and project.

APPRAISER

Signature	Signature
Appraiser Name CHRIS L WILLIS	Supervisory Appraiser Name
Company Name Mahon & Rutledge Appraisal Group	Company Name
Company Address 340 E SUNSET WAY, SUITE 201, Issaquah, WA 9	Company Address
State License/Certification # CR01349 State OR	State License/Certification # State
Email Address cwillis@mahonandrutledge.com	Email Address

Form 1004MC2 - "TOTAL" appraisal software by a la mode, inc. - 1-800-ALAMODE

Operating Income Statement

48171776563

One- to Four-Family Investment Property and Two- to Four-Family Owner-Occupied Property

Property Address

674/678 SE 11th Ave	Hillsboro	OR	97123
Street	City	State	Zip Code

General Instructions: This form is to be prepared jointly by the loan applicant, the appraiser, and the lender's underwriter. The applicant must complete the following schedule indicating each unit's rental status, lease expiration date, current rent, market rent, and the responsibility for utility expenses. Rental figures must be based on the rent for an "unfurnished" unit.

	Currently Rented		Expiration Date	Current Rent Per Month	Market Rent Per Month	Utility Expense	Paid By Owner	Paid By Tenant
Unit No. 1	Yes ☒	No ☐		$ 1,450	$ 1,700	Electricity	☐	☒
Unit No. 2	Yes ☒	No ☐	03/31/2026	$ 1,520	$ 1,700	Gas	☐	☐
Unit No. 3	Yes ☐	No ☐		$	$	Fuel Oil	☐	☐
Unit No. 4	Yes ☐	No ☐		$	$	Fuel (Other)	☐	☐
Total				$ 2,970	$ 3,400	Water/Sewer	☐	☒
						Trash Removal	☐	☒

The applicant should complete all of the income and expense projections and for existing properties provide actual year-end operating statements for the past two years (for new properties the applicant's projected income and expenses must be provided). This Operating Income Statement and any previous operating statements the applicant provides must then be sent to the appraiser for review, comment, and/or adjustments next to the applicant's figures (e.g. Applicant/Appraiser 288/300). If the appraiser is retained to complete the form instead of the applicant, the lender must provide to the appraiser the aforementioned operating statements, mortgage insurance premium, HOA dues, leasehold payments, subordinate financing, and/or any other relevant information as to the income and expenses of the subject property received from the applicant to substantiate the projections. The underwriter should carefully review the applicant's/appraiser's projections and the appraiser's comments concerning those projections. The underwriter should make any final adjustments that are necessary to more accurately reflect any income or expense items that appear unreasonable for the market. (Real estate taxes and insurance on these types of properties are included in PITI and not calculated as an annual expense item) Income should be based on the current rents, but should not exceed market rents. When there are no current rents because the property is proposed, new, or currently vacant, market rents should be used.

Annual Income and Expense Projection for Next 12 months

Income (Do not include income for owner-occupied units)		By Applicant/Appraiser	Adjustments by Lender's Underwriter
Gross Annual Rental (from unit(s) to be rented)	(Current)	$ 35,640	$
Other Income (include sources)		+	+
Total		$ 35,640	$
Less Vacancy/Rent Loss		− 713 (2 %)	− (%)
Effective Gross Income		$ 34,927	$

Expenses (Do not include expenses for owner-occupied units)	By Applicant/Appraiser	Adjustments by Lender's Underwriter
Electricity Tenant pays		
Gas		
Fuel Oil		
Fuel (Type -)		
Water/Sewer Tenant pays		
Trash Removal Tenant pays		
Pest Control		
Other Taxes or Licenses	4,254	
Casual Labor		
This includes the costs for public area cleaning, snow removal, etc., even though the applicant may not elect to contract for such services.		
Interior Paint/Decorating	500	
This includes the costs of contract labor and materials that are required to maintain the interiors of the living unit.		
General Repairs/Maintenance	1,000	
This includes the costs of contract labor and materials that are required to maintain the public corridors, stairways, roofs, mechanical systems, grounds, etc.		
Management Expenses TYPICALLY 10%	3,564	
These are the customer expenses that a professional management company would charge to manage the property.		
Supplies		
This includes the costs of items like light bulbs, janitorial supplies, etc.		
Total Replacement Reserves - See Schedule on Pg. 2	1,925	
Miscellaneous		
Total Operating Expenses	$ 11,243	$

Mahon & Rutledge Appraisal Group
Form INC2 - "TOTAL" appraisal software by a la mode, inc. - 1-800-ALAMODE

Replacement Reserve Schedule

Adequate replacement reserves must be calculated regardless of whether actual reserves are provided for on the owner's operating statements or are customary in the local market. This represents the total average yearly reserves. Generally, all equipment and components that have a remaining life of more than one year - such as refrigerators, stoves, clothes washers/dryers, trash compactors, furnaces, roofs, and carpeting, etc. - should be expensed on a replacement cost basis.

Equipment		Replacement Cost		Remaining Life				By Applicant/ Appraiser	Lender Adjustments
Stoves/Ranges	@	$ 2	ea. ÷	15	Yrs. x	1,500	Units =	$ 200	$
Refrigerators	@	$ 2	ea. ÷	15	Yrs. x	1,200	Units =	$ 160	$
Dishwashers	@	$ 2	ea. ÷	10	Yrs. x	1,000	Units =	$ 200	$
A/C Units	@	$	ea. ÷		Yrs. x		Units =	$	$
C. Washer/Dryers	@	$ 2	ea. ÷	10	Yrs. x	1,200	Units =	$ 240	$
HW Heaters	@	$ 2	ea. ÷	8	Yrs. x	1,500	Units =	$ 375	$
Furnace(s)	@	$	ea. ÷		Yrs. x		Units =	$	$
(Other)	@	$	ea. ÷		Yrs. x		Units =	$	$
Roof	@	$ 15,000	÷	20	Yrs. x	One Bldg. =		$ 750	$

Carpeting (Wall to Wall)

					Remaining Life			
(Units)		Total Sq. Yds. @	$	Per Sq. Yd. ÷		Yrs. =	$	$
(Public Areas)		Total Sq. Yds. @	$	Per Sq. Yd. ÷		Yrs. =	$	$

Total Replacement Reserves. (Enter on Pg. 1) $ 1,925 $

Operating Income Reconciliation

$ 34,927	−	$ 11,243	=	$ 23,684	÷ 12 =	$ 1,974
Effective Gross Income		Total Operating Expenses		Operating Income		Monthly Operating Income
$ 1,974	−	$	=	$		
Monthly Operating Income		Monthly Housing Expense		Net Cash Flow		

(Note: Monthly Housing Expense includes principal and interest on the mortgage, hazard insurance premiums, real estate taxes, mortgage insurance premiums, HOA dues, leasehold payments, and subordinate financing payments.)

Underwriter's instructions for 2-4 Family Owner-Occupied Properties

- If Monthly Operating Income is a positive number, enter as "Net Rental Income" in the "Gross Monthly Income" section of Freddie Mac Form 65/Fannie Mae Form 1003. If Monthly Operating Income is a negative number, it must be included as a liability for qualification purposes.
- The borrower's monthly housing expense-to-income ratio must be calculated by comparing the total Monthly Housing Expense for the subject property to the borrower's stable monthly income.

Underwriter's instructions for 1-4 Family Investment Properties

- If Net Cash Flow is a positive number, enter as "Net Rental Income" in the "Gross Monthly Income" section of Freddie Mac Form 65/Fannie Mae Form 1003. If Net Cash Flow is a negative number, it must be included as a liability for qualification purposes.
- The borrower's monthly housing expense-to-income ratio must be calculated by comparing the total monthly housing expense for the borrower's primary residence to the borrower's stable monthly income.

Appraiser's Comments (Including sources for data and rationale for the projections)
NO EXPENSE DATA WAS PROVIDED TO THE APPRAISER. THE ABOVE ARE BASED ON ESTIMATED EXPENSES AND REPLACEMENT COST OF APPLIANCES.

CHRIS L WILLIS		03/18/2026
Appraiser Name	Appraiser Signature	Date

Underwriter's Comments and Rationale for Adjustments

Underwriter Name	Underwriter Signature	Date

Form INC2 - "TOTAL" appraisal software by a la mode, inc. - 1-800-ALAMODE

PROPERTY HISTORY

File No. 48171776563

Borrower/Client	Benjamin Artaiz						
Property Address	674/678 SE 11th Ave						
City	Hillsboro	County	Washington	State	OR	Zip Code	97123
Lender	EASY STREET CAPITAL, LLC						

PRIOR LISTING AND SALES HISTORY

*** SUBJECT 12 MONTH LISTING HISTORY ***

The subject was offered for sale on 10/25/2025 for $589,000, per RMLS #745855568. The most recent list price is $589,000 and the subject is now under contract with an MLS contract date of 11/05/2025.

*** SUBJECT 36-MONTH PRIOR TRANSFER HISTORY ***

674/678 SE 11th Ave
Public Records Not Found

*** COMPARABLE 12-MONTH PRIOR TRANSFER HISTORY ***
(may include properties that were considered but not utilized as comparables)

1189 1199 SE 15th Ave
Public Records Not Found

710 NE 69th Ave
Public Records Not Found

2238 NE Barberry Ct
-No transfer history.

856 NW Val Ct
-No transfer history.

213 NW Forest St
Public Records Not Found

580 NE 69th Ave
Public Records Not Found

1428 NE Thomas Ct
-No transfer history.

2082 2080 NE Darby St
-Transferred on 10/24/2025 for $500,000. It transferred from Zimbrick Lorna E Trust to Wang Yirong and was a Warranty Deed (Document #48126).

3206 NE 13th Pl
-No transfer history.

3277 NE 14th Ave
-No transfer history.

1925 NE Darby St
-Transferred on 10/08/2025 for $575,000. It transferred from Dean Christopher to Goana Jesus S and was a Warranty Deed (Document #45284).
-Transferred on 01/24/2025 for $575,000. It transferred from Dean Christopher to Goana Jesus S and was a Warranty Deed (Document #3620).

Subject Photo Page

Borrower/Client	Benjamin Artaiz						
Property Address	674/678 SE 11th Ave						
City	Hillsboro	County	Washington	State	OR	Zip Code	97123
Lender	EASY STREET CAPITAL, LLC						

Subject Front

674/678 SE 11th Ave

Sales Price	575,000
Gross Building Area	1,627
Age	74

Subject Rear

Subject Street

PHOTOGRAPH ADDENDUM

Borrower/Client	Benjamin Artaiz						
Property Address	674/678 SE 11th Ave						
City	Hillsboro	County	Washington	State	OR	Zip Code	97123
Lender	EASY STREET CAPITAL, LLC						

FRONT-UNIT 674

KITCHEN-UNIT 674

LIVING ROOM-UNIT 674

NOOK-UNIT 674

PHOTOGRAPH ADDENDUM

Borrower/Client	Benjamin Artaiz						
Property Address	674/678 SE 11th Ave						
City	Hillsboro	County	Washington	State	OR	Zip Code	97123
Lender	EASY STREET CAPITAL, LLC						

BATHROOM-UNIT 674

BEDROOM-UNIT 674

BEDROOM-UNIT 674

LAUNDRY-UNIT 674

PHOTOGRAPH ADDENDUM

Borrower/Client	Benjamin Artaiz						
Property Address	674/678 SE 11th Ave						
City	Hillsboro	County	Washington	State	OR	Zip Code	97123
Lender	EASY STREET CAPITAL, LLC						

WATER HEATER-UNIT 674

CO DETECTOR-UNIT 674

SMOKE DETECTOR-UNIT 674

INSIDE GARAGE-UNIT 674

PHOTOGRAPH ADDENDUM

Borrower/Client	Benjamin Artaiz						
Property Address	674/678 SE 11th Ave						
City	Hillsboro	County	Washington	State	OR	Zip Code	97123
Lender	EASY STREET CAPITAL, LLC						

REAR-UNIT 674

SIDE-UNIT 674

FRONT-UNIT 678

KITCHEN-UNIT 678

PHOTOGRAPH ADDENDUM

Borrower/Client	Benjamin Artaiz						
Property Address	674/678 SE 11th Ave						
City	Hillsboro	County	Washington	State	OR	Zip Code	97123
Lender	EASY STREET CAPITAL, LLC						

LIVING ROOM-UNIT 678

NOOK-UNIT 678

BATHROOM-UNIT 678

BEDROOM-UNIT 678

PHOTOGRAPH ADDENDUM

Borrower/Client	Benjamin Artaiz						
Property Address	674/678 SE 11th Ave						
City	Hillsboro	County	Washington	State	OR	Zip Code	97123
Lender	EASY STREET CAPITAL, LLC						

BEDROOM-UNIT 678

LAUNDRY-UNIT 678

WATER HEATER-UNIT 678

SMOKE DETECTOR-UNIT 678

PHOTOGRAPH ADDENDUM

Borrower/Client	Benjamin Artaiz						
Property Address	674/678 SE 11th Ave						
City	Hillsboro	County	Washington	State	OR	Zip Code	97123
Lender	EASY STREET CAPITAL, LLC						

INSIDE GARAGE-UNIT 678

SIDE-UNIT 678

REAR-UNIT 678

Comparable Photo Page

Borrower/Client	Benjamin Artaiz						
Property Address	674/678 SE 11th Ave						
City	Hillsboro	County	Washington	State	OR	Zip Code	97123
Lender	EASY STREET CAPITAL, LLC						

Comparable 1

1428 NE Thomas Ct

Sales Price	660,000
G.B.A.	2,632
Age/Yr. Blt.	26

Comparable 2

1925 NE Darby St

Sales Price	575,000
G.B.A.	1,968
Age/Yr. Blt.	45

Comparable 3

856 NW Val Ct

Sales Price	534,000
G.B.A.	1,656
Age/Yr. Blt.	52

Comparable Photo Page

Borrower/Client	Benjamin Artaiz						
Property Address	674/678 SE 11th Ave						
City	Hillsboro	County	Washington	State	OR	Zip Code	97123
Lender	EASY STREET CAPITAL, LLC						

Comparable 4

580 NE 69th Ave

Sales Price	540,000
G.B.A.	1,640
Age/Yr. Blt.	61



Comparable 5

2082 NE Darby St # 2080

Sales Price	525,000
G.B.A.	1,980
Age/Yr. Blt.	45

Comparable 6

Sales Price	
G.B.A.	
Age/Yr. Blt.	

Rental Photo Page

Borrower/Client	Benjamin Artaiz						
Property Address	674/678 SE 11th Ave						
City	Hillsboro	County	Washington	State	OR	Zip Code	97123
Lender	EASY STREET CAPITAL, LLC						

Rental 1

2082/2080 NE Darby St

Proximity to Subj.	1.43 miles NE
GBA	1,980
Age/Year Built	45

Rental 2

710 NE 69th Ave

Proximity to Subj.	3.13 miles E
GBA	1,656
Age/Year Built	62

Rental 3

1925 NE Darby St

Proximity to Subj.	1.43 miles NE
GBA	1,968
Age/Year Built	45

Building Sketch

Borrower/Client	Benjamin Artaiz						
Property Address	674/678 SE 11th Ave						
City	Hillsboro	County	Washington	State	OR	Zip Code	97123
Lender	EASY STREET CAPITAL, LLC						

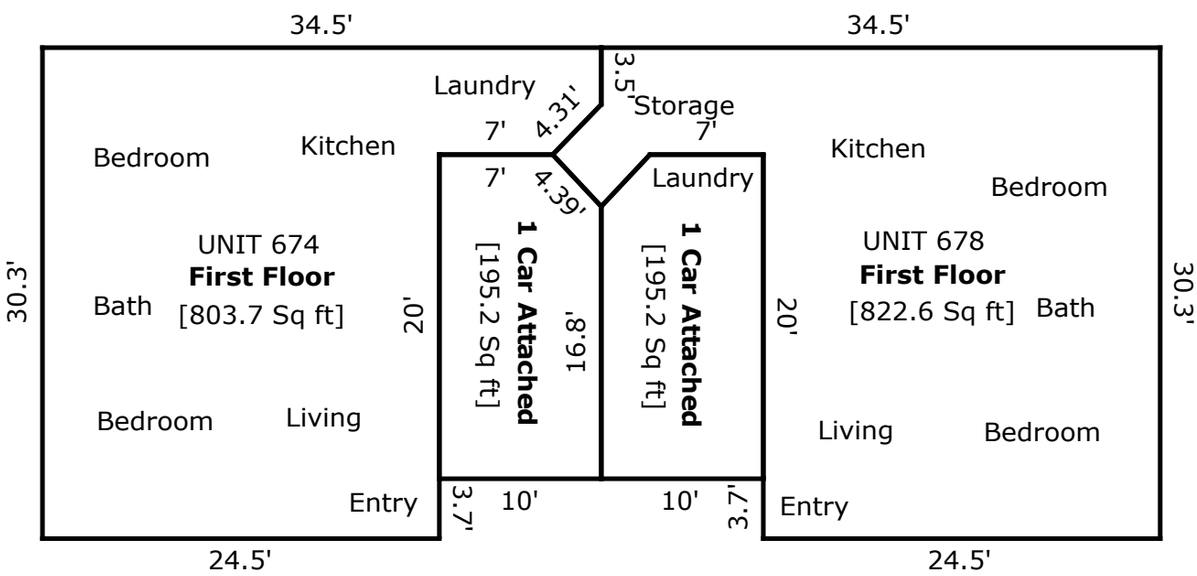

TOTAL Sketch by a la mode

Area Calculations Summary

Living Area		**Calculation Details**
First Floor	803.7 Sq ft	24.5 × 23.7 = 580.65
		6.6 × 31.5 = 207.9
		3 × 3.5 = 10.5
		0.5 × 3 × 3.1 = 4.65
First Floor	822.6 Sq ft	34.5 × 3.5 = 120.75
		0.5 × 3 × 3.1 = 4.65
		34.5 × 3.1 = 106.95
		0.5 × 6 × 3.2 = 9.6
		24.5 × 23.7 = 580.65
Total Living Area (Rounded):	**1626 Sq ft**	
Non-living Area		
1 Car Attached	195.2 Sq ft	10 × 16.8 = 168
		3.2 × 7 = 22.4
		0.5 × 3.2 × 3 = 4.8
1 Car Attached	195.2 Sq ft	10 × 16.8 = 168
		3.2 × 7 = 22.4
		0.5 × 3.2 × 3 = 4.8

Location Map

Borrower/Client	Benjamin Artaiz						
Property Address	674/678 SE 11th Ave						
City	Hillsboro	County	Washington	State	OR	Zip Code	97123
Lender	EASY STREET CAPITAL, LLC						

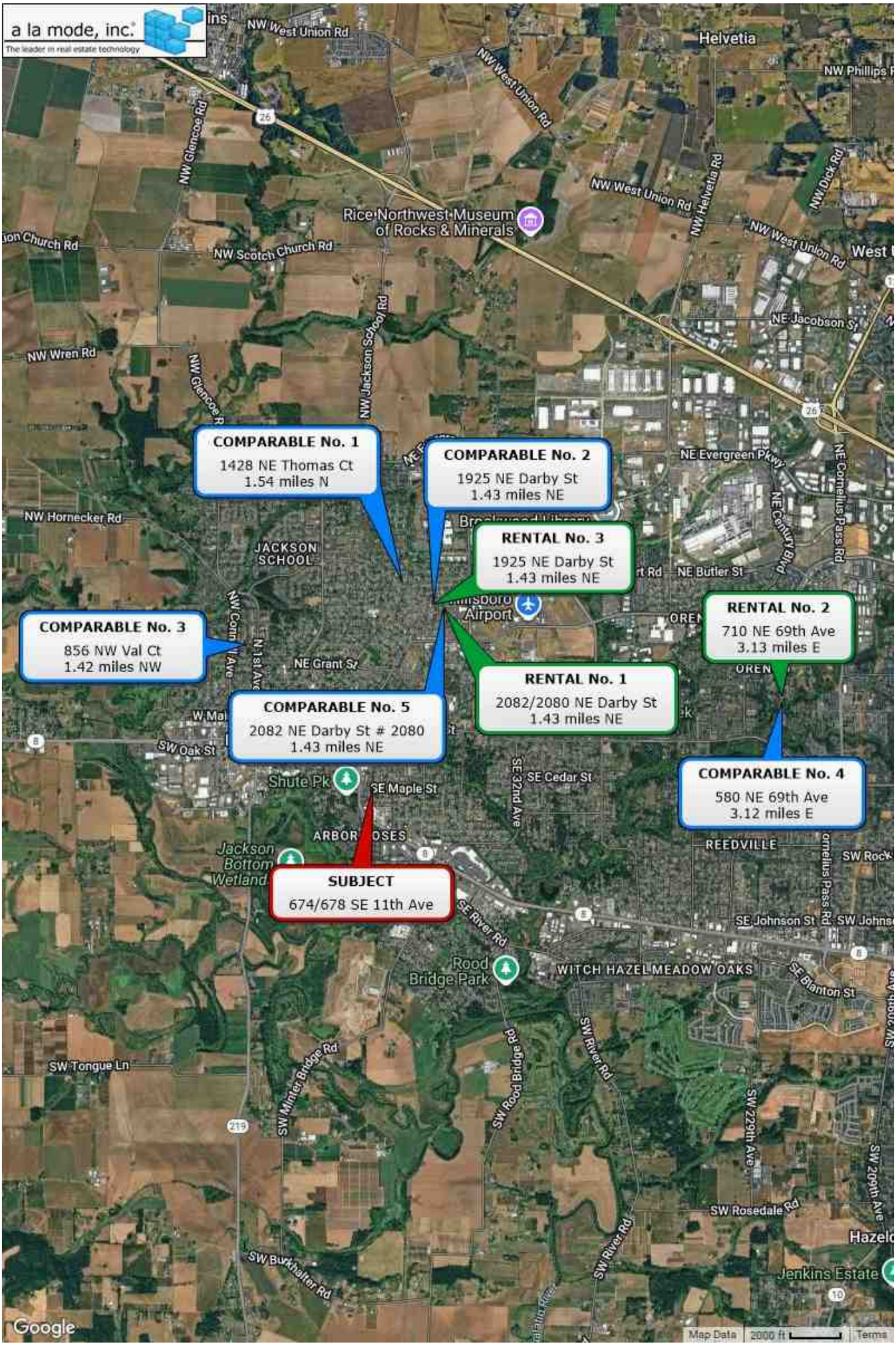

E&O Certification

CERTIFICATE OF INSURANCE

Producer:

LIA ADMINISTRATORS & INSURANCE SERVICES
P.O. Box 1319
Santa Barbara, CA 93102-1319

Issue Date: 02/28/2025
This Certificate is issued as a matter of information only and confers no rights upon the Certificate Holder. This Certificate does not amend, extend or alter the coverage afforded by the policy below.

Insured: 113214
MAHON & RUTLEDGE
APPRAISAL GROUP, INC.
MAHON CAPITAL, INC.
340 E Sunset Way, Suite 201
Issaquah, WA 98027

Fax Number: 425-454-3554

COMPANY AFFORDING COVERAGE

Aspen American Insurance Company

Authorized Representative

This is to certify that the policy of insurance listed below has been issued to the Insured named above for the policy period indicated. Notwithstanding any requirement, term of condition of any contract or other document with respect to which this Certificate may be issued or may pertain, the insurance afforded by the policy described herein is subject to all the terms, exclusions and conditions of such policy. Limits shown may have been reduced by paid claims.

DISCLAIMER: This certificate of insurance does not affirmatively or negatively amend, extend, or alter the coverage afforded by the insurance policy.

TYPE OF INSURANCE	POLICY NUMBER	EFFECTIVE DATE	EXPIRATION DATE	LIMITS	
Professional Liability	AAI000023-11	04/01/2025	04/01/2026	Each Claim General Aggregate	$ 1,000,000 $ 1,000,000

Description of Operations/Locations/Special Items:
Professional Services as defined in the policy

CHRIS WILLIS IS A COVERED APPRAISER UNDER THIS POLICY FOR APPRAISALS COMPLETED FOR OR ON BEHALF OF THE NAMED INSURED.

Certificate Holder:
For proof of insurance purposes only

Cancellation:
SHOULD ANY OF THE ABOVE DESCRIBED POLICIES BE CANCELLED BEFORE THE EXPIRATION DATE THEREOF, NOTICE WILL BE DELIVERED IN ACCORDANCE WITH THE POLICY PROVISIONS.

LIA0001 (11/97)

License

Appraiser Certification and Licensure Board

State Certified Residential Appraiser

28 hours of continuing education required

CHRISTOPHER L WILLIS
MAHON AND RUTLEDGE APPRAISAL GROUP
340 E SUNSET WAY, STE 201
ISSAQUAH, WA 98027

License No.: CR01349
Issue Date: November 01, 2025
Expiration Date: October 31, 2027

Chad Koch, Administrator

STATE OF WASHINGTON

DEPARTMENT OF LICENSING - BUSINESS AND PROFESSIONS DIVISION
THIS CERTIFIES THE PERSON OR BUSINESS NAMED BELOW IS AUTHORIZED AS A

LICENSING

CERTIFIED RESIDENTIAL REAL ESTATE APPRAISER

CHRIS L WILLIS

License Number	Issue Date	Expiration Date
1702490	04/24/2007	10/18/2026

Marcus J Glasper, Director