APPRAISAL OF REAL PROPERTY

LOCATED AT

304 Wilshire Dr
Machesney Park, IL 61115
LIBERTY PARK SUB PT SW 1/4 SEC 30-45-2 LOT 012 BLOCK 009

FOR

New Silver Lending LLC
28 N Main St, Suite 202
West Hartford, CT 06107

OPINION OF VALUE

152,000

AS OF

03/09/2026

BY

Tony Saladino
Signature Appraisals, Inc
4777 E State St, Suite 2
Rockford, IL 61108
(815) 904-6691
tony@sgnapr.com

Uniform Residential Appraisal Report

File # 263-00382 R26-000235

The purpose of this summary appraisal report is to provide the lender/client with an accurate, and adequately supported, opinion of the market value of the subject property.

SUBJECT

Property Address 304 Wilshire Dr | City Machesney Park | State IL | Zip Code 61115
Borrower Bjorn Hulleberg | Owner of Public Record Bjorn Hulleberg | County Winnebago
Legal Description LIBERTY PARK SUB PT SW 1/4 SEC 30-45-2 LOT 012 BLOCK 009
Assessor's Parcel # 08-30-304-010 | Tax Year 2024 | R.E. Taxes $ 2,062
Neighborhood Name Liberty Park Sub | Map Reference 40420 | Census Tract 0001.01
Occupant ☐ Owner ☒ Tenant ☐ Vacant | Special Assessments $ 0 | ☐ PUD HOA $ 0 ☐ per year ☐ per month
Property Rights Appraised ☒ Fee Simple ☐ Leasehold ☐ Other (describe)
Assignment Type ☐ Purchase Transaction ☒ Refinance Transaction ☐ Other (describe)
Lender/Client New Silver Lending LLC | Address 28 N Main St, Suite 202, West Hartford, CT 06107
Is the subject property currently offered for sale or has it been offered for sale in the twelve months prior to the effective date of this appraisal? ☐ Yes ☒ No
Report data source(s) used, offering price(s), and date(s). Per the NWIAR MLS the subject property is not currently listed, nor has it been within the twelve months prior to the effective date of this appraisal.

CONTRACT

I ☐ did ☐ did not analyze the contract for sale for the subject purchase transaction. Explain the results of the analysis of the contract for sale or why the analysis was not performed.

Contract Price $ | Date of Contract | Is the property seller the owner of public record? ☐ Yes ☐ No Data Source(s)
Is there any financial assistance (loan charges, sale concessions, gift or downpayment assistance, etc.) to be paid by any party on behalf of the borrower? ☐ Yes ☐ No
If Yes, report the total dollar amount and describe the items to be paid.

NEIGHBORHOOD

Note: Race and the racial composition of the neighborhood are not appraisal factors.

Neighborhood Characteristics				One-Unit Housing Trends				One-Unit Housing			Present Land Use %	
Location	☒ Urban	☐ Suburban	☐ Rural	Property Values	☐ Increasing	☒ Stable	☐ Declining	PRICE		AGE	One-Unit	83 %
Built-Up	☒ Over 75%	☐ 25-75%	☐ Under 25%	Demand/Supply	☒ Shortage	☐ In Balance	☐ Over Supply	$ (000)		(yrs)	2-4 Unit	1 %
Growth	☐ Rapid	☒ Stable	☐ Slow	Marketing Time	☒ Under 3 mths	☐ 3-6 mths	☐ Over 6 mths	125	Low	25	Multi-Family	1 %
Neighborhood Boundaries Ralston Rd and IL-173 to the north; E Riverside Rd to the south; N Alpine Rd to the east and Rock River to the west.								225	High	105	Commercial	15 %
								170	Pred.	65	Other	%

Neighborhood Description See attached addenda.

Market Conditions (including support for the above conclusions) See attached addenda.

SITE

Dimensions 50x140 | Area 7000 sf | Shape Rectangular | View N;Res;
Specific Zoning Classification R-1 | Zoning Description Single Family Residential
Zoning Compliance ☒ Legal ☐ Legal Nonconforming (Grandfathered Use) ☐ No Zoning ☐ Illegal (describe)
Is the highest and best use of subject property as improved (or as proposed per plans and specifications) the present use? ☒ Yes ☐ No If No, describe See attached addenda.

Utilities	Public	Other (describe)		Public	Other (describe)	Off-site Improvements – Type	Public	Private
Electricity	☒	☐	Water	☒	☐	Street Blacktop	☒	☐
Gas	☒	☐	Sanitary Sewer	☒	☐	Alley None	☐	☐

FEMA Special Flood Hazard Area ☐ Yes ☒ No | FEMA Flood Zone X | FEMA Map # 17201C0256E | FEMA Map Date 02/17/2016
Are the utilities and off-site improvements typical for the market area? ☒ Yes ☐ No If No, describe
Are there any adverse site conditions or external factors (easements, encroachments, environmental conditions, land uses, etc.)? ☐ Yes ☒ No If Yes, describe
There are no known adverse site conditions or external factors. Title policy or survey not provided. Typical utility easements are assumed.

IMPROVEMENTS

General Description		Foundation		Exterior Description	materials/condition	Interior	materials/condition
Units	☒ One ☐ One with Accessory Unit	☒ Concrete Slab	☐ Crawl Space	Foundation Walls	P.Concrete/Average	Floors	Hw-Cer/Average
# of Stories	2	☐ Full Basement	☐ Partial Basement	Exterior Walls	Vinyl/Average	Walls	Plaster/Average
Type	☒ Det. ☐ Att. ☐ S-Det./End Unit	Basement Area	0 sq.ft.	Roof Surface	Asphalt/Average	Trim/Finish	Wood/Average
☒ Existing	☐ Proposed ☐ Under Const.	Basement Finish	0 %	Gutters & Downspouts	Aluminum/Average	Bath Floor	Cer-Hw/Average
Design (Style)	Colonial	☐ Outside Entry/Exit	☐ Sump Pump	Window Type	DoubleHung/Avg	Bath Wainscot	Modular
Year Built	1946	Evidence of ☐ Infestation		Storm Sash/Insulated	Insulated/Average	Car Storage	☐ None
Effective Age (Yrs)	30	☐ Dampness	☐ Settlement	Screens	Yes/Average	☒ Driveway	# of Cars 2
Attic	☐ None	Heating ☒ FWA	☐ HWBB ☐ Radiant	Amenities	☐ Woodstove(s) # 0	Driveway Surface	Concrete
☒ Drop Stair	☐ Stairs	☐ Other	Fuel Gas	☐ Fireplace(s) # 0	☒ Fence Yes	☒ Garage	# of Cars 1
☐ Floor	☐ Scuttle	Cooling ☐ Central Air Conditioning		☐ Patio/Deck None	☐ Porch None	☐ Carport	# of Cars 0
☐ Finished	☐ Heated	☐ Individual	☒ Other None	☐ Pool None	☐ Other None	☒ Att.	☐ Det. ☐ Built-in

Appliances ☒ Refrigerator ☒ Range/Oven ☐ Dishwasher ☐ Disposal ☒ Microwave ☐ Washer/Dryer ☐ Other (describe)
Finished area **above** grade contains: 5 Rooms 3 Bedrooms 1.1 Bath(s) 1,049 Square Feet of Gross Living Area Above Grade
Additional features (special energy efficient items, etc.). Uncovered stoop at front of home; partially fenced in yard;

Describe the condition of the property (including needed repairs, deterioration, renovations, remodeling, etc.). C4;No updates in the prior 15 years;See attached addenda.

Are there any physical deficiencies or adverse conditions that affect the livability, soundness, or structural integrity of the property? ☐ Yes ☒ No If Yes, describe
There are no known physical deficiencies or adverse conditions that affect the livability, soundness or structural integrity of the subject property.

Does the property generally conform to the neighborhood (functional utility, style, condition, use, construction, etc.)? ☒ Yes ☐ No If No, describe
See attached addenda.

Uniform Residential Appraisal Report

File # 263-00382 R26-000235

There are 2 comparable properties currently offered for sale in the subject neighborhood ranging in price from $ 168,000 to $ 195,000 .

There are 26 comparable sales in the subject neighborhood within the past twelve months ranging in sale price from $ 129,000 to $ 195,000 .

FEATURE	SUBJECT	COMPARABLE SALE # 1		COMPARABLE SALE # 2		COMPARABLE SALE # 3	
Address	304 Wilshire Dr Machesney Park, IL 61115	815 Kingsley Dr Machesney Park, IL 61115		8315 Ravere St Machesney Park, IL 61115		7532 Sommerville St Machesney Park, IL 61115	
Proximity to Subject		0.93 miles SE		0.44 miles E		0.60 miles SE	
Sale Price	$		$ 165,000		$ 195,000		$ 165,000
Sale Price/Gross Liv. Area	$ sq.ft.	$ 156.70 sq.ft.		$ 128.54 sq.ft.		$ 148.38 sq.ft.	
Data Source(s)		NWIAR MLS#202507498;DOM 7		NWIAR MLS#202505054;DOM 42		NWIAR MLS#202505885;DOM 6	
Verification Source(s)		Harlem Township Assessor		Harlem Township Assessor		Harlem Township Assessor	
VALUE ADJUSTMENTS	DESCRIPTION	DESCRIPTION	+(-) $ Adjustment	DESCRIPTION	+(-) $ Adjustment	DESCRIPTION	+(-) $ Adjustment
Sales or Financing Concessions		ArmLth Conv;0		ArmLth FHA;0		ArmLth VA;0	
Date of Sale/Time		s02/26;c12/25		s11/25;c10/25		s11/25;c09/25	
Location	N;Res;	N;Res;		N;Res;		N;Res;	
Leasehold/Fee Simple	Fee Simple	Fee Simple		Fee Simple		Fee Simple	
Site	7000 sf	6953 sf	0	20486 sf	-2,000	8420 sf	0
View	N;Res;	N;Res;		N;Res;		N;Res;	
Design (Style)	DT2;Colonial	DT2;Cape Cod	0	DT2;Cape Cod	0	DT2;Cape Cod	0
Quality of Construction	Q4	Q4		Q4		Q4	
Actual Age	80	81	0	70	0	30	0
Condition	C4	C4		C4		C4	-10,000
Above Grade Room Count (Total / Bdrms. / Baths)	5 / 3 / 1.1	8 / 4 / 1.0	+3,000	7 / 4 / 2.0	-3,000	6 / 3 / 1.0	+3,000
Gross Living Area	1,049 sq.ft.	1,053 sq.ft.	0	1,517 sq.ft.	-21,060	1,112 sq.ft.	0
Basement & Finished Rooms Below Grade	0sf	807sf0sfin	-8,100	628sf0sfin	-6,300	0sf	
Functional Utility	Average	Average		Average		Average	
Heating/Cooling	GFA/No C-Air	GFA/Central Air	-2,000	GFA/Central Air	-2,000	GFA/Central Air	-2,000
Energy Efficient Items	None	None Known	0	None Known	0	None Known	0
Garage/Carport	1ga2dw	1dw	+6,000	2gd2dw	-6,000	2gd2dw	-6,000
Porch/Patio/Deck	Fence	Prh,Dk,Fnc,Shd	-2,000	Prh,LrgPt,Fnc	-2,000	Patio,Deck	0
Net Adjustment (Total)		☐ + ☒ -	$ -3,100	☐ + ☒ -	$ -42,360	☐ + ☒ -	$ -15,000
Adjusted Sale Price of Comparables		Net Adj. 1.9 % Gross Adj. 12.8 %	$ 161,900	Net Adj. 21.7 % Gross Adj. 21.7 %	$ 152,640	Net Adj. 9.1 % Gross Adj. 12.7 %	$ 150,000

I ☒ did ☐ did not research the sale or transfer history of the subject property and comparable sales. If not, explain

My research ☐ did ☒ did not reveal any prior sales or transfers of the subject property for the three years prior to the effective date of this appraisal.

Data Source(s) Recorder/Assessor

My research ☐ did ☒ did not reveal any prior sales or transfers of the comparable sales for the year prior to the date of sale of the comparable sale.

Data Source(s) Recorder/Assessor

Report the results of the research and analysis of the prior sale or transfer history of the subject property and comparable sales (report additional prior sales on page 3).

ITEM	SUBJECT	COMPARABLE SALE #1	COMPARABLE SALE #2	COMPARABLE SALE #3
Date of Prior Sale/Transfer				
Price of Prior Sale/Transfer				
Data Source(s)	Recorder/Assessor	Recorder/Assessor	Recorder/Assessor	Recorder/Assessor
Effective Date of Data Source(s)	03/09/2026	03/09/2026	03/09/2026	03/09/2026

Analysis of prior sale or transfer history of the subject property and comparable sales There have been no prior sales or transfers of the subject property within the past three years prior to the report date and no known prior sales or transfers of the comparable sales 1-3 within the year prior to the sales utilized in this report.

Summary of Sales Comparison Approach See attached addenda.

Indicated Value by Sales Comparison Approach $ 152,000

Indicated Value by: Sales Comparison Approach $ 152,000 **Cost Approach (if developed) $** **Income Approach (if developed) $**

The sales comparison approach to value is dominant, as it reflects current buyer and seller attitudes. The cost approach was not developed due to the age of the subject property and the lack of accuracy of estimating a reproduction cost new and physical depreciation. The income approach is not applicable due to a lack of rental data for the market area and a reliable GRM could not be obtained.

This appraisal is made ☒ "as is", ☐ subject to completion per plans and specifications on the basis of a hypothetical condition that the improvements have been completed, ☐ subject to the following repairs or alterations on the basis of a hypothetical condition that the repairs or alterations have been completed, or ☐ subject to the following required inspection based on the extraordinary assumption that the condition or deficiency does not require alteration or repair: See attached addenda.

Based on a complete visual inspection of the interior and exterior areas of the subject property, defined scope of work, statement of assumptions and limiting conditions, and appraiser's certification, my (our) opinion of the market value, as defined, of the real property that is the subject of this report is $ 152,000 **, as of** 03/09/2026 **, which is the date of inspection and the effective date of this appraisal.**

Form 1004UAD - "TOTAL" appraisal software by a la mode, inc. - 1-800-ALAMODE

Uniform Residential Appraisal Report

File # 263-00382 R26-000235

SALES COMPARISON APPROACH

FEATURE	SUBJECT	COMPARABLE SALE # 4		COMPARABLE SALE # 5		COMPARABLE SALE # 6	
Address	304 Wilshire Dr Machesney Park, IL 61115	632 Drexel Blvd Machesney Park, IL 61115		7502 Rogers St Machesney Park, IL 61115		6512 N 2nd St Loves Park, IL 61111	
Proximity to Subject		0.92 miles S		0.69 miles SE		1.33 miles S	
Sale Price	$		$ 175,000		$ 175,000		$ 150,000
Sale Price/Gross Liv. Area	$ sq.ft.	$ 135.14 sq.ft.		$ 138.01 sq.ft.		$ 149.11 sq.ft.	
Data Source(s)		NWIAR MLS#202505896;DOM 0		NWIAR MLS#202504664;DOM 0		NWIAR MLS#202502865;DOM 3	
Verification Source(s)		Harlem Township Assessor		Inspection/Appraisal Files		Rockford Township Assessor	
VALUE ADJUSTMENTS	DESCRIPTION	DESCRIPTION	+(-) $ Adjustment	DESCRIPTION	+(-) $ Adjustment	DESCRIPTION	+(-) $ Adjustment
Sales or Financing Concessions		ArmLth Cash;0		ArmLth Conv;0		ArmLth Cash;0	
Date of Sale/Time		s10/25;c09/25		s08/25;c06/25		s06/25;c06/25	
Location	N;Res;	N;Res;		N;Res;		A;BsyRd;Res	+7,500
Leasehold/Fee Simple	Fee Simple	Fee Simple		Fee Simple		Fee Simple	
Site	7000 sf	6953 sf	0	7800 sf	0	9537 sf	0
View	N;Res;	N;Res;		N;Res;		N;Res;Comm	0
Design (Style)	DT2;Colonial	DT2;Cape Cod	0	DT2;Cape Cod	0	DT2;Cape Cod	0
Quality of Construction	Q4	Q4		Q4		Q4	
Actual Age	80	85	0	95	0	86	0
Condition	C4	C4		C4		C4	
Above Grade Room Count (Total / Bdrms. / Baths)	5 / 3 / 1.1	7 / 3 / 1.0	+3,000	5 / 3 / 1.0	+3,000	7 / 3 / 1.0	+3,000
Gross Living Area	1,049 sq.ft.	1,295 sq.ft.	-11,070	1,268 sq.ft.	-9,855	1,006 sq.ft.	0
Basement & Finished	0sf	865sf300sfin	-8,700	849sf679sfin	-8,500	575sf48sfin	-5,800
Rooms Below Grade		1rr0br0.0ba0o	-3,000	1rr0br1.0ba0o	-9,800	0rr0br1.0ba0o	-3,000
Functional Utility	Average	Average		Average		Average	
Heating/Cooling	GFA/No C-Air	GFA/Central Air	-2,000	GFA/Central Air	-2,000	GFA/Central Air	-2,000
Energy Efficient Items	None	None Known	0	None		None Known	0
Garage/Carport	1ga2dw	1gd1dw	0	2gd2dw	-6,000	1dw	+6,000
Porch/Patio/Deck	Fence	Prh,Dck,Shd	-1,000	Prh,2 Dks,Pto	-2,000	Pto,2Shd,Fnc	-2,000
Net Adjustment (Total)		☐ + ☒ -	$ -22,770	☐ + ☒ -	$ -35,155	☒ + ☐ -	$ 3,700
Adjusted Sale Price of Comparables		Net Adj. 13.0 % Gross Adj. 16.4 %	$ 152,230	Net Adj. 20.1 % Gross Adj. 23.5 %	$ 139,845	Net Adj. 2.5 % Gross Adj. 19.5 %	$ 153,700

SALE HISTORY

Report the results of the research and analysis of the prior sale or transfer history of the subject property and comparable sales (report additional prior sales on page 3).

ITEM	SUBJECT	COMPARABLE SALE # 4	COMPARABLE SALE # 5	COMPARABLE SALE # 6
Date of Prior Sale/Transfer				
Price of Prior Sale/Transfer				
Data Source(s)	Recorder/Assessor	Recorder/Assessor	Recorder/Assessor	Recorder/Assessor
Effective Date of Data Source(s)	03/09/2026	03/09/2026	03/09/2026	03/09/2026

Analysis of prior sale or transfer history of the subject property and comparable sales: Comparable 5 had a Warranty Deed sale on 06/23/2025 for $130,000 and has had some updating since this sale. There have been no other sales or transfers of comparable sales 4-6 within the year prior to the sales utilized in this report.

ANALYSIS / COMMENTS

Analysis/Comments: Three additional sales have been added and adjustments have been taken where necessary. Sale 6 has a busy street location and an adjustment has been taken due to this factor. Sale 6 has a commercial view and there is no market evidence to warrant a view adjustment. Sales 4-6 have an inferior bathroom count. Sales 4-6 have a basement. Sales 4 and 5 have basement finish. Finished basement area was adjusted at $10 a SF and a $3,000 adjustment was taken for a full basement bath. Sales 4-6 have central air. Sale 5 has superior car storage and sale 6 has inferior car storage. Sales 4-6 have superior amenities. Sale 5 has excessive net adjustments and this could not be avoided.

Form 1004UAD.(AC) - "TOTAL" appraisal software by a la mode, inc. - 1-800-ALAMODE

Uniform Residential Appraisal Report

263-00382
File # R26-000235

SALES COMPARISON APPROACH

FEATURE	SUBJECT	COMPARABLE SALE # 7		COMPARABLE SALE # 8		COMPARABLE SALE # 9	
Address	304 Wilshire Dr Machesney Park, IL 61115	623 Wayne Dr Machesney Park, IL 61115					
Proximity to Subject		0.78 miles SE					
Sale Price	$		$ 155,000		$		$
Sale Price/Gross Liv. Area	$ sq.ft.	$ 160.46 sq.ft.		$ sq.ft.		$ sq.ft.	
Data Source(s)		NWIAR MLS#202500026;DOM 17					
Verification Source(s)		Harlem Township Assessor					
VALUE ADJUSTMENTS	DESCRIPTION	DESCRIPTION	+(-) $ Adjustment	DESCRIPTION	+(-) $ Adjustment	DESCRIPTION	+(-) $ Adjustment
Sales or Financing Concessions		ArmLth VA;0					
Date of Sale/Time		s03/25;c02/25					
Location	N;Res;	N;Res;					
Leasehold/Fee Simple	Fee Simple	Fee Simple					
Site	7000 sf	11761 sf	0				
View	N;Res;	N;Res;					
Design (Style)	DT2;Colonial	DT2;Cape Cod	0				
Quality of Construction	Q4	Q4	-2,000				
Actual Age	80	74	0				
Condition	C4	C4					
Above Grade Room Count (Total / Bdrms. / Baths)	5 / 3 / 1.1	6 / 3 / 1.0	+3,000	/ /		/ /	
Gross Living Area	1,049 sq.ft.	966 sq.ft.	0	sq.ft.		sq.ft.	
Basement & Finished Rooms Below Grade	0sf	805sf0sfin	-8,100				
Functional Utility	Average	Average					
Heating/Cooling	GFA/No C-Air	GFA/Central Air	-2,000				
Energy Efficient Items	None	None Known	0				
Garage/Carport	1ga2dw	1ga1dw	0				
Porch/Patio/Deck	Fence	Fence					
Net Adjustment (Total)		☐ + ☒ -	$ -9,100	☐ + ☐ -	$	☐ + ☐ -	$
Adjusted Sale Price of Comparables		Net Adj. 5.9 % Gross Adj. 9.7 %	$ 145,900	Net Adj. % Gross Adj. %	$	Net Adj. % Gross Adj. %	$

SALE HISTORY

Report the results of the research and analysis of the prior sale or transfer history of the subject property and comparable sales (report additional prior sales on page 3).

ITEM	SUBJECT	COMPARABLE SALE # 7	COMPARABLE SALE # 8	COMPARABLE SALE # 9
Date of Prior Sale/Transfer				
Price of Prior Sale/Transfer				
Data Source(s)	Recorder/Assessor	Recorder/Assessor		
Effective Date of Data Source(s)	03/09/2026	03/09/2026		

Analysis of prior sale or transfer history of the subject property and comparable sales There have been no prior sales or transfers of comparable sale 7 within the year prior to the sales utilized in this report.

ANALYSIS / COMMENTS

Analysis/Comments A seventh sale has been added and adjustments have been taken where necessary. Sale 7 has the same quality construction, however, has a full brick front exterior and an adjustment has been taken due to this factor. Sale 7 has and inferior bathroom count and has a basement. Sale 7 has central air.

Form 1004UAD.(AC) - "TOTAL" appraisal software by a la mode, inc. - 1-800-ALAMODE

ADDITIONAL COMMENTS

EXPANDED SCOPE OF WORK STATEMENT

At the request of the client, this appraisal report has been prepared in compliance with the Uniform Appraisal Dataset (UAD) from Fannie Mae and Freddie Mac. The UAD requires the appraiser to use standardized responses that include specific formats, definitions, abbreviations, and acronyms.

The appraiser attempted to obtain an adequate amount of information in the normal course of business regarding the subject and comparable properties. Some of the standardized responses required by the UAD, especially those in which the appraiser has NOT had the opportunity to verify personally or measure, could mistakenly imply greater precision and reliability in the data than is factually correct or typical in the normal course of business. Examples include condition and quality ratings as well as comparable sales and listing data. The appraiser makes no representations, guarantees or warranties, express or implied, regarding building materials, their fitness, quality, condition or remaining economic life. Not every element of the subject property was viewable. The appraiser did not move any personal property, due to liability concerns for potential damage to the property, to disclose or reveal any unapparent or hidden defects to the structure, nor did the appraiser dismantle or probe the structure to observe enclosed, encased, or otherwise concealed areas. Comparable data was generally obtained from third-party sources including but not limited to the local MLS, County Assessor, Township Assessor, online resources and additional public data sources. Consequently, this information should be considered and "estimate" unless otherwise noted by the appraiser.

INTENDED USER CLARIFICATION

The appraisal assignment has been ordered by an appraisal management company. They have been identified as the Client in the LENDER/CLIENT section on the Name line on the Signature Page. The lender has been identified in the SUBJECT section on the Lender/Client line on page one of the appraisal report. The intended user of this appraisal report is the client and the lender. No additional intended users are identified by the appraiser. "Recognizing that there may be confusion in the appraisal community about the distinction between parties who 'use' and parties who 'rely' on appraisal reports." Fannie Mae has developed the following additional statement to be used when the Lender/Client is the only Intended User: "The Intended User of this appraisal report is the Lender/Client. The Intended Use is to evaluate the property that is the subject of this appraisal for a mortgage finance transaction, subject to the stated Scope of Work, purpose of the appraisal, reporting requirements of this appraisal report form, and Definition of Market Value. No additional Intended Users are identified by the appraiser." Any other party receiving a copy of this report for any reason is not an intended user; nor does receiving a copy of this report result in an appraiser-client relationship. Use of this report by any other party(ies) is not intended by the appraiser.

No employee, director, officer, or agent of the lender, or any other third party acting as a joint venture partner, independent contractor, appraisal management company, or partner on behalf of the lender has influenced or attempted to influence to development, reporting, result, or review of this assignment through coercion, extortion, collusion, compensation, instruction, inducement, intimidation, bribery of in any other manner.

"The comments by the licensed real estate appraiser contained within this appraisal report on the condition of the property do not address "standard of practice" as defined in the Home Inspector License Act [225 ILCS 441] and 68 ILL. Adm. Code 1410 and are not to be considered a home inspection or home inspection report."

COST APPROACH

COST APPROACH TO VALUE (not required by Fannie Mae)

Provide adequate information for the lender/client to replicate the below cost figures and calculations.

Support for the opinion of site value (summary of comparable land sales or other methods for estimating site value) The site value is based upon a recent sale.

Grand Blvd 11-01-427-016 (45'x157') $3,800 (4/2021)

ESTIMATED ☐ REPRODUCTION OR ☐ REPLACEMENT COST NEW	OPINION OF SITE VALUE			=$ 4,000
Source of cost data	DWELLING	Sq.Ft. @ $		=$
Quality rating from cost service Effective date of cost data		Sq.Ft. @ $		=$
Comments on Cost Approach (gross living area calculations, depreciation, etc.)				=$
	Garage/Carport	Sq.Ft. @ $		=$
	Total Estimate of Cost-New			=$
	Less Physical	Functional	External	
	Depreciation			=$( )
	Depreciated Cost of Improvements			=$
	"As-is" Value of Site Improvements			=$
Estimated Remaining Economic Life (HUD and VA only) 50 Years	**INDICATED VALUE BY COST APPROACH**			**=$**

INCOME

INCOME APPROACH TO VALUE (not required by Fannie Mae)

Estimated Monthly Market Rent $ 1,300 X Gross Rent Multiplier = $ Indicated Value by Income Approach

Summary of Income Approach (including support for market rent and GRM)

PUD INFORMATION

PROJECT INFORMATION FOR PUDs (if applicable)

Is the developer/builder in control of the Homeowners' Association (HOA)? ☐ Yes ☐ No Unit type(s) ☐ Detached ☐ Attached

Provide the following information for PUDs ONLY if the developer/builder is in control of the HOA and the subject property is an attached dwelling unit.

Legal Name of Project

Total number of phases Total number of units Total number of units sold

Total number of units rented Total number of units for sale Data source(s)

Was the project created by the conversion of existing building(s) into a PUD? ☐ Yes ☐ No If Yes, date of conversion.

Does the project contain any multi-dwelling units? ☐ Yes ☐ No Data Source

Are the units, common elements, and recreation facilities complete? ☐ Yes ☐ No If No, describe the status of completion.

Are the common elements leased to or by the Homeowners' Association? ☐ Yes ☐ No If Yes, describe the rental terms and options.

Describe common elements and recreational facilities.

Form 1004UAD - "TOTAL" appraisal software by a la mode, inc. - 1-800-ALAMODE

This report form is designed to report an appraisal of a one-unit property or a one-unit property with an accessory unit; including a unit in a planned unit development (PUD). This report form is not designed to report an appraisal of a manufactured home or a unit in a condominium or cooperative project.

This appraisal report is subject to the following scope of work, intended use, intended user, definition of market value, statement of assumptions and limiting conditions, and certifications. Modifications, additions, or deletions to the intended use, intended user, definition of market value, or assumptions and limiting conditions are not permitted. The appraiser may expand the scope of work to include any additional research or analysis necessary based on the complexity of this appraisal assignment. Modifications or deletions to the certifications are also not permitted. However, additional certifications that do not constitute material alterations to this appraisal report, such as those required by law or those related to the appraiser's continuing education or membership in an appraisal organization, are permitted.

SCOPE OF WORK: The scope of work for this appraisal is defined by the complexity of this appraisal assignment and the reporting requirements of this appraisal report form, including the following definition of market value, statement of assumptions and limiting conditions, and certifications. The appraiser must, at a minimum: (1) perform a complete visual inspection of the interior and exterior areas of the subject property, (2) inspect the neighborhood, (3) inspect each of the comparable sales from at least the street, (4) research, verify, and analyze data from reliable public and/or private sources, and (5) report his or her analysis, opinions, and conclusions in this appraisal report.

INTENDED USE: The intended use of this appraisal report is for the lender/client to evaluate the property that is the subject of this appraisal for a mortgage finance transaction.

INTENDED USER: The intended user of this appraisal report is the lender/client.

DEFINITION OF MARKET VALUE: The most probable price which a property should bring in a competitive and open market under all conditions requisite to a fair sale, the buyer and seller, each acting prudently, knowledgeably and assuming the price is not affected by undue stimulus. Implicit in this definition is the consummation of a sale as of a specified date and the passing of title from seller to buyer under conditions whereby: (1) buyer and seller are typically motivated; (2) both parties are well informed or well advised, and each acting in what he or she considers his or her own best interest; (3) a reasonable time is allowed for exposure in the open market; (4) payment is made in terms of cash in U. S. dollars or in terms of financial arrangements comparable thereto; and (5) the price represents the normal consideration for the property sold unaffected by special or creative financing or sales concessions* granted by anyone associated with the sale.

*Adjustments to the comparables must be made for special or creative financing or sales concessions. No adjustments are necessary for those costs which are normally paid by sellers as a result of tradition or law in a market area; these costs are readily identifiable since the seller pays these costs in virtually all sales transactions. Special or creative financing adjustments can be made to the comparable property by comparisons to financing terms offered by a third party institutional lender that is not already involved in the property or transaction. Any adjustment should not be calculated on a mechanical dollar for dollar cost of the financing or concession but the dollar amount of any adjustment should approximate the market's reaction to the financing or concessions based on the appraiser's judgment.

STATEMENT OF ASSUMPTIONS AND LIMITING CONDITIONS: The appraiser's certification in this report is subject to the following assumptions and limiting conditions:

1. The appraiser will not be responsible for matters of a legal nature that affect either the property being appraised or the title to it, except for information that he or she became aware of during the research involved in performing this appraisal. The appraiser assumes that the title is good and marketable and will not render any opinions about the title.

2. The appraiser has provided a sketch in this appraisal report to show the approximate dimensions of the improvements. The sketch is included only to assist the reader in visualizing the property and understanding the appraiser's determination of its size.

3. The appraiser has examined the available flood maps that are provided by the Federal Emergency Management Agency (or other data sources) and has noted in this appraisal report whether any portion of the subject site is located in an identified Special Flood Hazard Area. Because the appraiser is not a surveyor, he or she makes no guarantees, express or implied, regarding this determination.

4. The appraiser will not give testimony or appear in court because he or she made an appraisal of the property in question, unless specific arrangements to do so have been made beforehand, or as otherwise required by law.

5. The appraiser has noted in this appraisal report any adverse conditions (such as needed repairs, deterioration, the presence of hazardous wastes, toxic substances, etc.) observed during the inspection of the subject property or that he or she became aware of during the research involved in performing the appraisal. Unless otherwise stated in this appraisal report, the appraiser has no knowledge of any hidden or unapparent physical deficiencies or adverse conditions of the property (such as, but not limited to, needed repairs, deterioration, the presence of hazardous wastes, toxic substances, adverse environmental conditions, etc.) that would make the property less valuable, and has assumed that there are no such conditions and makes no guarantees or warranties, express or implied. The appraiser will not be responsible for any such conditions that do exist or for any engineering or testing that might be required to discover whether such conditions exist. Because the appraiser is not an expert in the field of environmental hazards, this appraisal report must not be considered as an environmental assessment of the property.

6. The appraiser has based his or her appraisal report and valuation conclusion for an appraisal that is subject to satisfactory completion, repairs, or alterations on the assumption that the completion, repairs, or alterations of the subject property will be performed in a professional manner.

Form 1004UAD - "TOTAL" appraisal software by a la mode, inc. - 1-800-ALAMODE

APPRAISER'S CERTIFICATION: The Appraiser certifies and agrees that:

1. I have, at a minimum, developed and reported this appraisal in accordance with the scope of work requirements stated in this appraisal report.

2. I performed a complete visual inspection of the interior and exterior areas of the subject property. I reported the condition of the improvements in factual, specific terms. I identified and reported the physical deficiencies that could affect the livability, soundness, or structural integrity of the property.

3. I performed this appraisal in accordance with the requirements of the Uniform Standards of Professional Appraisal Practice that were adopted and promulgated by the Appraisal Standards Board of The Appraisal Foundation and that were in place at the time this appraisal report was prepared.

4. I developed my opinion of the market value of the real property that is the subject of this report based on the sales comparison approach to value. I have adequate comparable market data to develop a reliable sales comparison approach for this appraisal assignment. I further certify that I considered the cost and income approaches to value but did not develop them, unless otherwise indicated in this report.

5. I researched, verified, analyzed, and reported on any current agreement for sale for the subject property, any offering for sale of the subject property in the twelve months prior to the effective date of this appraisal, and the prior sales of the subject property for a minimum of three years prior to the effective date of this appraisal, unless otherwise indicated in this report.

6. I researched, verified, analyzed, and reported on the prior sales of the comparable sales for a minimum of one year prior to the date of sale of the comparable sale, unless otherwise indicated in this report.

7. I selected and used comparable sales that are locationally, physically, and functionally the most similar to the subject property.

8. I have not used comparable sales that were the result of combining a land sale with the contract purchase price of a home that has been built or will be built on the land.

9. I have reported adjustments to the comparable sales that reflect the market's reaction to the differences between the subject property and the comparable sales.

10. I verified, from a disinterested source, all information in this report that was provided by parties who have a financial interest in the sale or financing of the subject property.

11. I have knowledge and experience in appraising this type of property in this market area.

12. I am aware of, and have access to, the necessary and appropriate public and private data sources, such as multiple listing services, tax assessment records, public land records and other such data sources for the area in which the property is located.

13. I obtained the information, estimates, and opinions furnished by other parties and expressed in this appraisal report from reliable sources that I believe to be true and correct.

14. I have taken into consideration the factors that have an impact on value with respect to the subject neighborhood, subject property, and the proximity of the subject property to adverse influences in the development of my opinion of market value. I have noted in this appraisal report any adverse conditions (such as, but not limited to, needed repairs, deterioration, the presence of hazardous wastes, toxic substances, adverse environmental conditions, etc.) observed during the inspection of the subject property or that I became aware of during the research involved in performing this appraisal. I have considered these adverse conditions in my analysis of the property value, and have reported on the effect of the conditions on the value and marketability of the subject property.

15. I have not knowingly withheld any significant information from this appraisal report and, to the best of my knowledge, all statements and information in this appraisal report are true and correct.

16. I stated in this appraisal report my own personal, unbiased, and professional analysis, opinions, and conclusions, which are subject only to the assumptions and limiting conditions in this appraisal report.

17. I have no present or prospective interest in the property that is the subject of this report, and I have no present or prospective personal interest or bias with respect to the participants in the transaction. I did not base, either partially or completely, my analysis and/or opinion of market value in this appraisal report on the race, color, religion, sex, age, marital status, handicap, familial status, or national origin of either the prospective owners or occupants of the subject property or of the present owners or occupants of the properties in the vicinity of the subject property or on any other basis prohibited by law.

18. My employment and/or compensation for performing this appraisal or any future or anticipated appraisals was not conditioned on any agreement or understanding, written or otherwise, that I would report (or present analysis supporting) a predetermined specific value, a predetermined minimum value, a range or direction in value, a value that favors the cause of any party, or the attainment of a specific result or occurrence of a specific subsequent event (such as approval of a pending mortgage loan application).

19. I personally prepared all conclusions and opinions about the real estate that were set forth in this appraisal report. If I relied on significant real property appraisal assistance from any individual or individuals in the performance of this appraisal or the preparation of this appraisal report, I have named such individual(s) and disclosed the specific tasks performed in this appraisal report. I certify that any individual so named is qualified to perform the tasks. I have not authorized anyone to make a change to any item in this appraisal report; therefore, any change made to this appraisal is unauthorized and I will take no responsibility for it.

20. I identified the lender/client in this appraisal report who is the individual, organization, or agent for the organization that ordered and will receive this appraisal report.

Form 1004UAD - "TOTAL" appraisal software by a la mode, inc. - 1-800-ALAMODE

21. The lender/client may disclose or distribute this appraisal report to: the borrower; another lender at the request of the borrower; the mortgagee or its successors and assigns; mortgage insurers; government sponsored enterprises; other secondary market participants; data collection or reporting services; professional appraisal organizations; any department, agency, or instrumentality of the United States; and any state, the District of Columbia, or other jurisdictions; without having to obtain the appraiser's or supervisory appraiser's (if applicable) consent. Such consent must be obtained before this appraisal report may be disclosed or distributed to any other party (including, but not limited to, the public through advertising, public relations, news, sales, or other media).

22. I am aware that any disclosure or distribution of this appraisal report by me or the lender/client may be subject to certain laws and regulations. Further, I am also subject to the provisions of the Uniform Standards of Professional Appraisal Practice that pertain to disclosure or distribution by me.

23. The borrower, another lender at the request of the borrower, the mortgagee or its successors and assigns, mortgage insurers, government sponsored enterprises, and other secondary market participants may rely on this appraisal report as part of any mortgage finance transaction that involves any one or more of these parties.

24. If this appraisal report was transmitted as an "electronic record" containing my "electronic signature," as those terms are defined in applicable federal and/or state laws (excluding audio and video recordings), or a facsimile transmission of this appraisal report containing a copy or representation of my signature, the appraisal report shall be as effective, enforceable and valid as if a paper version of this appraisal report were delivered containing my original hand written signature.

25. Any intentional or negligent misrepresentation(s) contained in this appraisal report may result in civil liability and/or criminal penalties including, but not limited to, fine or imprisonment or both under the provisions of Title 18, United States Code, Section 1001, et seq., or similar state laws.

SUPERVISORY APPRAISER'S CERTIFICATION: The Supervisory Appraiser certifies and agrees that:

1. I directly supervised the appraiser for this appraisal assignment, have read the appraisal report, and agree with the appraiser's analysis, opinions, statements, conclusions, and the appraiser's certification.

2. I accept full responsibility for the contents of this appraisal report including, but not limited to, the appraiser's analysis, opinions, statements, conclusions, and the appraiser's certification.

3. The appraiser identified in this appraisal report is either a sub-contractor or an employee of the supervisory appraiser (or the appraisal firm), is qualified to perform this appraisal, and is acceptable to perform this appraisal under the applicable state law.

4. This appraisal report complies with the Uniform Standards of Professional Appraisal Practice that were adopted and promulgated by the Appraisal Standards Board of The Appraisal Foundation and that were in place at the time this appraisal report was prepared.

5. If this appraisal report was transmitted as an "electronic record" containing my "electronic signature," as those terms are defined in applicable federal and/or state laws (excluding audio and video recordings), or a facsimile transmission of this appraisal report containing a copy or representation of my signature, the appraisal report shall be as effective, enforceable and valid as if a paper version of this appraisal report were delivered containing my original hand written signature.

APPRAISER

Signature
Name Tony Saladino
Company Name Signature Appraisals, Inc
Company Address 4777 E State St, Suite 2
Rockford, IL 61108
Telephone Number (815) 904-6691
Email Address tony@sgnapr.com
Date of Signature and Report 03/13/2026
Effective Date of Appraisal 03/09/2026
State Certification # 556.004007
or State License #
or Other (describe) State #
State IL
Expiration Date of Certification or License 09/30/2027

ADDRESS OF PROPERTY APPRAISED
304 Wilshire Dr
Machesney Park, IL 61115
APPRAISED VALUE OF SUBJECT PROPERTY $ 152,000

LENDER/CLIENT
Name Fastapp Appraisal Management Company
Company Name New Silver Lending LLC
Company Address 28 N Main St, Suite 202, West Hartford, CT 06107
Email Address

SUPERVISORY APPRAISER (ONLY IF REQUIRED)

Signature
Name
Company Name
Company Address
Telephone Number
Email Address
Date of Signature
State Certification #
or State License #
State
Expiration Date of Certification or License

SUBJECT PROPERTY

☐ Did not inspect subject property
☐ Did inspect exterior of subject property from street
Date of Inspection
☐ Did inspect interior and exterior of subject property
Date of Inspection

COMPARABLE SALES

☐ Did not inspect exterior of comparable sales from street
☐ Did inspect exterior of comparable sales from street
Date of Inspection

Form 1004UAD - "TOTAL" appraisal software by a la mode, inc. - 1-800-ALAMODE

Supplemental Addendum

File No. R26-000235

Borrower	Bjorn Hulleberg						
Property Address	304 Wilshire Dr						
City	Machesney Park	County	Winnebago	State	IL	Zip Code	61115
Lender/Client	New Silver Lending LLC						

• **URAR: Neighborhood - Description**
The subject property is located in a residential neighborhood in Machesney Park. Machesney Park is a village located in Winnebago County, Illinois, United States. Per Data USA Machesney Park has a population of 23,002. Population has remained relatively stable in the subjects immediate neighborhood and supply and demand for homes appears to be in balance. Machesney Park is a suburb of Rockford, IL and is part of the Rockford, Illinois Metropolitan Statistical Area. According to the United States Census Bureau, the village has a total area of 12.4 square miles (32.1 km²), of which, 12.0 square miles (31.1 km²) of it is land and 0.4 square miles (1.0 km²) of it (3.07%) is water. The Village is home of Harlem High School, which is part of the Harlem School District 122. The Harlem District serves the communities of Loves Park, Machesney Park, and southern Roscoe. Per Data USA the economy of Machesney Park, IL employs 11,187 people. The economy of Machesney Park, IL is specialized in Manufacturing; Utilities; and Retail trade, which employ respectively 2.36; 1.3; and 1.22 times more people than what would be expected in a location of this size. The largest industries in Machesney Park, IL are Manufacturing (2,556), Healthcare & Social Assistance (1,734), and Retail trade (1,576), and the highest paying industries are Educational Services ($42,643), Utilities ($40,417), and Professional, Scientific, Tech Services ($40,313). The subject is in reasonable proximity to schools, employment, transportation, and shopping. There is average convenience to all support facilities, and to major traffic routes. There are no known factors that would adversely affect value or marketability. All supporting facilities and main traffic routes are within average proximity. School bus service is provided. Major support facilities are located in the city of Rockford, IL.

• **URAR: Neighborhood - Market Conditions**
Current financing is readily available for Conventional, FHA, and VA loans, with various buy downs available. There is currently a shortage of homes within the subjects neighborhood boundaries and per the NWIAR & MRED MLS property values are stable. Sales and financing concessions are not typical for this price range and area. Marketing time is currently under three months. The data regarding trends reported in the One-Unit Housing Trends section is reflective of those properties deemed to be competitive to the property being appraised within the subjects neighborhood boundaries. Due to the lack of competitive properties within the subjects neighborhood boundaries competitive properties from the nearest competitive neighborhoods were also used to establish the One-Unit Housing Trends for the 1004_MC form and page one of this appraisal. **Although the limited data from the 1004MC form reflects increasing property values a complete CMA of the subject's neighborhood as a whole indicates stable property values.**

• **URAR: Site - Highest and Best Use**
A highest and best use analysis was conducted by the appraiser. The four tests of Highest and Best Use were applied in the following order:
1. Legally permissible
2. Physically possible
3. Financially feasible
4. Maximally productive

The subject is a legally permissible use based on its current zoning. Also, the lot size and shape allow the present structure and indicate a good utilization of the improvements. Based on current market conditions, the existing structure as a single family residence is its financially feasible and maximally productive use. The highest and best use, as if vacant, would be to construct a single family residence.

• **URAR: Subject - Overall Condition of the Property**
Physical depreciation is due to normal wear and tear. No functional or external inadequacies exist. The utilities and mechanicals were on and functional at the time of the inspection. Smoke and carbon detectors were on site and operational at the time of this observation. The subject property has been measured according to the ANSI Z765-2021 measurement standard. The subject property is a colonial-style home with 1049 sf above grade gross living area with a 0 sf below grade basement which has 0 sf of below grade finish. In addition, the property includes an uncovered stoop, partially fenced in yard and 275 sf attached garage. The square footage details for all comparables are taken from MLS records, tax records, or previous appraisal files, and the best know information was utilized. There are often inaccuracies or inconsistencies in the measurements in the MLS and tax records, but these sources are considered the best available. No square footage data is guaranteed.

• **URAR: Improvements - Conform to the Neighborhood**
Functional utility is acceptable, with adequately sized rooms, ample closet space and an efficient layout. This dwelling effectively fulfills the functional and aesthetic expectations of purchasers in this price range. The style, condition, use and construction of the subject property is common of homes within the subjects neighborhood boundaries.

• **URAR: Sales Comparison Analysis - Summary of Sales Comparison Approach**
These are the most relevant sales available for analysis at this time. All seven sales are located within the subjects neighborhood boundaries and location adjustments are not necessary. Although sale 6 exceeds one mile in proximity and is located across a busy road, it was used due to a lack of closer more comparable sales. Sales 2-7 sold over three months ago, are relevant sales and time adjustments are not necessary. Site adjustments are based upon estimated site value rather than on size alone. Sale 3 has the same condition rating, however, has updating the subject lacks and an adjustment has been taken due to this facto. Although sales 1 and 2 have a superior bedroom count there is no market evidence to warrant an adjustment when going from a three bedroom floor plan to a four bedroom floor plan. Sales 1 and 3 have an inferior bathroom count and sale 2 has a superior bathroom count. Sales 1 and 2 have a basement. Unfinished basement area was adjusted at $10 a SF. Sales 1-3 have central air. I have made an search of all available resources and I was unable to locate any comparable sales in the subjects neighborhood or competing neighborhood that lack central air and this feature can not be bracketed at this time. There are other homes in the subjects immediate area that lack central air, however, none that are comparable sold within the past 16 months. The subject property is not an under improvement. Sale 1 has inferior car storage and sales 2 and 3 have superior car storage. Sales 1 and 2 have superior amenities. All adjustments are based upon market reaction, paired sales analysis, over 22 years experience in the market place and personal knowledge of the local market area. Although the value of the subject property is below the predominate value for the neighborhood it is not an under-improvement. A final reconciliation of the sales data reveals that there is no one sale which is felt to be far superior than the others and therefore approximate equal consideration is given to each sale. The opinion of value is supported by the median of the adjusted sales and four of the adjusted values. Sale 2 has excessive single line and net adjustments and this could not be avoided.

Extra Comments
Explanation of Scope of Work as defined in this appraisal.
Inspection means "Observation". We are not home inspectors and we do not certify any individual components of or in the building. Inspect means "readily observable" we did not move any items to observe obstructed areas of the building or it's components. Unless specifically stated, we have not entered crawl spaces, attic areas without a stairway or rooms or areas

Supplemental Addendum

File No. R26-000235

Borrower	Bjorn Hulleberg						
Property Address	304 Wilshire Dr						
City	Machesney Park	County	Winnebago	State	IL	Zip Code	61115
Lender/Client	New Silver Lending LLC						

where access is denied. We are not trained in pest, environmental, mechanical, electrical, or structural issues. Readily observed conditions that appear to be of concern will be stated in the appraisal. We do not test any of the components in the property and we certify any legal, title, or encroachment issues. If it appears they may exist, we state the concerns and a professional should be contacted for clarification. Any and all liability and responsibility for this appraisal is strictly limited to the client and intended user identified in this report. Any others that use or rely on this appraisal report due so at their own risk. Possession of this report does not make anyone not specifically identified by name or client type in this report a client or intended user.

Clarification of Intended Use and Intended User:

The Intended User of this appraisal report is the Lender/Client. The lender is New Silver Lending LLC and the client is Fastapp Appraisal Management Company. The Intended Use is to evaluate the property that is the subject of this appraisal for a mortgage finance transaction, subject to the stated Scope of Work, purpose of the appraisal, reporting requirements of this appraisal report form, and Definition of Market Value. No additional Intended Users are identified by the appraiser. The compensation for this assignment is $500.00. The lender being addressed as an additional intended user of this report and fee for this assignment have been disclosed as required per state of Illinois Licensing Act.

The appraisal management company's Illinois registration number is 558000312 and it expires on 12/31/2026.

This appraisal was prepared in accordance with requirements of Title XI of the Financial Institutions Reform, Recovery and Enforcement Act of 1989, as amended (12 U.S.C. 331 et seq.) and any implementing regulations.

Joe Saladino whom is a license trainee appraiser employeed by Signature Appraisals, Inc. gave some assistance in developing this report as he assisted this appraiser on the inspection of this property and gave some assistance with data verification and data input.

• **URAR: Conditions of Appraisal**
This is an appraisal report. **This is a revised report of the report signed 03/11/2026.** The borrower name has been updated. The subjects Estimated Remaining Economic Life has been added to the report.

UNIFORM APPRAISAL DATASET (UAD) DEFINITIONS ADDENDUM

(Source: Fannie Mae UAD Appendix D: UAD Field-Specific Standardization Requirements)

Condition Ratings and Definitions

C1

The improvements have been recently constructed and have not been previously occupied. The entire structure and all components are new and the dwelling features no physical depreciation.

Note: Newly constructed improvements that feature recycled or previously used materials and/or components can be considered new dwellings provided that the dwelling is placed on a 100 percent new foundation and the recycled materials and the recycled components have been rehabilitated/remanufactured into like-new condition. Improvements that have not been previously occupied are not considered “new” if they have any significant physical depreciation (that is, newly constructed dwellings that have been vacant for an extended period of time without adequate maintenance or upkeep).

C2

The improvements feature no deferred maintenance, little or no physical depreciation, and require no repairs. Virtually all building components are new or have been recently repaired, refinished, or rehabilitated. All outdated components and finishes have been updated and/or replaced with components that meet current standards. Dwellings in this category are either almost new or have been recently completely renovated and are similar in condition to new construction.

Note: The improvements represent a relatively new property that is well maintained with no deferred maintenance and little or no physical depreciation, or an older property that has been recently completely renovated.

C3

The improvements are well maintained and feature limited physical depreciation due to normal wear and tear. Some components, but not every major building component, may be updated or recently rehabilitated. The structure has been well maintained.

Note: The improvement is in its first-cycle of replacing short-lived building components (appliances, floor coverings, HVAC, etc.) and is being well maintained. Its estimated effective age is less than its actual age. It also may reflect a property in which the majority of short-lived building components have been replaced but not to the level of a complete renovation.

C4

The improvements feature some minor deferred maintenance and physical deterioration due to normal wear and tear. The dwelling has been adequately maintained and requires only minimal repairs to building components/mechanical systems and cosmetic repairs. All major building components have been adequately maintained and are functionally adequate.

Note: The estimated effective age may be close to or equal to its actual age. It reflects a property in which some of the short-lived building components have been replaced, and some short-lived building components are at or near the end of their physical life expectancy; however, they still function adequately. Most minor repairs have been addressed on an ongoing basis resulting in an adequately maintained property.

C5

The improvements feature obvious deferred maintenance and are in need of some significant repairs. Some building components need repairs, rehabilitation, or updating. The functional utility and overall livability is somewhat diminished due to condition, but the dwelling remains useable and functional as a residence.

Note: Some significant repairs are needed to the improvements due to the lack of adequate maintenance. It reflects a property in which many of its short-lived building components are at the end of or have exceeded their physical life expectancy but remain functional.

C6

The improvements have substantial damage or deferred maintenance with deficiencies or defects that are severe enough to affect the safety, soundness, or structural integrity of the improvements. The improvements are in need of substantial repairs and rehabilitation, including many or most major components.

Note: Substantial repairs are needed to the improvements due to the lack of adequate maintenance or property damage. It reflects a property with conditions severe enough to affect the safety, soundness, or structural integrity of the improvements.

Quality Ratings and Definitions

Q1

Dwellings with this quality rating are usually unique structures that are individually designed by an architect for a specified user. Such residences typically are constructed from detailed architectural plans and specifications and feature an exceptionally high level of workmanship and exceptionally high-grade materials throughout the interior and exterior of the structure. The design features exceptionally high-quality exterior refinements and ornamentation, and exceptionally high-quality interior refinements. The workmanship, materials, and finishes throughout the dwelling are of exceptionally high quality.

Q2

Dwellings with this quality rating are often custom designed for construction on an individual property owner’s site. However, dwellings in this quality grade are also found in high-quality tract developments featuring residence constructed from individual plans or from highly modified or upgraded plans. The design features detailed, high quality exterior ornamentation, high-quality interior refinements, and detail. The workmanship, materials, and finishes throughout the dwelling are generally of high or very high quality.

UNIFORM APPRAISAL DATASET (UAD) DEFINITIONS ADDENDUM

(Source: Fannie Mae UAD Appendix D: UAD Field-Specific Standardization Requirements)

Quality Ratings and Definitions (continued)

Q3

Dwellings with this quality rating are residences of higher quality built from individual or readily available designer plans in above-standard residential tract developments or on an individual property owner's site. The design includes significant exterior ornamentation and interiors that are well finished. The workmanship exceeds acceptable standards and many materials and finishes throughout the dwelling have been upgraded from "stock" standards.

Q4

Dwellings with this quality rating meet or exceed the requirements of applicable building codes. Standard or modified standard building plans are utilized and the design includes adequate fenestration and some exterior ornamentation and interior refinements. Materials, workmanship, finish, and equipment are of stock or builder grade and may feature some upgrades.

Q5

Dwellings with this quality rating feature economy of construction and basic functionality as main considerations. Such dwellings feature a plain design using readily available or basic floor plans featuring minimal fenestration and basic finishes with minimal exterior ornamentation and limited interior detail. These dwellings meet minimum building codes and are constructed with inexpensive, stock materials with limited refinements and upgrades.

Q6

Dwellings with this quality rating are of basic quality and lower cost; some may not be suitable for year-round occupancy. Such dwellings are often built with simple plans or without plans, often utilizing the lowest quality building materials. Such dwellings are often built or expanded by persons who are professionally unskilled or possess only minimal construction skills. Electrical, plumbing, and other mechanical systems and equipment may be minimal or non-existent. Older dwellings may feature one or more substandard or non-conforming additions to the original structure

Definitions of Not Updated, Updated, and Remodeled

Not Updated

Little or no updating or modernization. This description includes, but is not limited to, new homes.

Residential properties of fifteen years of age or less often reflect an original condition with no updating, if no major components have been replaced or updated. Those over fifteen years of age are also considered not updated if the appliances, fixtures, and finishes are predominantly dated. An area that is 'Not Updated' may still be well maintained and fully functional, and this rating does not necessarily imply deferred maintenance or physical/functional deterioration.

Updated

The area of the home has been modified to meet current market expectations. These modifications are limited in terms of both scope and cost.

An updated area of the home should have an improved look and feel, or functional utility. Changes that constitute updates include refurbishment and/or replacing components to meet existing market expectations. Updates do not include significant alterations to the existing structure.

Remodeled

Significant finish and/or structural changes have been made that increase utility and appeal through complete replacement and/or expansion.

A remodeled area reflects fundamental changes that include multiple alterations. These alterations may include some or all of the following: replacement of a major component (cabinet(s), bathtub, or bathroom tile), relocation of plumbing/gas fixtures/appliances, significant structural alterations (relocating walls, and/or the addition of) square footage). This would include a complete gutting and rebuild.

Explanation of Bathroom Count

Three-quarter baths are counted as a full bath in all cases. Quarter baths (baths that feature only a toilet) are not included in the bathroom count. The number of full and half baths is reported by separating the two values using a period, where the full bath count is represented to the left of the period and the half bath count is represented to the right of the period.

Example:
3.2 indicates three full baths and two half baths.

UNIFORM APPRAISAL DATASET (UAD) DEFINITIONS ADDENDUM

(Source: Fannie Mae UAD Appendix D: UAD Field-Specific Standardization Requirements)

Abbreviations Used in Data Standardization Text

Abbreviation	Full Name	Fields Where This Abbreviation May Appear
A	Adverse	Location & View
ac	Acres	Area, Site
AdjPrk	Adjacent to Park	Location
AdjPwr	Adjacent to Power Lines	Location
ArmLth	Arms Length Sale	Sale or Financing Concessions
AT	Attached Structure	Design (Style)
B	Beneficial	Location & View
ba	Bathroom(s)	Basement & Finished Rooms Below Grade
br	Bedroom	Basement & Finished Rooms Below Grade
BsyRd	Busy Road	Location
c	Contracted Date	Date of Sale/Time
Cash	Cash	Sale or Financing Concessions
Comm	Commercial Influence	Location
Conv	Conventional	Sale or Financing Concessions
cp	Carport	Garage/Carport
CrtOrd	Court Ordered Sale	Sale or Financing Concessions
CtySky	City View Skyline View	View
CtyStr	City Street View	View
cv	Covered	Garage/Carport
DOM	Days On Market	Data Sources
DT	Detached Structure	Design (Style)
dw	Driveway	Garage/Carport
e	Expiration Date	Date of Sale/Time
Estate	Estate Sale	Sale or Financing Concessions
FHA	Federal Housing Authority	Sale or Financing Concessions
g	Garage	Garage/Carport
ga	Attached Garage	Garage/Carport
gbi	Built-in Garage	Garage/Carport
gd	Detached Garage	Garage/Carport
GlfCse	Golf Course	Location
Glfvw	Golf Course View	View
GR	Garden	Design (Style)
HR	High Rise	Design (Style)
in	Interior Only Stairs	Basement & Finished Rooms Below Grade
Ind	Industrial	Location & View
Listing	Listing	Sale or Financing Concessions
Lndfl	Landfill	Location
LtdSght	Limited Sight	View
MR	Mid-rise	Design (Style)
Mtn	Mountain View	View
N	Neutral	Location & View
NonArm	Non-Arms Length Sale	Sale or Financing Concessions
o	Other	Basement & Finished Rooms Below Grade
O	Other	Design (Style)
op	Open	Garage/Carport
Prk	Park View	View
Pstrl	Pastoral View	View
PwrLn	Power Lines	View
PubTrn	Public Transportation	Location
Relo	Relocation Sale	Sale or Financing Concessions
REO	REO Sale	Sale or Financing Concessions
Res	Residential	Location & View
RH	USDA - Rural Housing	Sale or Financing Concessions
rr	Recreational (Rec) Room	Basement & Finished Rooms Below Grade
RT	Row or Townhouse	Design (Style)
s	Settlement Date	Date of Sale/Time
SD	Semi-detached Structure	Design (Style)
Short	Short Sale	Sale or Financing Concessions
sf	Square Feet	Area, Site, Basement
sqm	Square Meters	Area, Site
Unk	Unknown	Date of Sale/Time
VA	Veterans Administration	Sale or Financing Concessions
w	Withdrawn Date	Date of Sale/Time
wo	Walk Out Basement	Basement & Finished Rooms Below Grade
Woods	Woods View	View
Wtr	Water View	View
WtrFr	Water Frontage	Location
wu	Walk Up Basement	Basement & Finished Rooms Below Grade

Signature Appraisals, Inc

SINGLE FAMILY COMPARABLE RENT SCHEDULE

263-00382
File # R26-000235

This form is intended to provide the appraiser with a familiar format to estimate the market rent of the subject property. Adjustments should be made only for items of significant difference between the comparables and the subject property.

ITEM	SUBJECT	COMPARABLE NO. 1		COMPARABLE NO. 2		COMPARABLE NO. 3	
Address	304 Wilshire Dr Machesney Park, IL 61115	539 Superior Ave Machesney Park, IL 61115		702 Marie Ave Machesney Park, IL 61115		418 River Ln Machesney Park, IL 61111	
Proximity to Subject		0.41 miles SE		1.18 miles S		2.29 miles S	
Date Lease Begins Date Lease Expires	12/01/2025 11/30/2026	Yearly Yearly		Yearly Yearly		Yearly Yearly	
Monthy Rental	If Currently Rented: $ 1,650	$ 1,150		$ 1,400		$ 1,250	
Less: Utilities Furniture	$ None Unfurnished	$ None Unfurnished		$ None Unfurnished		$ None Unfurnished	
Adjusted Monthly Rent	$ 1,650	$ 1,150		$ 1,400		$ 1,250	
Data Source	Inspection	NWIAR MLS/Appr. Files		NWIAR MLS/Appr. Files		NWIAR MLS/Appr. Files	
RENT ADJUSTMENTS	DESCRIPTION	DESCRIPTION	+(−)$ Adjust.	DESCRIPTION	+(−)$ Adjust.	DESCRIPTION	+(−)$ Adjust.
Rent Concessions		None		None		None	
Location/View	N;Res; N;Res;	N;Res; N;Res;		N;Res; N;Res;		N;Res; N;Res;	
Design and Appeal	DT2;Colonial Q4	DT2;Cape Cod Q4		DT2;Cape Cod Q4		DT2;Cape Cod Q4	
Age/Condition	80 C4	67 C4		84 C4		100 C4	
Above Grade Room Count	Total Bdrms Baths 5 3 1.1	Total Bdrms Baths 5 3 1.0	+50	Total Bdrms Baths 6 3 1.0	+50	Total Bdrms Baths 6 3 1.0	+50
Gross Living Area	1,049 Sq. Ft.	1,242 Sq. Ft.		1,273 Sq. Ft.		1,092 Sq. Ft.	
Other (e.g., basement, etc.)	0sf	0sf		762sf50sfin 0rr0br1.0ba0o	-50	624sf0sfin	
Other:	No Garage	1 Car Garage	-50	2 Car Garage	-100	No Garage	
Net Adj. (total)		☐ + ☐ −	$ 0	☐ + ☒ −	$ -100	☒ + ☐ −	$ 50
Indicated Monthly Market Rent			$ 1,150		$ 1,300		$ 1,300

Comments on market data, including the range of rents for single family properties, an estimate of vacancy for single family rental properties, the general trend of rents and vacancy, and support for the above adjustments. (Rent concessions should be adjusted to the market, not to the subject property.) These are the most recent and relevant rental properties I was able to locate. Most of the homes in this area are owner occupied and there are few tenant occupied properties in this area. Adjustments have been made where necessary. Considering the overall locational, functional, and physical aspects of the subject property it is my opinion that the estimated market rent of the subject property is $1,300 per month.

Final Reconciliation of Market Rent: The aforementioned rentals have an adjusted range of $1,150-$1,300 per month and the estimated market rent is supported by the rental data above.

I (WE) ESTIMATE THE MONTHLY MARKET RENT OF THE SUBJECT AS OF 03/09/2026 **TO BE $** 1,300

Appraiser(s) SIGNATURE Tony Saladino
NAME Tony Saladino

Review Appraiser (If applicable) SIGNATURE
NAME

Date Property Inspected 03/09/2026 Report Signed 03/13/2026
License or Certification # 556.004007 State IL
Expiration Date of License or Certification 09/30/2027

Date Property Inspected Report Signed
License or Certification # State
Expiration Date of License or Certification
Review Appraiser ☐ Did ☐ Did Not Inspect Subject Property

Rental Photo Page

Borrower	Bjorn Hulleberg						
Property Address	304 Wilshire Dr						
City	Machesney Park	County	Winnebago	State	IL	Zip Code	61115
Lender/Client	New Silver Lending LLC						

Rental 1

539 Superior Ave

Proximity to Subject	0.41 miles SE
Adj. Monthly Rent	1,150
Gross Living Area	1,242
Total Rooms	5
Total Bedrooms	3
Total Bathrooms	1.0
Location	N;Res;
View	N;Res;
Condition	C4
Age/Year Built	67

Rental 2

702 Marie Ave

Proximity to Subject	1.18 miles S
Adj. Monthly Rent	1,400
Gross Living Area	1,273
Total Rooms	6
Total Bedrooms	3
Total Bathrooms	1.0
Location	N;Res;
View	N;Res;
Condition	C4
Age/Year Built	84

Rental 3

418 River Ln

Proximity to Subject	2.29 miles S
Adj. Monthly Rent	1,250
Gross Living Area	1,092
Total Rooms	6
Total Bedrooms	3
Total Bathrooms	1.0
Location	N;Res;
View	N;Res;
Condition	C4
Age/Year Built	100

Market Conditions Addendum to the Appraisal Report

File No. 263-00382 R26-000235

The purpose of this addendum is to provide the lender/client with a clear and accurate understanding of the market trends and conditions prevalent in the subject neighborhood. This is a required addendum for all appraisal reports with an effective date on or after April 1, 2009.

Property Address 304 Wilshire Dr City Machesney Park State IL ZIP Code 61115

Borrower Bjorn Hulleberg

Instructions: The appraiser must use the information required on this form as the basis for his/her conclusions, and must provide support for those conclusions, regarding housing trends and overall market conditions as reported in the Neighborhood section of the appraisal report form. The appraiser must fill in all the information to the extent it is available and reliable and must provide analysis as indicated below. If any required data is unavailable or is considered unreliable, the appraiser must provide an explanation. It is recognized that not all data sources will be able to provide data for the shaded areas below; if it is available, however, the appraiser must include the data in the analysis. If data sources provide the required information as an average instead of the median, the appraiser should report the available figure and identify it as an average. Sales and listings must be properties that compete with the subject property, determined by applying the criteria that would be used by a prospective buyer of the subject property. The appraiser must explain any anomalies in the data, such as seasonal markets, new construction, foreclosures, etc.

MARKET RESEARCH & ANALYSIS

Inventory Analysis	Prior 7–12 Months	Prior 4–6 Months	Current – 3 Months	Overall Trend		
Total # of Comparable Sales (Settled)	13	5	8	☐ Increasing	☐ Stable	☒ Declining
Absorption Rate (Total Sales/Months)	2.17	1.67	2.67	☒ Increasing	☐ Stable	☐ Declining
Total # of Comparable Active Listings	1	3	2	☐ Declining	☐ Stable	☒ Increasing
Months of Housing Supply (Total Listings/Ab.Rate)	0.5	1.8	0.7	☐ Declining	☐ Stable	☒ Increasing

Median Sale & List Price, DOM, Sale/List %	Prior 7–12 Months	Prior 4–6 Months	Current – 3 Months	Overall Trend		
Median Comparable Sale Price	170,000	165,000	175,000	☒ Increasing	☐ Stable	☐ Declining
Median Comparable Sales Days on Market	5	6	7	☐ Declining	☐ Stable	☒ Increasing
Median Comparable List Price	159,950	175,000	169,500	☒ Increasing	☐ Stable	☐ Declining
Median Comparable Listings Days on Market	4	12	7	☐ Declining	☐ Stable	☒ Increasing
Median Sale Price as % of List Price	103.33	97.06	100.29	☐ Increasing	☐ Stable	☒ Declining
Seller-(developer, builder, etc.)paid financial assistance prevalent? ☒ Yes ☐ No				☐ Declining	☒ Stable	☐ Increasing

Explain in detail the seller concessions trends for the past 12 months (e.g., seller contributions increased from 3% to 5%, increasing use of buydowns, closing costs, condo fees, options, etc.). Seller concessions are typical amongst some purchases in this area as some sellers are willing to pay for a portion of the buyers closing costs.

Are foreclosure sales (REO sales) a factor in the market? ☐ Yes ☒ No If yes, explain (including the trends in listings and sales of foreclosed properties).

There is limited foreclosure activity in this area and this factor has no impact on value or marketability.

Cite data sources for above information. NWIAR & MRED MLS

Summarize the above information as support for your conclusions in the Neighborhood section of the appraisal report form. If you used any additional information, such as an analysis of pending sales and/or expired and withdrawn listings, to formulate your conclusions, provide both an explanation and support for your conclusions.

There have been a limited number of comparable sales in the subjects neighborhood within the past 12 months. There is currently insufficient data above to form a conclusion on the current market conditions. **Although the limited data above reflects increasing property values a complete CMA of the subject's neighborhood as a whole indicates stable property values.** Average marketing time is under three months. The search criteria for the above data included single family homes within the subjects neighborhood boundaries with a cape cod and colonial style design, within 30 years of age from the subject property and within 900 SF of GLA.

CONDO/CO-OP PROJECTS

If the subject is a unit in a condominium or cooperative project , complete the following: **Project Name:**

Subject Project Data	Prior 7–12 Months	Prior 4–6 Months	Current – 3 Months	Overall Trend		
Total # of Comparable Sales (Settled)				☐ Increasing	☐ Stable	☐ Declining
Absorption Rate (Total Sales/Months)				☐ Increasing	☐ Stable	☐ Declining
Total # of Active Comparable Listings				☐ Declining	☐ Stable	☐ Increasing
Months of Unit Supply (Total Listings/Ab.Rate)				☐ Declining	☐ Stable	☐ Increasing

Are foreclosure sales (REO sales) a factor in the project? ☐ Yes ☐ No If yes, indicate the number of REO listings and explain the trends in listings and sales of foreclosed properties.

Summarize the above trends and address the impact on the subject unit and project.

APPRAISER

Signature	Tony Salading	Signature	
Appraiser Name	Tony Salading	Supervisory Appraiser Name	
Company Name	Signature Appraisals, Inc	Company Name	
Company Address	4777 E State St, Suite 2, Rockford, IL 61108	Company Address	
State License/Certification #	556.004007 State IL	State License/Certification #	State
Email Address	tony@sgnapr.com	Email Address	

Form 1004MC2 - "TOTAL" appraisal software by a la mode, inc. - 1-800-ALAMODE

Subject Photo Page

Borrower	Bjorn Hulleberg						
Property Address	304 Wilshire Dr						
City	Machesney Park	County	Winnebago	State	IL	Zip Code	61115
Lender/Client	New Silver Lending LLC						

Subject Front

304 Wilshire Dr

Sales Price	
Gross Living Area	1,049
Total Rooms	5
Total Bedrooms	3
Total Bathrooms	1.1
Location	N;Res;
View	N;Res;
Site	7000 sf
Quality	Q4
Age	80

Subject Rear

Subject Street

Interior Photos

Borrower	Bjorn Hulleberg						
Property Address	304 Wilshire Dr						
City	Machesney Park	County	Winnebago	State	IL	Zip Code	61115
Lender/Client	New Silver Lending LLC						

Street Scene

Side of Home

Side of Home



Bedroom



Bedroom



Living Room

Interior Photos

Borrower	Bjorn Hulleberg						
Property Address	304 Wilshire Dr						
City	Machesney Park	County	Winnebago	State	IL	Zip Code	61115
Lender/Client	New Silver Lending LLC						



Breakfast Area/Kitchen

Kitchen

Bath



Garage



Garage



Mechanicals

Interior Photos

Borrower	Bjorn Hulleberg						
Property Address	304 Wilshire Dr						
City	Machesney Park	County	Winnebago	State	IL	Zip Code	61115
Lender/Client	New Silver Lending LLC						

Half Bath

Bedroom



Bedroom

Comparable Photo Page

Borrower	Bjorn Hulleberg						
Property Address	304 Wilshire Dr						
City	Machesney Park	County	Winnebago	State	IL	Zip Code	61115
Lender/Client	New Silver Lending LLC						

Comparable 1

815 Kingsley Dr

Prox. to Subject	0.93 miles SE
Sale Price	165,000
Gross Living Area	1,053
Total Rooms	8
Total Bedrooms	4
Total Bathrooms	1.0
Location	N;Res;
View	N;Res;
Site	6953 sf
Quality	Q4
Age	81

Comparable 2

8315 Ravere St

Prox. to Subject	0.44 miles E
Sale Price	195,000
Gross Living Area	1,517
Total Rooms	7
Total Bedrooms	4
Total Bathrooms	2.0
Location	N;Res;
View	N;Res;
Site	20486 sf
Quality	Q4
Age	70

Comparable 3

7532 Sommerville St

Prox. to Subject	0.60 miles SE
Sale Price	165,000
Gross Living Area	1,112
Total Rooms	6
Total Bedrooms	3
Total Bathrooms	1.0
Location	N;Res;
View	N;Res;
Site	8420 sf
Quality	Q4
Age	30

Comparable Photo Page

Borrower	Bjorn Hulleberg						
Property Address	304 Wilshire Dr						
City	Machesney Park	County	Winnebago	State	IL	Zip Code	61115
Lender/Client	New Silver Lending LLC						

Comparable 4

632 Drexel Blvd

Prox. to Subject	0.92 miles S
Sale Price	175,000
Gross Living Area	1,295
Total Rooms	7
Total Bedrooms	3
Total Bathrooms	1.0
Location	N;Res;
View	N;Res;
Site	6953 sf
Quality	Q4
Age	85

Comparable 5

7502 Rogers St

Prox. to Subject	0.69 miles SE
Sale Price	175,000
Gross Living Area	1,268
Total Rooms	5
Total Bedrooms	3
Total Bathrooms	1.0
Location	N;Res;
View	N;Res;
Site	7800 sf
Quality	Q4
Age	95

Comparable 6

6512 N 2nd St

Prox. to Subject	1.33 miles S
Sale Price	150,000
Gross Living Area	1,006
Total Rooms	7
Total Bedrooms	3
Total Bathrooms	1.0
Location	A;BsyRd;Res
View	N;Res;Comm
Site	9537 sf
Quality	Q4
Age	86

Comparable Photo Page

Borrower	Bjorn Hulleberg						
Property Address	304 Wilshire Dr						
City	Machesney Park	County	Winnebago	State	IL	Zip Code	61115
Lender/Client	New Silver Lending LLC						

Comparable 7

623 Wayne Dr

Prox. to Subject	0.78 miles SE
Sale Price	155,000
Gross Living Area	966
Total Rooms	6
Total Bedrooms	3
Total Bathrooms	1.0
Location	N;Res;
View	N;Res;
Site	11761 sf
Quality	Q4
Age	74

Comparable 8

Prox. to Subject	
Sale Price	
Gross Living Area	
Total Rooms	
Total Bedrooms	
Total Bathrooms	
Location	
View	
Site	
Quality	
Age	

Comparable 9

Prox. to Subject	
Sale Price	
Gross Living Area	
Total Rooms	
Total Bedrooms	
Total Bathrooms	
Location	
View	
Site	
Quality	
Age	

Aerial Map

Borrower	Bjorn Hulleberg						
Property Address	304 Wilshire Dr						
City	Machesney Park	County	Winnebago	State	IL	Zip Code	61115
Lender/Client	New Silver Lending LLC						

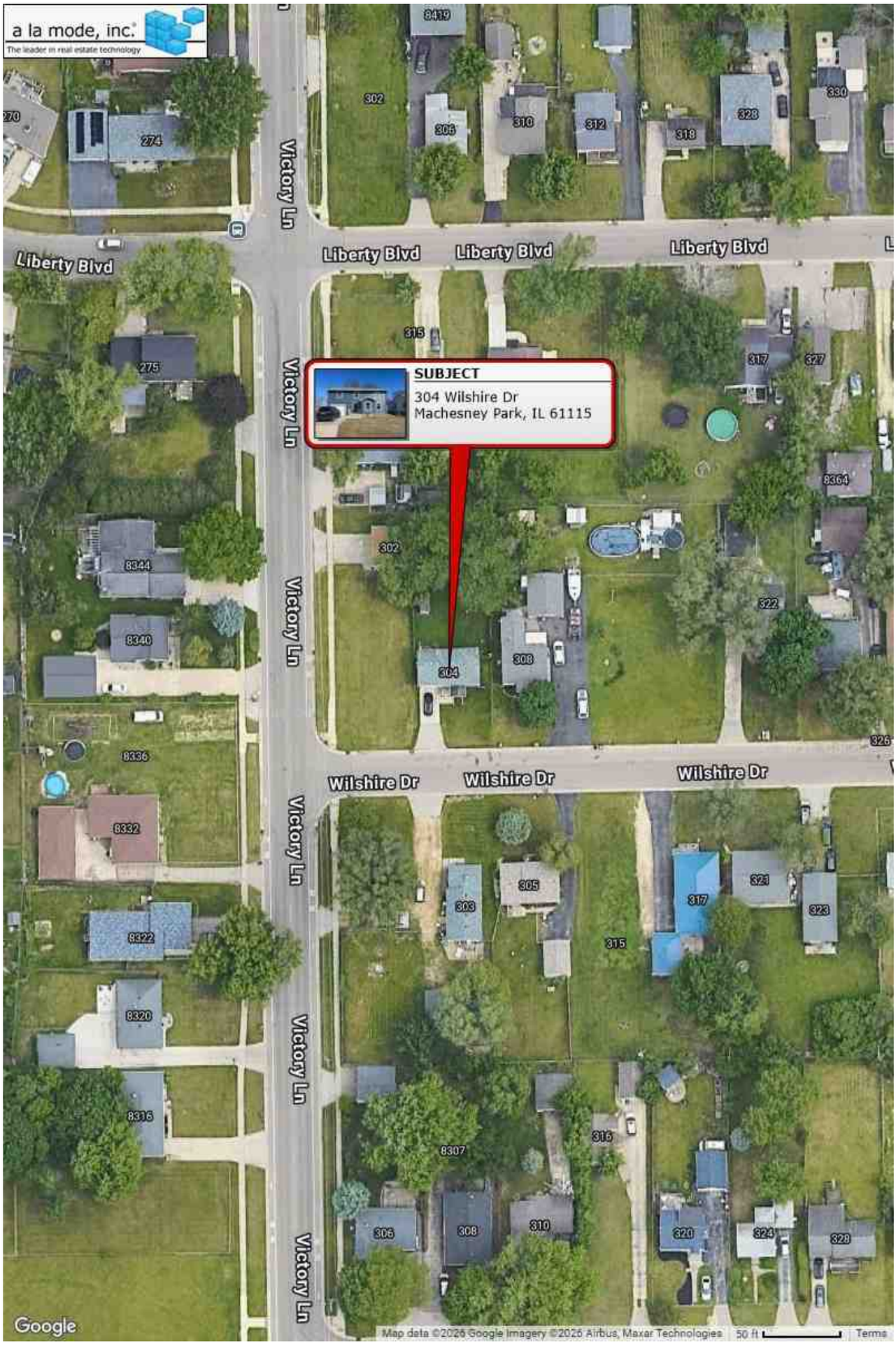

Location Map

Borrower	Bjorn Hulleberg						
Property Address	304 Wilshire Dr						
City	Machesney Park	County	Winnebago	State	IL	Zip Code	61115
Lender/Client	New Silver Lending LLC						

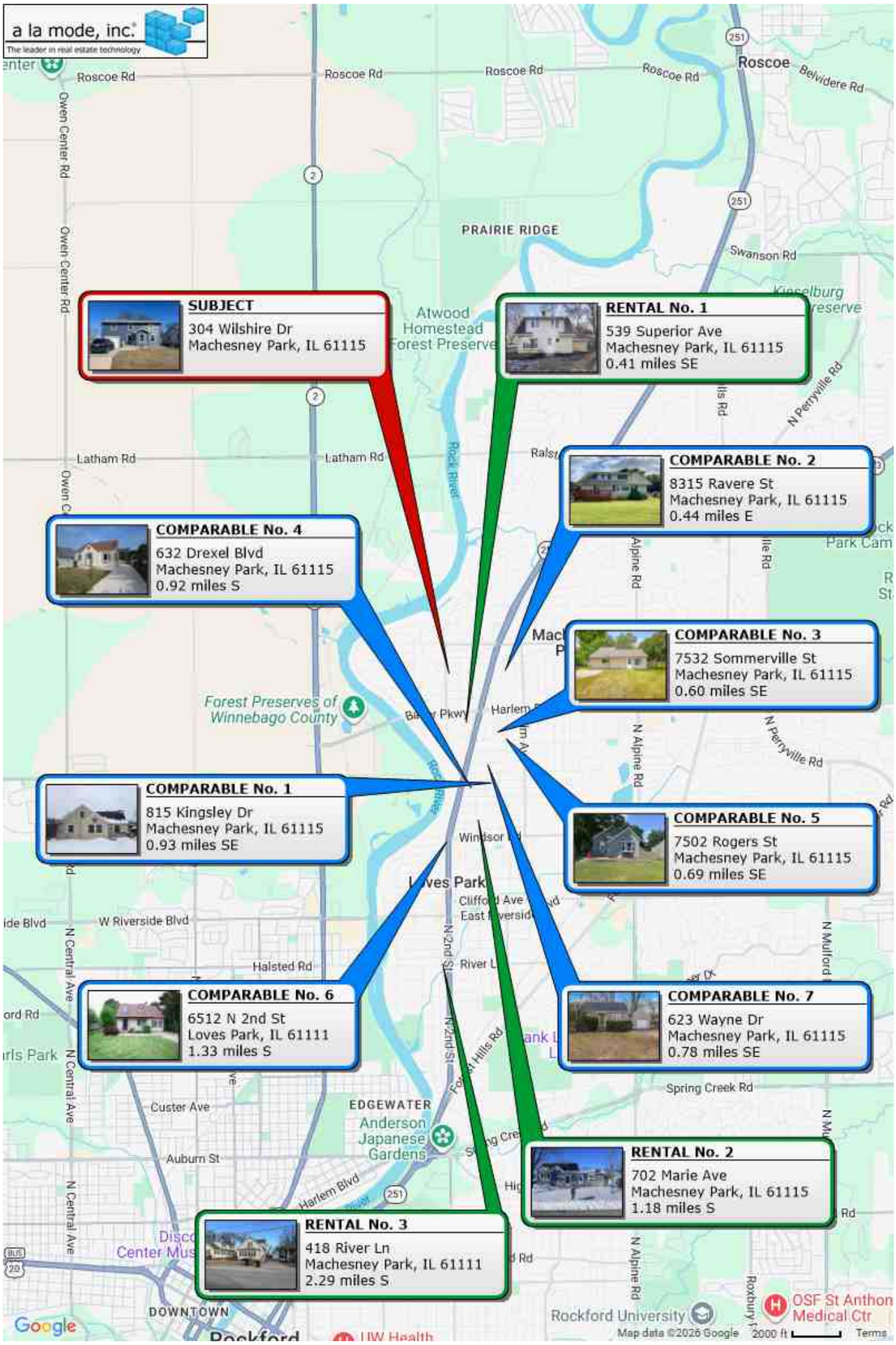

Plat Map

Borrower	Bjorn Hulleberg						
Property Address	304 Wilshire Dr						
City	Machesney Park	County	Winnebago	State	IL	Zip Code	61115
Lender/Client	New Silver Lending LLC						

USPAP ADDENDUM

File No. 263-00382 R26-000235

Borrower	Bjorn Hulleberg						
Property Address	304 Wilshire Dr						
City	Machesney Park	County	Winnebago	State	IL	Zip Code	61115
Lender	New Silver Lending LLC						

This report was prepared under the following USPAP reporting option:

☒ Appraisal Report — This report was prepared in accordance with USPAP Standards Rule 2-2(a).

☐ Restricted Appraisal Report — This report was prepared in accordance with USPAP Standards Rule 2-2(b).

Reasonable Exposure Time

My opinion of a reasonable exposure time for the subject property at the market value stated in this report is: under three months

Reasonable Market Exposure is defined as "the estimated length of time the property interest being appraised would have been offered on the market prior to the hypothetical consummation of a sale at market value on the effective date of the appraisal; a retrospective estimate based upon an analysis of past events assuming a competitive and open market." ... "The reasonable exposure period is a function of price, time and use, not an isolated estimate of time along." (Appraisal Foundation, SMT-6). The property sales indicated that exposure time (i.e., the length of time the subject property would have been exposed for sale in the market had it sold at the market value concluded in this analysis as of the date of this valuation) would have been under 3 months.

Additional Certifications

I certify that, to the best of my knowledge and belief:

☒ I have NOT performed services, as an appraiser or in any other capacity, regarding the property that is the subject of this report within the three-year period immediately preceding acceptance of this assignment.

☐ I HAVE performed services, as an appraiser or in another capacity, regarding the property that is the subject of this report within the three-year period immediately preceding acceptance of this assignment. Those services are described in the comments below.

I have performed no services, as an appraiser or in any other capacity, regarding the subject property that is the subject of this report within the three year period immediately preceding acceptance of this assignment. This appraiser also has no current or prospective interest in the subject property or parties involved.

Additional Comments

APPRAISER:

Signature: Tony Saladino

Name: Tony Saladino

Date Signed: 03/13/2026

State Certification #: 556.004007

or State License #:

State: IL

Expiration Date of Certification or License: 09/30/2027

Effective Date of Appraisal: 03/09/2026

SUPERVISORY APPRAISER: (only if required)

Signature:

Name:

Date Signed:

State Certification #:

or State License #:

State:

Expiration Date of Certification or License:

Supervisory Appraiser Inspection of Subject Property:

☐ Did Not ☐ Exterior-only from Street ☐ Interior and Exterior

State of Illinois

Department of Financial and Professional Regulation

Division of Real Estate

LICENSE NO.
556.004007

The person, firm, or corporation whose name appears on this certificate has complied with the provisions of the Illinois Statutes and/or rules and regulations and is hereby authorized to engage in the activity as indicated below:

EXPIRES:
09/30/2027

CERTIFIED RESIDENTIAL REAL ESTATE APPRAISER

TONY G SALADINO
4777 E STATE ST
UNIT 2
ROCKFORD, IL 61108

MARIO TRETO, JR.
SECRETARY

LAURIE MURPHY
DIRECTOR

The official status of this license can be verified at IDFPR.illinois.gov

20426476

Signature Appraisals, Inc

ACORD

CERTIFICATE OF LIABILITY INSURANCE

DATE (MM/DD/YYYY): 11/05/2025

THIS CERTIFICATE IS ISSUED AS A MATTER OF INFORMATION ONLY AND CONFERS NO RIGHTS UPON THE CERTIFICATE HOLDER. THIS CERTIFICATE DOES NOT AFFIRMATIVELY OR NEGATIVELY AMEND, EXTEND OR ALTER THE COVERAGE AFFORDED BY THE POLICIES BELOW. THIS CERTIFICATE OF INSURANCE DOES NOT CONSTITUTE A CONTRACT BETWEEN THE ISSUING INSURER(S), AUTHORIZED REPRESENTATIVE OR PRODUCER, AND THE CERTIFICATE HOLDER.

IMPORTANT: If the certificate holder is an ADDITIONAL INSURED, the policy(ies) must have ADDITIONAL INSURED provisions or be endorsed. If SUBROGATION IS WAIVED, subject to the terms and conditions of the policy, certain policies may require an endorsement. A statement on this certificate does not confer rights to the certificate holder in lieu of such endorsement(s).

PRODUCER
Keystone II Insurance Agency, Inc.
513 Phelps Avenue
Rockford IL 61108

CONTACT NAME: Michael J. Purin
PHONE (A/C, No, Ext): 815-962-6641 FAX (A/C, No): 815-962-6652
E-MAIL ADDRESS: michael@keystoneagency.com

INSURER(S) AFFORDING COVERAGE	NAIC #
INSURER A : Hiscox Insurance Company	
INSURER B : Hanover Insurance	
INSURER C :	
INSURER D :	
INSURER E :	
INSURER F :	

INSURED
Signature Appraisals, Inc.
4777 E State St - Unit # 2
Rockford IL 61108

COVERAGES CERTIFICATE NUMBER: REVISION NUMBER:

THIS IS TO CERTIFY THAT THE POLICIES OF INSURANCE LISTED BELOW HAVE BEEN ISSUED TO THE INSURED NAMED ABOVE FOR THE POLICY PERIOD INDICATED. NOTWITHSTANDING ANY REQUIREMENT, TERM OR CONDITION OF ANY CONTRACT OR OTHER DOCUMENT WITH RESPECT TO WHICH THIS CERTIFICATE MAY BE ISSUED OR MAY PERTAIN, THE INSURANCE AFFORDED BY THE POLICIES DESCRIBED HEREIN IS SUBJECT TO ALL THE TERMS, EXCLUSIONS AND CONDITIONS OF SUCH POLICIES. LIMITS SHOWN MAY HAVE BEEN REDUCED BY PAID CLAIMS.

INSR LTR	TYPE OF INSURANCE	ADDL INSD	SUBR WVD	POLICY NUMBER	POLICY EFF (MM/DD/YYYY)	POLICY EXP (MM/DD/YYYY)	LIMITS	
B	X COMMERCIAL GENERAL LIABILITY CLAIMS-MADE X OCCUR GEN'L AGGREGATE LIMIT APPLIES PER: X POLICY PRO-JECT LOC OTHER			ZBC J550430 00	12/01/2025	12/01/2026	EACH OCCURRENCE	$ 1,000,000
							DAMAGE TO RENTED PREMISES (Ea occurrence)	$ 100,000
							MED EXP (Any one person)	$ 5,000
							PERSONAL & ADV INJURY	$ 1,000,000
							GENERAL AGGREGATE	$ 2,000,000
							PRODUCTS - COMP/OP AGG	$ 2,000,000
								$
B	AUTOMOBILE LIABILITY ANY AUTO OWNED AUTOS ONLY X HIRED AUTOS ONLY SCHEDULED AUTOS X NON-OWNED AUTOS ONLY			ZBC J550430 00	12/01/2025	12/01/2026	COMBINED SINGLE LIMIT (Ea accident)	$ 1,000,000
							BODILY INJURY (Per person)	$
							BODILY INJURY (Per accident)	$
							PROPERTY DAMAGE (Per accident)	$
								$
	UMBRELLA LIAB OCCUR EXCESS LIAB CLAIMS-MADE DED RETENTION $						EACH OCCURRENCE	$
							AGGREGATE	$
								$
B	WORKERS COMPENSATION AND EMPLOYERS' LIABILITY ANY PROPRIETOR/PARTNER/EXECUTIVE OFFICER/MEMBER EXCLUDED? (Mandatory in NH) Y / N N If yes, describe under DESCRIPTION OF OPERATIONS below	N / A		WHC-J550040 00	12/01/2025	12/01/2026	X PER STATUTE OTH-ER	
							E.L. EACH ACCIDENT	$ 1,000,000
							E.L. DISEASE - EA EMPLOYEE	$ 1,000,000
							E.L. DISEASE - POLICY LIMIT	$ 1,000,000
A	Professional E&O			MPL1348480.24	12/01/2025	12/01/2026	$1,000,000 Ea Claim $1,000,000 Aggregate	

DESCRIPTION OF OPERATIONS / LOCATIONS / VEHICLES (ACORD 101, Additional Remarks Schedule, may be attached if more space is required)

CERTIFICATE HOLDER

To Whom It May Concern

CANCELLATION

SHOULD ANY OF THE ABOVE DESCRIBED POLICIES BE CANCELLED BEFORE THE EXPIRATION DATE THEREOF, NOTICE WILL BE DELIVERED IN ACCORDANCE WITH THE POLICY PROVISIONS.

AUTHORIZED REPRESENTATIVE <JK>

© 1988-2015 ACORD CORPORATION. All rights reserved.

ACORD 25 (2016/03) The ACORD name and logo are registered marks of ACORD

Building Sketch

Borrower	Bjorn Hulleberg						
Property Address	304 Wilshire Dr						
City	Machesney Park	County	Winnebago	State	IL	Zip Code	61115
Lender/Client	New Silver Lending LLC						

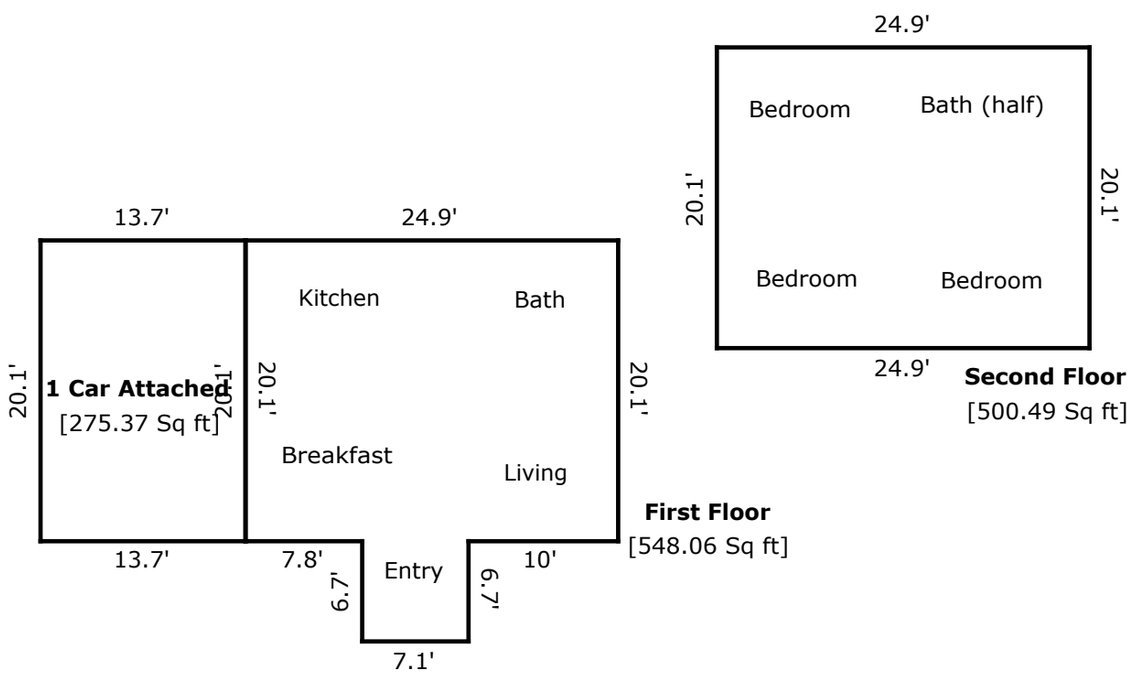

TOTAL Sketch by a la mode

Area Calculations Summary

Living Area		**Calculation Details**
First Floor	548.1 Sq ft	7.1 × 6.7 = 47.6 20.1 × 24.9 = 500.5
Second Floor	500.5 Sq ft	20.1 × 24.9 = 500.5
Total Living Area (Rounded):	**1049 Sq ft**	
Non-living Area		
1 Car Attached	275.4 Sq ft	13.7 × 20.1 = 275.4