APPRAISAL OF REAL PROPERTY

LOCATED AT

411 Keziah St
Oak Island, NC 28465
L-14 B-EE YAUPON VILLAGE

FOR

The Loan Store
6340 N Campbell Ave #100
Tucson, AZ 85718

OPINION OF VALUE

829,000

AS OF

03/13/2026

BY

Samuel B Camblin
Camblin Appraisal & Associates, Inc.
PO Box 4082
Wilmington, NC 28403
(910) 515-4459
sam@camblinappraisal.com

Camblin Appraisal & Associates, Inc.
PO Box 4082
Wilmington, NC 28403
(910) 515-4459

03/16/2026

The Loan Store
6340 N Campbell Ave #100
Tucson, AZ 85718

Re: Property: 411 Keziah St
Oak Island, NC 28465
Borrower: Eduardo Hidalgo Reyes & Eduardo Reyes
File No.: S-411Keziah

Opinion of Value: $ 829,000
Effective Date: 03/13/2026

In accordance with your request, we have appraised the above referenced property. The report of that appraisal is attached.

The purpose of the appraisal is to develop an opinion of market value for the property described in this appraisal report, as improved, in unencumbered fee simple title of ownership.

This report is based on a physical analysis of the site and improvements, a locational analysis of the neighborhood and city, and an economic analysis of the market for properties such as the subject. The appraisal was developed and the report was prepared in accordance with the Uniform Standards of Professional Appraisal Practice.

The opinion of value reported above is as of the stated effective date and is contingent upon the certification and limiting conditions attached.

It has been a pleasure to assist you.

Sincerely,

Samuel B Camblin
Certification #: A7959
State: NC Expires: 06/30/2026
sam@camblinappraisal.com

Uniform Residential Appraisal Report

File # S-411Keziah

The purpose of this summary appraisal report is to provide the lender/client with an accurate, and adequately supported, opinion of the market value of the subject property.

SUBJECT

Property Address 411 Keziah St | City Oak Island | State NC | Zip Code 28465
Borrower Eduardo Hidalgo Reyes & Eduardo Reyes | Owner of Public Record See attached addendum. | County Brunswick
Legal Description L-14 B-EE YAUPON VILLAGE
Assessor's Parcel # 250CF00701 | Tax Year 2025 | R.E. Taxes $ 1,961
Neighborhood Name Oak Island | Map Reference 48900 | Census Tract 0203.15
Occupant [X] Owner [ ] Tenant [ ] Vacant | Special Assessments $ 0 | [ ] PUD | HOA $ 0 [ ] per year [ ] per month
Property Rights Appraised [X] Fee Simple [ ] Leasehold [ ] Other (describe)
Assignment Type [ ] Purchase Transaction [X] Refinance Transaction [ ] Other (describe)
Lender/Client The Loan Store | Address 6340 N Campbell Ave #100, Tucson, AZ 85718
Is the subject property currently offered for sale or has it been offered for sale in the twelve months prior to the effective date of this appraisal? [X] Yes [ ] No
Report data source(s) used, offering price(s), and date(s). DOM 133;The subject was listed with #100480898 through the Hive MLS on 12/20/2024 for $924,900. The listing expired 05/01/2025.

CONTRACT

I [ ] did [ ] did not analyze the contract for sale for the subject purchase transaction. Explain the results of the analysis of the contract for sale or why the analysis was not performed.

Contract Price $ | Date of Contract | Is the property seller the owner of public record? [ ] Yes [ ] No | Data Source(s)
Is there any financial assistance (loan charges, sale concessions, gift or downpayment assistance, etc.) to be paid by any party on behalf of the borrower? [ ] Yes [ ] No
If Yes, report the total dollar amount and describe the items to be paid.

NEIGHBORHOOD

Note: Race and the racial composition of the neighborhood are not appraisal factors.

Neighborhood Characteristics			One-Unit Housing Trends			One-Unit Housing			Present Land Use %	
Location	[ ] Urban	[X] Suburban [ ] Rural	Property Values	[ ] Increasing	[X] Stable [ ] Declining	PRICE		AGE	One-Unit	76 %
Built-Up	[X] Over 75%	[ ] 25-75% [ ] Under 25%	Demand/Supply	[ ] Shortage	[X] In Balance [ ] Over Supply	$ (000)		(yrs)	2-4 Unit	5 %
Growth	[ ] Rapid	[X] Stable [ ] Slow	Marketing Time	[ ] Under 3 mths	[X] 3-6 mths [ ] Over 6 mths	100	Low	0	Multi-Family	2 %
Neighborhood Boundaries	North and West by the Intracoastal Waterway, South by the Atlantic Ocean, and East by the Cape Fear River.					2,351	High	85	Commercial	2 %
						450	Pred.	20	Other	15 %

Neighborhood Description See attached addendum.

Market Conditions (including support for the above conclusions) See attached 1004MC.

SITE

Dimensions 60.00x122.50 | Area 7350 sf | Shape Rectangular | View N;Res;
Specific Zoning Classification R6 | Zoning Description Residential
Zoning Compliance [X] Legal [ ] Legal Nonconforming (Grandfathered Use) [ ] No Zoning [ ] Illegal (describe)
Is the highest and best use of subject property as improved (or as proposed per plans and specifications) the present use? [X] Yes [ ] No If No, describe Because of the current zoning, surrounding property uses, and market norms the highest and best use is as a single family home site.

Utilities	Public	Other (describe)		Public	Other (describe)	Off-site Improvements – Type	Public	Private
Electricity	[X]	[ ]	Water	[X]	[ ]	Street Asphalt	[X]	[ ]
Gas	[ ]	[ ] None	Sanitary Sewer	[X]	[ ]	Alley None	[ ]	[ ]

FEMA Special Flood Hazard Area [ ] Yes [X] No | FEMA Flood Zone X | FEMA Map # 37019C2075K | FEMA Map Date 08/28/2018
Are the utilities and off-site improvements typical for the market area? [X] Yes [ ] No If No, describe
Are there any adverse site conditions or external factors (easements, encroachments, environmental conditions, land uses, etc.)? [ ] Yes [X] No If Yes, describe
See attached addendum.

IMPROVEMENTS

General Description		Foundation		Exterior Description	materials/condition	Interior	materials/condition
Units	[X] One [ ] One with Accessory Unit	[X] Concrete Slab	[ ] Crawl Space	Foundation Walls	Slab/Piling/Gd	Floors	LVP/Gd
# of Stories	1	[ ] Full Basement	[ ] Partial Basement	Exterior Walls	Vinyl/Gd	Walls	Drywall/Gd
Type	[X] Det. [ ] Att. [ ] S-Det./End Unit	Basement Area	0 sq.ft.	Roof Surface	Architect/Gd	Trim/Finish	Wood/Gd
[X] Existing	[ ] Proposed [ ] Under Const.	Basement Finish	0 %	Gutters & Downspouts	Aluminum/Gd	Bath Floor	LVP/Gd
Design (Style)	Coastal	[ ] Outside Entry/Exit	[ ] Sump Pump	Window Type	Vinyl/Gd	Bath Wainscot	Tile/Gd
Year Built	2021	Evidence of [ ] Infestation		Storm Sash/Insulated	Insulated/Gd	Car Storage	[ ] None
Effective Age (Yrs)	4	[ ] Dampness	[ ] Settlement	Screens	Yes/Gd	[X] Driveway	# of Cars 3
Attic	[ ] None	Heating [X] FWA	[ ] HWBB [ ] Radiant	Amenities	[ ] Woodstove(s) # 0	Driveway Surface	Concrete
[ ] Drop Stair	[ ] Stairs	[ ] Other	Fuel Electric	[ ] Fireplace(s) # 0	[X] Fence Vinyl	[ ] Garage	# of Cars 0
[ ] Floor	[X] Scuttle	Cooling [X] Central Air Conditioning		[X] Patio/Deck Deck	[X] Porch Cvd	[X] Carport	# of Cars 2
[ ] Finished	[ ] Heated	[ ] Individual	[ ] Other	[ ] Pool None	[X] Other Strg	[ ] Att.	[ ] Det. [X] Built-in

Appliances [ ] Refrigerator [X] Range/Oven [X] Dishwasher [X] Disposal [X] Microwave [ ] Washer/Dryer [ ] Other (describe)
Finished area **above** grade contains: 7 Rooms 3 Bedrooms 2.0 Bath(s) 1,735 Square Feet of Gross Living Area Above Grade
Additional features (special energy efficient items, etc.). Covered porch, deck, fence, ground level storage, tankless water heater, EV charging, whole-house surge protector, trey ceilings, solid surface counters, elevator shaft (no elevator), insulated windows, etc.
Describe the condition of the property (including needed repairs, deterioration, renovations, remodeling, etc.). C2;No updates in the prior 15 years;The subject appears to be well maintained with no deficiencies noted.

Are there any physical deficiencies or adverse conditions that affect the livability, soundness, or structural integrity of the property? [ ] Yes [X] No If Yes, describe
The water and power were on during the inspection and the mechanical systems appeared to be functioning properly.

Does the property generally conform to the neighborhood (functional utility, style, condition, use, construction, etc.)? [X] Yes [ ] No If No, describe

Form 1004UAD - "TOTAL" appraisal software by a la mode, inc. - 1-800-ALAMODE

Uniform Residential Appraisal Report

File # S-411Keziah

There are 19 comparable properties currently offered for sale in the subject neighborhood ranging in price from $ 505,000 to $ 1,249,000 .

There are 79 comparable sales in the subject neighborhood within the past twelve months ranging in sale price from $ 470,000 to $ 1,299,000 .

SALES COMPARISON APPROACH

FEATURE	SUBJECT	COMPARABLE SALE # 1		COMPARABLE SALE # 2		COMPARABLE SALE # 3	
Address	411 Keziah St Oak Island, NC 28465	129 NE 39th St Oak Island, NC 28465		247 NE 64th St Oak Island, NC 28465		245 NE 70th St Oak Island, NC 28465	
Proximity to Subject		2.43 miles W		1.14 miles NW		0.80 miles NW	
Sale Price	$		$ 780,000		$ 945,000		$ 929,900
Sale Price/Gross Liv. Area	$ sq.ft.	$ 455.08 sq.ft.		$ 481.90 sq.ft.		$ 447.07 sq.ft.	
Data Source(s)		HiveMLS#100537847;DOM 61		HiveMLS#100548444;DOM 22		HiveMLS#100494308;DOM 73	
Verification Source(s)		County Records		County Records		County Records	
VALUE ADJUSTMENTS	DESCRIPTION	DESCRIPTION	+(-) $ Adjustment	DESCRIPTION	+(-) $ Adjustment	DESCRIPTION	+(-) $ Adjustment
Sales or Financing Concessions		ArmLth Conv;1700	-1,700	ArmLth Conv;1750	-1,750	ArmLth Conv;0	
Date of Sale/Time		s02/26;c12/25		s03/26;c01/26		s07/25;c05/25	
Location	N;Res;	N;Res;		N;Res;		N;Res;	
Leasehold/Fee Simple	Fee Simple	Fee Simple		Fee Simple		Fee Simple	
Site	7350 sf	6534 sf	0	6534 sf	0	6534 sf	0
View	N;Res;	N;Res;		N;Res;Wtr	0	N;Res;	
Design (Style)	DT1;Coastal	DT1;Coastal		DT2;Coastal	0	DT1.5;Coastal	0
Quality of Construction	Q3	Q3		Q3		Q3	
Actual Age	5	5		5		1	0
Condition	C2	C2		C2		C1	-45,000
Above Grade Room Count (Total / Bdrms. / Baths)	7 / 3 / 2.0	7 / 3 / 2.0		7 / 3 / 2.2	-6,000	8 / 4 / 3.0	-6,000
Gross Living Area	1,735 sq.ft.	1,714 sq.ft.	0	1,961 sq.ft.	-23,000	2,080 sq.ft.	-35,000
Basement & Finished Rooms Below Grade	0sf	0sf		0sf		0sf	
Functional Utility	Average	Average		Average		Average	
Heating/Cooling	FWA C/air	FWA C/air		FWA C/air		FWA C/air	
Energy Efficient Items	Avg e.e. items	Avg e.e. items		Avg e.e. items		Avg e.e. items	
Garage/Carport	2cp3dw	2cp2dw	0	2cp2dw	0	1gbi1cp3dw	-2,500
Porch/Patio/Deck	CPch/Dk	Similar	0	Similar	0	Similar	0
Other	Fence/Strg	Strg	+6,000	Fence/Strg		None	+11,000
Other	None	None		Elevator/Pool	-55,000	Elevator	-15,000
Net Adjustment (Total)		☒ + ☐ -	$ 4,300	☐ + ☒ -	$ -85,750	☐ + ☒ -	$ -92,500
Adjusted Sale Price of Comparables		Net Adj. 0.6 % Gross Adj. 1.0 %	$ 784,300	Net Adj. 9.1 % Gross Adj. 9.1 %	$ 859,250	Net Adj. 9.9 % Gross Adj. 12.3 %	$ 837,400

I ☒ did ☐ did not research the sale or transfer history of the subject property and comparable sales. If not, explain

My research ☐ did ☒ did not reveal any prior sales or transfers of the subject property for the three years prior to the effective date of this appraisal.

Data Source(s) County Records

My research ☐ did ☒ did not reveal any prior sales or transfers of the comparable sales for the year prior to the date of sale of the comparable sale.

Data Source(s) County Records

Report the results of the research and analysis of the prior sale or transfer history of the subject property and comparable sales (report additional prior sales on page 3).

ITEM	SUBJECT	COMPARABLE SALE #1	COMPARABLE SALE #2	COMPARABLE SALE #3
Date of Prior Sale/Transfer				
Price of Prior Sale/Transfer				
Data Source(s)	County Records	County Records	County Records	County Records
Effective Date of Data Source(s)	03/01/2026	03/01/2026	03/01/2026	03/01/2026

Analysis of prior sale or transfer history of the subject property and comparable sales No transfers were noted on the subject within the three years prior to the effective date of this assignment. No transfers of the comparables were noted within the twelve months prior to their respective date of sale.

Summary of Sales Comparison Approach See attached addendum.

Indicated Value by Sales Comparison Approach $ 829,000

RECONCILIATION

Indicated Value by: Sales Comparison Approach $ 829,000 **Cost Approach (if developed) $** 777,916 **Income Approach (if developed) $**

Both the cost and sales comparison approaches were considered in estimating the final value, however, most of the weight was given to the sales comparison analysis. Properties in the subject's market area are typically utilized as primary/secondary homes and sometimes offered as short-term/seasonal rentals. Predominant occupancy appears to be primary/secondary. The amount of long-term rental data and support for a reliable GRM is extremely limited, and therefore, the income approach was not utilized.

This appraisal is made ☒ "as is", ☐ subject to completion per plans and specifications on the basis of a hypothetical condition that the improvements have been completed, ☐ subject to the following repairs or alterations on the basis of a hypothetical condition that the repairs or alterations have been completed, or ☐ subject to the following required inspection based on the extraordinary assumption that the condition or deficiency does not require alteration or repair: The complete appraisal consists of the data contained in this report and additional data contained in the company files.

Based on a complete visual inspection of the interior and exterior areas of the subject property, defined scope of work, statement of assumptions and limiting conditions, and appraiser's certification, my (our) opinion of the market value, as defined, of the real property that is the subject of this report is $ 829,000 **, as of** 03/13/2026 **, which is the date of inspection and the effective date of this appraisal.**

Form 1004UAD - "TOTAL" appraisal software by a la mode, inc. - 1-800-ALAMODE

Uniform Residential Appraisal Report

File # S-411Keziah

SALES COMPARISON APPROACH

FEATURE	SUBJECT	COMPARABLE SALE # 4		COMPARABLE SALE # 5		COMPARABLE SALE # 6	
Address	411 Keziah St Oak Island, NC 28465	412 Keziah St Oak Island, NC 28465					
Proximity to Subject		0.04 miles E					
Sale Price	$		$ 1,125,000		$		$
Sale Price/Gross Liv. Area	$ sq.ft.	$ 455.28 sq.ft.		$ sq.ft.		$ sq.ft.	
Data Source(s)		HiveMLS#100509318;DOM 64					
Verification Source(s)		County Records					
VALUE ADJUSTMENTS	DESCRIPTION	DESCRIPTION	+(-) $ Adjustment	DESCRIPTION	+(-) $ Adjustment	DESCRIPTION	+(-) $ Adjustment
Sales or Financing Concessions		ArmLth Cash;0					
Date of Sale/Time		s09/25;c07/25					
Location	N;Res;	N;Res;					
Leasehold/Fee Simple	Fee Simple	Fee Simple					
Site	7350 sf	7405 sf	0				
View	N;Res;	N;Res;					
Design (Style)	DT1;Coastal	DT2;Coastal	0				
Quality of Construction	Q3	Q3	-91,000				
Actual Age	5	1	0				
Condition	C2	C1	-58,000				
Above Grade Room Count (Total / Bdrms. / Baths)	7 / 3 / 2.0	10 / 4 / 3.1	-9,000	/ /		/ /	
Gross Living Area	1,735 sq.ft.	2,471 sq.ft.	-75,000	sq.ft.		sq.ft.	
Basement & Finished Rooms Below Grade	0sf	0sf					
Functional Utility	Average	Average					
Heating/Cooling	FWA C/air	FWA C/air					
Energy Efficient Items	Avg e.e. items	Avg e.e. items					
Garage/Carport	2cp3dw	2cp3dw					
Porch/Patio/Deck	CPch/Dk	Similar	0				
Other	Fence/Strg	Fence/Strg					
Other	None	Elevator/Pool	-55,000				
Net Adjustment (Total)		☐ + ☒ -	$ -288,000	☐ + ☐ -	$	☐ + ☐ -	$
Adjusted Sale Price of Comparables		Net Adj. 25.6 % Gross Adj. 25.6 %	$ 837,000	Net Adj. % Gross Adj. %	$	Net Adj. % Gross Adj. %	$

SALE HISTORY

Report the results of the research and analysis of the prior sale or transfer history of the subject property and comparable sales (report additional prior sales on page 3).

ITEM	SUBJECT	COMPARABLE SALE # 4	COMPARABLE SALE # 5	COMPARABLE SALE # 6
Date of Prior Sale/Transfer				
Price of Prior Sale/Transfer				
Data Source(s)	County Records	County Records		
Effective Date of Data Source(s)	03/01/2026	03/01/2026		

Analysis of prior sale or transfer history of the subject property and comparable sales

ANALYSIS / COMMENTS

Analysis/Comments

Form 1004UAD.(AC) - "TOTAL" appraisal software by a la mode, inc. - 1-800-ALAMODE

Camblin Appraisal & Associates, Inc.

SINGLE FAMILY COMPARABLE RENT SCHEDULE

File # S-411Keziah

This form is intended to provide the appraiser with a familiar format to estimate the market rent of the subject property. Adjustments should be made only for items of significant difference between the comparables and the subject property.

ITEM	SUBJECT	COMPARABLE NO. 1		COMPARABLE NO. 2		COMPARABLE NO. 3	
Address	411 Keziah St Oak Island, NC 28465	106 SE 1st St Oak Island, NC 28465		104 SW 28th St Oak Island, NC 28465		145 NE 14th St Oak Island, NC 28465	
Proximity to Subject		4.56 miles W		6.22 miles W		3.86 miles W	
Date Lease Begins Date Lease Expires		09/26/2025 09/25/2026		08/10/2024 08/09/2025		12/13/2024 12/12/2025	
Monthy Rental	If Currently Rented: $	$ 2,975		$ 3,200		$ 2,700	
Less: Utilities Furniture	$	$ 0 0		$ 0 0		$ 0 0	
Adjusted Monthly Rent	$	$ 2,975		$ 3,200		$ 2,700	
Data Source	Inspection County Records	HiveMLS#100526512 County Records		HiveMLS#100455956 County Records		HiveMLS#100472158 County Records	
RENT ADJUSTMENTS	DESCRIPTION	DESCRIPTION	+(−)$ Adjust.	DESCRIPTION	+(−)$ Adjust.	DESCRIPTION	+(−)$ Adjust.
Rent Concessions		0 0		0 0		0 0	
Location/View	N;Res; N;Res;	N;Res; N;Res;		N;Res; N;Res;		N;Res; N;Res;	
Design and Appeal	DT1;Coastal	DT1;Transitional	0	DT2;Coastal	0	DT1;Transitional	0
Age/Condition	5 C2	14 C3	0 0	19 C3	0 0	7 C2	0 0
Above Grade Room Count (Total / Bdrms / Baths)	7 / 3 / 2.0	8 / 3 / 2	0	8 / 4 / 2.2	0	7 / 3 / 2	0
Gross Living Area	1,735 Sq. Ft.	2,591 Sq. Ft.	0	2,480 Sq. Ft.	0	1,762 Sq. Ft.	0
Other (e.g., basement, etc.)	0sf	0sf		0sf		0sf	
Other:							
Net Adj. (total)		☐ + ☐ −	$ 0	☐ + ☐ −	$ 0	☐ + ☐ −	$ 0
Indicated Monthly Market Rent			$ 2,975		$ 3,200		$ 2,700

Comments on market data, including the range of rents for single family properties, an estimate of vacancy for single family rental properties, the general trend of rents and vacancy, and support for the above adjustments. (Rent concessions should be adjusted to the market, not to the subject property.) The rentals provided are three similar properties located in the subject's competing market area. While there are differences between the subject and competing rentals, there is limited data to support additional adjustments within this particular rental market. It appears that a current market rent of $2,960 per month is supported.

Final Reconciliation of Market Rent: All three rentals were considered and given equal weight in the final estimation of market rent. After reviewing the data above, it appears that a current market rent of $2,960 per month is supported.

I (WE) ESTIMATE THE MONTHLY MARKET RENT OF THE SUBJECT AS OF 03/13/2026 **TO BE $** 2,960

SAMUEL B. CAMBLIN CERTIFIED NORTH CAROLINA A7959 REAL ESTATE APPRAISER RESIDENTIAL APPRAISER

Appraiser(s) SIGNATURE
NAME Samuel B Camblin

Review Appraiser (if applicable) SIGNATURE
NAME

Date Property Inspected 03/13/2026 Report Signed 03/16/2026
License or Certification # A7959 State NC
Expiration Date of License or Certification 06/30/2026

Date Property Inspected _____ Report Signed _____
License or Certification # _____ State _____
Expiration Date of License or Certification _____
Review Appraiser ☐ Did ☐ Did Not Inspect Subject Property

Uniform Residential Appraisal Report

File # S-411Keziah

ADDITIONAL COMMENTS

I certify, as the appraiser, that I have completed all aspects of this valuation, including reconciling my opinion of value, free of influence from the client, client's representatives, borrower, or any other party to the transaction.

I have no current or prospective interest in the subject property or the parties involved. No services were performed by the appraiser within the 3 year period immediately preceding acceptance of this assignment, as an appraiser or in any capacity.

Clarification of Intended Use and Intended User:
The Intended User of this appraisal report is the Lender/Client. The Intended Use is to evaluate the property that is the subject of this appraisal for a mortgage finance transaction, subject to the stated Scope of Work, purpose of the appraisal, reporting requirements of this appraisal report form, and Definition of Market Value. No additional Intended Users are identified by the appraiser.

Marketing Time
Marketing time is largely dependent on the relationship of demand and supply. In equilibrium, this relationship is most likely to characterize or forecast a correct marketing time. The Dictionary of Real Estate Appraisal, Fourth Edition, Published by the Appraisal Institute, defines marketing time as " reasonable marketing time is an estimate of the amount of time it might take to sell an interest in real property at its estimated market value during the period immediately after the effective date of the appraisal; the anticipated time required to expose the property to a pool of prospective purchasers and to allow appropriate time for negotiation, the exercise of due diligence, and the consummation of a sale at a price supportable by current market conditions."1
Marketing time is assumed to be the time directly after the completion of the appraisal. The days on market of similar sales in the area are the best indication of a typical marketing time. In addition, participants within the market, along with statistical data will aid in the conclusion of a typical marketing time. Current market conditions and any anticipated changes will also play a vital role in the determination of marketing time. This has the understanding of a qualified Realtor marketing the property based on a listing price within market expectations. Based on the sales in the locale, typical marketing time will be approximately three months.
Exposure Time
Exposure time is the "estimated length of time the property interest being appraised would have been offered on the market prior to the hypothetical consummation of a sale at market value on the effective date of the appraisal." 2 Exposure time is based on past actions and the investigation of these events assuming an active and open real estate market. Exposure time is estimated to be approximately three months.
1. The Dictionary of Real Estate Appraisal, 4th Edition, 2002, Published by The Appraisal Institute, 875 North Michigan Avenue, Chicago, Illinois, 60611-1980, Page 175.
2. The Dictionary of Real Estate Appraisal, 4th Edition, 2002, Published by The Appraisal Institute, 875 North Michigan Avenue, Chicago, Illinois, 60611-1980, Page 105.

COST APPROACH

COST APPROACH TO VALUE (not required by Fannie Mae)

Provide adequate information for the lender/client to replicate the below cost figures and calculations.
Support for the opinion of site value (summary of comparable land sales or other methods for estimating site value) The opinion of site value was determined from recent land sales in the market area. The subject's site value exceeds 25% of the overall value indicated in this report. This is common for similar properties in the subject's market area.

ESTIMATED ☐ REPRODUCTION OR ☒ REPLACEMENT COST NEW	OPINION OF SITE VALUE					=$	250,000
Source of cost data NAE Pro Craftsman Estimator/Local builder costs.	DWELLING	1,735	Sq.Ft. @ $	306.00		=$	530,910
Quality rating from cost service 2/3/Gd Effective date of cost data 03/2026		0	Sq.Ft. @ $			=$	
Comments on Cost Approach (gross living area calculations, depreciation, etc.)						=$	
See attached addendum.	Garage/Carport	1,654	Sq.Ft. @ $	21.00		=$	34,734
	Total Estimate of Cost-New					=$	565,644
	Less	Physical	Functional	External			
	Depreciation	37,728				=$(	37,728)
	Depreciated Cost of Improvements					=$	527,916
	"As-is" Value of Site Improvements					=$	
Estimated Remaining Economic Life (HUD and VA only) 56 Years	**INDICATED VALUE BY COST APPROACH**					**=$**	777,916

INCOME

INCOME APPROACH TO VALUE (not required by Fannie Mae)

Estimated Monthly Market Rent $ 2,960 X Gross Rent Multiplier = $ Indicated Value by Income Approach
Summary of Income Approach (including support for market rent and GRM)

PUD INFORMATION

PROJECT INFORMATION FOR PUDs (if applicable)

Is the developer/builder in control of the Homeowners' Association (HOA)? ☐ Yes ☐ No Unit type(s) ☐ Detached ☐ Attached
Provide the following information for PUDs ONLY if the developer/builder is in control of the HOA and the subject property is an attached dwelling unit.
Legal Name of Project
Total number of phases Total number of units Total number of units sold
Total number of units rented Total number of units for sale Data source(s)
Was the project created by the conversion of existing building(s) into a PUD? ☐ Yes ☐ No If Yes, date of conversion.
Does the project contain any multi-dwelling units? ☐ Yes ☐ No Data Source
Are the units, common elements, and recreation facilities complete? ☐ Yes ☐ No If No, describe the status of completion.

Are the common elements leased to or by the Homeowners' Association? ☐ Yes ☐ No If Yes, describe the rental terms and options.

Describe common elements and recreational facilities.

Form 1004UAD - "TOTAL" appraisal software by a la mode, inc. - 1-800-ALAMODE

This report form is designed to report an appraisal of a one-unit property or a one-unit property with an accessory unit; including a unit in a planned unit development (PUD). This report form is not designed to report an appraisal of a manufactured home or a unit in a condominium or cooperative project.

This appraisal report is subject to the following scope of work, intended use, intended user, definition of market value, statement of assumptions and limiting conditions, and certifications. Modifications, additions, or deletions to the intended use, intended user, definition of market value, or assumptions and limiting conditions are not permitted. The appraiser may expand the scope of work to include any additional research or analysis necessary based on the complexity of this appraisal assignment. Modifications or deletions to the certifications are also not permitted. However, additional certifications that do not constitute material alterations to this appraisal report, such as those required by law or those related to the appraiser's continuing education or membership in an appraisal organization, are permitted.

SCOPE OF WORK: The scope of work for this appraisal is defined by the complexity of this appraisal assignment and the reporting requirements of this appraisal report form, including the following definition of market value, statement of assumptions and limiting conditions, and certifications. The appraiser must, at a minimum: (1) perform a complete visual inspection of the interior and exterior areas of the subject property, (2) inspect the neighborhood, (3) inspect each of the comparable sales from at least the street, (4) research, verify, and analyze data from reliable public and/or private sources, and (5) report his or her analysis, opinions, and conclusions in this appraisal report.

INTENDED USE: The intended use of this appraisal report is for the lender/client to evaluate the property that is the subject of this appraisal for a mortgage finance transaction.

INTENDED USER: The intended user of this appraisal report is the lender/client.

DEFINITION OF MARKET VALUE: The most probable price which a property should bring in a competitive and open market under all conditions requisite to a fair sale, the buyer and seller, each acting prudently, knowledgeably and assuming the price is not affected by undue stimulus. Implicit in this definition is the consummation of a sale as of a specified date and the passing of title from seller to buyer under conditions whereby: (1) buyer and seller are typically motivated; (2) both parties are well informed or well advised, and each acting in what he or she considers his or her own best interest; (3) a reasonable time is allowed for exposure in the open market; (4) payment is made in terms of cash in U. S. dollars or in terms of financial arrangements comparable thereto; and (5) the price represents the normal consideration for the property sold unaffected by special or creative financing or sales concessions* granted by anyone associated with the sale.

*Adjustments to the comparables must be made for special or creative financing or sales concessions. No adjustments are necessary for those costs which are normally paid by sellers as a result of tradition or law in a market area; these costs are readily identifiable since the seller pays these costs in virtually all sales transactions. Special or creative financing adjustments can be made to the comparable property by comparisons to financing terms offered by a third party institutional lender that is not already involved in the property or transaction. Any adjustment should not be calculated on a mechanical dollar for dollar cost of the financing or concession but the dollar amount of any adjustment should approximate the market's reaction to the financing or concessions based on the appraiser's judgment.

STATEMENT OF ASSUMPTIONS AND LIMITING CONDITIONS: The appraiser's certification in this report is subject to the following assumptions and limiting conditions:

1. The appraiser will not be responsible for matters of a legal nature that affect either the property being appraised or the title to it, except for information that he or she became aware of during the research involved in performing this appraisal. The appraiser assumes that the title is good and marketable and will not render any opinions about the title.

2. The appraiser has provided a sketch in this appraisal report to show the approximate dimensions of the improvements. The sketch is included only to assist the reader in visualizing the property and understanding the appraiser's determination of its size.

3. The appraiser has examined the available flood maps that are provided by the Federal Emergency Management Agency (or other data sources) and has noted in this appraisal report whether any portion of the subject site is located in an identified Special Flood Hazard Area. Because the appraiser is not a surveyor, he or she makes no guarantees, express or implied, regarding this determination.

4. The appraiser will not give testimony or appear in court because he or she made an appraisal of the property in question, unless specific arrangements to do so have been made beforehand, or as otherwise required by law.

5. The appraiser has noted in this appraisal report any adverse conditions (such as needed repairs, deterioration, the presence of hazardous wastes, toxic substances, etc.) observed during the inspection of the subject property or that he or she became aware of during the research involved in performing the appraisal. Unless otherwise stated in this appraisal report, the appraiser has no knowledge of any hidden or unapparent physical deficiencies or adverse conditions of the property (such as, but not limited to, needed repairs, deterioration, the presence of hazardous wastes, toxic substances, adverse environmental conditions, etc.) that would make the property less valuable, and has assumed that there are no such conditions and makes no guarantees or warranties, express or implied. The appraiser will not be responsible for any such conditions that do exist or for any engineering or testing that might be required to discover whether such conditions exist. Because the appraiser is not an expert in the field of environmental hazards, this appraisal report must not be considered as an environmental assessment of the property.

6. The appraiser has based his or her appraisal report and valuation conclusion for an appraisal that is subject to satisfactory completion, repairs, or alterations on the assumption that the completion, repairs, or alterations of the subject property will be performed in a professional manner.

Form 1004UAD - "TOTAL" appraisal software by a la mode, inc. - 1-800-ALAMODE

APPRAISER'S CERTIFICATION: The Appraiser certifies and agrees that:

1. I have, at a minimum, developed and reported this appraisal in accordance with the scope of work requirements stated in this appraisal report.

2. I performed a complete visual inspection of the interior and exterior areas of the subject property. I reported the condition of the improvements in factual, specific terms. I identified and reported the physical deficiencies that could affect the livability, soundness, or structural integrity of the property.

3. I performed this appraisal in accordance with the requirements of the Uniform Standards of Professional Appraisal Practice that were adopted and promulgated by the Appraisal Standards Board of The Appraisal Foundation and that were in place at the time this appraisal report was prepared.

4. I developed my opinion of the market value of the real property that is the subject of this report based on the sales comparison approach to value. I have adequate comparable market data to develop a reliable sales comparison approach for this appraisal assignment. I further certify that I considered the cost and income approaches to value but did not develop them, unless otherwise indicated in this report.

5. I researched, verified, analyzed, and reported on any current agreement for sale for the subject property, any offering for sale of the subject property in the twelve months prior to the effective date of this appraisal, and the prior sales of the subject property for a minimum of three years prior to the effective date of this appraisal, unless otherwise indicated in this report.

6. I researched, verified, analyzed, and reported on the prior sales of the comparable sales for a minimum of one year prior to the date of sale of the comparable sale, unless otherwise indicated in this report.

7. I selected and used comparable sales that are locationally, physically, and functionally the most similar to the subject property.

8. I have not used comparable sales that were the result of combining a land sale with the contract purchase price of a home that has been built or will be built on the land.

9. I have reported adjustments to the comparable sales that reflect the market's reaction to the differences between the subject property and the comparable sales.

10. I verified, from a disinterested source, all information in this report that was provided by parties who have a financial interest in the sale or financing of the subject property.

11. I have knowledge and experience in appraising this type of property in this market area.

12. I am aware of, and have access to, the necessary and appropriate public and private data sources, such as multiple listing services, tax assessment records, public land records and other such data sources for the area in which the property is located.

13. I obtained the information, estimates, and opinions furnished by other parties and expressed in this appraisal report from reliable sources that I believe to be true and correct.

14. I have taken into consideration the factors that have an impact on value with respect to the subject neighborhood, subject property, and the proximity of the subject property to adverse influences in the development of my opinion of market value. I have noted in this appraisal report any adverse conditions (such as, but not limited to, needed repairs, deterioration, the presence of hazardous wastes, toxic substances, adverse environmental conditions, etc.) observed during the inspection of the subject property or that I became aware of during the research involved in performing this appraisal. I have considered these adverse conditions in my analysis of the property value, and have reported on the effect of the conditions on the value and marketability of the subject property.

15. I have not knowingly withheld any significant information from this appraisal report and, to the best of my knowledge, all statements and information in this appraisal report are true and correct.

16. I stated in this appraisal report my own personal, unbiased, and professional analysis, opinions, and conclusions, which are subject only to the assumptions and limiting conditions in this appraisal report.

17. I have no present or prospective interest in the property that is the subject of this report, and I have no present or prospective personal interest or bias with respect to the participants in the transaction. I did not base, either partially or completely, my analysis and/or opinion of market value in this appraisal report on the race, color, religion, sex, age, marital status, handicap, familial status, or national origin of either the prospective owners or occupants of the subject property or of the present owners or occupants of the properties in the vicinity of the subject property or on any other basis prohibited by law.

18. My employment and/or compensation for performing this appraisal or any future or anticipated appraisals was not conditioned on any agreement or understanding, written or otherwise, that I would report (or present analysis supporting) a predetermined specific value, a predetermined minimum value, a range or direction in value, a value that favors the cause of any party, or the attainment of a specific result or occurrence of a specific subsequent event (such as approval of a pending mortgage loan application).

19. I personally prepared all conclusions and opinions about the real estate that were set forth in this appraisal report. If I relied on significant real property appraisal assistance from any individual or individuals in the performance of this appraisal or the preparation of this appraisal report, I have named such individual(s) and disclosed the specific tasks performed in this appraisal report. I certify that any individual so named is qualified to perform the tasks. I have not authorized anyone to make a change to any item in this appraisal report; therefore, any change made to this appraisal is unauthorized and I will take no responsibility for it.

20. I identified the lender/client in this appraisal report who is the individual, organization, or agent for the organization that ordered and will receive this appraisal report.

Form 1004UAD - "TOTAL" appraisal software by a la mode, inc. - 1-800-ALAMODE

21. The lender/client may disclose or distribute this appraisal report to: the borrower; another lender at the request of the borrower; the mortgagee or its successors and assigns; mortgage insurers; government sponsored enterprises; other secondary market participants; data collection or reporting services; professional appraisal organizations; any department, agency, or instrumentality of the United States; and any state, the District of Columbia, or other jurisdictions; without having to obtain the appraiser's or supervisory appraiser's (if applicable) consent. Such consent must be obtained before this appraisal report may be disclosed or distributed to any other party (including, but not limited to, the public through advertising, public relations, news, sales, or other media).

22. I am aware that any disclosure or distribution of this appraisal report by me or the lender/client may be subject to certain laws and regulations. Further, I am also subject to the provisions of the Uniform Standards of Professional Appraisal Practice that pertain to disclosure or distribution by me.

23. The borrower, another lender at the request of the borrower, the mortgagee or its successors and assigns, mortgage insurers, government sponsored enterprises, and other secondary market participants may rely on this appraisal report as part of any mortgage finance transaction that involves any one or more of these parties.

24. If this appraisal report was transmitted as an "electronic record" containing my "electronic signature," as those terms are defined in applicable federal and/or state laws (excluding audio and video recordings), or a facsimile transmission of this appraisal report containing a copy or representation of my signature, the appraisal report shall be as effective, enforceable and valid as if a paper version of this appraisal report were delivered containing my original hand written signature.

25. Any intentional or negligent misrepresentation(s) contained in this appraisal report may result in civil liability and/or criminal penalties including, but not limited to, fine or imprisonment or both under the provisions of Title 18, United States Code, Section 1001, et seq., or similar state laws.

SUPERVISORY APPRAISER'S CERTIFICATION: The Supervisory Appraiser certifies and agrees that:

1. I directly supervised the appraiser for this appraisal assignment, have read the appraisal report, and agree with the appraiser's analysis, opinions, statements, conclusions, and the appraiser's certification.

2. I accept full responsibility for the contents of this appraisal report including, but not limited to, the appraiser's analysis, opinions, statements, conclusions, and the appraiser's certification.

3. The appraiser identified in this appraisal report is either a sub-contractor or an employee of the supervisory appraiser (or the appraisal firm), is qualified to perform this appraisal, and is acceptable to perform this appraisal under the applicable state law.

4. This appraisal report complies with the Uniform Standards of Professional Appraisal Practice that were adopted and promulgated by the Appraisal Standards Board of The Appraisal Foundation and that were in place at the time this appraisal report was prepared.

5. If this appraisal report was transmitted as an "electronic record" containing my "electronic signature," as those terms are defined in applicable federal and/or state laws (excluding audio and video recordings), or a facsimile transmission of this appraisal report containing a copy or representation of my signature, the appraisal report shall be as effective, enforceable and valid as if a paper version of this appraisal report were delivered containing my original hand written signature.

APPRAISER

Signature
Name Samuel B Camblin
Company Name Camblin Appraisal & Associates, Inc.
Company Address PO Box 4082
Wilmington, NC 28403
Telephone Number (910) 515-4459
Email Address sam@camblinappraisal.com
Date of Signature and Report 03/16/2026
Effective Date of Appraisal 03/13/2026
State Certification # A7959
or State License #
or Other (describe) State #
State NC
Expiration Date of Certification or License 06/30/2026

SUPERVISORY APPRAISER (ONLY IF REQUIRED)

Signature
Name
Company Name
Company Address
Telephone Number
Email Address
Date of Signature
State Certification #
or State License #
State
Expiration Date of Certification or License

ADDRESS OF PROPERTY APPRAISED
411 Keziah St
Oak Island, NC 28465
APPRAISED VALUE OF SUBJECT PROPERTY $ 829,000

LENDER/CLIENT
Name Fastapp Appraisal Management Company
Company Name The Loan Store
Company Address 6340 N Campbell Ave #100, Tucson, AZ 85718
Email Address

SUBJECT PROPERTY

- ☐ Did not inspect subject property
- ☐ Did inspect exterior of subject property from street
  Date of Inspection
- ☐ Did inspect interior and exterior of subject property
  Date of Inspection

COMPARABLE SALES

- ☐ Did not inspect exterior of comparable sales from street
- ☐ Did inspect exterior of comparable sales from street
  Date of Inspection

Form 1004UAD - "TOTAL" appraisal software by a la mode, inc. - 1-800-ALAMODE

UNIFORM APPRAISAL DATASET (UAD) DEFINITIONS ADDENDUM

(Source: Fannie Mae UAD Appendix D: UAD Field-Specific Standardization Requirements)

Condition Ratings and Definitions

C1

The improvements have been recently constructed and have not been previously occupied. The entire structure and all components are new and the dwelling features no physical depreciation.

Note: Newly constructed improvements that feature recycled or previously used materials and/or components can be considered new dwellings provided that the dwelling is placed on a 100 percent new foundation and the recycled materials and the recycled components have been rehabilitated/remanufactured into like-new condition. Improvements that have not been previously occupied are not considered “new” if they have any significant physical depreciation (that is, newly constructed dwellings that have been vacant for an extended period of time without adequate maintenance or upkeep).

C2

The improvements feature no deferred maintenance, little or no physical depreciation, and require no repairs. Virtually all building components are new or have been recently repaired, refinished, or rehabilitated. All outdated components and finishes have been updated and/or replaced with components that meet current standards. Dwellings in this category are either almost new or have been recently completely renovated and are similar in condition to new construction.

Note: The improvements represent a relatively new property that is well maintained with no deferred maintenance and little or no physical depreciation, or an older property that has been recently completely renovated.

C3

The improvements are well maintained and feature limited physical depreciation due to normal wear and tear. Some components, but not every major building component, may be updated or recently rehabilitated. The structure has been well maintained.

Note: The improvement is in its first-cycle of replacing short-lived building components (appliances, floor coverings, HVAC, etc.) and is being well maintained. Its estimated effective age is less than its actual age. It also may reflect a property in which the majority of short-lived building components have been replaced but not to the level of a complete renovation.

C4

The improvements feature some minor deferred maintenance and physical deterioration due to normal wear and tear. The dwelling has been adequately maintained and requires only minimal repairs to building components/mechanical systems and cosmetic repairs. All major building components have been adequately maintained and are functionally adequate.

Note: The estimated effective age may be close to or equal to its actual age. It reflects a property in which some of the short-lived building components have been replaced, and some short-lived building components are at or near the end of their physical life expectancy; however, they still function adequately. Most minor repairs have been addressed on an ongoing basis resulting in an adequately maintained property.

C5

The improvements feature obvious deferred maintenance and are in need of some significant repairs. Some building components need repairs, rehabilitation, or updating. The functional utility and overall livability is somewhat diminished due to condition, but the dwelling remains useable and functional as a residence.

Note: Some significant repairs are needed to the improvements due to the lack of adequate maintenance. It reflects a property in which many of its short-lived building components are at the end of or have exceeded their physical life expectancy but remain functional.

C6

The improvements have substantial damage or deferred maintenance with deficiencies or defects that are severe enough to affect the safety, soundness, or structural integrity of the improvements. The improvements are in need of substantial repairs and rehabilitation, including many or most major components.

Note: Substantial repairs are needed to the improvements due to the lack of adequate maintenance or property damage. It reflects a property with conditions severe enough to affect the safety, soundness, or structural integrity of the improvements.

Quality Ratings and Definitions

Q1

Dwellings with this quality rating are usually unique structures that are individually designed by an architect for a specified user. Such residences typically are constructed from detailed architectural plans and specifications and feature an exceptionally high level of workmanship and exceptionally high-grade materials throughout the interior and exterior of the structure. The design features exceptionally high-quality exterior refinements and ornamentation, and exceptionally high-quality interior refinements. The workmanship, materials, and finishes throughout the dwelling are of exceptionally high quality.

Q2

Dwellings with this quality rating are often custom designed for construction on an individual property owner’s site. However, dwellings in this quality grade are also found in high-quality tract developments featuring residence constructed from individual plans or from highly modified or upgraded plans. The design features detailed, high quality exterior ornamentation, high-quality interior refinements, and detail. The workmanship, materials, and finishes throughout the dwelling are generally of high or very high quality.

UNIFORM APPRAISAL DATASET (UAD) DEFINITIONS ADDENDUM

(Source: Fannie Mae UAD Appendix D: UAD Field-Specific Standardization Requirements)

Quality Ratings and Definitions (continued)

Q3

Dwellings with this quality rating are residences of higher quality built from individual or readily available designer plans in above-standard residential tract developments or on an individual property owner's site. The design includes significant exterior ornamentation and interiors that are well finished. The workmanship exceeds acceptable standards and many materials and finishes throughout the dwelling have been upgraded from "stock" standards.

Q4

Dwellings with this quality rating meet or exceed the requirements of applicable building codes. Standard or modified standard building plans are utilized and the design includes adequate fenestration and some exterior ornamentation and interior refinements. Materials, workmanship, finish, and equipment are of stock or builder grade and may feature some upgrades.

Q5

Dwellings with this quality rating feature economy of construction and basic functionality as main considerations. Such dwellings feature a plain design using readily available or basic floor plans featuring minimal fenestration and basic finishes with minimal exterior ornamentation and limited interior detail. These dwellings meet minimum building codes and are constructed with inexpensive, stock materials with limited refinements and upgrades.

Q6

Dwellings with this quality rating are of basic quality and lower cost; some may not be suitable for year-round occupancy. Such dwellings are often built with simple plans or without plans, often utilizing the lowest quality building materials. Such dwellings are often built or expanded by persons who are professionally unskilled or possess only minimal construction skills. Electrical, plumbing, and other mechanical systems and equipment may be minimal or non-existent. Older dwellings may feature one or more substandard or non-conforming additions to the original structure

Definitions of Not Updated, Updated, and Remodeled

Not Updated

Little or no updating or modernization. This description includes, but is not limited to, new homes.

Residential properties of fifteen years of age or less often reflect an original condition with no updating, if no major components have been replaced or updated. Those over fifteen years of age are also considered not updated if the appliances, fixtures, and finishes are predominantly dated. An area that is 'Not Updated' may still be well maintained and fully functional, and this rating does not necessarily imply deferred maintenance or physical/functional deterioration.

Updated

The area of the home has been modified to meet current market expectations. These modifications are limited in terms of both scope and cost.

An updated area of the home should have an improved look and feel, or functional utility. Changes that constitute updates include refurbishment and/or replacing components to meet existing market expectations. Updates do not include significant alterations to the existing structure.

Remodeled

Significant finish and/or structural changes have been made that increase utility and appeal through complete replacement and/or expansion.

A remodeled area reflects fundamental changes that include multiple alterations. These alterations may include some or all of the following: replacement of a major component (cabinet(s), bathtub, or bathroom tile), relocation of plumbing/gas fixtures/appliances, significant structural alterations (relocating walls, and/or the addition of) square footage). This would include a complete gutting and rebuild.

Explanation of Bathroom Count

Three-quarter baths are counted as a full bath in all cases. Quarter baths (baths that feature only a toilet) are not included in the bathroom count. The number of full and half baths is reported by separating the two values using a period, where the full bath count is represented to the left of the period and the half bath count is represented to the right of the period.

Example:
3.2 indicates three full baths and two half baths.

UNIFORM APPRAISAL DATASET (UAD) DEFINITIONS ADDENDUM

(Source: Fannie Mae UAD Appendix D: UAD Field-Specific Standardization Requirements)

Abbreviations Used in Data Standardization Text

Abbreviation	Full Name	Fields Where This Abbreviation May Appear
A	Adverse	Location & View
ac	Acres	Area, Site
AdjPrk	Adjacent to Park	Location
AdjPwr	Adjacent to Power Lines	Location
ArmLth	Arms Length Sale	Sale or Financing Concessions
AT	Attached Structure	Design (Style)
B	Beneficial	Location & View
ba	Bathroom(s)	Basement & Finished Rooms Below Grade
br	Bedroom	Basement & Finished Rooms Below Grade
BsyRd	Busy Road	Location
c	Contracted Date	Date of Sale/Time
Cash	Cash	Sale or Financing Concessions
Comm	Commercial Influence	Location
Conv	Conventional	Sale or Financing Concessions
cp	Carport	Garage/Carport
CrtOrd	Court Ordered Sale	Sale or Financing Concessions
CtySky	City View Skyline View	View
CtyStr	City Street View	View
cv	Covered	Garage/Carport
DOM	Days On Market	Data Sources
DT	Detached Structure	Design (Style)
dw	Driveway	Garage/Carport
e	Expiration Date	Date of Sale/Time
Estate	Estate Sale	Sale or Financing Concessions
FHA	Federal Housing Authority	Sale or Financing Concessions
g	Garage	Garage/Carport
ga	Attached Garage	Garage/Carport
gbi	Built-in Garage	Garage/Carport
gd	Detached Garage	Garage/Carport
GlfCse	Golf Course	Location
Glfvw	Golf Course View	View
GR	Garden	Design (Style)
HR	High Rise	Design (Style)
in	Interior Only Stairs	Basement & Finished Rooms Below Grade
Ind	Industrial	Location & View
Listing	Listing	Sale or Financing Concessions
Lndfl	Landfill	Location
LtdSght	Limited Sight	View
MR	Mid-rise	Design (Style)
Mtn	Mountain View	View
N	Neutral	Location & View
NonArm	Non-Arms Length Sale	Sale or Financing Concessions
o	Other	Basement & Finished Rooms Below Grade
O	Other	Design (Style)
op	Open	Garage/Carport
Prk	Park View	View
Pstrl	Pastoral View	View
PwrLn	Power Lines	View
PubTrn	Public Transportation	Location
Relo	Relocation Sale	Sale or Financing Concessions
REO	REO Sale	Sale or Financing Concessions
Res	Residential	Location & View
RH	USDA - Rural Housing	Sale or Financing Concessions
rr	Recreational (Rec) Room	Basement & Finished Rooms Below Grade
RT	Row or Townhouse	Design (Style)
s	Settlement Date	Date of Sale/Time
SD	Semi-detached Structure	Design (Style)
Short	Short Sale	Sale or Financing Concessions
sf	Square Feet	Area, Site, Basement
sqm	Square Meters	Area, Site
Unk	Unknown	Date of Sale/Time
VA	Veterans Administration	Sale or Financing Concessions
w	Withdrawn Date	Date of Sale/Time
wo	Walk Out Basement	Basement & Finished Rooms Below Grade
Woods	Woods View	View
Wtr	Water View	View
WtrFr	Water Frontage	Location
wu	Walk Up Basement	Basement & Finished Rooms Below Grade

Borrower	Eduardo Hidalgo Reyes & Eduardo Reyes			File No.	S-411Keziah
Property Address	411 Keziah St				
City	Oak Island	County	Brunswick	State NC	Zip Code 28465
Lender/Client	The Loan Store				

APPRAISAL AND REPORT IDENTIFICATION

This Report is one of the following types:

☒ Appraisal Report (A written report prepared under Standards Rule 2-2(a), pursuant to the Scope of Work, as disclosed elsewhere in this report.)

☐ Restricted Appraisal Report (A written report prepared under Standards Rule 2-2(b), pursuant to the Scope of Work, as disclosed elsewhere in this report, restricted to the stated intended use only by the specified client and any other named intended user(s).)

Comments on Standards Rule 2-3

I certify that, to the best of my knowledge and belief:
- The statements of fact contained in this report are true and correct.
- The reported analyses, opinions, and conclusions are limited only by the reported assumptions and limiting conditions and are my personal, impartial, and unbiased professional analyses, opinions, and conclusions.
- Unless otherwise indicated, I have no present or prospective interest in the property that is the subject of this report and no personal interest with respect to the parties involved.
- Unless otherwise indicated, I have performed no services, as an appraiser or in any other capacity, regarding the property that is the subject of this report within the three-year period immediately preceding acceptance of this assignment.
- I have no bias with respect to the property that is the subject of this report or the parties involved with this assignment.
- My engagement in this assignment was not contingent upon developing or reporting predetermined results.
- My compensation for completing this assignment is not contingent upon the development or reporting of a predetermined value or direction in value that favors the cause of the client, the amount of the value opinion, the attainment of a stipulated result, or the occurrence of a subsequent event directly related to the intended use of this appraisal.
- My analyses, opinions, and conclusions were developed, and this report has been prepared, in conformity with the Uniform Standards of Professional Appraisal Practice that were in effect at the time this report was prepared.
- Unless otherwise indicated, I have made a personal inspection of the property that is the subject of this report.
- Unless otherwise indicated, no one provided significant real property appraisal assistance to the person(s) signing this certification (if there are exceptions, the name of each individual providing significant real property appraisal assistance is stated elsewhere in this report).

Reasonable Exposure Time

(USPAP defines Exposure Time as the estimated length of time that the property interest being appraised would have been offered on the market prior to the hypothetical consummation of a sale at market value on the effective date of the appraisal.)

My Opinion of Reasonable Exposure Time for the subject property at the market value stated in this report is: Three Months

Comments on Appraisal and Report Identification

Note any USPAP-related issues requiring disclosure and any state mandated requirements:

No services were performed by the appraiser within the 3 year period immediately preceding acceptance of this assignment, as an appraiser or in any capacity, with regard to the subject property.

APPRAISER:

SAMUEL B. CAMBLIN CERTIFIED NORTH CAROLINA A7959 REAL ESTATE APPRAISER RESIDENTIAL APPRAISER

Signature:
Name: Samuel B Camblin
State Certification #: A7959
or State License #:
State: NC Expiration Date of Certification or License: 06/30/2026
Date of Signature and Report: 03/16/2026
Effective Date of Appraisal: 03/13/2026
Inspection of Subject: ☐ None ☒ Interior and Exterior ☐ Exterior-Only
Date of Inspection (if applicable): 03/13/2026

SUPERVISORY or CO-APPRAISER (if applicable):

Signature:
Name:
State Certification #:
or State License #:
State: Expiration Date of Certification or License:
Date of Signature:
Inspection of Subject: ☐ None ☐ Interior and Exterior ☐ Exterior-Only
Date of Inspection (if applicable):

Market Conditions Addendum to the Appraisal Report

File No. S-411Keziah

The purpose of this addendum is to provide the lender/client with a clear and accurate understanding of the market trends and conditions prevalent in the subject neighborhood. This is a required addendum for all appraisal reports with an effective date on or after April 1, 2009.

Property Address 411 Keziah St City Oak Island State NC ZIP Code 28465

Borrower Eduardo Hidalgo Reyes & Eduardo Reyes

Instructions: The appraiser must use the information required on this form as the basis for his/her conclusions, and must provide support for those conclusions, regarding housing trends and overall market conditions as reported in the Neighborhood section of the appraisal report form. The appraiser must fill in all the information to the extent it is available and reliable and must provide analysis as indicated below. If any required data is unavailable or is considered unreliable, the appraiser must provide an explanation. It is recognized that not all data sources will be able to provide data for the shaded areas below; if it is available, however, the appraiser must include the data in the analysis. If data sources provide the required information as an average instead of the median, the appraiser should report the available figure and identify it as an average. Sales and listings must be properties that compete with the subject property, determined by applying the criteria that would be used by a prospective buyer of the subject property. The appraiser must explain any anomalies in the data, such as seasonal markets, new construction, foreclosures, etc.

MARKET RESEARCH & ANALYSIS

Inventory Analysis	Prior 7–12 Months	Prior 4–6 Months	Current – 3 Months	Overall Trend		
Total # of Comparable Sales (Settled)	41	23	15	☐ Increasing	☐ Stable	☒ Declining
Absorption Rate (Total Sales/Months)	6.83	7.67	5.00	☐ Increasing	☐ Stable	☒ Declining
Total # of Comparable Active Listings	39	21	19	☒ Declining	☐ Stable	☐ Increasing
Months of Housing Supply (Total Listings/Ab.Rate)	5.7	2.7	3.8	☐ Declining	☒ Stable	☐ Increasing

Median Sale & List Price, DOM, Sale/List %	Prior 7–12 Months	Prior 4–6 Months	Current – 3 Months	Overall Trend		
Median Comparable Sale Price	765,000	779,000	740,000	☐ Increasing	☒ Stable	☐ Declining
Median Comparable Sales Days on Market	65	84	22	☒ Declining	☐ Stable	☐ Increasing
Median Comparable List Price	799,000	759,900	799,000	☐ Increasing	☒ Stable	☐ Declining
Median Comparable Listings Days on Market	159	162	64	☒ Declining	☐ Stable	☐ Increasing
Median Sale Price as % of List Price	98%	98%	98%	☐ Increasing	☒ Stable	☐ Declining
Seller-(developer, builder, etc.)paid financial assistance prevalent? ☒ Yes ☐ No				☐ Declining	☒ Stable	☐ Increasing

Explain in detail the seller concessions trends for the past 12 months (e.g., seller contributions increased from 3% to 5%, increasing use of buydowns, closing costs, condo fees, options, etc.). Seller concessions are common in the subject's market area, however, they are often not listed accurately through the MLS. Based on the information available to the appraiser, typical concessions in the area range between 1% and 3% of the sales price.

Are foreclosure sales (REO sales) a factor in the market? ☐ Yes ☒ No If yes, explain (including the trends in listings and sales of foreclosed properties).

Cite data sources for above information. NCR MLS

Summarize the above information as support for your conclusions in the Neighborhood section of the appraisal report form. If you used any additional information, such as an analysis of pending sales and/or expired and withdrawn listings, to formulate your conclusions, provide both an explanation and support for your conclusions.

In the past year there have been 79 similar closed sales within the subject's general market area, according to the local MLS service. This indicates a typical marketing time of approximately three months. Currently, there are 19 similar dwellings listed for sale in the subject's general market area, according to the local MLS service. No atypical concessions are noted at this time. **Note that the limited data set above reports a fluctuating median sales price, however, an expanded search revealed a relatively stable trend for the general market area. See market trend addendums attached.** Overall, the market appears to be in balance and exhibits consistent demand.

Note that the 1004MC search criteria includes several properties that are generally similar to the subject, however, the number of truly similar sales/listings is limited. The final search parameters were expanded beyond preferred guidelines in order to provide the most appropriate comparables for this assignment.

CONDO/CO-OP PROJECTS

If the subject is a unit in a condominium or cooperative project , complete the following: **Project Name:**

Subject Project Data	Prior 7–12 Months	Prior 4–6 Months	Current – 3 Months	Overall Trend		
Total # of Comparable Sales (Settled)				☐ Increasing	☐ Stable	☐ Declining
Absorption Rate (Total Sales/Months)				☐ Increasing	☐ Stable	☐ Declining
Total # of Active Comparable Listings				☐ Declining	☐ Stable	☐ Increasing
Months of Unit Supply (Total Listings/Ab.Rate)				☐ Declining	☐ Stable	☐ Increasing

Are foreclosure sales (REO sales) a factor in the project? ☐ Yes ☐ No If yes, indicate the number of REO listings and explain the trends in listings and sales of foreclosed properties.

Summarize the above trends and address the impact on the subject unit and project.

APPRAISER

Signature	Signature
Appraiser Name Samuel B Camblin	Supervisory Appraiser Name
Company Name Camblin Appraisal & Associates, Inc.	Company Name
Company Address PO Box 4082, Wilmington, NC 28403	Company Address
State License/Certification # A7959 State NC	State License/Certification # State
Email Address sam@camblinappraisal.com	Email Address

SAMUEL B. CAMBLIN CERTIFIED NORTH CAROLINA REAL ESTATE APPRAISER A7959 RESIDENTIAL APPRAISER

Form 1004MC2 - "TOTAL" appraisal software by a la mode, inc. - 1-800-ALAMODE

Market Trends (Median Sales Price)

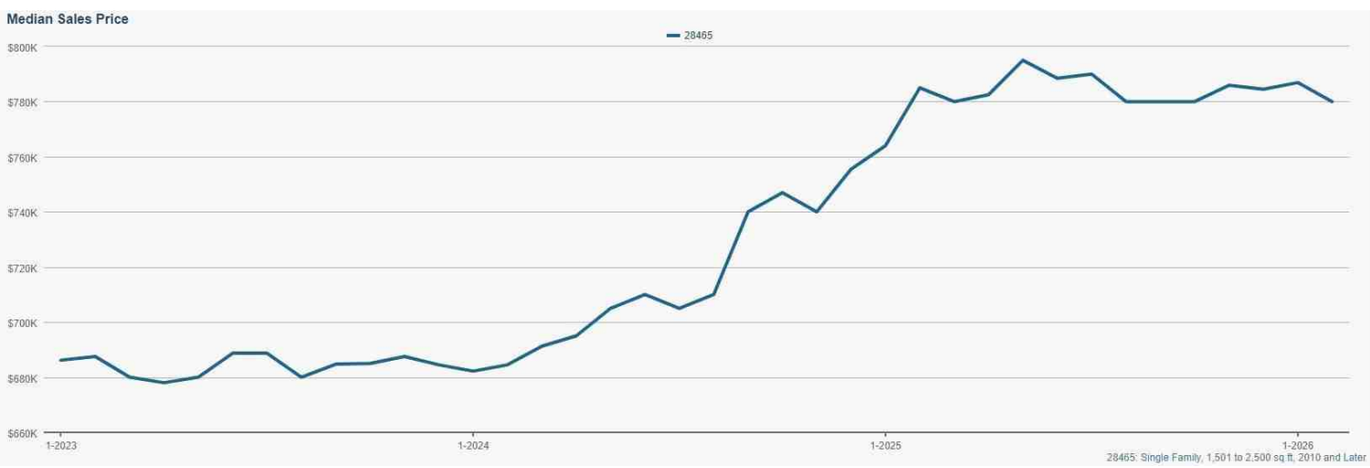

Market Trends

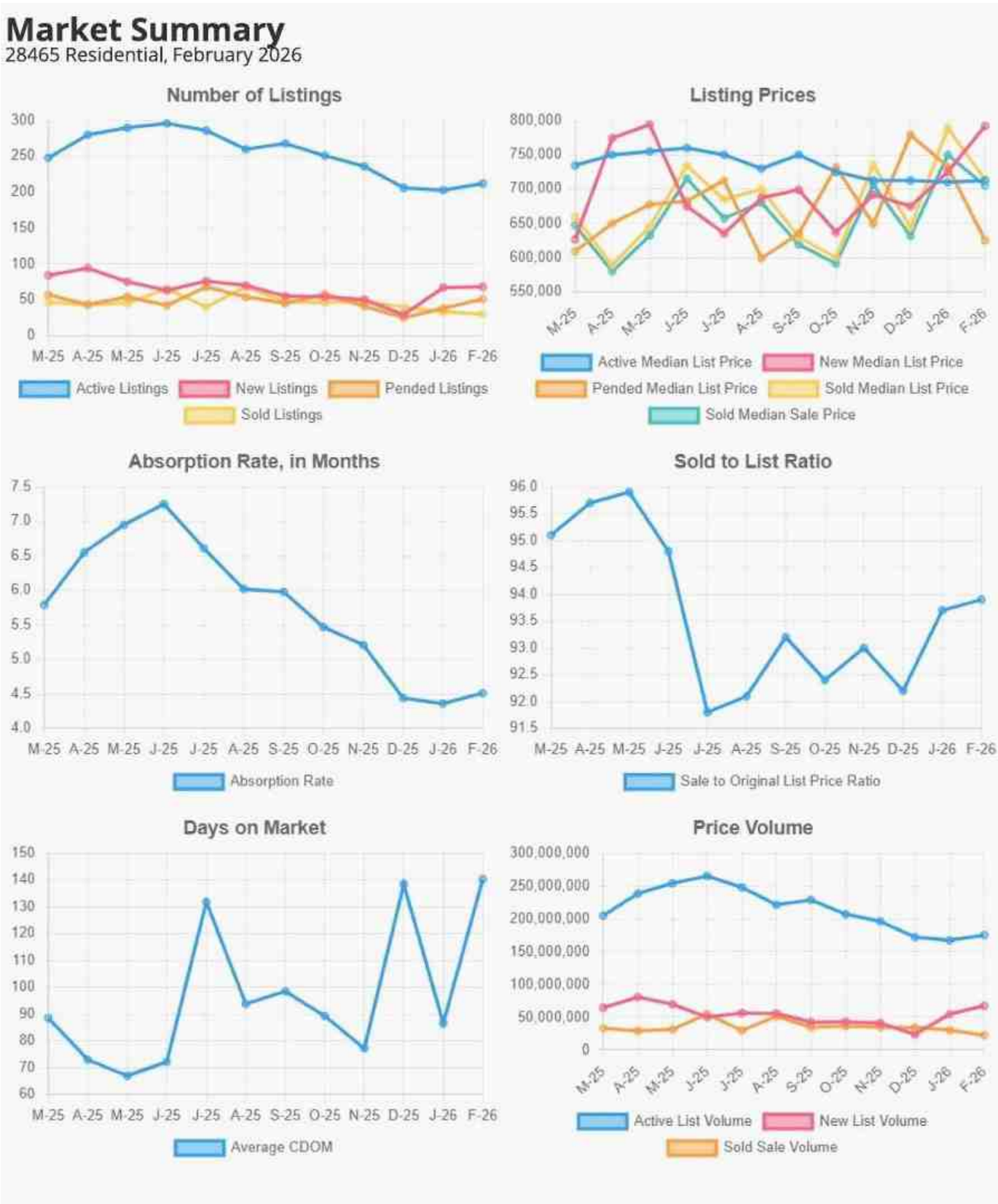

Supplemental Addendum

File No. S-411Keziah

Borrower	Eduardo Hidalgo Reyes & Eduardo Reyes						
Property Address	411 Keziah St						
City	Oak Island	County	Brunswick	State	NC	Zip Code	28465
Lender/Client	The Loan Store						

Scope of the Appraisal
The scope of this appraisal includes, but is not limited to an inspection of the subject property, the collection of market cost, and the rental data that may be applicable in order to reasonably apply and analyze the three approaches to value that are typically used in the appraisal process. The indicated values inherent in these approaches are then reconciled in order to arrive at an opinion of value. The enclosed report more fully describes the extent and detail of the appraisal process.

Digital Signatures
This firm utilizes electronic signatures on reports as deemed necessary. Each signature is password protected and certified to be a true electronic duplication of the appraiser's original signature.

Digital Photography
Digital photography was used in part of this appraisal. The digital photographs included in this report are certified as not retouched or modified in any manner. MLS photos may be utilized in the event that a clear photo of the comparable property could not be obtained.

Neighborhood Description
The subject is located in an established residential portion of Oak Island in Brunswick County. The general neighborhood mainly consists of one and two story ranch, cottage, and coastal (elevated) style homes utilizing conventional building techniques and materials. Custom built homes with direct access to the Atlantic Ocean or Intracoastal Waterway set the upper limits of value for the area. The surrounding area continues to have steady growth. Local destinations such as schools, medical, and recreational facilities, and shopping centers are accessed via Route 87 Route 211, Route 133, and Highway 17. Local employers such as Brunswick Electric, Brunswick County (municipal services and education), Brunswick Community College, Novant Health, Dosher Medical, etc provide stable employment conditions.

The client or any concerned party may refer to the local municipality for any water quality updates regarding PFAS or GenX. I am not an environmental expert, and this report is not an environmental assessment of the subject property.

Site Comments
No unusual easements, encroachments, or adverse site conditions were noted. I am not an environmental expert, however, and this report is not an environmental assessment of the subject property.

The flood data included in this assignment was generated by the appraisal software and is only provided for general comparison purposes. Flood elevation certification is recommended. Note that the Flood Map number generated by the appraisal software may differ from the FEMA Map number. Per alamode (appraisal software), North Carolina is the only state in the country with a unique sequencing format (11 digit numbering sequence), while every other state utilizes FEMA's map number standard. The map number provided by the appraisal software aligns with FEMA's map number convention. In summary, both numbers refer to the same flood map information and should be considered acceptable for purposes of the National Flood Insurance Program (NFIP).

Summary of Sales Comparison Approach
The comparables provided are four similar closed sales within the subject's competing market area and appear to be the best indicators of current market value available at this time. In order to provide the most appropriate comparables for this assignment, it was necessary to exceed preferred distance, date of sale, and adjustment guidelines. This is common when appraising similar properties in the subject's market area and does not have any adverse impact on value or marketability. Adjustments were required for typical differences such as: quality, condition, bathrooms, square footage, carports/garages, and additional bonus features. The quality adjustment applied to comparable 4 was developed using historic data from the subject's general market area and accounts for a broad range of items including building materials, workmanship, fenestration, interior refinements, and overall appeal of the finished dwelling/improvements. The condition adjustments were developed using the age-life method and account for any significant differences in updates and overall effective age. Condition factors were analyzed using information provided in current tax records, MLS listing comments and photos, conversations with real estate agents, and general observations of the properties. The effective age includes factors such as actual age, updates/renovations, and general maintenance. The additional line item adjustments applied to the comparables account for differences between a specific comparable and the subject property. This type of line item adjustment is developed using historic market data, as well as matched pairs analysis. After the adjustment process was completed, the comparable sales exhibit a relatively narrow range of values. All four sales were considered and given similar weight in the final opinion of value.

Cost Approach Comments
Remaining economic life=56± years. The Craftsman National Appraisal Estimator and local builder costs were utilized in estimating replacement cost new. The modified age-life method was employed in estimating depreciation. Please see the attached addendum for square footage calculations and sketch. At the request of the client, development of the cost approach has been attempted by the appraiser as an analysis to support their opinion of the property`s market value. Because there is insufficient market evidence to credibly support the site value/derivation of total depreciation, the cost approach is not given any consideration in the appraiser`s final analysis. Use of this data, in whole or in part, for other purposes is not intended by the appraiser. Nothing set forth in the appraisal should be relied upon for the purpose of determining the amount or type of insurance coverage to be placed on the subject property. The appraiser assumes no liability for and does not guarantee that any insurable value estimate inferred from this report will result in the subject property being fully insured for any loss that may be sustained. The appraiser recommends that an insurance professional be consulted. Further, the cost approach may not be a reliable indication of replacement or reproduction cost for any date other than the effective date of this appraisal due to changing costs of labor and materials and due to changing building codes and governmental regulations and requirements.

Additional Comments
The "Other" land use percentage shown on page one of the report form accounts for vacant land.

The final value estimate for the subject property does not represent the predominant value for the residential properties in this market area, as shown on page 1 of this report. The subject property is within the stated price range for homes in this area, and the fact that the subject property does not represent the predominant value has no adverse effect on the subject's value or marketability. Other homes which exhibit similar value do exist, as indicated by the comparables provided.

This appraisal report is not a home inspection. I have only performed a visual inspection of readily accessible areas, and this appraisal can not be relied upon to disclose conditions and/or defects in the property.

The subject was measured in compliance with ANSI Standard Z765-2021.

Supplemental Addendum

File No. S-411Keziah

Borrower	Eduardo Hidalgo Reyes & Eduardo Reyes						
Property Address	411 Keziah St						
City	Oak Island	County	Brunswick	State	NC	Zip Code	28465
Lender/Client	The Loan Store						

Owner of Public Record: Eduardo Hidalgo-Reyes & wife Dayin Hidalgo, Eduardo Hidalgo-Marquez & wife Juana Reyes

Subject Photo Page

Borrower	Eduardo Hidalgo Reyes & Eduardo Reyes						
Property Address	411 Keziah St						
City	Oak Island	County	Brunswick	State	NC	Zip Code	28465
Lender/Client	The Loan Store						

Subject Front

411 Keziah St	
Sales Price	
Gross Living Area	1,735
Total Rooms	7
Total Bedrooms	3
Total Bathrooms	2.0
Location	N;Res;
View	N;Res;
Site	7350 sf
Quality	Q3
Age	5

Subject Rear

Subject Street

Photograph Addendum

Borrower	Eduardo Hidalgo Reyes & Eduardo Reyes						
Property Address	411 Keziah St						
City	Oak Island	County	Brunswick	State	NC	Zip Code	28465
Lender/Client	The Loan Store						

Subject Street

Subject Side

Subject Side



Living

Photograph Addendum

Borrower	Eduardo Hidalgo Reyes & Eduardo Reyes						
Property Address	411 Keziah St						
City	Oak Island	County	Brunswick	State	NC	Zip Code	28465
Lender/Client	The Loan Store						

Kitchen



Dining

Laundry



Office

Photograph Addendum

Borrower	Eduardo Hidalgo Reyes & Eduardo Reyes						
Property Address	411 Keziah St						
City	Oak Island	County	Brunswick	State	NC	Zip Code	28465
Lender/Client	The Loan Store						



Bedroom



Bedroom



Bedroom

Bathroom

Photograph Addendum

Borrower	Eduardo Hidalgo Reyes & Eduardo Reyes						
Property Address	411 Keziah St						
City	Oak Island	County	Brunswick	State	NC	Zip Code	28465
Lender/Client	The Loan Store						

Bathroom



Storage

Comparable Photo Page

Borrower	Eduardo Hidalgo Reyes & Eduardo Reyes						
Property Address	411 Keziah St						
City	Oak Island	County	Brunswick	State	NC	Zip Code	28465
Lender/Client	The Loan Store						

Comparable 1

129 NE 39th St

Proxy. to Subject	2.43 miles W
Sale Price	780,000
Gross Living Area	1,714
Total Rooms	7
Total Bedrooms	3
Total Bathrooms	2.0
Location	N;Res;
View	N;Res;
Site	6534 sf
Quality	Q3
Age	5

Comparable 2

247 NE 64th St

Proxy. to Subject	1.14 miles NW
Sale Price	945,000
Gross Living Area	1,961
Total Rooms	7
Total Bedrooms	3
Total Bathrooms	2.2
Location	N;Res;
View	N;Res;Wtr
Site	6534 sf
Quality	Q3
Age	5

Comparable 3

245 NE 70th St

Prox. to Subject	0.80 miles NW
Sale Price	929,900
Gross Living Area	2,080
Total Rooms	8
Total Bedrooms	4
Total Bathrooms	3.0
Location	N;Res;
View	N;Res;
Site	6534 sf
Quality	Q3
Age	1

Comparable Photo Page

Borrower	Eduardo Hidalgo Reyes & Eduardo Reyes						
Property Address	411 Keziah St						
City	Oak Island	County	Brunswick	State	NC	Zip Code	28465
Lender/Client	The Loan Store						

Comparable 4

412 Keziah St

Prox. to Subject	0.04 miles E
Sale Price	1,125,000
Gross Living Area	2,471
Total Rooms	10
Total Bedrooms	4
Total Bathrooms	3.1
Location	N;Res;
View	N;Res;
Site	7405 sf
Quality	Q3
Age	1

Comparable 5

Prox. to Subject	
Sale Price	
Gross Living Area	
Total Rooms	
Total Bedrooms	
Total Bathrooms	
Location	
View	
Site	
Quality	
Age	

Comparable 6

Prox. to Subject	
Sale Price	
Gross Living Area	
Total Rooms	
Total Bedrooms	
Total Bathrooms	
Location	
View	
Site	
Quality	
Age	

Rental Photo Page

Borrower	Eduardo Hidalgo Reyes & Eduardo Reyes						
Property Address	411 Keziah St						
City	Oak Island	County	Brunswick	State	NC	Zip Code	28465
Lender/Client	The Loan Store						

Rental 1

106 SE 1st St

Proximity to Subject	4.56 miles W
Adj. Monthly Rent	2,975
Gross Living Area	2,591
Total Rooms	8
Total Bedrooms	3
Total Bathrooms	2
Location	N;Res;
View	N;Res;
Condition	C3
Age/Year Built	14

Rental 2

104 SW 28th St

Proximity to Subject	6.22 miles W
Adj. Monthly Rent	3,200
Gross Living Area	2,480
Total Rooms	8
Total Bedrooms	4
Total Bathrooms	2.2
Location	N;Res;
View	N;Res;
Condition	C3
Age/Year Built	19

Rental 3

145 NE 14th St

Proximity to Subject	3.86 miles W
Adj. Monthly Rent	2,700
Gross Living Area	1,762
Total Rooms	7
Total Bedrooms	3
Total Bathrooms	2
Location	N;Res;
View	N;Res;
Condition	C2
Age/Year Built	7

Building Sketch

Borrower	Eduardo Hidalgo Reyes & Eduardo Reyes						
Property Address	411 Keziah St						
City	Oak Island	County	Brunswick	State	NC	Zip Code	28465
Lender/Client	The Loan Store						

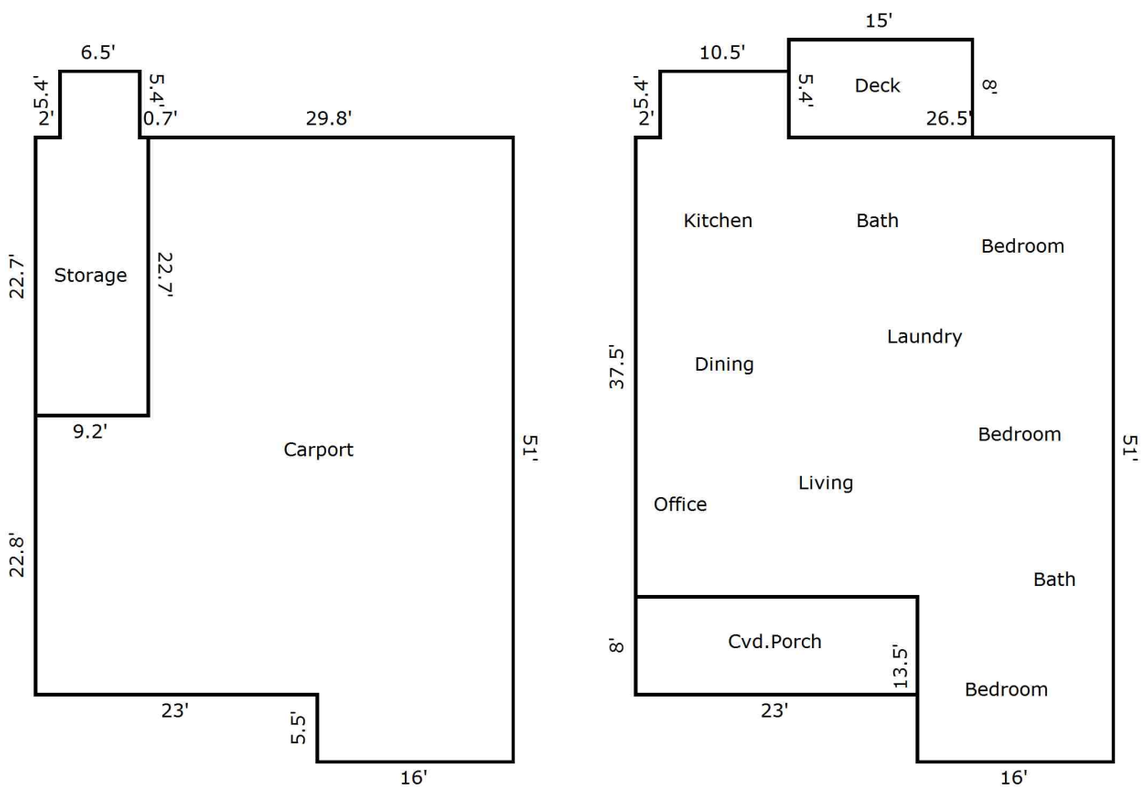

TOTAL Sketch by a la mode

Area Calculations Summary

Living Area		**Calculation Details**		
First Floor	1735.2 Sq ft	10.5 × 5.4	=	56.7
		39 × 37.5	=	1462.5
		16 × 13.5	=	216
Total Living Area (Rounded):	**1735 Sq ft**			
Non-living Area				
Deck	120 Sq ft	15 × 8	=	120
2 Car Carport	1653.66 Sq ft	29.8 × 22.7	=	676.46
		22.8 × 23	=	524.4
		28.3 × 16	=	452.8
Storage	243.94 Sq ft	6.5 × 5.4	=	35.1
		9.2 × 22.7	=	208.84
Covered Porch	184 Sq ft	8 × 23	=	184

Location Map

Borrower	Eduardo Hidalgo Reyes & Eduardo Reyes						
Property Address	411 Keziah St						
City	Oak Island	County	Brunswick	State	NC	Zip Code	28465
Lender/Client	The Loan Store						

Flood Map

Borrower	Eduardo Hidalgo Reyes & Eduardo Reyes						
Property Address	411 Keziah St						
City	Oak Island	County	Brunswick	State	NC	Zip Code	28465
Lender/Client	The Loan Store						

InterFlood by a la mode

Prepared for: Camblin Appraisal & Associates, Inc.
411 Keziah St
Oak Island, NC 28465

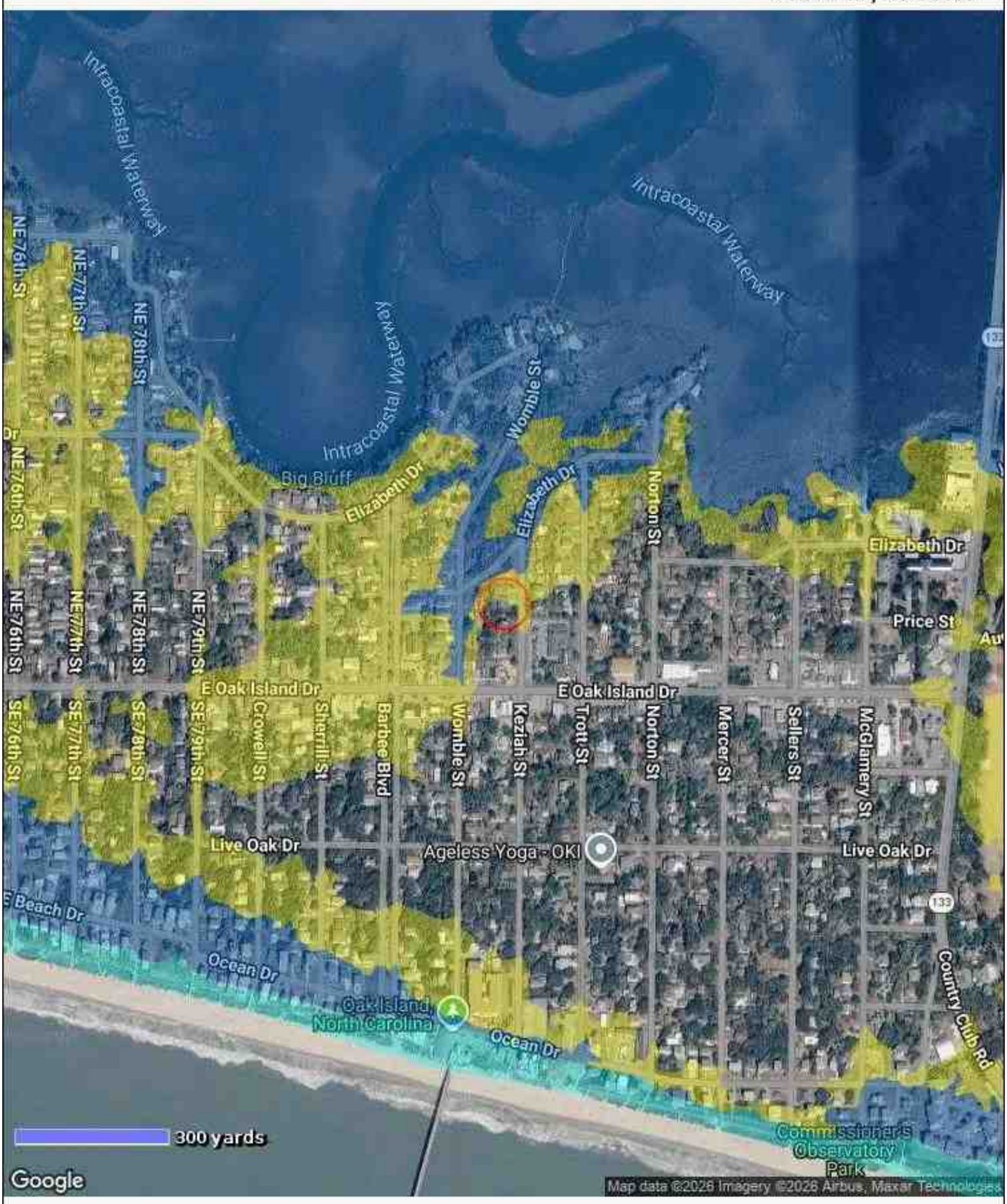

Powered by CoreLogic®

MAP DATA

FEMA Special Flood Hazard Area: **No**
Map Number: **37019C2075K**
Zone: **X**
Map Date: **August 28, 2018**
FIPS: **37019**

MAP LEGEND

- Areas inundated by 500-year flooding
- Areas inundated by 100-year flooding
- Velocity Hazard
- Protected Areas
- Floodway
- Subject Area

GIS Map

Subject
411 Keziah St
BARBEE BLVD
WOMBLE ST
ELIZABETH DR
KEZIAH ST
TROTT ST
250CE049
250CE050
250CF051
250CE052
250CE053
250CE014
250CE001
250CF023
250CF024
250CF02402
250CF015
250CF02501
250CF011
250CF01101
250CF007
250CF006
250CF012
250CF005
250CF013
250CF009
250CA032
250N4005

EXHIBIT A

Beginning at a Point, said Point being on the Western right of way line of Keziah Street, Yaupon Beach, Smithville Township, Brunswick County, North Carolina, said Beginning Point also being North 04 degrees 15 minutes 00 seconds West 365.00 feet from the Northern right of way line of Yaupon Drive, thence from said beginning point leaving the right of way of Keziah Street North 85 degrees 45 minutes 00 seconds West 122.50 feet to a point, thence North 04 degrees 15 minutes 00 seconds East 60.00 feet to a point, thence South 85 degrees 45 minutes 00 seconds East 122.50 feet to a point on the Western Right of way line of Keziah Street, thence with said right of way line South 04 degrees 15 minutes 00 seconds West 60.00 feet to point of beginning, BEING all of lot 14 Block EE, Yaupon Beach, containing 0.169 acres.

For back reference see Deed recorded in Book 3893, Page 1184 of the Brunswick County Registry.

Certification

Certificate No. A7959

State of North Carolina

North Carolina Appraisal Board

SAMUEL B. CAMBLIN

having satisfied the North Carolina Appraisal Board regarding the qualifications to practice as a Residential Real Estate Appraiser in this State and having complied with the requirements prescribed by law, is hereby certified as a

Certified Residential Real Estate Appraiser

Given under and by virtue of the provisions of Article 1 Chapter 93E of the General Statutes of North Carolina, I hereunto set my hand and seal of the North Carolina Appraisal Board at Raleigh on the date below shown:

This certificate shall expire on the 30th day of June following the date shown below unless renewed prior to expiration.

MAY 8, 2015

Donald T. Rodgers
Executive Director

NORTH CAROLINA APPRAISAL BOARD

APPRAISER QUALIFICATION CARD

REGISTRATION / LICENSE / CERTIFICATE HOLDER
SAMUEL B CAMBLIN

25 26

A7959	C	Y
APPRAISER NUMBER	TYPE	NATIONAL REGISTRY

Appraiser's Signature — Executive Director

EXPIRES JUNE 30, 2026

Aspen

Aspen American Insurance Company
Insurer (Referred to below as the "Company")
499 Washington Boulevard, 8th Floor
Jersey City, NJ 07310

LIA Administrators & Insurance Services

Company's Program Administrator:
LIA Administrators & Insurance Services
1600 Anacapa Street
Santa Barbara, CA 93108
800-334-0652

APPRAISAL, VALUATION AND PROPERTY SERVICES PROFESSIONAL LIABILITY INSURANCE POLICY

DECLARATIONS

Date Issued: 5/13/2025 Policy Number: AAI008924-09 Previous Policy Number: AAI008924-08

THIS IS A **CLAIMS** MADE AND REPORTED POLICY. COVERAGE IS LIMITED TO LIABILITY FOR ONLY THOSE **CLAIMS** THAT ARE FIRST MADE AGAINST THE **INSURED** DURING THE **POLICY PERIOD** AND THEN REPORTED TO THE COMPANY IN WRITING NO LATER THAN SIXTY (60) DAYS AFTER EXPIRATION OR TERMINATION OF THIS POLICY, OR DURING THE **EXTENDED REPORTING PERIOD**, IF APPLICABLE, FOR A **WRONGFUL ACT** COMMITTED ON OR AFTER THE **RETROACTIVE DATE** AND BEFORE THE END OF THE **POLICY PERIOD**. PLEASE READ THE POLICY CAREFULLY.

1. Customer ID: 169301
   Named **Insured**:
   CAMBLIN APPRAISAL & ASSOCIATES, INC
   Greenway Appraisal, Inc.
   Samuel B. Camblin
   5015 Nicholas Creek Circle
   Wilmington, NC 28409

2. **Policy Period:** From: 06/23/2025 To: 06/23/2026
   12:01 A.M. Standard Time at the address stated in **1** above.

3. **Deductible:** $2500 Each **Claim**

4. **Retroactive Date:** 06/23/2017

5. **Inception Date:** 06/23/2017

6. **Limits of Liability:**
   A. $1,000,000 Each **Claim**
   B. $2,000,000 Aggregate

7. **Covered Professional Services (as defined in the Policy and/or by Endorsement):**

Real Estate Appraisal and Valuation:	Yes	X	No		
Residential Property:	Yes	X	No		
Commercial Property:	Yes		No	X	
Bodily Injury and Property Damage Caused During Appraisal Inspection ($100,000 Sub-Limit):	Yes	X	No		(If "yes", added by endorsement)
Right of Way Agent and Relocation:	Yes		No	X	
Machinery and Equipment Valuation:	Yes		No	X	
Personal Property Appraisal:	Yes		No	X	(If "yes", added by endorsement)
Real Estate Sales/Brokerage:	Yes		No	X	(If "yes", added by endorsement)

8. Report **Claims** to: LIA Administrators & Insurance Services, 800-334-0652, P.O. Box 1319, 1600 Anacapa Street, Santa Barbara, CA 93102-1319

9. **Annual Premium:**

10. **Forms attached at issue:** LIA002 (04/19) LIA NC (05/19) LIA NC NOT (05/19) LIA012 (06/22) LIA018 (05/19) LIA021NC (02/22) LIA122 (05/19) LIA131 (05/19) LIA164 (05/19) LIA169 (12/21)

This Declarations page, together with the completed and signed Policy Application including all attachments and thereto, and the Policy shall constitute the contract between the Named **Insured** and the Company.

05/13/2025
Date

By _____
Authorized Representative

Form SCNLGL - "TOTAL" appraisal software by a la mode, inc. - 1-800-ALAMODE

Appraisal, Valuation and Property Services Professional Liability Insurance Policy

Named Insured: CAMBLIN APPRAISAL & ASSOCIATES, INC
Greenway Appraisal, Inc.
Samuel B. Camblin

Policy Number: AAI008924-09
Effective Date: 06/23/2025
Customer ID: 169301

THIS ENDORSEMENT CHANGES THE POLICY. PLEASE READ IT CAREFULLY.

ADDITIONAL COVERED PROFESSIONALS ENDORSEMENT

This endorsement modifies insurance provided under the following:

APPRAISAL, VALUATION AND PROPERTY SERVICES PROFESSIONAL LIABILITY INSURANCE POLICY

In consideration of the premium charged, it is agreed that Section **IV. DEFINITIONS (I) "Insured"** is amended to include:

"Insured" means:

The persons identified below, but only while acting on behalf of the Named **Insured:**

Name	Coverage Effective Date
Samuel Brandt Camblin	06/23/2025
Benjamin D. Fisher	06/23/2025
Collin Johnson	06/23/2025
Mason Schuster	06/23/2025
Lukas Hammond	06/23/2025
Clayton Hamerski	06/23/2025

All other terms, conditions, and exclusions of this Policy remain unchanged.