FHA/VA Case No.

APPRAISAL OF REAL PROPERTY

LOCATED AT:

537 SW Laconic Ave
PORT ST LUCIE-SEC 22- BLK 1997 LOT 24 (MAP 44/29S) (OR 4081-830)
Port Saint Lucie, FL 34953

FOR:

The Loan Store Inc
6340 N CAMBELL AVE
TUCSON, AZ 85718

AS OF:

03/16/2026

BY:

DIANNA FARINACCI
CERT RES RD6887

FHA/VA Case No.

Appraisal Report

Uniform Residential Appraisal Report

File # 800160778
53791DLH

The purpose of this summary appraisal report is to provide the lender/client with an accurate, and adequately supported, opinion of the market value of the subject property.

SUBJECT

Property Address: 537 SW Laconic Ave | City: Port Saint Lucie | State: FL | Zip Code: 34953

Borrower: Alexander La Rosa | Owner of Public Record: Mark A li Gerstung & Cara M Yergen | County: Saint Lucie

Legal Description: PORT ST LUCIE-SEC 22- BLK 1997 LOT 24 (MAP 44/29S) (OR 4081-830)

Assessor's Parcel #: 34-20-605-0120-0003 | Tax Year: 2025 | R.E. Taxes $: 5,518

Neighborhood Name: Port St Lucie Sec 22 | Map Reference: 38940 | Census Tract: 3821.12

Occupant: [X] Owner [ ] Tenant [ ] Vacant | Special Assessments $: 0 | [ ] PUD | HOA $: 0 [ ] per year [ ] per month

Property Rights Appraised: [X] Fee Simple [ ] Leasehold [ ] Other (describe)

Assignment Type: [X] Purchase Transaction [ ] Refinance Transaction [ ] Other (describe)

Lender/Client: The Loan Store Inc | Address: 6340 N CAMBELL AVE , #100, TUCSON, AZ 85718

Is the subject property currently offered for sale or has it been offered for sale in the twelve months prior to the effective date of this appraisal? [X] Yes [ ] No

Report data source(s) used, offering price(s), and date(s). DOM 8;THE SUBJECT WAS LISTED ON 02/25/2026 FOR $538,000 AND CONTRACTED ON 03/04/2026 FOR $535,000 PER MLS#: TX-20054478

CONTRACT

I [X] did [ ] did not analyze the contract for sale for the subject purchase transaction. Explain the results of the analysis of the contract for sale or why the analysis was not performed. Arms length sale;THE CONTRACT WAS REVIEWED AND STATED A CONTRACT PRICE OF $535,000 AS OF 03/04/2026. THE CONTRACT INDICATED $15000 IN SELLER CONCESSIONS

Contract Price $: 535,000 | Date of Contract: 03/04/2026 | Is the property seller the owner of public record? [X] Yes [ ] No | Data Source(s): Prty Appraiser Office

Is there any financial assistance (loan charges, sale concessions, gift or downpayment assistance, etc.) to be paid by any party on behalf of the borrower? [X] Yes [ ] No

If Yes, report the total dollar amount and describe the items to be paid. $15,000;;THE CONTRACT PROVIDED STATES $15,000 IN SELLER CONCESSIONS.

NEIGHBORHOOD

Note: Race and the racial composition of the neighborhood are not appraisal factors.

Neighborhood Characteristics		One-Unit Housing Trends		One-Unit Housing			Present Land Use %	
Location	[ ] Urban [X] Suburban [ ] Rural	Property Values	[ ] Increasing [X] Stable [ ] Declining	PRICE $ (000)		AGE (yrs)	One-Unit	98 %
Built-Up	[X] Over 75% [ ] 25-75% [ ] Under 25%	Demand/Supply	[ ] Shortage [X] In Balance [ ] Over Supply	450	Low	4	2-4 Unit	%
Growth	[ ] Rapid [X] Stable [ ] Slow	Marketing Time	[X] Under 3 mths [ ] 3-6 mths [ ] Over 6 mths	620	High	47	Multi-Family	1 %
Neighborhood Boundaries	SUBJECT NEIGHBORHOOD IS LOCATED WEST OF THE FLORIDA TURNPIKE, SOUTH OF JULIET AVENUE, EAST OF INTERSTATE-95 AND NORTH OF THE MARTIN-ST.LUCIE COUNTY LINE.			500	Pred.	20	Commercial	1 %
							Other	%

Neighborhood Description: HOMES IN THE NEIGHBORHOOD ARE VARY IN QUALITY AND SHOW AVERAGE MAINTENANCE LEVELS. SCHOOLS, SHOPS & OTHER SUPPORT FACILITIES ARE LOCATED WITHIN 1 TO 3 MILES. THE AREA'S MARKETING APPEAL IS ENHANCED BY THE CONVENIENT ACCESS TO THE FLORIDA TURNPIKE & I-95. MARKET APPEAL IS ALSO ENHANCED BY THE CLOSE LOCATION OF TRADITIONS FIELD, THE NY METS SPRING TRAINING CAMP.

Market Conditions (including support for the above conclusions) PROPERTY VALUES AND MARKET CONDITIONS IN THE AREA ARE PRIMARILY STABLE. THE SUPPLY OF HOMES ADEQUATELY SATISFIES THE MARKET DEMAND. APPROXIMATE MARKETING TIMES FOR PROPERTIES IS UNDER THREE MONTHS WHEN LISTED WITHIN THE MARKET RANGE. PREDOMINANT FORMS OF FINANCING FOR THE SUBJECT AREA INCLUDE CONVENTIONAL MORTGAGES, GOVERNMENT FINANCING, CASH.

SITE

Dimensions: 80 x 125 | Area: 10000 sf | Shape: RECTANGULAR | View: N;Res;

Specific Zoning Classification: RS-2 PSL | Zoning Description: SINGLE FAMILY RESIDENTIAL

Zoning Compliance: [X] Legal [ ] Legal Nonconforming (Grandfathered Use) [ ] No Zoning [ ] Illegal (describe)

Is the highest and best use of subject property as improved (or as proposed per plans and specifications) the present use? [X] Yes [ ] No If No, describe The Subject's Improvements Are Financially Feasible Physically Possible, Legally Permissible And Return The Highest Value For This Site.

Utilities	Public	Other (describe)		Public	Other (describe)	Off-site Improvements - Type	Public	Private
Electricity	[X]	[ ]	Water	[X]	[ ]	Street PAVED ASPHALT	[X]	[ ]
Gas	[ ]	[ ] NONE	Sanitary Sewer	[X]	[ ]	Alley NONE	[ ]	[ ]

FEMA Special Flood Hazard Area: [ ] Yes [X] No | FEMA Flood Zone: X | FEMA Map #: 12111C0405K | FEMA Map Date: 02/19/2020

Are the utilities and off-site improvements typical for the market area? [X] Yes [ ] No If No, describe

Are there any adverse site conditions or external factors (easements, encroachments, environmental conditions, land uses, etc.)? [ ] Yes [X] No If Yes, describe

TYPICAL SITE FOR THE AREA. NO APPARENT ADVERSE EASEMENTS OR ENCROACHMENTS NOTED UPON INSPECTION. TYPICAL TOPOGRAPHY AND DRAINAGE. IMPROVEMENTS CONFORM WITH CURRENT ZONING REGULATIONS. UTILITIES WERE ON AT THE TIME OF APPRAISAL.

IMPROVEMENTS

General Description	Foundation	Exterior Description	materials/condition	Interior	materials/condition
Units [X] One [ ] One with Accessory Unit	[X] Concrete Slab [ ] Crawl Space	Foundation Walls	CONCRETE/GOOD	Floors	TILE/GOOD
# of Stories 1	[ ] Full Basement [ ] Partial Basement	Exterior Walls	CBS/GOOD	Walls	DRYWALL/GOOD
Type [X] Det. [ ] Att. [ ] S-Det./End Unit	Basement Area 0 sq.ft.	Roof Surface	METAL/GOOD	Trim/Finish	WOOD/GOOD
[X] Existing [ ] Proposed [ ] Under Const.	Basement Finish 0 %	Gutters & Downspouts	ALUMINUM/GOOD	Bath Floor	TILE/GOOD
Design (Style) Traditional	[ ] Outside Entry/Exit [ ] Sump Pump	Window Type	F.S.HUNG/GOOD	Bath Wainscot	TILE/GOOD
Year Built 2006	Evidence of [ ] Infestation NONE	Storm Sash/Insulated	Hurr/Shutters/GOOD	Car Storage	[ ] None
Effective Age (Yrs) 10	[ ] Dampness [ ] Settlement	Screens	SCREENS/GOOD	[X] Driveway	# of Cars 2
Attic [ ] None	Heating [X] FWA [ ] HWBB [ ] Radiant	Amenities	[ ] Woodstove(s) # 0	Driveway Surface	CONCRETE
[ ] Drop Stair [ ] Stairs	[ ] Other Fuel ELECTRIC	[ ] Fireplace(s) # 0	[X] Fence WOOD	[X] Garage	# of Cars 2
[ ] Floor [X] Scuttle	Cooling [X] Central Air Conditioning	[X] Patio/Deck Patio	[X] Porch S/PORCH	[ ] Carport	# of Cars 0
[ ] Finished [ ] Heated	[ ] Individual [ ] Other	[X] Pool S/POOL	[X] Other C/ENTRY	[X] Att.	[ ] Det. [ ] Built-in

Appliances: [X] Refrigerator [X] Range/Oven [X] Dishwasher [X] Disposal [X] Microwave [X] Washer/Dryer [ ] Other (describe)

Finished area **above** grade contains: 7 Rooms 4 Bedrooms 2.0 Bath(s) 2,099 Square Feet of Gross Living Area Above Grade

Additional features (special energy efficient items, etc.). WOOD CABINETS W/CROWN MOLDING, GRANITE COUNTERS, SS APPLIANCES, VAULTED CEILINGS, TILE FLOORS, WOOD VANITIES W/SIMULATED MARBLE TOPS,H/SHUTTERS, S/SYSTEM, FENCE ,S/POOL, METAL ROOF

Describe the condition of the property (including needed repairs, deterioration, renovations, remodeling, etc.). C3;Kitchen-updated-one to five years ago;Bathrooms-updated-one to five years ago;THE SUBJECT IS CONSIDERED TO BE IN AVERAGE+ CONDITION. THE FLOOR PLAN IS FUNCTIONAL. NO MAJOR FORMS OF DEFERRED MAINTENANCE NOTED UPON INSPECTION. NOTE: POWER AND WATER WERE ON AT THE TIME OF INSPECTION AND APPEAR TO FUNCTION PROPERLY. ROOF 2024

Are there any physical deficiencies or adverse conditions that affect the livability, soundness, or structural integrity of the property? [ ] Yes [X] No If Yes, describe

NO PHYSICAL DEFICIENCIES OR ADVERSE CONDITIONS WERE READILY VISIBLE DURING THE COURSE OF THE INSPECTION, THAT WOULD AFFECT THE MARKETABILITY OF THE SUBJECT.
THE SMOKE DETECTORS AND CARBON MONOXIDE ALARMS HAVE BEEN INSTALLED PER FLA. STAT. § 553.885.

Does the property generally conform to the neighborhood (functional utility, style, condition, use, construction, etc.)? [X] Yes [ ] No If No, describe

THE SUBJECT CONFORMS TO THE SUBJECT'S NEIGHBORHOOD. THE SUBJECT'S FLOOR PLAN IS FUNCTIONAL. THE SIZE AND CAR STORAGE IS CONSISTENT WITH SURROUNDING HOMES.

Form 1004UAD - "TOTAL" appraisal software by a la mode, inc. - 1-800-ALAMODE

FHA/VA Case No.

Uniform Residential Appraisal Report

File # 800160778 53791DLH

There are 39 comparable properties currently offered for sale in the subject neighborhood ranging in price from $ 494,999 to $ 630,000 .

There are 105 comparable sales in the subject neighborhood within the past twelve months ranging in sale price from $ 450,000 to $ 620,000 .

FEATURE	SUBJECT	COMPARABLE SALE # 1		COMPARABLE SALE # 2		COMPARABLE SALE # 3	
Address	537 SW Laconic Ave Port Saint Lucie, FL 34953	4672 SW Wade Dr Port St Lucie, FL 34953		1002 SW Hamrock Ave Port St Lucie, FL 34953		941 SW McElroy Ave Port St Lucie, FL 34953	
Proximity to Subject		1.34 miles SW		1.00 miles W		0.73 miles W	
Sale Price	$ 535,000		$ 549,000		$ 620,000		$ 499,000
Sale Price/Gross Liv. Area	$ 254.88 sq.ft.	$ 234.22 sq.ft.		$ 256.30 sq.ft.		$ 241.76 sq.ft.	
Data Source(s)		MLS#: RX-11093686;DOM 257		MLS#: RX-11154886 ;DOM 14		MLS#: RX-11152094;DOM 19	
Verification Source(s)		MLS		MLS		Clerk Of Court, OR-5434/2010	
VALUE ADJUSTMENTS	DESCRIPTION	DESCRIPTION	+(-) $ Adjustment	DESCRIPTION	+(-) $ Adjustment	DESCRIPTION	+(-) $ Adjustment
Sales or Financing Concessions		ArmLth VA;5000	-5,000	ArmLth Conv;0		ArmLth FHA;18482	-18,482
Date of Sale/Time		s03/26;c02/26		s03/26;c01/26		s02/26;c01/26	
Location	N;Res;	N;Res;		N;Res;		N;Res;	
Leasehold/Fee Simple	Fee Simple	Fee Simple		Fee Simple		Fee Simple	
Site	10000 sf	10000 sf		21250 sf	-70,000	10000 sf	
View	N;Res;	N;Res;		N;Res;		N;Res;	
Design (Style)	DT1;Traditional	DT1;Traditional		DT1;Traditional		DT1;Traditional	
Quality of Construction	Q4	Q4		Q4		Q4	+20,600
Actual Age	20	13	0	21	0	21	0
Condition	C3	C3		C3		C3	+14,500
Above Grade Room Count (Total / Bdrms. / Baths)	7 / 4 / 2.0	8 / 4 / 3.0	-6,000	7 / 4 / 2.0		7 / 4 / 2.0	
Gross Living Area	2,099 sq.ft.	2,344 sq.ft.	-8,600	2,419 sq.ft.	-11,200	2,064 sq.ft.	0
Basement & Finished Rooms Below Grade	0sf	0sf		0sf		0sf	
Functional Utility	TYPICAL	TYPICAL		TYPICAL		TYPICAL	
Heating/Cooling	FWA,A/C	FWA,A/C		FWA,A/C		FWA,A/C	
Energy Efficient Items	NONE	NONE		NONE		NONE	
Garage/Carport	2ga2dw	2ga2dw		2ga2dw		2ga2dw	
Porch/Patio/Deck	C/E, S/PORCH	C/E, C/PORCH	+1,000	C/E, S/PORCH		C/E, C/PORCH	+1,000
AMENITIES	HS,FNC,SS	H/S,FNC	+1,000	H/S,FN,SP,SD	-2,000	H/S,FNC	+1,000
AMENITIES	S/POOL	O/POOL/SPA	-5,000	O/POOL/SKIT	-5,000	O/POOL/SPA	-7,000
ROOF AGE	2024/METAL	2013/ASPHT	+15,000	2017/METAL	+3,500	2025/METAL	0
Net Adjustment (Total)		☐ + ☒ -	$ -7,600	☐ + ☒ -	$ -84,700	☒ + ☐ -	$ 11,618
Adjusted Sale Price of Comparables		Net Adj. 1.4 % Gross Adj. 7.6 %	$ 541,400	Net Adj. 13.7 % Gross Adj. 14.8 %	$ 535,300	Net Adj. 2.3 % Gross Adj. 12.5 %	$ 510,618

SALES COMPARISON APPROACH

I ☒ did ☐ did not research the sale or transfer history of the subject property and comparable sales. If not, explain ST. LUCIE COUNTY PROPERTY APPRAISERS WEB SITE, AS WELL AS, THE ST. LUCIE COUNTY CLERK OF THE COURTS OFFICE AND THE ST. LUCIE COUNTY MLS WERE USED FOR RESEARCH OF THE PRIOR SALES AND OR TRANSFERS.

My research ☐ did ☒ did not reveal any prior sales or transfers of the subject property for the three years prior to the effective date of this appraisal.

Data Source(s) Corelogic Public Records

My research ☐ did ☒ did not reveal any prior sales or transfers of the comparable sales for the year prior to the date of sale of the comparable sale.

Data Source(s) APPRAISERS WEB SITE, THE ST. LUCIE COUNTY CLERK OF THE COURTS OFFICE & THE ST. LUCIE COUNTY MLS.

Report the results of the research and analysis of the prior sale or transfer history of the subject property and comparable sales (report additional prior sales on page 3).

ITEM	SUBJECT	COMPARABLE SALE #1	COMPARABLE SALE #2	COMPARABLE SALE #3
Date of Prior Sale/Transfer	12/27/2017			
Price of Prior Sale/Transfer	$220,000			
Data Source(s)	Corelogic Public Records	PROPERTY APPRAISER,MLS	PROPERTY APPRAISER,MLS	PROPERTY APPRAISER,MLS
Effective Date of Data Source(s)	03/18/2026	03/18/2026	03/18/2026	03/18/2026

Analysis of prior sale or transfer history of the subject property and comparable sales Corelogic public records indicate the subject's most recent transfer occurred on 12/27/2017 (warranty deed - doc #4081-830 recorded on 12/29/2017)

Summary of Sales Comparison Approach THE COMPARABLE SALES USED ARE LOCATED IN THE SUBJECTS IMMEDIATE NEIGHBORHOOD. THEY ARE SIMILAR TO THE SUBJECT IN LIVING AREA, QUALITY, ACTUAL AGE,AND ARE CONSIDERED GOOD INDICATORS FOR THE SUBJECTS MARKET VALUE. DIFFERENCES IN SITE VALUE ARE FOR SIZE AND LOCATION. QUALITY ADJUSTMENTS ARE FOR DIFFERENCES IN FLOORING, CABINETS, COUNTER TOPS, ETC... AND ARE ADJUSTED ON A DOLLAR PER SQUARE FOOT BASIS. SALE 1 IS A POOL HOME WHICH IS SIMILAR IN QUALITY AND CONDITON TO THE SUBJECT AND WAS USED FOR THIS REASON. SALE 2 IS LARGER IN LIVING AREA YET WAS USED AS IT IS WITHIN CLOSE PROXIMITY AND IS A POOL HOM WITH A METAL ROOF. IT HAS A LARGE SITE SIZE ADJUSTMENT AS IT IS LOCATED ON 2 SITES HOWEVER FULL VALUE OF THE SITE WAS NOT GIVEN AS THE POOLS LOCATED ON THE ADDITIONAL SITE. SALE 3 IS ALSO A POOL HOME WITH A METAL ROOF YET HAS NOT BEEN UPDATED AND IS INFERIOR IN QUALITY AND CONDITION. SALE 4 IS ALSO INFERIOR IN QUALITY AND CONDITION YET WAS USED TO HELP SUPPORT THE FIRST 3 SALES. COMPARABLE 5 IS A LISTING IN THE SUBJECTS AREA WHICH SUPPORTS THE SUBJECT OVERALL FINAL VALUE ESTIMATE. ALL SALES ARE CONSIDERED IN THE FINAL VALUE ESTIMATE WITH MOST WEIGHT PLACED ON THE MOST RECENT SALES.

Indicated Value by Sales Comparison Approach $ 535,000

RECONCILIATION

Indicated Value by: Sales Comparison Approach $ 535,000 **Cost Approach (if developed) $** 539,190 **Income Approach (if developed) $**

MOST WEIGHT IS ON THE MARKET APPROACH AS IT BEST REPRESENTS THE ACTIONS OF THE BUYERS AND SELLERS IN THE MARKETPLACE. THE COST APPROACH IS GIVEN CONSIDERATION. THE INCOME APPROACH IS NOT USED DUE TO LACK OF SUFFICIENT MARKET RENTAL DATA IN NEIGHBORHOOD.THIS APPRAISAL IS BASED ON AN ESTIMATED EXPOSURE/MARKETING TIME OF 0 TO 3 MONTHS.

This appraisal is made ☒ "as is", ☐ subject to completion per plans and specifications on the basis of a hypothetical condition that the improvements have been completed, ☐ subject to the following repairs or alterations on the basis of a hypothetical condition that the repairs or alterations have been completed, or ☐ subject to the following required inspection based on the extraordinary assumption that the condition or deficiency does not require alteration or repair: THE PURPOSE OF THIS APPRAISAL IS TO ESTIMATE MARKET VALUE OF THE SUBJECT PROPERTY. THE INTENDED USE OF THIS APPRAISAL IS TO AID THE LENDER IN UNDERWRITING A LOAN. EXPOSURE TIME IS 0-3 MONTHS

Based on a complete visual inspection of the interior and exterior areas of the subject property, defined scope of work, statement of assumptions and limiting conditions, and appraiser's certification, my (our) opinion of the market value, as defined, of the real property that is the subject of this report is $ 535,000 **, as of** 03/16/2026 **, which is the date of inspection and the effective date of this appraisal.**

Form 1004UAD - "TOTAL" appraisal software by a la mode, inc. - 1-800-ALAMODE

ADDITIONAL COMMENTS

THE TREND IN THE NEIGHBORHOOD SECTION REFLECTS THE MARKET FOR THE COMPARABLES TO THE SUBJECT AS ANALYSED IN THE 1004MC. THERE MAY OR MAY NOT BE OTHER TRENDS WITHIN THIS NEIGHBORHOOD WHICH DIFFER DUE TO SIZE AND CONFORMITY. FOR THE PURPOSE OF THIS ANALYSIS THE TRENDS REVEALED IN THE 1004MC ARE USED IN THE NEIGHBORHOOD SECTION OF THIS REPORT.

PROXIMITY TO SUBJECT:
SOME SALES ALTHOUGH OVER 1 MILE FROM THE SUBJECT ARE CONSIDERED TO BE THE SAME GENERAL NEIGHBORHOOD OR IN COMPETING NEIGHBORHOODS. NO OTHER RECENT COMPARABLE SALES WERE NOTED WHICH WERE CLOSER TO THE SUBJECT PROPERTY, THAT WOULD HAVE BEEN MORE COMPARABLE THEN THE SALES USED IN THIS REPORT.

ADDITIONAL CERTIFICATION:
DIANNA FARINACCI HAS COMPLETED THE REQUIRED CONTINUING EDUCATION FOR STATE CERTIFICATION. UNLESS OTHERWISE INDICATED, I HAVE PERFORMED NO SERVICES REGARDING THE SUBJECT PROPERTY WITHIN THE PRIOR THREE YEARS, AS AN APPRAISER OR IN ANY OTHER CAPACITY.

THE SCOPE OF WORK IS THE TYPE AND EXTENT OF RESEARCH & ANALYSES PERFORMED IN AN APPRAISAL ASSIGNMENT THAT IS REQUIRED TO PRODUCE CREDIBLE ASSIGNMENT RESULTS, GIVEN THE NATURE OF THE APPRAISAL PROBLEM, THE SPECIFIC REQUIREMENTS OF THE INTENDED USER(S) AND THE INTENDED USE OF THE APPRAISAL REPORT. RELIANCE UPON THIS REPORT, REGARDLESS OF HOW ACQUIRED, BY ANY PARTY OR FOR ANY USE, OTHER THAN THOSE SPECIFIED IN THIS REPORT BY THE APPRAISER, IS PROHIBITED. THE OPINION OF VALUE THAT IS THE CONCLUSION OF THIS REPORT IS CREDIBLE ONLY WITHIN THE CONTEXT OF THE SCOPE OF WORK, EFFECTIVE DATE, THE DATE OF REPORT, THE INTENDED USER(S), THE INTENDED USE, THE STATED ASSUMPTIONS AND LIMITING CONDITIONS, ANY HYPOTHETICAL CONDITIONS AND/OR EXTRAORDINARY ASSUMPTIONS, AND THE TYPE OF VALUE, AS DEFINED HEREIN. THE APPRAISER, APPRAISAL FIRM, & RELATED PARTIES ASSUME NO OBLIGATION, LIABILITY, OR ACCOUNTABILITY, AND WILL NOT BE RESPONSIBLE FOR ANY UNAUTHORIZED USE OF THIS REPORT OR ITS CONCLUSIONS.

THE TERM "ASSIGNMENT" IS DEFINED IN THE DEFINITIONS SECTION OF USPAP AS:1) AN AGREEMENT BETWEEN AN APPRAISER AND A CLIENT TO PROVIDE A VALUATION SERVICE; 2) THE VALUATION SERVICE THAT IS PROVIDED AS A CONSEQUENCE OF SUCH AS AGREEMENT.

THE TERM "INTENDED USE" IS DEFINED BY USPAP AS: THE USE OR USERS OF AN APPRAISER'S REPORTED APPRAISAL, APPRAISAL REVIEW, OR APPRAISAL CONSULTING ASSIGNMENT OPINIONS AND CONCLUSIONS, AS IDENTIFIED BY THE APPRAISER BASED ON COMMUNICATION WITH THE CLIENT AT THE TIME OF THE ASSIGNMENT, AND CANNOT BE MODIFIED AFTER AN ASSIGNMENT HAS BEEN COMPLETED.

THE TERM "INTENDED USER" IS DEFINED BY USPAP AS: THE CLIENT AND ANY OTHER PARTY AS IDENTIFIED, BY NAME OR TYPE, AS USERS OF THE APPRAISAL, APPRAISAL REVIEW, OR APPRAISAL CONSULTING REPORT BY THE APPRAISER ON THE BASIS OF COMMUNICATION WITH THE CLIENT AT THE TIME OF THE ASSIGNMENT, AND CANNOT BE MODIFIED AFTER AN ASSIGNMENT HAS BEEN COMPLETED.

COST APPROACH

COST APPROACH TO VALUE (not required by Fannie Mae)

Provide adequate information for the lender/client to replicate the below cost figures and calculations.

Support for the opinion of site value (summary of comparable land sales or other methods for estimating site value) LAND SALES:

3874 SW Kasin Street, Port Saint Lucie, FL 34953 .23AC $135000 02/26
4481 SW Gadshaw Road, Port Saint Lucie, FL 34953 .30AC $137,500 12/25
3965 SW Mccain Street, Port Saint Lucie, FL 34953 .23AC $140,000

ESTIMATED ☐ REPRODUCTION OR ☒ REPLACEMENT COST NEW

Source of cost data: MARSHALL AND SWIFT & LOCAL BUILDERS

Quality rating from cost service: AVG Effective date of cost data: 06/25

Comments on Cost Approach (gross living area calculations, depreciation, etc.)
DEPRECIATION VIA THE AGE/LIFE
ESTIMATED TYPICAL ECONOMIC LIFE .....60 YEARS
ESTIMATED REMAINING ECONOMIC LIFE .....50 YEARS
ESTIMATED EFFECTIVE AGE ..... 10 YEARS
100%/60YRS=1.67% X 10 YRS= 16.67% TOTAL PHYSICAL
DEPRECIATION.

Estimated Remaining Economic Life (HUD and VA only): 50 Years

OPINION OF SITE VALUE				=$ 138,000
DWELLING	2,099	Sq.Ft. @ $	160.00	=$ 335,840
PORCHES	228	Sq.Ft. @ $	35.00	=$ 7,980
SEE BELOW				=$ 70,500
Garage/Carport	425	Sq.Ft. @ $	45.00	=$ 19,125
Total Estimate of Cost-New				=$ 433,445
Less Physical	Functional	External		
Depreciation	72,255			=$(72,255)
Depreciated Cost of Improvements				=$ 361,190
"As-is" Value of Site Improvements				=$ 40,000
HS,FN,SS,S/POOL,APPL				
INDICATED VALUE BY COST APPROACH				=$ 539,190

INCOME

INCOME APPROACH TO VALUE (not required by Fannie Mae)

Estimated Monthly Market Rent $ X Gross Rent Multiplier = $ Indicated Value by Income Approach

Summary of Income Approach (including support for market rent and GRM) THE INCOME APPROACH IS NOT USED DUE TO LACK OF SUFFICIENT MARKET RENTAL DATA IN NEIGHBORHOOD.

PUD INFORMATION

PROJECT INFORMATION FOR PUDs (if applicable)

Is the developer/builder in control of the Homeowners' Association (HOA)? ☐ Yes ☐ No Unit type(s) ☐ Detached ☐ Attached

Provide the following information for PUDs ONLY if the developer/builder is in control of the HOA and the subject property is an attached dwelling unit.

Legal Name of Project

Total number of phases | Total number of units | Total number of units sold

Total number of units rented | Total number of units for sale | Data source(s)

Was the project created by the conversion of existing building(s) into a PUD? ☐ Yes ☐ No If Yes, date of conversion.

Does the project contain any multi-dwelling units? ☐ Yes ☐ No Data Source

Are the units, common elements, and recreation facilities complete? ☐ Yes ☐ No If No, describe the status of completion.

Are the common elements leased to or by the Homeowners' Association? ☐ Yes ☐ No If Yes, describe the rental terms and options.

Describe common elements and recreational facilities.

Form 1004UAD - "TOTAL" appraisal software by a la mode, inc. - 1-800-ALAMODE

This report form is designed to report an appraisal of a one-unit property or a one-unit property with an accessory unit; including a unit in a planned unit development (PUD). This report form is not designed to report an appraisal of a manufactured home or a unit in a condominium or cooperative project.

This appraisal report is subject to the following scope of work, intended use, intended user, definition of market value, statement of assumptions and limiting conditions, and certifications. Modifications, additions, or deletions to the intended use, intended user, definition of market value, or assumptions and limiting conditions are not permitted. The appraiser may expand the scope of work to include any additional research or analysis necessary based on the complexity of this appraisal assignment. Modifications or deletions to the certifications are also not permitted. However, additional certifications that do not constitute material alterations to this appraisal report, such as those required by law or those related to the appraiser's continuing education or membership in an appraisal organization, are permitted.

SCOPE OF WORK: The scope of work for this appraisal is defined by the complexity of this appraisal assignment and the reporting requirements of this appraisal report form, including the following definition of market value, statement of assumptions and limiting conditions, and certifications. The appraiser must, at a minimum: (1) perform a complete visual inspection of the interior and exterior areas of the subject property, (2) inspect the neighborhood, (3) inspect each of the comparable sales from at least the street, (4) research, verify, and analyze data from reliable public and/or private sources, and (5) report his or her analysis, opinions, and conclusions in this appraisal report.

INTENDED USE: The intended use of this appraisal report is for the lender/client to evaluate the property that is the subject of this appraisal for a mortgage finance transaction.

INTENDED USER: The intended user of this appraisal report is the lender/client.

DEFINITION OF MARKET VALUE: The most probable price which a property should bring in a competitive and open market under all conditions requisite to a fair sale, the buyer and seller, each acting prudently, knowledgeably and assuming the price is not affected by undue stimulus. Implicit in this definition is the consummation of a sale as of a specified date and the passing of title from seller to buyer under conditions whereby: (1) buyer and seller are typically motivated; (2) both parties are well informed or well advised, and each acting in what he or she considers his or her own best interest; (3) a reasonable time is allowed for exposure in the open market; (4) payment is made in terms of cash in U. S. dollars or in terms of financial arrangements comparable thereto; and (5) the price represents the normal consideration for the property sold unaffected by special or creative financing or sales concessions* granted by anyone associated with the sale.

*Adjustments to the comparables must be made for special or creative financing or sales concessions. No adjustments are necessary for those costs which are normally paid by sellers as a result of tradition or law in a market area; these costs are readily identifiable since the seller pays these costs in virtually all sales transactions. Special or creative financing adjustments can be made to the comparable property by comparisons to financing terms offered by a third party institutional lender that is not already involved in the property or transaction. Any adjustment should not be calculated on a mechanical dollar for dollar cost of the financing or concession but the dollar amount of any adjustment should approximate the market's reaction to the financing or concessions based on the appraiser's judgment.

STATEMENT OF ASSUMPTIONS AND LIMITING CONDITIONS: The appraiser's certification in this report is subject to the following assumptions and limiting conditions:

1. The appraiser will not be responsible for matters of a legal nature that affect either the property being appraised or the title to it, except for information that he or she became aware of during the research involved in performing this appraisal. The appraiser assumes that the title is good and marketable and will not render any opinions about the title.

2. The appraiser has provided a sketch in this appraisal report to show the approximate dimensions of the improvements. The sketch is included only to assist the reader in visualizing the property and understanding the appraiser's determination of its size.

3. The appraiser has examined the available flood maps that are provided by the Federal Emergency Management Agency (or other data sources) and has noted in this appraisal report whether any portion of the subject site is located in an identified Special Flood Hazard Area. Because the appraiser is not a surveyor, he or she makes no guarantees, express or implied, regarding this determination.

4. The appraiser will not give testimony or appear in court because he or she made an appraisal of the property in question, unless specific arrangements to do so have been made beforehand, or as otherwise required by law.

5. The appraiser has noted in this appraisal report any adverse conditions (such as needed repairs, deterioration, the presence of hazardous wastes, toxic substances, etc.) observed during the inspection of the subject property or that he or she became aware of during the research involved in performing the appraisal. Unless otherwise stated in this appraisal report, the appraiser has no knowledge of any hidden or unapparent physical deficiencies or adverse conditions of the property (such as, but not limited to, needed repairs, deterioration, the presence of hazardous wastes, toxic substances, adverse environmental conditions, etc.) that would make the property less valuable, and has assumed that there are no such conditions and makes no guarantees or warranties, express or implied. The appraiser will not be responsible for any such conditions that do exist or for any engineering or testing that might be required to discover whether such conditions exist. Because the appraiser is not an expert in the field of environmental hazards, this appraisal report must not be considered as an environmental assessment of the property.

6. The appraiser has based his or her appraisal report and valuation conclusion for an appraisal that is subject to satisfactory completion, repairs, or alterations on the assumption that the completion, repairs, or alterations of the subject property will be performed in a professional manner.

Form 1004UAD - "TOTAL" appraisal software by a la mode, inc. - 1-800-ALAMODE

APPRAISER'S CERTIFICATION: The Appraiser certifies and agrees that:

1. I have, at a minimum, developed and reported this appraisal in accordance with the scope of work requirements stated in this appraisal report.

2. I performed a complete visual inspection of the interior and exterior areas of the subject property. I reported the condition of the improvements in factual, specific terms. I identified and reported the physical deficiencies that could affect the livability, soundness, or structural integrity of the property.

3. I performed this appraisal in accordance with the requirements of the Uniform Standards of Professional Appraisal Practice that were adopted and promulgated by the Appraisal Standards Board of The Appraisal Foundation and that were in place at the time this appraisal report was prepared.

4. I developed my opinion of the market value of the real property that is the subject of this report based on the sales comparison approach to value. I have adequate comparable market data to develop a reliable sales comparison approach for this appraisal assignment. I further certify that I considered the cost and income approaches to value but did not develop them, unless otherwise indicated in this report.

5. I researched, verified, analyzed, and reported on any current agreement for sale for the subject property, any offering for sale of the subject property in the twelve months prior to the effective date of this appraisal, and the prior sales of the subject property for a minimum of three years prior to the effective date of this appraisal, unless otherwise indicated in this report.

6. I researched, verified, analyzed, and reported on the prior sales of the comparable sales for a minimum of one year prior to the date of sale of the comparable sale, unless otherwise indicated in this report.

7. I selected and used comparable sales that are locationally, physically, and functionally the most similar to the subject property.

8. I have not used comparable sales that were the result of combining a land sale with the contract purchase price of a home that has been built or will be built on the land.

9. I have reported adjustments to the comparable sales that reflect the market's reaction to the differences between the subject property and the comparable sales.

10. I verified, from a disinterested source, all information in this report that was provided by parties who have a financial interest in the sale or financing of the subject property.

11. I have knowledge and experience in appraising this type of property in this market area.

12. I am aware of, and have access to, the necessary and appropriate public and private data sources, such as multiple listing services, tax assessment records, public land records and other such data sources for the area in which the property is located.

13. I obtained the information, estimates, and opinions furnished by other parties and expressed in this appraisal report from reliable sources that I believe to be true and correct.

14. I have taken into consideration the factors that have an impact on value with respect to the subject neighborhood, subject property, and the proximity of the subject property to adverse influences in the development of my opinion of market value. I have noted in this appraisal report any adverse conditions (such as, but not limited to, needed repairs, deterioration, the presence of hazardous wastes, toxic substances, adverse environmental conditions, etc.) observed during the inspection of the subject property or that I became aware of during the research involved in performing this appraisal. I have considered these adverse conditions in my analysis of the property value, and have reported on the effect of the conditions on the value and marketability of the subject property.

15. I have not knowingly withheld any significant information from this appraisal report and, to the best of my knowledge, all statements and information in this appraisal report are true and correct.

16. I stated in this appraisal report my own personal, unbiased, and professional analysis, opinions, and conclusions, which are subject only to the assumptions and limiting conditions in this appraisal report.

17. I have no present or prospective interest in the property that is the subject of this report, and I have no present or prospective personal interest or bias with respect to the participants in the transaction. I did not base, either partially or completely, my analysis and/or opinion of market value in this appraisal report on the race, color, religion, sex, age, marital status, handicap, familial status, or national origin of either the prospective owners or occupants of the subject property or of the present owners or occupants of the properties in the vicinity of the subject property or on any other basis prohibited by law.

18. My employment and/or compensation for performing this appraisal or any future or anticipated appraisals was not conditioned on any agreement or understanding, written or otherwise, that I would report (or present analysis supporting) a predetermined specific value, a predetermined minimum value, a range or direction in value, a value that favors the cause of any party, or the attainment of a specific result or occurrence of a specific subsequent event (such as approval of a pending mortgage loan application).

19. I personally prepared all conclusions and opinions about the real estate that were set forth in this appraisal report. If I relied on significant real property appraisal assistance from any individual or individuals in the performance of this appraisal or the preparation of this appraisal report, I have named such individual(s) and disclosed the specific tasks performed in this appraisal report. I certify that any individual so named is qualified to perform the tasks. I have not authorized anyone to make a change to any item in this appraisal report; therefore, any change made to this appraisal is unauthorized and I will take no responsibility for it.

20. I identified the lender/client in this appraisal report who is the individual, organization, or agent for the organization that ordered and will receive this appraisal report.

Form 1004UAD - "TOTAL" appraisal software by a la mode, inc. - 1-800-ALAMODE

21. The lender/client may disclose or distribute this appraisal report to: the borrower; another lender at the request of the borrower; the mortgagee or its successors and assigns; mortgage insurers; government sponsored enterprises; other secondary market participants; data collection or reporting services; professional appraisal organizations; any department, agency, or instrumentality of the United States; and any state, the District of Columbia, or other jurisdictions; without having to obtain the appraiser's or supervisory appraiser's (if applicable) consent. Such consent must be obtained before this appraisal report may be disclosed or distributed to any other party (including, but not limited to, the public through advertising, public relations, news, sales, or other media).

22. I am aware that any disclosure or distribution of this appraisal report by me or the lender/client may be subject to certain laws and regulations. Further, I am also subject to the provisions of the Uniform Standards of Professional Appraisal Practice that pertain to disclosure or distribution by me.

23. The borrower, another lender at the request of the borrower, the mortgagee or its successors and assigns, mortgage insurers, government sponsored enterprises, and other secondary market participants may rely on this appraisal report as part of any mortgage finance transaction that involves any one or more of these parties.

24. If this appraisal report was transmitted as an "electronic record" containing my "electronic signature," as those terms are defined in applicable federal and/or state laws (excluding audio and video recordings), or a facsimile transmission of this appraisal report containing a copy or representation of my signature, the appraisal report shall be as effective, enforceable and valid as if a paper version of this appraisal report were delivered containing my original hand written signature.

25. Any intentional or negligent misrepresentation(s) contained in this appraisal report may result in civil liability and/or criminal penalties including, but not limited to, fine or imprisonment or both under the provisions of Title 18, United States Code, Section 1001, et seq., or similar state laws.

SUPERVISORY APPRAISER'S CERTIFICATION: The Supervisory Appraiser certifies and agrees that:

1. I directly supervised the appraiser for this appraisal assignment, have read the appraisal report, and agree with the appraiser's analysis, opinions, statements, conclusions, and the appraiser's certification.

2. I accept full responsibility for the contents of this appraisal report including, but not limited to, the appraiser's analysis, opinions, statements, conclusions, and the appraiser's certification.

3. The appraiser identified in this appraisal report is either a sub-contractor or an employee of the supervisory appraiser (or the appraisal firm), is qualified to perform this appraisal, and is acceptable to perform this appraisal under the applicable state law.

4. This appraisal report complies with the Uniform Standards of Professional Appraisal Practice that were adopted and promulgated by the Appraisal Standards Board of The Appraisal Foundation and that were in place at the time this appraisal report was prepared.

5. If this appraisal report was transmitted as an "electronic record" containing my "electronic signature," as those terms are defined in applicable federal and/or state laws (excluding audio and video recordings), or a facsimile transmission of this appraisal report containing a copy or representation of my signature, the appraisal report shall be as effective, enforceable and valid as if a paper version of this appraisal report were delivered containing my original hand written signature.

APPRAISER

Signature
Name DIANNA FARINACCI
Company Name Matthew & Associates Appraisal Services, Inc.
Company Address 10380 SW Village Center Dr.#350
Port St. Lucie, FL 34987
Telephone Number (772) 335-4002
Email Address maaas3@comcast.net
Date of Signature and Report 03/18/2026
Effective Date of Appraisal 03/16/2026
State Certification # CERT RES RD 6887
or State License #
or Other (describe) State #
State FL
Expiration Date of Certification or License 11/30/2026

ADDRESS OF PROPERTY APPRAISED
537 SW Laconic Ave
Port Saint Lucie, FL 34953
APPRAISED VALUE OF SUBJECT PROPERTY $ 535,000

LENDER/CLIENT
Name FASTAPP
Company Name The Loan Store Inc
Company Address 6340 N CAMBELL AVE , #100, TUCSON, AZ 85718
Email Address N/A

SUPERVISORY APPRAISER (ONLY IF REQUIRED)

Signature
Name
Company Name
Company Address
Telephone Number
Email Address
Date of Signature
State Certification #
or State License #
State
Expiration Date of Certification or License

SUBJECT PROPERTY

☐ Did not inspect subject property
☐ Did inspect exterior of subject property from street
Date of Inspection
☐ Did inspect interior and exterior of subject property
Date of Inspection

COMPARABLE SALES

☐ Did not inspect exterior of comparable sales from street
☐ Did inspect exterior of comparable sales from street
Date of Inspection

Form 1004UAD - "TOTAL" appraisal software by a la mode, inc. - 1-800-ALAMODE

FHA/VA Case No.

Uniform Residential Appraisal Report

File # 800160778
53791DLH

SALES COMPARISON APPROACH

FEATURE	SUBJECT	COMPARABLE SALE # 4		COMPARABLE SALE # 5		COMPARABLE SALE # 6	
Address	537 SW Laconic Ave Port Saint Lucie, FL 34953	397 SW Jeanne Ave Port St Lucie, FL 34953		4431 SW Jaunt Rd Port St Lucie, FL 34953			
Proximity to Subject		0.50 miles SE		1.67 miles SW			
Sale Price	$ 535,000		$ 475,000		$ 559,900		$
Sale Price/Gross Liv. Area	$ 254.88 sq.ft.	$ 212.43 sq.ft.		$ 270.22 sq.ft.		$ sq.ft.	
Data Source(s)		MLS#: RX-11102419 ;DOM 148		MLS#: RX-11161943 ;DOM 26			
Verification Source(s)		Clerk of Court OR-5413/1308		MLS			
VALUE ADJUSTMENTS	DESCRIPTION	DESCRIPTION	+(-) $ Adjustment	DESCRIPTION	+(-) $ Adjustment	DESCRIPTION	+(-) $ Adjustment
Sales or Financing Concessions		ArmLth VA;5000	-5,000	ArmLth List/sale2%;0	-11,200		
Date of Sale/Time		s03/26;c02/26		c03/26			
Location	N;Res;	N;Res;		N;Res;			
Leasehold/Fee Simple	Fee Simple	Fee Simple		Fee Simple			
Site	10000 sf	10000 sf		11554 sf	-1,500		
View	N;Res;	N;Res;		N;Res;			
Design (Style)	DT1;Traditional	DT1;Traditional		DT1;Traditional			
Quality of Construction	Q4	Q4	+33,500	Q4			
Actual Age	20	20		5	0		
Condition	C3	C4	+29,000	C3			
Above Grade Room Count (Total / Bdrms. / Baths)	7 / 4 / 2.0	7 / 4 / 2.0		7 / 3 / 2.0	0	/ /	
Gross Living Area	2,099 sq.ft.	2,236 sq.ft.	-4,800	2,072 sq.ft.	0	sq.ft.	
Basement & Finished Rooms Below Grade	0sf	0sf		0sf			
Functional Utility	TYPICAL	TYPICAL		TYPICAL			
Heating/Cooling	FWA,A/C	FWA,A/C		FWA,A/C			
Energy Efficient Items	NONE	NONE		NONE			
Garage/Carport	2ga2dw	2ga2dw		2ga2dw			
Porch/Patio/Deck	C/E, S/PORCH	C/E, S/PORCH		C/E, C/PORCH	+2,000		
AMENITIES	HS,FNC,SS	H/S,FNC	+1,000	I/W,FNC	-5,000		
AMENITIES	S/POOL	S/POOL		O/POOL/SPA	-7,000		
ROOF AGE	2024/METAL	2025/ASPHT	+10,000	2021/METAL	0		
Net Adjustment (Total)		☒ + ☐ -	$ 63,700	☐ + ☒ -	$ -22,700	☐ + ☐ -	$
Adjusted Sale Price of Comparables		Net Adj. 13.4 % Gross Adj. 17.5 %	$ 538,700	Net Adj. 4.1 % Gross Adj. 4.8 %	$ 537,200	Net Adj. % Gross Adj. %	$

SALE HISTORY

Report the results of the research and analysis of the prior sale or transfer history of the subject property and comparable sales (report additional prior sales on page 3).

ITEM	SUBJECT	COMPARABLE SALE # 4	COMPARABLE SALE # 5	COMPARABLE SALE # 6
Date of Prior Sale/Transfer	12/27/2017			
Price of Prior Sale/Transfer	$220,000			
Data Source(s)	Corelogic Public Records	PROPERTY APPRAISER,MLS	PROPERTY APPRAISER,MLS	
Effective Date of Data Source(s)	03/18/2026	03/18/2026	03/18/2026	

Analysis of prior sale or transfer history of the subject property and comparable sales: NO PRIOR SALE OR TRANSFER ON COMPARABLE 4 NOTED WITHIN THE PAST 12 MONTHS IN THE CLERK OF THE COURT, OR IN THE MLS.

ANALYSIS / COMMENTS

Analysis/Comments: COMPARABLE 5 IS A LISTING IN THE SUBJECT'S NEIGHBORHOOD AND IS ASSESSED A 2% LIST TO SALE ADJUSTMENT, AS HOMES APPEAR TO BE SELLING AT OR AROUND 98% OF THEIR FINAL LIST PRICE

SOME SALES AND LISTINGS ARE OVER A MILE FROM THE SUBJECT, YET THEY ARE LOCATED IN THE SUBJECT'S NEIGHBORHOOD, WHICH IS CONSIDERED SOUTH WEST PORT ST. LUCIE WITH SIMILAR LAND VALUES, UTILITIES, SUPPORT FACILITIES, WHERE IT IS COMMON FOR SALES TO STRETCH FOR MILES FROM EACH OTHER. THE TYPICAL LOT IS 80 X 125 WITH NO SIDEWALKS OR CURBS AND WITH TYPICAL UTILITY EASEMENTS. MANY OF THE HOMES WERE BUILT BY THE SAME BUILDERS SUCH AS MERCEDES, MARONDA AND HOLIDAY BUILDERS . THE FACT THAT THE SALES ARE OVER A MILE FROM THE SUBJECT; THEREFORE, HAS NO BEARING ON THE OVERALL MARKETABILITY OF THE SUBJECT OR ANY ADVERSE AFFECT ON ITS VALUE. THESE SALES SATISFY THE PRINCIPAL OF SUBSTITUTION.

EVERY ATTEMPT WAS MADE TO BRACKET THE SUBJECT IN ALL POSSIBLE AREAS. THE SALES USED REPRESENT THE BEST AVAILABLE SALES AND IT IS FELT THAT THE USE OF OTHER AVAILABLE SALES THAT COULD BRACKET BY OTHER CHARACTERISTICS WOULD REQUIRE TOO MANY ADJUSTMENTS AND WEAKEN THE QUALITY OF THE REPORT

THE APPRAISER USES THE SQUARE FOOTAGE METHOD FOR CALCULATING: ANSI® Z765-2021 AND HAS MEASURED THE SUBJECT PROPERTY USING A LASER MEASURE FOR CALCULATING GROSS LIVING AREA (GLA) AND NON - GLA AREAS OF THE SUBJECT PROPERTY WHEN INTERIOR AND EXTERIOR INSPECTIONS ARE REQUIRED.

Form 1004UAD.(AC) - "TOTAL" appraisal software by a la mode, inc. - 1-800-ALAMODE

FHA/VA Case No.

Market Conditions Addendum to the Appraisal Report

File No. 800160778 53791DLH

The purpose of this addendum is to provide the lender/client with a clear and accurate understanding of the market trends and conditions prevalent in the subject neighborhood. This is a required addendum for all appraisal reports with an effective date on or after April 1, 2009.

Property Address 537 SW Laconic Ave City Port Saint Lucie State FL ZIP Code 34953

Borrower Alexander La Rosa

Instructions: The appraiser must use the information required on this form as the basis for his/her conclusions, and must provide support for those conclusions, regarding housing trends and overall market conditions as reported in the Neighborhood section of the appraisal report form. The appraiser must fill in all the information to the extent it is available and reliable and must provide analysis as indicated below. If any required data is unavailable or is considered unreliable, the appraiser must provide an explanation. It is recognized that not all data sources will be able to provide data for the shaded areas below; if it is available, however, the appraiser must include the data in the analysis. If data sources provide the required information as an average instead of the median, the appraiser should report the available figure and identify it as an average. Sales and listings must be properties that compete with the subject property, determined by applying the criteria that would be used by a prospective buyer of the subject property. The appraiser must explain any anomalies in the data, such as seasonal markets, new construction, foreclosures, etc.

MARKET RESEARCH & ANALYSIS

Inventory Analysis	Prior 7–12 Months	Prior 4–6 Months	Current – 3 Months	Overall Trend		
Total # of Comparable Sales (Settled)	56	26	23	☐ Increasing	☒ Stable	☐ Declining
Absorption Rate (Total Sales/Months)	9.33	8.67	7.67	☐ Increasing	☐ Stable	☒ Declining
Total # of Comparable Active Listings	27	27	39	☐ Declining	☒ Stable	☐ Increasing
Months of Housing Supply (Total Listings/Ab.Rate)	2.89	3.12	5.09	☐ Declining	☐ Stable	☒ Increasing

Median Sale & List Price, DOM, Sale/List %	Prior 7–12 Months	Prior 4–6 Months	Current – 3 Months	Overall Trend		
Median Comparable Sale Price	$524,000	$510,000	$545,000	☐ Increasing	☒ Stable	☐ Declining
Median Comparable Sales Days on Market	33	42	67	☐ Declining	☐ Stable	☒ Increasing
Median Comparable List Price	$548,000	$530,000	$538,000	☐ Increasing	☒ Stable	☐ Declining
Median Comparable Listings Days on Market	58	69	59	☐ Declining	☒ Stable	☐ Increasing
Median Sale Price as % of List Price	98.36%	97.81%	98.28%	☐ Increasing	☒ Stable	☐ Declining
Seller-(developer, builder, etc.)paid financial assistance prevalent?	☐ Yes	☒ No		☐ Declining	☒ Stable	☐ Increasing

Explain in detail the seller concessions trends for the past 12 months (e.g., seller contributions increased from 3% to 5%, increasing use of buydowns, closing costs, condo fees, options, etc.). The BeachesMLS (Matrix) MLS reported no concessions between 03/16/2025 and 03/16/2026.

Are foreclosure sales (REO sales) a factor in the market? ☐ Yes ☒ No If yes, explain (including the trends in listings and sales of foreclosed properties).

As reported in the BeachesMLS (Matrix) MLS, out of 146 properties either listed or sold, 2 (1.37%) were indicated as a foreclosure or short sale. Out of 105 closed sales the past 12 months, 0 (0.00%) were foreclosures or short sales. In the prior 7-12 months, 0 of 56 sales (0.00%) were foreclosures or short sales. In the prior 4-6 months, 0 of 26 sales (0.00%) were foreclosures or short sales. In the past 3 months, 0 of 23 sales (0.00%) were foreclosures or short sales. As of 03/16/2026, 0 of 39 active listings (0.00%) are foreclosures or short sales.

Cite data sources for above information. The Market Conditions Addenda was completed with data from BeachesMLS (Matrix) MLS with an effective date of 03/16/2026.

Summarize the above information as support for your conclusions in the Neighborhood section of the appraisal report form. If you used any additional information, such as an analysis of pending sales and/or expired and withdrawn listings, to formulate your conclusions, provide both an explanation and support for your conclusions.

THE DATA ABOVE SUPPORTS A LIST TO SALE RATIO OF 1-3%

CONDO/CO-OP PROJECTS

If the subject is a unit in a condominium or cooperative project , complete the following: **Project Name:**

Subject Project Data	Prior 7–12 Months	Prior 4–6 Months	Current – 3 Months	Overall Trend		
Total # of Comparable Sales (Settled)				☐ Increasing	☐ Stable	☐ Declining
Absorption Rate (Total Sales/Months)				☐ Increasing	☐ Stable	☐ Declining
Total # of Active Comparable Listings				☐ Declining	☐ Stable	☐ Increasing
Months of Unit Supply (Total Listings/Ab.Rate)				☐ Declining	☐ Stable	☐ Increasing

Are foreclosure sales (REO sales) a factor in the project? ☐ Yes ☐ No If yes, indicate the number of REO listings and explain the trends in listings and sales of foreclosed properties.

Summarize the above trends and address the impact on the subject unit and project.

APPRAISER

Signature		Signature	
Appraiser Name	DIANNA FARINACCI	Supervisory Appraiser Name	
Company Name	Matthew & Associates Appraisal Services, Inc.	Company Name	
Company Address	10380 SW Village Center Dr.#350, Port St. Lucie, Fl	Company Address	
State License/Certification #	CERT RES RD 6887 State FL	State License/Certification #	State
Email Address	maaas3@comcast.net	Email Address	

Form 1004MC2 - "TOTAL" appraisal software by a la mode, inc. - 1-800-ALAMODE

FHA/VA Case No.

ADDENDUM

File No. 53791DLH

Borrower/Client	Alexander La Rosa						
Property Address	537 SW Laconic Ave						
City	Port Saint Lucie	County	Saint Lucie	State	FL	Zip Code	34953
Lender	The Loan Store Inc						

THE TREND IN THE NEIGHBORHOOD SECTION REFLECTS THE MARKET FOR THE COMPARABLES TO THE SUBJECT AS ANALYZED IN THE 1004MC. THERE MAY OR MAY NOT BE OTHER TRENDS WITHIN THIS NEIGHBORHOOD WHICH DIFFER DUE TO SIZE AND CONFORMITY. FOR THE PURPOSE OF THIS ANALYSIS THE TRENDS REVEALED IN THE 1004MC ARE USED IN THE NEIGHBORHOOD SECTION OF THIS REPORT.

PREDOMINANT VALUE:
THE SUBJECT PROPERTY IS WITHIN THE PREDOMINANT VALUE RANGE FOR THE AREA, ALTHOUGH IT IS HIGHER THAN THE PREDOMINANT VALUE, THERE ARE A NUMBER OF SIMILAR SIZE HOMES IN THE AREA WITH SIMILAR FEATURES AND VALUES TO THE SUBJECT. THE SUBJECT IS NOT CONSIDERED AN OVER IMPROVEMENT, AS SEEN WITH THE SALES.

NOTE: THE COMPARABLE SALES USED ARE THE MOST PROXIMATE AVAILABLE, THERE WERE NO OTHER SALES AVAILABLE THAT WOULD HAVE RESULTED IN LOWER ADJUSTMENTS. THE MARKETING AREA WAS EXTENSIVELY RESEARCHED AND THE SALES USED ARE THE BEST AVAILABLE INDICATORS FOR THE SUBJECT'S MARKET VALUE.

PHYSICAL DEPRECIATION IS BASED ON THE ESTIMATED EFFECTIVE AGE OF THE SUBJECT PROPERTY. FUNCTIONAL AND/OR EXTERNAL DEPRECIATION, IF PRESENT IS SPECIFICALLY ADDRESSED IN THE APPRAISAL REPORT OR OTHER ADDENDA. IN ESTIMATING THE SITE VALUE, THE APPRAISER HAS RELIED ON PERSONAL KNOWLEDGE OF THE LOCAL MARKET. THIS KNOWLEDGE IS BASED ON PRIOR AND/OR CURRENT ANALYSIS OF SITE SALES AND/OR ABSTRACTION OF SITE VALUES FROM SALES OF IMPROVED PROPERTIES.

NOTE: THE ACTUAL AGE ADJUSTMENT TAKES IN TO CONSIDERATION BOTH THE ACTUAL AGE AND THE EFFECTIVE AGE OF THE SUBJECT, EACH SALE AND LISTING. THE ACTUAL ADJUSTMENT IS DERIVED BY COMBINING SUCH FACTORS LIKE; EFFECTIVE AGE, ARCHITECTURAL DESIGN, ROOF PITCH & HEIGHT AND OVERALL APPEAL.

THE TERM "ASSIGNMENT" IS DEFINED IN THE DEFINITIONS SECTION OF USPAP AS:1) AN AGREEMENT BETWEEN AN APPRAISER AND A CLIENT TO PROVIDE A VALUATION SERVICE; 2) THE VALUATION SERVICE THAT IS PROVIDED AS A CONSEQUENCE OF SUCH AS AGREEMENT.

THE TERM "INTENDED USE" IS DEFINED BY USPAP AS: THE USE OR USERS OF AN APPRAISER'S REPORTED APPRAISAL, APPRAISAL REVIEW, OR APPRAISAL CONSULTING ASSIGNMENT OPINIONS AND CONCLUSIONS, AS IDENTIFIED BY THE APPRAISER BASED ON COMMUNICATION WITH THE CLIENT AT THE TIME OF THE ASSIGNMENT, AND CANNOT BE MODIFIED AFTER AN ASSIGNMENT HAS BEEN COMPLETED.

THE TERM "INTENDED USER" IS DEFINED BY USPAP AS: THE CLIENT, **FHA/HUD** AND ANY OTHER PARTY AS IDENTIFIED, BY NAME OR TYPE, AS USERS OF THE APPRAISAL, APPRAISAL REVIEW, OR APPRAISAL CONSULTING REPORT BY THE APPRAISER ON THE BASIS OF COMMUNICATION WITH THE CLIENT AT THE TIME OF THE ASSIGNMENT, AND CANNOT BE MODIFIED AFTER AN ASSIGNMENT HAS BEEN COMPLETED.

NOTE: THE SUBJECTS IMPROVEMENTS ARE FINANCIALLY FEASIBLE, PHYSICALLY POSSIBLE, LEGALLY PERMISSIBLE AND RETURN THE HIGHEST VALUE FOR THIS SITE. THE SUBJECT'S HIGHEST AND BEST USE IS AS A SINGLE FAMILY RESIDENCE. ITS ZONING IS RS-2 WHICH ALLOWS FOR SINGLE FAMILY PROPERTIES IN A LOW DENSITY URBAN SETTING. MINIMUM LOT SIZE OF 10,000 SF, MINIMUM LOT WIDTH IS 60 FT. MAXIMUM BUILDING HEIGHT OF 35 FEET. THE CITY OF PORT ST. LUCIE PLANNING AND ZONING OFFICE INDICATES THAT THE SUBJECT'S EXISTING USE AND ITS IMPROVEMENTS CONFORM.

NOTE: THE APPRAISER MADE AN INTERIOR AND EXTERIOR INSPECTION OF ALL THE READILY ACCESSIBLE AREAS OF THE SUBJECT PROPERTY IMPROVEMENTS. THE APPRAISER DID NOT MOVE ANY PERSONAL PROPERTY OR FURNITURE. THE APPRAISER NOTED ALL READILY OBSERVABLE CONDITIONS OF THE SUBJECT PROPERTY, THAT IS, CONDITIONS THAT ARE IMMEDIATELY NOTICEABLE AND DISCERNIBLE DURING SITE VISIT. THE APPRAISER IS NOT A HOME INSPECTOR, AND THE APPRAISAL REPORT IS NOT A HOME INSPECTION; THE APPRAISER ONLY PERFORMED A VISUAL OBSERVATION OF ACCESSIBLE AREAS AND THE APPRAISAL REPORT CANNOT BE RELIED UPON TO DISCLOSE CONDITIONS AND OR DEFECTS IN THE PROPERTY.

MLS SHEETS ARE PROPRIETARY IN NATURE AND CANNOT BE INCLUDED.

THE APPRAISER MEASURED THE SUBJECT PROPERTY IMPROVEMENTS USING ANSI STANDARD Z765-2021. BASED ON THE ANSI GUIDELINES THE TOTAL ABOVE GRADE LIVING AREA IS 1250 SF AND THE TOTAL BELOW GRADE IS 0 SF.

FHA/VA Case No.

Building Sketch

Borrower/Client	Alexander La Rosa						
Property Address	537 SW Laconic Ave						
City	Port Saint Lucie	County	Saint Lucie	State	FL	Zip Code	34953
Lender	The Loan Store Inc						

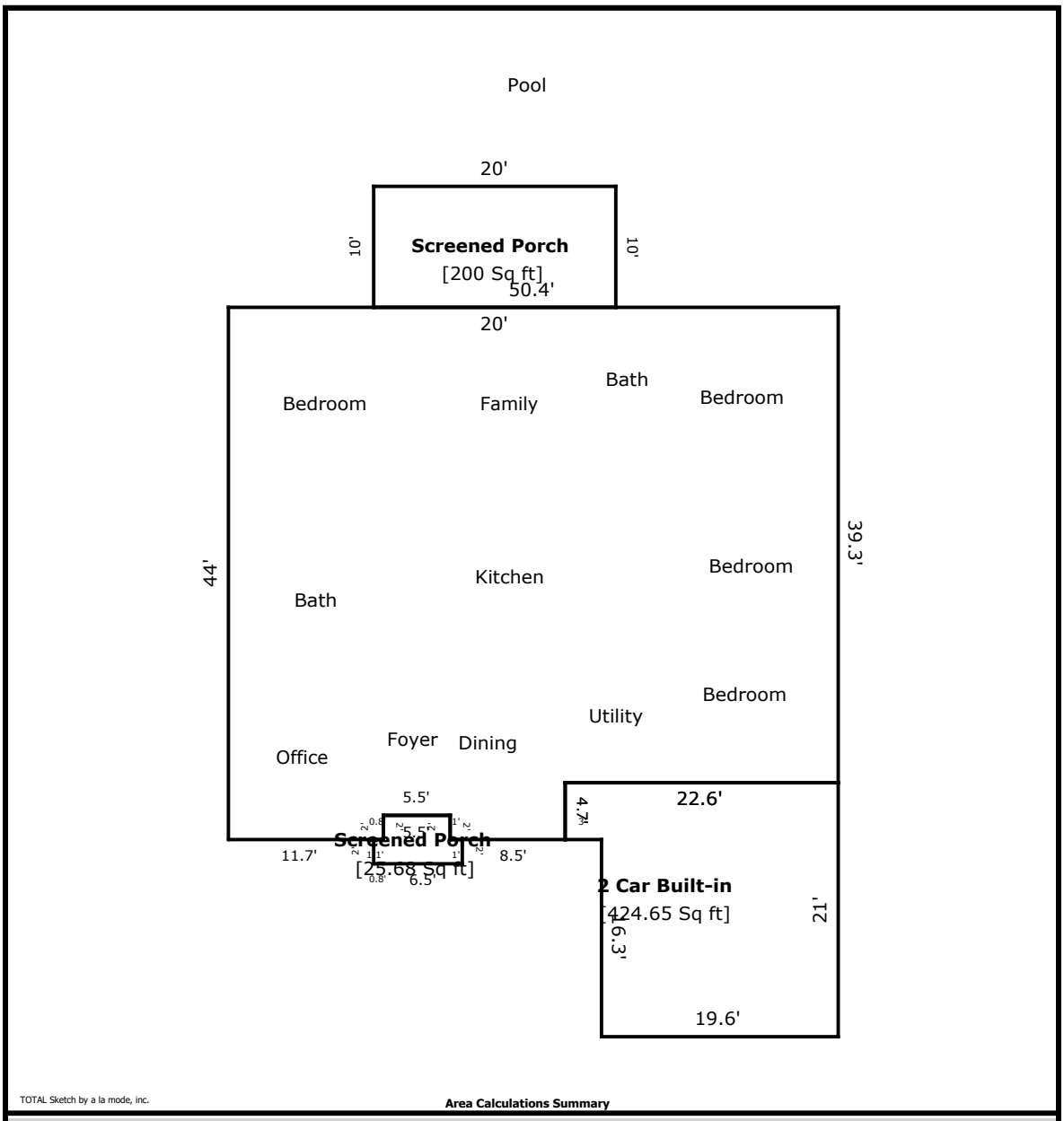

TOTAL Sketch by a la mode, inc.

Area Calculations Summary

Living Area		Calculation Details	
First Floor	2099.3 Sq ft	50.4 × 39.3 =	1979.5
		4.7 × 9.5 =	44.6
		2.7 × 5.5 =	14.9
		4.7 × 12.8 =	60.2
Total Living Area (Rounded):	**2099 Sq ft**		
Non-living Area			
2 Car Built-in	424.6 Sq ft	21 × 19.6 =	410.6
		3 × 4.7 =	14.1
Screened Porch	200 Sq ft	20 × 10 =	200
Screened Porch	25.7 Sq ft	7.3 × 2 =	14.6
		5.5 × 2 =	11

FHA/VA Case No.

Subject Photo Page

Borrower/Client	Alexander La Rosa						
Property Address	537 SW Laconic Ave						
City	Port Saint Lucie	County	Saint Lucie	State	FL	Zip Code	34953
Lender	The Loan Store Inc						



Subject Front

537 SW Laconic Ave

Sales Price	535,000
Gross Living Area	2,099
Total Rooms	7
Total Bedrooms	4
Total Bathrooms	2.0
Location	N;Res;
View	N;Res;
Site	10000 sf
Quality	Q4
Age	20

Subject Rear

Subject Street

FHA/VA Case No.

Photograph Addendum

Borrower/Client	Alexander La Rosa						
Property Address	537 SW Laconic Ave						
City	Port Saint Lucie	County	Saint Lucie	State	FL	Zip Code	34953
Lender	The Loan Store Inc						

SIDE

POOL

VIEW

EQUIPMENT

POOL

REAR/PORCH

FHA/VA Case No.

Interior Photos

Borrower/Client	Alexander La Rosa						
Property Address	537 SW Laconic Ave						
City	Port Saint Lucie	County	Saint Lucie	State	FL	Zip Code	34953
Lender	The Loan Store Inc						



SIDE

DINING

OFFICE

KITCHEN

FAMILY

BEDROOM

BATH

KITCHEN

FAMILY

VIEW/PORCH

FAMILY/KITCHEN

BATH

BATH

BEDROOM

S/SYSTEM

FHA/VA Case No.

Interior Photos

Borrower/Client	Alexander La Rosa						
Property Address	537 SW Laconic Ave						
City	Port Saint Lucie	County	Saint Lucie	State	FL	Zip Code	34953
Lender	The Loan Store Inc						



BEDROOM

UTILITY

GARAGE

WATER HEATER



H/SHUTTERS

GARAGE

FHA/VA Case No.

Comparable Photo Page

Borrower/Client	Alexander La Rosa						
Property Address	537 SW Laconic Ave						
City	Port Saint Lucie	County	Saint Lucie	State	FL	Zip Code	34953
Lender	The Loan Store Inc						

Comparable 1

4672 SW Wade Dr

Comparable 2

1002 SW Hamrock Ave

Comparable 3

941 SW McElroy Ave

FHA/VA Case No.

Comparable Photo Page

Borrower/Client	Alexander La Rosa						
Property Address	537 SW Laconic Ave						
City	Port Saint Lucie	County	Saint Lucie	State	FL	Zip Code	34953
Lender	The Loan Store Inc						

Comparable 4

397 SW Jeanne Ave

Comparable 5

4431 SW Jaunt Rd

FHA/VA Case No.

Aerial Map

Borrower/Client	Alexander La Rosa						
Property Address	537 SW Laconic Ave						
City	Port Saint Lucie	County	Saint Lucie	State	FL	Zip Code	34953
Lender	The Loan Store Inc						

FHA/VA Case No.

Comparable Sales Map

Borrower/Client	Alexander La Rosa						
Property Address	537 SW Laconic Ave						
City	Port Saint Lucie	County	Saint Lucie	State	FL	Zip Code	34953
Lender	The Loan Store Inc						

FHA/VA Case No.

Appraiser Independence Certification

I do hereby certify, I have followed the appraiser independence safeguards in compliance with Appraisal Independence and any applicable state laws I may be required to comply with. This includes but is not limited to the following:

- I am currently licensed and/or certified by the state in which the property to be appraised is located My license is the appropriate license for the appraisal assignment(s) and is reflected on the appraisal report.
- I certify that there have been no sanctions against me for any reason that would impair my ability to perform appraisals pursuant to the required guidelines.

I assert that no employee, director, officer, or agent of FASTAPP, or any other third party acting as joint venture partner, independent contractor, appraisal management company, or partner on behalf of The Loan Store Inc, influenced, or attempted to influence the development, reporting, result, or review of my appraisal through coercion, extortion, collusion, compensation, inducement, intimidation, bribery, or in any other manner.

I further assert that FASTAPP has never participated in any of the following prohibited behavior in our business relationship:

1) Withholding or threatening to withhold timely payment or partial payment for an appraisal report;

2) Withholding or threatening to withhold future business with me, or demoting or terminating or threatening to demote or terminate me;

3) Expressly or impliedly promising future business, promotions, or increased compensation for myself;

4) Conditioning the ordering of my appraisal report or the payment of my appraisal fee or salary or bonus on the opinion, conclusion, or valuation to be reached, or on a preliminary value estimate requested from me;

5) Requesting that I provide an estimated, predetermined, or desired valuation in an appraisal report prior to the completion of the appraisal report, or requesting that I provide estimated values or comparable sales at any time prior to my completion of an appraisal report;

6) Provided me an anticipated, estimated, encouraged, or desired value for a subject property or a proposed or target amount to be loaned to the borrower, except that a copy of the sales contract for purchase transactions may be provided;

7) Provided to me, or my appraisal company, or any entity or person related to me as appraiser, appraisal company, stock or other financial or non-financial benefits;

8) Any other act or practice that impairs or attempts to impair my independence, objectivity, or impartiality or violates law or regulation, including, but not limited to, the Truth in Lending Act (TILA) and Regulation Z, or the USPAP.

Signature	03/18/2026 Date
DIANNA FARINACCI Appraiser's Name	CERT RES RD 6887 State License or Certification #
CERTIFIED RESIDENTIAL APPRAISER State Title or Designation	11/30/2026 FL Expiration Date of License or Certification State

537 SW Laconic Ave, Port Saint Lucie, FL 34953
Address of Property Appraised

05/13

FHA/VA Case No.

Borrower/Client	Alexander La Rosa					File No.	53791DLH
Property Address	537 SW Laconic Ave						
City	Port Saint Lucie	County	Saint Lucie	State	FL	Zip Code	34953
Lender	The Loan Store Inc						

APPRAISAL AND REPORT IDENTIFICATION

This Report is one of the following types:

☒ Appraisal Report (A written report prepared under Standards Rule 2-2(a), pursuant to the Scope of Work, as disclosed elsewhere in this report.)

☐ Restricted Appraisal Report (A written report prepared under Standards Rule 2-2(b), pursuant to the Scope of Work, as disclosed elsewhere in this report, restricted to the stated intended use only by the specified client and any other named intended user(s).)

Comments on Standards Rule 2-3

I certify that, to the best of my knowledge and belief:
- The statements of fact contained in this report are true and correct.
- The reported analyses, opinions, and conclusions are limited only by the reported assumptions and limiting conditions and are my personal, impartial, and unbiased professional analyses, opinions, and conclusions.
- Unless otherwise indicated, I have no present or prospective interest in the property that is the subject of this report and no personal interest with respect to the parties involved.
- Unless otherwise indicated, I have performed no services, as an appraiser or in any other capacity, regarding the property that is the subject of this report within the three-year period immediately preceding acceptance of this assignment.
- I have no bias with respect to the property that is the subject of this report or the parties involved with this assignment.
- My engagement in this assignment was not contingent upon developing or reporting predetermined results.
- My compensation for completing this assignment is not contingent upon the development or reporting of a predetermined value or direction in value that favors the cause of the client, the amount of the value opinion, the attainment of a stipulated result, or the occurrence of a subsequent event directly related to the intended use of this appraisal.
- My analyses, opinions, and conclusions were developed, and this report has been prepared, in conformity with the Uniform Standards of Professional Appraisal Practice that were in effect at the time this report was prepared.
- Unless otherwise indicated, I have made a personal inspection of the property that is the subject of this report.
- Unless otherwise indicated, no one provided significant real property appraisal assistance to the person(s) signing this certification (if there are exceptions, the name of each individual providing significant real property appraisal assistance is stated elsewhere in this report).

Reasonable Exposure Time

(USPAP defines Exposure Time as the estimated length of time that the property interest being appraised would have been offered on the market prior to the hypothetical consummation of a sale at market value on the effective date of the appraisal.)

My Opinion of Reasonable Exposure Time for the subject property at the market value stated in this report is: UNDER 3 MONTHS

THE ESTIMATED EXPOSURE/MARKETING TIME FOR THE SUBJECT IS UNDER 3 MONTHS.

Comments on Appraisal and Report Identification

Note any USPAP-related issues requiring disclosure and any state mandated requirements:

NOTE: THE APPRAISER CERTIFIES THAT THE APPRAISAL WAS PREPARED IN ACCORDANCE WITH USPAP AND TITLE XI OF FIRREA AND ANY IMPLEMENTING REGULATIONS.

THE APPRAISER MEASURED THE SUBJECT PROPERTY IMPROVEMENTS USING ANSI STANDARD Z765-2021. BASED ON THE ANSI GUIDELINES THE TOTAL ABOVE GRADE LIVING AREA IS 1250 SF AND THE TOTAL BELOW GRADE IS 0 SF.

APPRAISER:

Signature:
Name: DIANNA FARINACCI
CERTIFIED RESIDENTIAL APPRAISER
State Certification #: CERT RES RD 6887
or State License #:
State: FL Expiration Date of Certification or License: 11/30/2026
Date of Signature and Report: 03/18/2026
Effective Date of Appraisal: 03/16/2026
Inspection of Subject: ☐ None ☒ Interior and Exterior ☐ Exterior-Only
Date of Inspection (if applicable): 03/16/2026

SUPERVISORY or CO-APPRAISER (if applicable):

Signature:
Name:
State Certification #:
or State License #:
State: Expiration Date of Certification or License:
Date of Signature:
Inspection of Subject: ☐ None ☐ Interior and Exterior ☐ Exterior-Only
Date of Inspection (if applicable):

UNIFORM APPRAISAL DATASET (UAD) DEFINITIONS ADDENDUM

(Source: Fannie Mae UAD Appendix D: UAD Field-Specific Standardization Requirements)

Condition Ratings and Definitions

C1

The improvements have been recently constructed and have not been previously occupied. The entire structure and all components are new and the dwelling features no physical depreciation.

Note: Newly constructed improvements that feature recycled or previously used materials and/or components can be considered new dwellings provided that the dwelling is placed on a 100 percent new foundation and the recycled materials and the recycled components have been rehabilitated/remanufactured into like-new condition. Improvements that have not been previously occupied are not considered “new” if they have any significant physical depreciation (that is, newly constructed dwellings that have been vacant for an extended period of time without adequate maintenance or upkeep).

C2

The improvements feature no deferred maintenance, little or no physical depreciation, and require no repairs. Virtually all building components are new or have been recently repaired, refinished, or rehabilitated. All outdated components and finishes have been updated and/or replaced with components that meet current standards. Dwellings in this category are either almost new or have been recently completely renovated and are similar in condition to new construction.

Note: The improvements represent a relatively new property that is well maintained with no deferred maintenance and little or no physical depreciation, or an older property that has been recently completely renovated.

C3

The improvements are well maintained and feature limited physical depreciation due to normal wear and tear. Some components, but not every major building component, may be updated or recently rehabilitated. The structure has been well maintained.

Note: The improvement is in its first-cycle of replacing short-lived building components (appliances, floor coverings, HVAC, etc.) and is being well maintained. Its estimated effective age is less than its actual age. It also may reflect a property in which the majority of short-lived building components have been replaced but not to the level of a complete renovation.

C4

The improvements feature some minor deferred maintenance and physical deterioration due to normal wear and tear. The dwelling has been adequately maintained and requires only minimal repairs to building components/mechanical systems and cosmetic repairs. All major building components have been adequately maintained and are functionally adequate.

Note: The estimated effective age may be close to or equal to its actual age. It reflects a property in which some of the short-lived building components have been replaced, and some short-lived building components are at or near the end of their physical life expectancy; however, they still function adequately. Most minor repairs have been addressed on an ongoing basis resulting in an adequately maintained property.

C5

The improvements feature obvious deferred maintenance and are in need of some significant repairs. Some building components need repairs, rehabilitation, or updating. The functional utility and overall livability is somewhat diminished due to condition, but the dwelling remains useable and functional as a residence.

Note: Some significant repairs are needed to the improvements due to the lack of adequate maintenance. It reflects a property in which many of its short-lived building components are at the end of or have exceeded their physical life expectancy but remain functional.

C6

The improvements have substantial damage or deferred maintenance with deficiencies or defects that are severe enough to affect the safety, soundness, or structural integrity of the improvements. The improvements are in need of substantial repairs and rehabilitation, including many or most major components.

Note: Substantial repairs are needed to the improvements due to the lack of adequate maintenance or property damage. It reflects a property with conditions severe enough to affect the safety, soundness, or structural integrity of the improvements.

Quality Ratings and Definitions

Q1

Dwellings with this quality rating are usually unique structures that are individually designed by an architect for a specified user. Such residences typically are constructed from detailed architectural plans and specifications and feature an exceptionally high level of workmanship and exceptionally high-grade materials throughout the interior and exterior of the structure. The design features exceptionally high-quality exterior refinements and ornamentation, and exceptionally high-quality interior refinements. The workmanship, materials, and finishes throughout the dwelling are of exceptionally high quality.

Q2

Dwellings with this quality rating are often custom designed for construction on an individual property owner’s site. However, dwellings in this quality grade are also found in high-quality tract developments featuring residence constructed from individual plans or from highly modified or upgraded plans. The design features detailed, high quality exterior ornamentation, high-quality interior refinements, and detail. The workmanship, materials, and finishes throughout the dwelling are generally of high or very high quality.

UNIFORM APPRAISAL DATASET (UAD) DEFINITIONS ADDENDUM

(Source: Fannie Mae UAD Appendix D: UAD Field-Specific Standardization Requirements)

Quality Ratings and Definitions (continued)

Q3

Dwellings with this quality rating are residences of higher quality built from individual or readily available designer plans in above-standard residential tract developments or on an individual property owner's site. The design includes significant exterior ornamentation and interiors that are well finished. The workmanship exceeds acceptable standards and many materials and finishes throughout the dwelling have been upgraded from "stock" standards.

Q4

Dwellings with this quality rating meet or exceed the requirements of applicable building codes. Standard or modified standard building plans are utilized and the design includes adequate fenestration and some exterior ornamentation and interior refinements. Materials, workmanship, finish, and equipment are of stock or builder grade and may feature some upgrades.

Q5

Dwellings with this quality rating feature economy of construction and basic functionality as main considerations. Such dwellings feature a plain design using readily available or basic floor plans featuring minimal fenestration and basic finishes with minimal exterior ornamentation and limited interior detail. These dwellings meet minimum building codes and are constructed with inexpensive, stock materials with limited refinements and upgrades.

Q6

Dwellings with this quality rating are of basic quality and lower cost; some may not be suitable for year-round occupancy. Such dwellings are often built with simple plans or without plans, often utilizing the lowest quality building materials. Such dwellings are often built or expanded by persons who are professionally unskilled or possess only minimal construction skills. Electrical, plumbing, and other mechanical systems and equipment may be minimal or non-existent. Older dwellings may feature one or more substandard or non-conforming additions to the original structure

Definitions of Not Updated, Updated, and Remodeled

Not Updated

Little or no updating or modernization. This description includes, but is not limited to, new homes.

Residential properties of fifteen years of age or less often reflect an original condition with no updating, if no major components have been replaced or updated. Those over fifteen years of age are also considered not updated if the appliances, fixtures, and finishes are predominantly dated. An area that is 'Not Updated' may still be well maintained and fully functional, and this rating does not necessarily imply deferred maintenance or physical/functional deterioration.

Updated

The area of the home has been modified to meet current market expectations. These modifications are limited in terms of both scope and cost.

An updated area of the home should have an improved look and feel, or functional utility. Changes that constitute updates include refurbishment and/or replacing components to meet existing market expectations. Updates do not include significant alterations to the existing structure.

Remodeled

Significant finish and/or structural changes have been made that increase utility and appeal through complete replacement and/or expansion.

A remodeled area reflects fundamental changes that include multiple alterations. These alterations may include some or all of the following: replacement of a major component (cabinet(s), bathtub, or bathroom tile), relocation of plumbing/gas fixtures/appliances, significant structural alterations (relocating walls, and/or the addition of) square footage). This would include a complete gutting and rebuild.

Explanation of Bathroom Count

Three-quarter baths are counted as a full bath in all cases. Quarter baths (baths that feature only a toilet) are not included in the bathroom count. The number of full and half baths is reported by separating the two values using a period, where the full bath count is represented to the left of the period and the half bath count is represented to the right of the period.

Example:
3.2 indicates three full baths and two half baths.

UNIFORM APPRAISAL DATASET (UAD) DEFINITIONS ADDENDUM

(Source: Fannie Mae UAD Appendix D: UAD Field-Specific Standardization Requirements)

Abbreviations Used in Data Standardization Text

Abbreviation	Full Name	Fields Where This Abbreviation May Appear
A	Adverse	Location & View
ac	Acres	Area, Site
AdjPrk	Adjacent to Park	Location
AdjPwr	Adjacent to Power Lines	Location
ArmLth	Arms Length Sale	Sale or Financing Concessions
AT	Attached Structure	Design (Style)
B	Beneficial	Location & View
ba	Bathroom(s)	Basement & Finished Rooms Below Grade
br	Bedroom	Basement & Finished Rooms Below Grade
BsyRd	Busy Road	Location
c	Contracted Date	Date of Sale/Time
Cash	Cash	Sale or Financing Concessions
Comm	Commercial Influence	Location
Conv	Conventional	Sale or Financing Concessions
cp	Carport	Garage/Carport
CrtOrd	Court Ordered Sale	Sale or Financing Concessions
CtySky	City View Skyline View	View
CtyStr	City Street View	View
cv	Covered	Garage/Carport
DOM	Days On Market	Data Sources
DT	Detached Structure	Design (Style)
dw	Driveway	Garage/Carport
e	Expiration Date	Date of Sale/Time
Estate	Estate Sale	Sale or Financing Concessions
FHA	Federal Housing Authority	Sale or Financing Concessions
g	Garage	Garage/Carport
ga	Attached Garage	Garage/Carport
gbi	Built-in Garage	Garage/Carport
gd	Detached Garage	Garage/Carport
GlfCse	Golf Course	Location
Glfvw	Golf Course View	View
GR	Garden	Design (Style)
HR	High Rise	Design (Style)
in	Interior Only Stairs	Basement & Finished Rooms Below Grade
Ind	Industrial	Location & View
Listing	Listing	Sale or Financing Concessions
Lndfl	Landfill	Location
LtdSght	Limited Sight	View
MR	Mid-rise	Design (Style)
Mtn	Mountain View	View
N	Neutral	Location & View
NonArm	Non-Arms Length Sale	Sale or Financing Concessions
o	Other	Basement & Finished Rooms Below Grade
O	Other	Design (Style)
op	Open	Garage/Carport
Prk	Park View	View
Pstrl	Pastoral View	View
PwrLn	Power Lines	View
PubTrn	Public Transportation	Location
Relo	Relocation Sale	Sale or Financing Concessions
REO	REO Sale	Sale or Financing Concessions
Res	Residential	Location & View
RH	USDA - Rural Housing	Sale or Financing Concessions
rr	Recreational (Rec) Room	Basement & Finished Rooms Below Grade
RT	Row or Townhouse	Design (Style)
s	Settlement Date	Date of Sale/Time
SD	Semi-detached Structure	Design (Style)
Short	Short Sale	Sale or Financing Concessions
sf	Square Feet	Area, Site, Basement
sqm	Square Meters	Area, Site
Unk	Unknown	Date of Sale/Time
VA	Veterans Administration	Sale or Financing Concessions
w	Withdrawn Date	Date of Sale/Time
wo	Walk Out Basement	Basement & Finished Rooms Below Grade
Woods	Woods View	View
Wtr	Water View	View
WtrFr	Water Frontage	Location
wu	Walk Up Basement	Basement & Finished Rooms Below Grade
PATIO	IS AN UNCOVERED CONCRETE PAD	PORCH/PATIO/DECK
C/PORCH	COVERED AREA	PORCH/PATIO/DECK
S/PORCH	SCREENED COVERED AREA	PORCH/PATIO/DECK
S/PATIO	SCREENED UNCOVERED CONCRETE PAD	PORCH/PATIO/DECK
I/W	IMPACT WINDOWS	AMENITIES

DEFINITION OF MARKET VALUE: The most probable price which a property should bring in a competitive and open market under all conditions requisite to a fair sale, the buyer and seller, each acting prudently, knowledgeably and assuming the price is not affected by undue stimulus. Implicit in this definition is the consummation of a sale as of a specified date and the passing of title from seller to buyer under conditions whereby: (1) buyer and seller are typically motivated; (2) both parties are well informed or well advised, and each acting in what he considers his own best interest; (3) a reasonable time is allowed for exposure in the open market; (4) payment is made in terms of cash in U.S. dollars or in terms of financial arrangements comparable thereto; and (5) the price represents the normal consideration for the property sold unaffected by special or creative financing or sales concessions* granted by anyone associated with the sale. (Source: FDIC Interagency Appraisal and Evaluation Guidelines, October 27, 1994.)

*** Adjustments to the comparables must be made for special or creative financing or sales concessions. No adjustments are necessary for those costs which are normally paid by sellers as a result of tradition or law in a market area; these costs are readily identifiable since the seller pays these costs in virtually all sales transactions. Special or creative financing adjustments can be made to the comparable property by comparisons to financing terms offered by a third party institutional lender that is not already involved in the property or transaction. Any adjustment should not be calculated on a mechanical dollar for dollar cost of the financing or concession but the dollar amount of any adjustment should approximate the market's reaction to the financing or concessions based on the appraiser's judgment.**

STATEMENT OF LIMITING CONDITIONS AND CERTIFICATION

CONTINGENT AND LIMITING CONDITIONS: The appraiser's certification that appears in the appraisal report is subject to the following conditions:

1. The appraiser will not be responsible for matters of a legal nature that affect either the property being appraised or the title to it. The appraiser assumes that the title is good and marketable and, therefore, will not render any opinions about the title. The property is valued on the basis of it being under responsible ownership.

2. Any sketch provided in the appraisal report may show approximate dimensions of the improvements and is included only to assist the reader of the report in visualizing the property. The appraiser has made no survey of the property.

3. The appraiser will not give testimony or appear in court because he or she made an appraisal of the property in question, unless specific arrangements to do so have been made beforehand, or as otherwise required by law.

4. Any distribution of valuation between land and improvements in the report applies only under the existing program of utilization. These separate valuations of the land and improvements must not be used in conjunction with any other appraisal and are invalid if they are so used.

5. The appraiser has no knowledge of any hidden or unapparent conditions of the property or adverse environmental conditions (including the presence of hazardous waste, toxic substances, etc.) that would make the property more or less valuable, and has assumed that there are no such conditions and makes no guarantees or warranties, express or implied, regarding the condition of the property. The appraiser will not be responsible for any such conditions that do exist or for any engineering or testing that might be required to discover whether such conditions exist. This appraisal report must not be considered an environmental assessment of the subject property.

6. The appraiser obtained the information, estimates, and opinions that were expressed in the appraisal report from sources that he or she considers to be reliable and believes them to be true and correct. The appraiser does not assume responsibility for the accuracy of such items that were furnished by other parties.

7. The appraiser will not disclose the contents of the appraisal report except as provided for in the Uniform Standards of Professional Appraisal Practice, and any applicable federal, state or local laws.

8. The appraiser has based his or her appraisal report and valuation conclusion for an appraisal that is subject to satisfactory completion, repairs, or alterations on the assumption that completion of the improvements will be performed in a workmanlike manner.

9. The appraiser must provide his or her prior written consent before the lender/client specified in the appraisal report can distribute the appraisal report (including conclusions about the property value, the appraiser's identity and professional designations, and references to any professional appraisal organizations or the firm with which the appraiser is associated) to anyone other than the borrower; the mortgagee or its successors and assigns; the mortgage insurer; consultants; professional appraisal organizations; any state or federally approved financial institution; or any department, agency, or instrumentality of the United States or any state or the District of Columbia; except that the lender/client may distribute the property description section of the report only to data collection or reporting service(s) without having to obtain the appraiser's prior written consent. The appraiser's written consent and approval must also be obtained before the appraisal can be conveyed by anyone to the public through advertising, public relations, news, sales, or other media.

10. The appraiser is not an employee of the company or individual(s) ordering this report and compensation is not contingent upon the reporting of a predetermined value or direction of value or upon an action or event resulting from the analysis, opinions, conclusions, or the use of this report. This assignment is not based on a required minimum, specific valuation, or the approval of a loan.

Form ACR2_DEFD - "TOTAL" appraisal software by a la mode, inc. - 1-800-ALAMODE

CERTIFICATION: The appraiser certifies and agrees that:

1. The statements of fact contained in this report are true and correct.

2. The reported analyses, opinions, and conclusions are limited only by the reported assumptions and limiting conditions and are my personal, impartial, and unbiased professional analyses, opinions, and conclusions.

3. Unless otherwise indicated, I have no present or prospective interest in the property that is the subject of this report and no personal interest with respect to the parties involved.

4. Unless otherwise indicated, I have performed no services, as an appraiser or in any other capacity, regarding the property that is the subject of this report within the three-year period immediately preceding acceptance of this assignment.

5. I have no bias with respect to the property that is the subject of this report or the parties involved with this assignment.

6. My engagement in this assignment was not contingent upon developing or reporting predetermined results.

7. My compensation for completing this assignment is not contingent upon the development or reporting of a predetermined value or direction in value that favors the cause of the client, the amount of the value opinion, the attainment of a stipulated result, or the occurrence of a subsequent event directly related to the intended use of this appraisal.

8. My analyses, opinions, and conclusions were developed, and this report has been prepared, in conformity with the Uniform Standards of Professional Appraisal Practice that were in effect at the time this report was prepared.

9. Unless otherwise indicated, I have made a personal inspection of the interior and exterior areas of the property that is the subject of this report, and the exteriors of all properties listed as comparables.

10. Unless otherwise indicated, no one provided significant real property appraisal assistance to the person(s) signing this certification (if there are exceptions, the name of each individual providing significant real property appraisal assistance is stated elsewhere in this report).

ADDRESS OF PROPERTY ANALYZED: 537 SW Laconic Ave, Port Saint Lucie, FL 34953

APPRAISER:		**SUPERVISORY or CO-APPRAISER (if applicable):**	
Signature:		Signature:	
Name:	DIANNA FARINACCI	Name:	
Title:	CERTIFIED RESIDENTIAL APPRAISER	Title:	
State Certification #:	CERT RES RD 6887	State Certification #:	
or State License #:		or State License #:	
State: FL	Expiration Date of Certification or License: 11/30/2026	State:	Expiration Date of Certification or License:
Date Signed:	03/18/2026	Date Signed:	
		☐ Did ☐ Did Not Inspect Property	

Form ACR2_DEFD - "TOTAL" appraisal software by a la mode, inc. - 1-800-ALAMODE

LICENSE

Ron DeSantis, Governor

Melanie S. Griffin, Secretary

Florida dbpr

STATE OF FLORIDA
DEPARTMENT OF BUSINESS AND PROFESSIONAL REGULATION

FLORIDA REAL ESTATE APPRAISAL BD

THE CERTIFIED RESIDENTIAL APPRAISER HEREIN IS CERTIFIED UNDER THE PROVISIONS OF CHAPTER 475, FLORIDA STATUTES

FARINACCI, DIANNA

10380 10380 SW VILLAGE CENTER DRIVE
SUITE 350
PORT ST. LUCIE FL 34987

LICENSE NUMBER: RD6887

EXPIRATION DATE: NOVEMBER 30, 2026

Always verify licenses online at MyFloridaLicense.com

ISSUED: 08/27/2024

Do not alter this document in any form.

This is your license. It is unlawful for anyone other than the licensee to use this document.

ACORD®

CERTIFICATE OF LIABILITY INSURANCE

DATE (MM/DD/YYYY) 01/31/2025

THIS CERTIFICATE IS ISSUED AS A MATTER OF INFORMATION ONLY AND CONFERS NO RIGHTS UPON THE CERTIFICATE HOLDER. THIS CERTIFICATE DOES NOT AFFIRMATIVELY OR NEGATIVELY AMEND, EXTEND OR ALTER THE COVERAGE AFFORDED BY THE POLICIES BELOW. THIS CERTIFICATE OF INSURANCE DOES NOT CONSTITUTE A CONTRACT BETWEEN THE ISSUING INSURER(S), AUTHORIZED REPRESENTATIVE OR PRODUCER, AND THE CERTIFICATE HOLDER.

IMPORTANT: If the certificate holder is an ADDITIONAL INSURED, the policy(ies) must be endorsed. If SUBROGATION IS WAIVED, subject to the terms and conditions of the policy, certain policies may require an endorsement. A statement on this certificate does not confer rights to the certificate holder in lieu of such endorsement(s).

PRODUCER
OREP Insurance Services, LLC
6353 El Cajon Blvd, Suite 124-605
San Diego, CA 92115

CONTACT NAME: Isaac Peck
PHONE (A/C, No, Ext): 888-347-5273
FAX (A/C, No): 619-704-0793
E-MAIL ADDRESS: Info@orep.org
PRODUCER CUSTOMER ID #:

INSURED
Matthew & Associates Appraisal Services
10380 SW Village Center Drive #350
Port St Lucie, FL 34987

INSURER(S) AFFORDING COVERAGE	NAIC #
INSURER A : Accelerant National Insurance Company	10220
INSURER B :	
INSURER C :	
INSURER D :	
INSURER E :	
INSURER F :	

COVERAGES **CERTIFICATE NUMBER:** **REVISION NUMBER:**

THIS IS TO CERTIFY THAT THE POLICIES OF INSURANCE LISTED BELOW HAVE BEEN ISSUED TO THE INSURED NAMED ABOVE FOR THE POLICY PERIOD INDICATED. NOTWITHSTANDING ANY REQUIREMENT, TERM OR CONDITION OF ANY CONTRACT OR OTHER DOCUMENT WITH RESPECT TO WHICH THIS CERTIFICATE MAY BE ISSUED OR MAY PERTAIN, THE INSURANCE AFFORDED BY THE POLICIES DESCRIBED HEREIN IS SUBJECT TO ALL THE TERMS, EXCLUSIONS AND CONDITIONS OF SUCH POLICIES. LIMITS SHOWN MAY HAVE BEEN REDUCED BY PAID CLAIMS.

INSR LTR	TYPE OF INSURANCE	ADDL INSR	SUBR WVD	POLICY NUMBER	POLICY EFF (MM/DD/YYYY)	POLICY EXP (MM/DD/YYYY)	LIMITS	
	GENERAL LIABILITY						EACH OCCURRENCE	$
	COMMERCIAL GENERAL LIABILITY						DAMAGE TO RENTED PREMISES (Ea occurrence)	$
	CLAIMS-MADE / OCCUR						MED EXP (Any one person)	$
							PERSONAL & ADV INJURY	$
							GENERAL AGGREGATE	$
	GEN'L AGGREGATE LIMIT APPLIES PER:						PRODUCTS - COMP/OP AGG	$
	POLICY / PRO-JECT / LOC							$
	AUTOMOBILE LIABILITY						COMBINED SINGLE LIMIT (Ea accident)	$
	ANY AUTO						BODILY INJURY (Per person)	$
	ALL OWNED AUTOS						BODILY INJURY (Per accident)	$
	SCHEDULED AUTOS						PROPERTY DAMAGE (Per accident)	$
	HIRED AUTOS							$
	NON-OWNED AUTOS							$
	UMBRELLA LIAB / OCCUR						EACH OCCURRENCE	$
	EXCESS LIAB / CLAIMS-MADE						AGGREGATE	$
	DEDUCTIBLE							$
	RETENTION $							$
	WORKERS COMPENSATION AND EMPLOYERS' LIABILITY						WC STATU-TORY LIMITS / OTH-ER	
	ANY PROPRIETOR/PARTNER/EXECUTIVE OFFICER/MEMBER EXCLUDED? Y / N	N / A					E.L. EACH ACCIDENT	$
	(Mandatory in NH) If yes, describe under SPECIAL PROVISIONS below						E.L. DISEASE - EA EMPLOYEE	$
							E.L. DISEASE - POLICY LIMIT	$
A	Errors and Omissions			NRE40PL100003-02	03/01/2025	03/01/2026	PER CLAIM: $1,000,000 AGGREGATE: $1,000,000	

DESCRIPTION OF OPERATIONS / LOCATIONS / VEHICLES (Attach ACORD 101, Additional Remarks Schedule, if more space is required)
Real Estate Appraisal Services / Real Estate Agent/Broker Services
Retroactive Date: Full Prior Acts
Professionals Covered: Scott Matthew, Dan McLaughlin and Dianna Farinacci

CERTIFICATE HOLDER

Proof of Coverage

CANCELLATION

SHOULD ANY OF THE ABOVE DESCRIBED POLICIES BE CANCELLED BEFORE THE EXPIRATION DATE THEREOF, NOTICE WILL BE DELIVERED IN ACCORDANCE WITH THE POLICY PROVISIONS.

AUTHORIZED REPRESENTATIVE
Isaac Peck *Isaac Peck*

© 1988- 2009 ACORD CORPORATION. All rights reserved.

ACORD 25 (2009/09) **The ACORD name and logo are registered marks of ACORD**

Accelerant National Insurance Company
(A Stock Company)
400 Northridge Road, Suite 800
Sandy Springs, GA 30350

REAL ESTATE PROFESSIONAL ERRORS AND OMISSIONS INSURANCE POLICY DECLARATIONS

NOTICE: THIS IS A "CLAIMS MADE AND REPORTED" POLICY. THIS POLICY REQUIRES THAT A CLAIM BE MADE AGAINST THE INSURED DURING THE POLICY PERIOD AND REPORTED TO THE INSURER, IN WRITING, DURING THE POLICY PERIOD OR EXTENDED REPORTING PERIOD.

DEFENSE COSTS WITHIN LIMITS

THIS POLICY CONTAINS PROVISIONS WHICH LIMIT THE AMOUNT OF CLAIM EXPENSES THE INSURER IS RESPONSIBLE TO PAY IN CONNECTION WITH CLAIMS. CLAIM EXPENSES SHALL BE SUBJECT TO ANY DEDUCTIBLE AMOUNT. THE PAYMENT OF CLAIM EXPENSES WILL REDUCE THE LIMITS OF LIABILITY STATED IN ITEM 4. OF THE DECLARATIONS.

PLEASE READ YOUR POLICY CAREFULLY.

Policy Number: NRE40PL100003-02 **Renewal of:** NRE40PL100003-01

1. **Named Insured:** Matthew & Associates Appraisal Services
2. **Address:** 10380 SW Village Center Drive #350
   Port St Lucie , FL 34987
3. **Policy Period:** **From: March 1, 2025** **To: March 1, 2026**
   12:01 A.M. Standard Time at the address of the **Named Insured** as stated in item **2.** Above.
4. **Limit of Liability:**
   A. Each **Claim** Limit of Liability **$ 1,000,000**
   B. Policy Aggregate Limit of Liability **$ 1,000,000**
5. **Deductible:** **$ 5,000** Each **Claim**
6. **Policy Premium:** **$ 1,958** **State Taxes/Surcharges: $ 19.58**
7. **Retroactive Date: Full Prior Acts**
8. **Notice to Company:** Notice of a **Claim** or Potential **Claim** should be sent to:
   OREP Insurance Services: info@orep.org
   6353 El Cajon Blvd, Suite 124-605
   San Diego, CA 92115
9. **Program Administrator:** OREP Insurance Services, LLC – info@orep.org
10. **Forms and Endorsements Attached at Policy Inception:** See Schedule of Forms

If required by state law, this policy will be countersigned by an authorized representative of the Company.

Date: January 30, 2025 By: Isaac Peck
Authorized Representative