APPRAISAL OF REAL PROPERTY



LOCATED AT

55 Kiley St
North Providence, RI 02911
Book 2771 Page 22

FOR

Beach Park Partners, LLC
500 N Westshore Blvd Ste 960
Tampa, FL 33609

OPINION OF VALUE

670,000

AS OF

02/27/2026

BY

Joseph Durette
Durette Appraisals, Inc.
78 Briarcliffe Rd
Cranston, RI 02910-4814
(401) 952-3736
duretteappraisals@gmail.com

Small Residential Income Property Appraisal Report

File # BPP3603950

The purpose of this summary appraisal report is to provide the lender/client with an accurate, and adequately supported, opinion of the market value of the subject property.

SUBJECT

Property Address: 55 Kiley St | City: North Providence | State: RI | Zip Code: 02911

Borrower: Golden Key Realty, LLC | Owner of Public Record: Dharmarys N Murillo | County: Providence

Legal Description: Book 2771 Page 22

Assessor's Parcel #: 10-260 | Tax Year: 2025 | R.E. Taxes $: 9,253

Neighborhood Name: Lymansville | Map Reference: 39300 | Census Tract: 0121.02

Occupant: [ ] Owner [X] Tenant [ ] Vacant | Special Assessments $: 0 | [ ] PUD | HOA $: 0 [ ] per year [ ] per month

Property Rights Appraised: [X] Fee Simple [ ] Leasehold [ ] Other (describe)

Assignment Type: [ ] Purchase Transaction [X] Refinance Transaction [ ] Other (describe)

Lender/Client: Beach Park Partners, LLC | Address: 500 N Westshore Blvd Ste 960, Tampa, FL 33609

Is the subject property currently offered for sale or has it been offered for sale in the twelve months prior to the effective date of this appraisal? [ ] Yes [X] No

Report data source(s) used, offering price(s), and date(s). STWMLS

CONTRACT

I [ ] did [ ] did not analyze the contract for sale for the subject purchase transaction. Explain the results of the analysis of the contract for sale or why the analysis was not performed.

Contract Price $ | Date of Contract | Is the property seller the owner of public record? [ ] Yes [ ] No | Data Source(s)

Is there any financial assistance (loan charges, sale concessions, gift or downpayment assistance, etc.) to be paid by any party on behalf of the borrower? [ ] Yes [ ] No

If Yes, report the total dollar amount and describe the items to be paid.

NEIGHBORHOOD

Note: Race and the racial composition of the neighborhood are not appraisal factors.

Neighborhood Characteristics				2-4 Unit Housing Trends					2-4 Unit Housing			Present Land Use %	
Location	[ ] Urban	[X] Suburban	[ ] Rural	Property Values	[ ] Increasing	[X] Stable	[ ] Declining		PRICE		AGE	One-Unit	60 %
Built-Up	[X] Over 75%	[ ] 25-75%	[ ] Under 25%	Demand/Supply	[ ] Shortage	[ ] In Balance	[X] Over Supply		$ (000)		(yrs)	2-4 Unit	30 %
Growth	[ ] Rapid	[X] Stable	[ ] Slow	Marketing Time	[X] Under 3 mths	[ ] 3-6 mths	[ ] Over 6 mths		527	Low	106	Multi-Family	%
									750	High	126	Commercial	5 %
									675	Pred.	106	Other	5 %

Neighborhood Boundaries: Subject is bound by Smith St to the North, Fruit Hill Av to the East, City of Providence, RI to the South and Woonasquatucket River to the West.

Neighborhood Description: Subject is located in a residential neighborhood with a mix of single family, condos and multi family homes. Neighborhood retail stores and commercial exposures are on surrounding roads. Educational institutions are located within 1 mile of the subject. Police and fire protection are adequate. The "Other Land Use" is vacant land, parks, and municipal facilities.

Market Conditions (including support for the above conclusions): See the Market Conditions Report.

SITE

Dimensions: 60 x 140 | Area: 8,400 sf | Shape: Rectangular | View: Neighborhood

Specific Zoning Classification: RG | Zoning Description: Residential-minimum 20000 sf & 100' frontage

Zoning Compliance: [ ] Legal [X] Legal Nonconforming (Grandfathered Use) [ ] No Zoning [ ] Illegal (describe)

Is the highest and best use of subject property as improved (or as proposed per plans and specifications) the present use? [X] Yes [ ] No | If No, describe

Utilities	Public	Other (describe)		Public	Other (describe)	Off-site Improvements – Type		Public	Private
Electricity	[X]	[ ]	Water	[X]	[ ]	Street	Asphalt	[X]	[ ]
Gas	[X]	[ ]	Sanitary Sewer	[X]	[ ]	Alley	None	[ ]	[ ]

FEMA Special Flood Hazard Area: [ ] Yes [X] No | FEMA Flood Zone: X | FEMA Map #: 44007C0303H | FEMA Map Date: 10/02/2015

Are the utilities and/or off-site improvements typical for the market area? [X] Yes [ ] No | If No, describe

Are there any adverse site conditions or external factors (easements, encroachments, environmental conditions, land uses, etc.)? [ ] Yes [X] No | If Yes, describe

IMPROVEMENTS

General Description		Foundation		Exterior Description	materials/condition	Interior	materials/condition
Units	[ ] Two [ ] Three [X] Four	[ ] Concrete Slab	[ ] Crawl Space	Foundation Walls	CB/Concrete/Good	Floors	Hardwd/CT/Good
[ ] Accessory Unit (describe below)		[ ] Full Basement	[X] Partial Basement	Exterior Walls	Vinyl/Good	Walls	Plaster/Drywall/Gd
# of Stories	2.5 # of bldgs. 1	Basement Area	174 sq.ft.	Roof Surface	Asphalt Shingle/Gd	Trim/Finish	Wood/Good
Type	[X] Det. [ ] Att. [ ] S-Det./End Unit	Basement Finish	0 %	Gutters & Downspouts	Aluminum/Good	Bath Floor	CeramicTile/Good
[X] Existing	[ ] Proposed [ ] Under Const.	[X] Outside Entry/Exit	[ ] Sump Pump	Window Type	Vinyl DH/Good	Bath Wainscot	CeramicTile/Good
Design (Style)	4 Family	Evidence of	[ ] Infestation	Storm Sash/Insulated	Vinyl/insulated/Gd	**Car Storage**	
Year Built	1920	[ ] Dampness	[ ] Settlement	Screens	Mesh/Good	[ ] None	
Effective Age (Yrs)	20	**Heating/Cooling**		**Amenities**		[X] Driveway	# of Cars 3
Attic	[ ] None	[X] FWA	[X] HWBB [ ] Radiant	[ ] Fireplace(s) #	[ ] Woodstove(s) #	Driveway Surface	Asphalt
[ ] Drop Stair	[ ] Stairs	[ ] Other	Fuel Gas	[X] Patio/Deck	Pt/Dk [ ] Fence	[ ] Garage	# of Cars 0
[ ] Floor	[X] Scuttle	Cooling	[ ] Central Air Conditioning	[ ] Pool	[X] Porch 2 Open	[ ] Carport	# of Cars 0
[ ] Finished	[ ] Heated	[X] Individual	[ ] Other	[ ] Other		[ ] Att.	[ ] Det. [ ] Built-in

# of Appliances	Refrigerator 4	Range/Oven 4	Dishwasher 3	Disposal	Microwave 4	Washer/Dryer 2	Other (describe)

Unit # 1 contains:	5	Rooms	3	Bedrooms	1	Bath(s)	1,073	Square Feet of Gross Living Area
Unit # 2 contains:	5	Rooms	2	Bedrooms	1	Bath(s)	1,073	Square Feet of Gross Living Area
Unit # 3 contains:	4	Rooms	2	Bedrooms	1	Bath(s)	805	Square Feet of Gross Living Area
Unit # 4 contains:	4	Rooms	2	Bedrooms	1	Bath(s)	899	Square Feet of Gross Living Area

Additional features (special energy efficient items, etc.). None Noted.

Describe the condition of the property (including needed repairs, deterioration, renovations, remodeling, etc.). Subject is in overall good condition. New roof shingles-1yr; baths remodeled units #2 and #3-1 yr; bath remodeled unit #1-10 yrs.

Form 1025 - "TOTAL" appraisal software by a la mode, inc. - 1-800-ALAMODE

Small Residential Income Property Appraisal Report

File # BPP3603950

IMPROVEMENTS

Are there any physical deficiencies or adverse conditions that affect the livability, soundness, or structural integrity of the property? ☐ Yes ☒ No If Yes, describe.

Does the property generally conform to the neighborhood (functional utility, style, condition, use, construction, etc.)? ☒ Yes ☐ No If No, describe.

Is the property subject to rent control? ☐ Yes ☒ No If Yes, describe

COMPARABLE RENTAL DATA

The following properties represent the most current, similar, and proximate comparable rental properties to the subject property. This analysis is intended to support the opinion of the market rent for the subject property.

FEATURE	SUBJECT	COMPARABLE RENTAL # 1	COMPARABLE RENTAL # 2	COMPARABLE RENTAL # 3
Address	55 Kiley St North Providence, RI 02911	33 Redfern St North Providence, RI 02911	1452 Mineral Spring Ave North Providence, RI 02904	45 Byron St North Providence, RI 02911
Proximity to Subject		0.99 miles NW	2.23 miles NE	0.76 miles NW
Current Monthly Rent	$ 6,400	$ 4,275	$ 2,400	$ 1,800
Rent/Gross Bldg. Area	$ 1.66 sq.ft.	$ 1.60 sq.ft.	$ 0.90 sq.ft.	$ 1.07 sq.ft.
Rent Control	☐ Yes ☒ No	☐ Yes ☒ No	☐ Yes ☒ No	☐ Yes ☒ No
Data Source(s)	Owner	STWMLS#1377436	STWMLS#1378372	STWMLS#1376990
Date of Lease(s)	01/26/-27	Lease Dates Unknown	TAW/TAW	TAW/TAW
Location	Residential	Residential	Resid/Busy Road	Residential
Actual Age	106	120	106	116
Condition	C3	C3	C3	C3
Gross Building Area	3,850	2,676	2,674	1,684

Unit Breakdown	Rm Count Tot	Rm Count Br	Rm Count Ba	Size Sq. Ft.	Rm Count Tot	Rm Count Br	Rm Count Ba	Size Sq. Ft.	Monthly Rent	Rm Count Tot	Rm Count Br	Rm Count Ba	Size Sq. Ft.	Monthly Rent	Rm Count Tot	Rm Count Br	Rm Count Ba	Size Sq. Ft.	Monthly Rent
				3,850				2,676	4,275				2,674	2,400				1,684	1,800
Unit # 1	5	3	1	1,073	6	2	1	892	$ 1,500	6	3	1	1,365	$ 0	5	2	1	842	$ 0
Unit # 2	5	2	1	1,073	6	2	1	892	$ 1,500	6	3	1	1,309	$ 2,400	5	2	1	842	$ 1,800
Unit # 3	4	2	1	805	6	2	1	892	$ 1,275					$					$
Unit # 4	4	2	1	899					$					$					$
Utilities Included	Water & Sewer				Water & Sewer					Water & Sewer					Water & Sewer				

Analysis of rental data and support for estimated market rents for the individual subject units reported below (including the adequacy of the comparables, rental concessions, etc.) The comparables were chosen for their similarity to the subject in Gross Building Area, condition, lot size and room counts as well as other amenities usually found in an active rental market. No rental concessions were made. All comparables are from similar or competing neighborhoods. Rents range from $1275 to $2400 per month. After reviewing the information obtained from this and prior rent surveys, it is the appraiser's estimate that the market rent for the subject is in the $6900 per month range, unfurnished.

SUBJECT RENT SCHEDULE

Rent Schedule: The appraiser must reconcile the applicable indicated monthly market rents to provide an opinion of the market rent for each unit in the subject property.

Leases			Actual Rents			Opinion of Market Rent		
	Lease Date		Per Unit		Total	Per Unit		Total
Unit #	Begin Date	End Date	Unfurnished	Furnished	Rents	Unfurnished	Furnished	Rents
1	01/26	12/26	$ 1,800	$	$ 1,800	$ 2,000	$	$ 2,000
2	01/26	12/26	1,700		1,700	1,800		1,800
3	01/26	12/26	1,600		1,600	1,700		1,700
4	01/26	12/26	1,300		1,300	1,400		1,400
Comment on lease data	Provided by Owner		Total Actual Monthly Rent		$ 6,400	Total Gross Monthly Rent		$ 6,900
			Other Monthly Income (itemize)		$	Other Monthly Income (itemize)		$
			Total Actual Monthly Income		$ 6,400	Total Estimated Monthly Income		$ 6,900

Utilities included in estimated rents ☐ Electric ☒ Water ☒ Sewer ☐ Gas ☐ Oil ☐ Trash collection ☐ Cable ☐ Other

Comments on actual or estimated rents and other monthly income (including personal property) The estimated market rents are within the area economic rentals as demonstrated by the comparable rental data.
Unit #1 and Unit #2 share the cost of heat and hot water

PRIOR SALE HISTORY

I ☒ did ☐ did not research the sale or transfer history of the subject property and comparable sales. If not, explain

My research ☐ did ☒ did not reveal any prior sales or transfers of the subject property for the three years prior to the effective date of this appraisal.

Data Source(s) STWMLS/Public Records

My research ☐ did ☒ did not reveal any prior sales or transfers of the comparable sales for the year prior to the date of sale of the comparable sale.

Data Source(s) STWMLS/Public Records

Report the results of the research and analysis of the prior sale or transfer history of the subject property and comparable sales (report additional prior sales on page 3).

ITEM	SUBJECT	COMPARABLE SALE # 1	COMPARABLE SALE # 2	COMPARABLE SALE # 3
Date of Prior Sale/Transfer				
Price of Prior Sale/Transfer				
Data Source(s)	STWMLS/Public Records	STWMLS/Public Records	STWMLS/Public Records	STWMLS/Public Records
Effective Date of Data Source(s)	02/27/2026	02/27/2026	02/27/2026	02/27/2026

Analysis of prior sale or transfer history of the subject property and comparable sales

Form 1025 - "TOTAL" appraisal software by a la mode, inc. - 1-800-ALAMODE

Small Residential Income Property Appraisal Report

File # BPP3603950

There are 2 comparable properties currently offered for sale in the subject neighborhood ranging in price from $ 599,900 to $ 995,000 .

There are 4 comparable sales in the subject neighborhood within the past twelve months ranging in sale price from $ 527,000 to $ 750,000 .

SALES COMPARISON APPROACH

FEATURE	SUBJECT	COMPARABLE SALE # 1		COMPARABLE SALE # 2		COMPARABLE SALE # 3	
Address	55 Kiley St North Providence, RI 02911	13 Dickinson Ave North Providence, RI 02904		129 Academy Ave Providence, RI 02908		78 Academy Ave Providence, RI 02908	
Proximity to Subject		3.32 miles NE		1.90 miles SE		1.95 miles SE	
Sale Price	$		$ 625,000		$ 675,000		$ 585,000
Sale Price/Gross Bldg. Area	$ sq.ft.	$ 211.43 sq.ft.		$ 145.54 sq.ft.		$ 144.80 sq.ft.	
Gross Monthly Rent	$ 6,900	$ 5,300		$ 0		$ 0	
Gross Rent Multiplier		117.92					
Price per Unit	$	$ 156,250		$ 168,750		$ 146,250	
Price per Room	$	$ 34,722		$ 67,500		$ 32,500	
Price per Bedroom	$	$ 104,167		$ 112,500		$ 65,000	
Rent Control	☐ Yes ☒ No	☐ Yes ☒ No		☐ Yes ☒ No		☐ Yes ☒ No	
Data Source(s)		STWMLS#1366593 DOM 45		STWMLS#1390032 DOM 8		STWMLS#1394127 DOM 44	
Verification Source(s)		Public Records		Public Records		Public Records	
VALUE ADJUSTMENTS	DESCRIPTION	DESCRIPTION	+(–) Adjustment	DESCRIPTION	+(–) Adjustment	DESCRIPTION	+(–) Adjustment
Sale or Financing		FHA		Conventional		Cash	
Concessions		0		$7,500	-7,500	0	
Date of Sale/Time		s12/24c11/24		s10/25c07/25		s11/25c10/25	
Location	Residential	Residential		Resid/Busy Rd	+31,100	Resid/Busy Rd	+26,900
Leasehold/Fee Simple	Fee Simple	Fee Simple		Fee Simple		Fee Simple	
Site	8,400 sf	5,009 sf	+5,100	4,356 sf	+6,100	3,485 sf	+7,400
View	Neighborhood	Neighborhood		Neighborhood		Neighborhood	
Design (Style)	4 Family	4 Family		4 Family		4 Family	
Quality of Construction	Q4	Q4		Q4		Q4	
Actual Age	106	117		126		106	
Condition	C3	C3		C4	+42,500	C4	+36,900
Gross Building Area	3,850	2,956	+34,900	4,638	-30,700	4,040	-7,400
Unit Breakdown	Total / Bdrms / Baths	Total / Bdrms / Baths		Total / Bdrms / Baths		Total / Bdrms / Baths	
Unit # 1	5 / 3 / 1	5 / 2 / 1	+6,000	3 / 1 / 2	+3,000	5 / 3 / 1	
Unit # 2	5 / 2 / 1	5 / 2 / 1		2 / 1 / 1	+6,000	5 / 3 / 1	-6,000
Unit # 3	4 / 2 / 1	4 / 1 / 1	+6,000	2 / 1 / 1	+6,000	4 / 2 / 1	
Unit # 4	4 / 2 / 1	4 / 1 / 1	+6,000	3 / 3 / 2	-15,000	4 / 1 / 1	+6,000
Basement Description	Partial	Full		Full		Full	
Basement Finished Rooms	0	0		0		0	
Functional Utility	Typical	Typical		Typical		Typical	
Heating/Cooling	Central/None	Central/None		Central/None		Central/None	
Energy Efficient Items	None Noted	None Noted		None Noted		None Noted	
Parking On/Off Site	On Site/Off Site	On Site/Off Site		Off Site		On Site/Off Site	
Porch/Patio/Deck	Porches/Deck/Pat	None		Porch/Patio		2 Porches	
Garage	None	None		None		None	
Net Adjustment (Total)		☒ + ☐ –	$ 58,000	☒ + ☐ –	$ 41,500	☒ + ☐ –	$ 63,800
Adjusted Sale Price of Comparables		Net Adj. 9.3 % Gross Adj. 9.3 %	$ 683,000	Net Adj. 6.1 % Gross Adj. 21.9 %	$ 716,500	Net Adj. 10.9 % Gross Adj. 15.5 %	$ 648,800
Adjusted Price Per Unit (Adj. SP Comp / # of Comp Units)		$ 170,750		$ 179,125		$ 162,200	
Adjusted Price Per Room (Adj. SP Comp / # of Comp Rooms)		$ 37,944		$ 71,650		$ 36,044	
Adjusted Price Per Bedrm (Adj. SP Comp / # of Comp Bedrooms)		$ 113,833		$ 119,417		$ 72,089	

Value per Unit $ 170,000 X 4 Units = $ 680,000 Value per GBA $ 180 X 3,850 GBA = $ 693,000

Value per Rm. $ 38,000 X 18 Rooms = $ 684,000 Value per Bdrms. $ 80,000 X 9 Bdrms. = $ 720,000

Summary of Sales Comparison Approach including reconciliation of the above indicators of value. All adjustments were determined using paired set analysis, regression, allocation based on MLS statistics:
GBA $39 per sf in excess of 100 sf; site $1.50 per sf for significant difference in size; full baths $9000 and bedrooms $6000. Based on secondary data, comparable #2 adjusted 6.3% for condition and comparables #2 and #3 adjusted 4.6% for location. For other features not adjusted, no supportable adjustment could be determined.

Indicated Value by Sales Comparison Approach $ 670,000

INCOME

Total gross monthly rent $ 6,900 X gross rent multiplier (GRM) 118 = $ 814,200 Indicated value by the Income Approach

Comments on income approach including reconciliation of the GRM Due to the lack of GRM data, this result is not supportable.

RECONCILIATION

Indicated Value by: Sales Comparison Approach $ 670,000 **Income Approach $** 814,200 **Cost Approach (if developed) $**

All three approaches were considered. The cost approach was not developed due to the age of the structure. The income approach was developed but deemed inadequate. All weight placed on the sales comparison approach with comparable #1 providing support for location, comparable #2 for proximity & date of sale and comparable #3 for proximity, date of sale and bedroom count.

This appraisal is made ☒ "as is", ☐ subject to completion per plans and specifications on the basis of a hypothetical condition that the improvements have been completed, ☐ subject to the following repairs or alterations on the basis of a hypothetical condition that the repairs or alterations have been completed, or ☐ subject to the following required inspection based on the extraordinary assumption that the condition or deficiency does not require alteration or repair:

Based on a complete visual inspection of the interior and exterior areas of the subject property, defined scope of work, statement of assumptions and limiting conditions, and appraiser's certification, my (our) opinion of the market value, as defined, of the real property that is the subject of this report is $ 670,000 **, as of** 02/27/2026 **, which is the date of inspection and the effective date of this appraisal.**

Form 1025 - "TOTAL" appraisal software by a la mode, inc. - 1-800-ALAMODE

Small Residential Income Property Appraisal Report

File # BPP3603950

SALES COMPARISON APPROACH

FEATURE	SUBJECT	COMPARABLE SALE # 4		COMPARABLE SALE # 5		COMPARABLE SALE # 6	
Address	55 Kiley St North Providence, RI 02911	1548 Smith St North Providence, RI 02911					
Proximity to Subject		0.77 miles NE					
Sale Price	$		$ 799,000		$		$
Sale Price/Gross Bldg. Area	$ sq.ft.	$ 184.74 sq.ft.		$ sq.ft.		$ sq.ft.	
Gross Monthly Rent	$ 6,900	$ 6,500		$		$	
Gross Rent Multiplier		122.92					
Price per Unit	$	$ 199,750		$		$	
Price per Room	$	$ 39,950		$		$	
Price per Bedroom	$	$ 99,875		$		$	
Rent Control	☐ Yes ☒ No	☐ Yes ☒ No		☐ Yes ☐ No		☐ Yes ☐ No	
Data Source(s)		STWMLS#1401739 DOM 6					
Verification Source(s)		Tax Assessor					
VALUE ADJUSTMENTS	DESCRIPTION	DESCRIPTION	+(–) Adjustment	DESCRIPTION	+(–) Adjustment	DESCRIPTION	+(–) Adjustment
Sale or Financing		Listing					
Concessions		0					
Date of Sale/Time		c12/25					
Location	Residential	Resid/Busy Rd	+36,800				
Leasehold/Fee Simple	Fee Simple	Fee Simple					
Site	8,400 sf	9,923 sf					
View	Neighborhood	Neighborhood					
Design (Style)	4 Family	4 Family					
Quality of Construction	Q4	Q4					
Actual Age	106	106					
Condition	C3	C3					
Gross Building Area	3,850	4,325	-18,500				
Unit Breakdown	Total / Bdrms / Baths	Total / Bdrms / Baths		Total / Bdrms / Baths		Total / Bdrms / Baths	
Unit # 1	5 / 3 / 1	5 / 2 / 1	+6,000				
Unit # 2	5 / 2 / 1	5 / 2 / 1					
Unit # 3	4 / 2 / 1	5 / 2 / 1					
Unit # 4	4 / 2 / 1	5 / 2 / 1.1	-5,500				
Basement Description	174 Sq.Ft.	Full					
Basement Finished Rooms	0	0					
Functional Utility	Typical	Typical					
Heating/Cooling	Central/None	Central/None					
Energy Efficient Items	None Noted	None Noted					
Parking On/Off Site	On Site/Off Site	On Site/Off Site					
Porch/Patio/Deck	Porches/Deck/Pat	Porch					
Garage	None	None					
Net Adjustment (Total)		☒ + ☐ –	$ 18,800	☐ + ☐ –	$	☐ + ☐ –	$
Adjusted Sale Price		Net Adj. 2.4 %		Net Adj. %		Net Adj. %	
of Comparables		Gross Adj. 8.4 %	$ 817,800	Gross Adj. %	$	Gross Adj. %	$
Adjusted Price Per Unit (Adj. SP Comp / # of Comp Units)		$ 204,450		$		$	
Adjusted Price Per Room (Adj. SP Comp / # of Comp Rooms)		$ 40,890		$		$	
Adjusted Price Per Bedrm (Adj. SP Comp / # of Comp Bedrooms)		$ 102,225		$		$	

SALE HISTORY

Report the results of the research and analysis of the prior sale or transfer history of the subject property and comparable sales (report additional prior sales on page 3).

ITEM	SUBJECT	COMPARABLE SALE # 4	COMPARABLE SALE # 5	COMPARABLE SALE # 6
Date of Prior Sale/Transfer				
Price of Prior Sale/Transfer				
Data Source(s)	STWMLS/Public Records	STWMLS/Public Records		
Effective Date of Data Source(s)	02/27/2026	02/27/2026		

Analysis of prior sale or transfer history of the subject property and comparable sales

ANALYSIS / COMMENTS

Analysis/Comments

Form 1025.(AC) - "TOTAL" appraisal software by a la mode, inc. - 1-800-ALAMODE

ADDITIONAL COMMENTS

COMMENTS REGARDING THE COST APPROACH

The Cost Approach was not developed due to the age of the structure resulting in the inability to determine a supportable depreciation amount.

All utilities were on and functioning at the time of observation.

COMMENT ON SUBJECT'S LEGAL STATUS

Per Michael Campagnone, Building Official at the Town of North Providence, subject is a legal 4 family.

COMMENT ON COMPARABLE SALES

During the past 12 months, there have been no 4 family sales in North Providence. Therefore, in order to show marketability in the town, an older sale was utilized. Again, due to limited sales going back 2 years, it was not possible to establish a supportable time adjustment. It was necessary to use comparables from the adjoining and competing City of Providence. One comparable 4 family listing was found in North Providence.

COST APPROACH

COST APPROACH TO VALUE (not required by Fannie Mae)

Provide adequate information for the lender/client to replicate the below cost figures and calculations.

Support for the opinion of site value (summary of comparable land sales or other methods for estimating site value): Site value determined by analysis of land sales.

ESTIMATED ☐ REPRODUCTION OR ☐ REPLACEMENT COST NEW	OPINION OF SITE VALUE			=$ 180,000
Source of cost data	DWELLING	Sq.Ft. @ $		=$
Quality rating from cost service / Effective date of cost data		Sq.Ft. @ $		=$
Comments on Cost Approach (gross building area calculations, depreciation, etc.)				=$
	Garage/Carport	Sq.Ft. @ $		=$
	Total Estimate of Cost-New			=$
	Less	Physical	Functional	External
	Depreciation			=$( )
	Depreciated Cost of Improvements			=$
	"As-is" Value of Site Improvements			=$
Estimated Remaining Economic Life (HUD and VA only) 40 Years	**INDICATED VALUE BY COST APPROACH**			**=$**

PUD INFORMATION

PROJECT INFORMATION FOR PUDs (if applicable)

Is the developer/builder in control of the Homeowners' Association (HOA)? ☐ Yes ☐ No Unit type(s) ☐ Detached ☐ Attached

Provide the following information for PUDs ONLY if the developer/builder is in control of the HOA and the subject property is an attached dwelling unit.

Legal Name of Project

Total number of phases | Total number of units | Total number of units sold

Total number of units rented | Total number of units for sale | Data source(s)

Was the project created by the conversion of existing building(s) into a PUD? ☐ Yes ☐ No If Yes, date of conversion.

Does the project contain any multi-dwelling units? ☐ Yes ☐ No Data Source

Are the units, common elements, and recreation facilities complete? ☐ Yes ☐ No If No, describe the status of completion.

Are the common elements leased to or by the Homeowners' Association? ☐ Yes ☐ No If Yes, describe the rental terms and options.

Describe common elements and recreational facilities.

Form 1025 - "TOTAL" appraisal software by a la mode, inc. - 1-800-ALAMODE

This report form is designed to report an appraisal of a two- to four-unit property, including a two- to four-unit property in a planned unit development (PUD). A two- to four-unit property located in either a condominium or cooperative project requires the appraiser to inspect the project and complete the project information section of the Individual Condominium Unit Appraisal Report or the Individual Cooperative Interest Appraisal Report and attach it as an addendum to this report.

This appraisal report is subject to the following scope of work, intended use, intended user, definition of market value, statement of assumptions and limiting conditions, and certifications. Modifications, additions, or deletions to the intended use, intended user, definition of market value, or assumptions and limiting conditions are not permitted. The appraiser may expand the scope of work to include any additional research or analysis necessary based on the complexity of this appraisal assignment. Modifications or deletions to the certifications are also not permitted. However, additional certifications that do not constitute material alterations to this appraisal report, such as those required by law or those related to the appraiser's continuing education or membership in an appraisal organization, are permitted.

SCOPE OF WORK: The scope of work for this appraisal is defined by the complexity of this appraisal assignment and the reporting requirements of this appraisal report form, including the following definition of market value, statement of assumptions and limiting conditions, and certifications. The appraiser must, at a minimum: (1) perform a complete visual inspection of the interior and exterior areas of the subject property, (2) inspect the neighborhood, (3) inspect each of the comparable sales from at least the street, (4) research, verify, and analyze data from reliable public and/or private sources, and (5) report his or her analysis, opinions, and conclusions in this appraisal report.

INTENDED USE: The intended use of this appraisal report is for the lender/client to evaluate the property that is the subject of this appraisal for a mortgage finance transaction.

INTENDED USER: The intended user of this appraisal report is the lender/client.

DEFINITION OF MARKET VALUE: The most probable price which a property should bring in a competitive and open market under all conditions requisite to a fair sale, the buyer and seller, each acting prudently, knowledgeably and assuming the price is not affected by undue stimulus. Implicit in this definition is the consummation of a sale as of a specified date and the passing of title from seller to buyer under conditions whereby: (1) buyer and seller are typically motivated; (2) both parties are well informed or well advised, and each acting in what he or she considers his or her own best interest; (3) a reasonable time is allowed for exposure in the open market; (4) payment is made in terms of cash in U. S. dollars or in terms of financial arrangements comparable thereto; and (5) the price represents the normal consideration for the property sold unaffected by special or creative financing or sales concessions* granted by anyone associated with the sale.

*Adjustments to the comparables must be made for special or creative financing or sales concessions. No adjustments are necessary for those costs which are normally paid by sellers as a result of tradition or law in a market area; these costs are readily identifiable since the seller pays these costs in virtually all sales transactions. Special or creative financing adjustments can be made to the comparable property by comparisons to financing terms offered by a third party institutional lender that is not already involved in the property or transaction. Any adjustment should not be calculated on a mechanical dollar for dollar cost of the financing or concession but the dollar amount of any adjustment should approximate the market's reaction to the financing or concessions based on the appraiser's judgment.

STATEMENT OF ASSUMPTIONS AND LIMITING CONDITIONS: The appraiser's certification in this report is subject to the following assumptions and limiting conditions:

1. The appraiser will not be responsible for matters of a legal nature that affect either the property being appraised or the title to it, except for information that he or she became aware of during the research involved in performing this appraisal. The appraiser assumes that the title is good and marketable and will not render any opinions about the title.

2. The appraiser has provided a sketch in this appraisal report to show the approximate dimensions of the improvements, including each of the units. The sketch is included only to assist the reader in visualizing the property and understanding the appraiser's determination of its size.

3. The appraiser has examined the available flood maps that are provided by the Federal Emergency Management Agency (or other data sources) and has noted in this appraisal report whether any portion of the subject site is located in an identified Special Flood Hazard Area. Because the appraiser is not a surveyor, he or she makes no guarantees, express or implied, regarding this determination.

4. The appraiser will not give testimony or appear in court because he or she made an appraisal of the property in question, unless specific arrangements to do so have been made beforehand, or as otherwise required by law.

5. The appraiser has noted in this appraisal report any adverse conditions (such as needed repairs, deterioration, the presence of hazardous wastes, toxic substances, etc.) observed during the inspection of the subject property or that he or she became aware of during the research involved in performing this appraisal. Unless otherwise stated in this appraisal report, the appraiser has no knowledge of any hidden or unapparent physical deficiencies or adverse conditions of the property (such as, but not limited to, needed repairs, deterioration, the presence of hazardous wastes, toxic substances, adverse environmental conditions, etc.) that would make the property less valuable, and has assumed that there are no such conditions and makes no guarantees or warranties, express or implied. The appraiser will not be responsible for any such conditions that do exist or for any engineering or testing that might be required to discover whether such conditions exist. Because the appraiser is not an expert in the field of environmental hazards, this appraisal report must not be considered as an environmental assessment of the property.

6. The appraiser has based his or her appraisal report and valuation conclusion for an appraisal that is subject to satisfactory completion, repairs, or alterations on the assumption that the completion, repairs, or alterations of the subject property will be performed in a professional manner.

Form 1025 - "TOTAL" appraisal software by a la mode, inc. - 1-800-ALAMODE

APPRAISER'S CERTIFICATION: The Appraiser certifies and agrees that:

1. I have, at a minimum, developed and reported this appraisal in accordance with the scope of work requirements stated in this appraisal report.

2. I performed a complete visual inspection of the interior and exterior areas of the subject property, including all units. I reported the condition of the improvements in factual, specific terms. I identified and reported the physical deficiencies that could affect the livability, soundness, or structural integrity of the property.

3. I performed this appraisal in accordance with the requirements of the Uniform Standards of Professional Appraisal Practice that were adopted and promulgated by the Appraisal Standards Board of The Appraisal Foundation and that were in place at the time this appraisal report was prepared.

4. I developed my opinion of the market value of the real property that is the subject of this report based on the sales comparison and income approaches to value. I have adequate market data to develop reliable sales comparison and income approaches to value for this appraisal assignment. I further certify that I considered the cost approach to value but did not develop it, unless otherwise indicated in this report.

5. I researched, verified, analyzed, and reported on any current agreement for sale for the subject property, any offering for sale of the subject property in the twelve months prior to the effective date of this appraisal, and the prior sales of the subject property for a minimum of three years prior to the effective date of this appraisal, unless otherwise indicated in this report.

6. I researched, verified, analyzed, and reported on the prior sales of the comparable sales for a minimum of one year prior to the date of sale of the comparable sale, unless otherwise indicated in this report.

7. I selected and used comparable sales that are locationally, physically, and functionally the most similar to the subject property.

8. I have not used comparable sales that were the result of combining a land sale with the contract purchase price of a home that has been built or will be built on the land.

9. I have reported adjustments to the comparable sales that reflect the market's reaction to the differences between the subject property and the comparable sales.

10. I verified, from a disinterested source, all information in this report that was provided by parties who have a financial interest in the sale or financing of the subject property.

11. I have knowledge and experience in appraising this type of property in this market area.

12. I am aware of, and have access to, the necessary and appropriate public and private data sources, such as multiple listing services, tax assessment records, public land records and other such data sources for the area in which the property is located.

13. I obtained the information, estimates, and opinions furnished by other parties and expressed in this appraisal report from reliable sources that I believe to be true and correct.

14. I have taken into consideration the factors that have an impact on value with respect to the subject neighborhood, subject property, and the proximity of the subject property to adverse influences in the development of my opinion of market value. I have noted in this appraisal report any adverse conditions (such as, but not limited to, needed repairs, deterioration, the presence of hazardous wastes, toxic substances, adverse environmental conditions, etc.) observed during the inspection of the subject property or that I became aware of during the research involved in performing this appraisal. I have considered these adverse conditions in my analysis of the property value, and have reported on the effect of the conditions on the value and marketability of the subject property.

15. I have not knowingly withheld any significant information from this appraisal report and, to the best of my knowledge, all statements and information in this appraisal report are true and correct.

16. I stated in this appraisal report my own personal, unbiased, and professional analysis, opinions, and conclusions, which are subject only to the assumptions and limiting conditions in this appraisal report.

17. I have no present or prospective interest in the property that is the subject of this report, and I have no present or prospective personal interest or bias with respect to the participants in the transaction. I did not base, either partially or completely, my analysis and/or opinion of market value in this appraisal report on the race, color, religion, sex, age, marital status, handicap, familial status, or national origin of either the prospective owners or occupants of the subject property or of the present owners or occupants of the properties in the vicinity of the subject property or on any other basis prohibited by law.

18. My employment and/or compensation for performing this appraisal or any future or anticipated appraisals was not conditioned on any agreement or understanding, written or otherwise, that I would report (or present analysis supporting) a predetermined specific value, a predetermined minimum value, a range or direction in value, a value that favors the cause of any party, or the attainment of a specific result or occurrence of a specific subsequent event (such as approval of a pending mortgage loan application).

19. I personally prepared all conclusions and opinions about the real estate that were set forth in this appraisal report. If I relied on significant real property appraisal assistance from any individual or individuals in the performance of this appraisal or the preparation of this appraisal report, I have named such individual(s) and disclosed the specific tasks performed in this appraisal report. I certify that any individual so named is qualified to perform the tasks. I have not authorized anyone to make a change to any item in this appraisal report; therefore, any change made to this appraisal is unauthorized and I will take no responsibility for it.

20. I identified the lender/client in this appraisal report who is the individual, organization, or agent for the organization that ordered and will receive this appraisal report.

Form 1025 - "TOTAL" appraisal software by a la mode, inc. - 1-800-ALAMODE

21. The lender/client may disclose or distribute this appraisal report to: the borrower; another lender at the request of the borrower; the mortgagee or its successors and assigns; mortgage insurers; government sponsored enterprises; other secondary market participants; data collection or reporting services; professional appraisal organizations; any department, agency, or instrumentality of the United States; and any state, the District of Columbia, or other jurisdictions; without having to obtain the appraiser's or supervisory appraiser's (if applicable) consent. Such consent must be obtained before this appraisal report may be disclosed or distributed to any other party (including, but not limited to, the public through advertising, public relations, news, sales, or other media).

22. I am aware that any disclosure or distribution of this appraisal report by me or the lender/client may be subject to certain laws and regulations. Further, I am also subject to the provisions of the Uniform Standards of Professional Appraisal Practice that pertain to disclosure or distribution by me.

23. The borrower, another lender at the request of the borrower, the mortgagee or its successors and assigns, mortgage insurers, government sponsored enterprises, and other secondary market participants may rely on this appraisal report as part of any mortgage finance transaction that involves any one or more of these parties.

24. If this appraisal report was transmitted as an "electronic record" containing my "electronic signature," as those terms are defined in applicable federal and/or state laws (excluding audio and video recordings), or a facsimile transmission of this appraisal report containing a copy or representation of my signature, the appraisal report shall be as effective, enforceable and valid as if a paper version of this appraisal report were delivered containing my original hand written signature.

25. Any intentional or negligent misrepresentation(s) contained in this appraisal report may result in civil liability and/or criminal penalties including, but not limited to, fine or imprisonment or both under the provisions of Title 18, United States Code, Section 1001, et seq., or similar state laws.

SUPERVISORY APPRAISER'S CERTIFICATION: The Supervisory Appraiser certifies and agrees that:

1. I directly supervised the appraiser for this appraisal assignment, have read the appraisal report, and agree with the appraiser's analysis, opinions, statements, conclusions, and the appraiser's certification.

2. I accept full responsibility for the contents of this appraisal report including, but not limited to, the appraiser's analysis, opinions, statements, conclusions, and the appraiser's certification.

3. The appraiser identified in this appraisal report is either a sub-contractor or an employee of the supervisory appraiser (or the appraisal firm), is qualified to perform this appraisal, and is acceptable to perform this appraisal under the applicable state law.

4. This appraisal report complies with the Uniform Standards of Professional Appraisal Practice that were adopted and promulgated by the Appraisal Standards Board of The Appraisal Foundation and that were in place at the time this appraisal report was prepared.

5. If this appraisal report was transmitted as an "electronic record" containing my "electronic signature," as those terms are defined in applicable federal and/or state laws (excluding audio and video recordings), or a facsimile transmission of this appraisal report containing a copy or representation of my signature, the appraisal report shall be as effective, enforceable and valid as if a paper version of this appraisal report were delivered containing my original hand written signature.

APPRAISER

Signature
Name Joseph Durette
Company Name Durette Appraisals, Inc.
Company Address 78 Briarcliffe Rd, Cranston, RI 02910-4814

Telephone Number (401) 952-3736
Email Address duretteappraisals@gmail.com
Date of Signature and Report 03/04/2026
Effective Date of Appraisal 02/27/2026
State Certification # CRA.0A00589
or State License #
or Other (describe) State #
State RI
Expiration Date of Certification or License 10/04/2027

ADDRESS OF PROPERTY APPRAISED
55 Kiley St
North Providence, RI 02911

APPRAISED VALUE OF SUBJECT PROPERTY $ 670,000

LENDER/CLIENT
Name Fastapp
Company Name Beach Park Partners, LLC
Company Address 500 N Westshore Blvd Ste 960, Tampa, FL 33609
Email Address

SUPERVISORY APPRAISER (ONLY IF REQUIRED)

Signature
Name
Company Name
Company Address

Telephone Number
Email Address
Date of Signature
State Certification #
or State License #
State
Expiration Date of Certification or License

SUBJECT PROPERTY

☐ Did not inspect subject property
☐ Did inspect exterior of subject property from street
Date of Inspection
☐ Did inspect interior and exterior of subject property
Date of Inspection

COMPARABLE SALES

☐ Did not inspect exterior of comparable sales from street
☐ Did inspect exterior of comparable sales from street
Date of Inspection

Form 1025 - "TOTAL" appraisal software by a la mode, inc. - 1-800-ALAMODE

Market Conditions Addendum to the Appraisal Report

File No. BPP3603950

The purpose of this addendum is to provide the lender/client with a clear and accurate understanding of the market trends and conditions prevalent in the subject neighborhood. This is a required addendum for all appraisal reports with an effective date on or after April 1, 2009.

Property Address 55 Kiley St City North Providence State RI ZIP Code 02911

Borrower Golden Key Realty, LLC

Instructions: The appraiser must use the information required on this form as the basis for his/her conclusions, and must provide support for those conclusions, regarding housing trends and overall market conditions as reported in the Neighborhood section of the appraisal report form. The appraiser must fill in all the information to the extent it is available and reliable and must provide analysis as indicated below. If any required data is unavailable or is considered unreliable, the appraiser must provide an explanation. It is recognized that not all data sources will be able to provide data for the shaded areas below; if it is available, however, the appraiser must include the data in the analysis. If data sources provide the required information as an average instead of the median, the appraiser should report the available figure and identify it as an average. Sales and listings must be properties that compete with the subject property, determined by applying the criteria that would be used by a prospective buyer of the subject property. The appraiser must explain any anomalies in the data, such as seasonal markets, new construction, foreclosures, etc.

MARKET RESEARCH & ANALYSIS

Inventory Analysis	Prior 7–12 Months	Prior 4–6 Months	Current – 3 Months	Overall Trend		
Total # of Comparable Sales (Settled)	2	2	0	☐ Increasing	☐ Stable	☒ Declining
Absorption Rate (Total Sales/Months)	0.33	0.67	0.00	☐ Increasing	☐ Stable	☒ Declining
Total # of Comparable Active Listings	0	2	2	☐ Declining	☒ Stable	☐ Increasing
Months of Housing Supply (Total Listings/Ab.Rate)	0.00	3.0	-	☐ Declining	☐ Stable	☐ Increasing

Median Sale & List Price, DOM, Sale/List %	Prior 7–12 Months	Prior 4–6 Months	Current – 3 Months	Overall Trend		
Median Comparable Sale Price	$638,500	$630,000	-	☐ Increasing	☒ Stable	☐ Declining
Median Comparable Sales Days on Market	30	26	-	☐ Declining	☒ Stable	☐ Increasing
Median Comparable List Price	-	$599,900	$797,450	☒ Increasing	☐ Stable	☐ Declining
Median Comparable Listings Days on Market	-	41	86	☐ Declining	☐ Stable	☒ Increasing
Median Sale Price as % of List Price	100.55%	95.00%	-	☐ Increasing	☒ Stable	☐ Declining
Seller-(developer, builder, etc.)paid financial assistance prevalent?	☒ Yes ☐ No			☐ Declining	☒ Stable	☐ Increasing

Explain in detail the seller concessions trends for the past 12 months (e.g., seller contributions increased from 3% to 5%, increasing use of buydowns, closing costs, condo fees, options, etc.). Concessions range from $2000 to $15,000.

Are foreclosure sales (REO sales) a factor in the market? ☐ Yes ☒ No If yes, explain (including the trends in listings and sales of foreclosed properties).

The State Wide MLS of Rhode Island, Inc. MLS reported no foreclosures or short sales between 02/27/2025 and 02/27/2026.

Cite data sources for above information. The Market Conditions Addenda was completed with data from State Wide MLS of Rhode Island, Inc. MLS with an effective date of 02/27/2026.

Summarize the above information as support for your conclusions in the Neighborhood section of the appraisal report form. If you used any additional information, such as an analysis of pending sales and/or expired and withdrawn listings, to formulate your conclusions, provide both an explanation and support for your conclusions.

Low inventory of homes with stable prices.

CONDO/CO-OP PROJECTS

If the subject is a unit in a condominium or cooperative project , complete the following: **Project Name:**

Subject Project Data	Prior 7–12 Months	Prior 4–6 Months	Current – 3 Months	Overall Trend		
Total # of Comparable Sales (Settled)				☐ Increasing	☐ Stable	☐ Declining
Absorption Rate (Total Sales/Months)				☐ Increasing	☐ Stable	☐ Declining
Total # of Active Comparable Listings				☐ Declining	☐ Stable	☐ Increasing
Months of Unit Supply (Total Listings/Ab.Rate)				☐ Declining	☐ Stable	☐ Increasing

Are foreclosure sales (REO sales) a factor in the project? ☐ Yes ☐ No If yes, indicate the number of REO listings and explain the trends in listings and sales of foreclosed properties.

Summarize the above trends and address the impact on the subject unit and project.

APPRAISER

Signature		Signature	
Appraiser Name	Joseph Durette	Supervisory Appraiser Name	
Company Name	Durette Appraisals, Inc.	Company Name	
Company Address	78 Briarcliffe Rd, Cranston, RI 02910-4814	Company Address	
State License/Certification #	CRA.0A00589 State RI	State License/Certification #	State
Email Address	duretteappraisals@gmail.com	Email Address	

Form 1004MC2 - "TOTAL" appraisal software by a la mode, inc. - 1-800-ALAMODE

Supplemental Addendum

File No. BPP3603950

Borrower	Golden Key Realty, LLC						
Property Address	55 Kiley St						
City	North Providence	County	Providence	State	RI	Zip Code	02911
Lender/Client	Beach Park Partners, LLC						

COMMENT ON APPRAISER'S CERTIFICATION #23
The Intended User of this appraisal report is the Lender/Client. The Intended Use is to evaluate the property that is the subject of this appraisal for a mortgage finance transaction, subject to the stated Scope of Work, purpose of the appraisal, reporting requirements of this appraisal form, and Definition of Market Value.

The appraiser has not identified any purchaser, borrower or seller as an intended user of this appraisal, and no such party should use or rely on this appraisal for any purpose. Such parties are advised to obtain an appraisal from an appraiser of their own choosing if they require an appraisal for their own use. Any reference to or use of this appraisal report by a purchaser, borrower or seller for their own purposes, including without limitation for the purposes of a property purchase decision or an appraisal contingency in a purchase agreement, is at such party's own risk and is not intended or authorized by the appraiser."

COMPARABLES OVER 1 MILE
Comparables in this report exceed our distance objective from the subject property. However, after careful consideration, the appraiser is satisfied that they are the best available and are located in similar competing neighborhoods.

COMPARABLES OVER 6 MONTHS OLD
Appraiser acknowledges that some comparables in this report are over 6 months old. However, after reviewing current market activity, and recognizing the lack of more recent comparables, it was deemed appropriate to review comparable sales in other neighborhoods. This Appraiser is satisfied that the comparables utilized, as presented, most accurately portray current market conditions.

ADJUSTMENTS
Adjustments were calculated using MLS data with the assistance of software programs provided by Solomon and Synapse. SOLOMON provides a depreciated cost analysis. SYNAPSE imports MLS data provided by the appraiser and performs a range of calculations for adjustment support including Paired Sales Analysis, Grouped Data, six types of simple Linear Regression, Sensitivity Analysis and Depreciated Cost. For adjustments not handled by the software, such as condition or location, MLS data is analyzed and adjustments calculated accordingly if there is sufficient data. If there is not sufficient data, no adjustments will be made for lack of support.

HIGHEST AND BEST USE
The subject is a legally permissible use based on its current zoning. Also, the lot size, shape and land-to-building ratio allow the present structure and indicate a good utilization of the improvements. Based on current market conditions, the existing structure as a multi family residence is its financially feasible and maximally productive use. The highest and best use, as if vacant, would be to construct a multi family residence.

LEAD PAINT
All or part of the improvements were constructed before 1978 when lead paint was a common building material. There is no apparent visible or known documented evidence of peeling or flaking paint. The only way to be certain that the property is free of surface or subsurface lead paint is to have it inspected by a qualified inspector. The opinion of value stated in this appraisal is based on the assumption that there is no flaking or peeling paint on the property.

LEGAL NON-CONFORMING USE (grandfathered use)
Throughout the State, City and Towns have revamped zoning laws as community needs have changed. These changes are particularly noticeable in lot sizes and have created a situation where many properties are classed as "LEGAL NON-CONFORMING". Under existing local and State laws, if a catastrophic event were to occur, the subject without a zoning variance, could be rebuilt to its current footprint. There is no effect on value or marketability.

NET ADJUSTMENTS
The net adjustments, as presented, may exceed our desired 10 percent objective. However, the appraiser has considered all factors in the marketplace and is satisfied that the comparable sales utilized in this report accurately portray current market conditions.

SMOKE AND/OR CARBON MONOXIDE DETECTORS
Detectors are installed but I am not qualified to determine the type, functionality or sufficiency of the units.

Supplemental Addendum

File No. BPP3603950

Borrower	Golden Key Realty, LLC						
Property Address	55 Kiley St						
City	North Providence	County	Providence	State	RI	Zip Code	02911
Lender/Client	Beach Park Partners, LLC						

SCOPE OF WORK

As part of the Scope of Work, the appraisal was developed by gathering information on the subject from municipal public records and Multiple Listing Services (MLS). This includes the legal description, owner of record and sales of the subject within the past three years and current or past listings within the past 12 months of the date of this appraisal. This Appraisal Report sets forth only a summary of the comparable sales and their comparability to the subject and the appraiser's conclusion. Supporting documentation is retained in the appraiser's workfile or located in the appraiser's office.

The only approach to value considered applicable to this assignment is the Sales Comparison Approach. The Cost Approach would only be applicable if the structure was proposed, under construction or relatively new. As the house is not new construction, the estimated depreciation of the improvements would be too subjective and therefore not considered a reliable approach to value. The Income Approach was developed and supports the opinion of value.

In the Sales Comparison Approach, closed sales were utilized in comparison to the subject property. This would include sales outside of the subject neighborhood if deemed necessary. Adjustments were made for any significant differences between the comparables and subject. Information on the comparable sales was based on a cross section of the public records and Multiple Listing Services (MLS), an exterior observation from the street and if possible, verification with the listing agent or other parties to the sale. The gross building area for the subject was based on measurements by the appraiser and the gross building area for the comparables was obtained from the assessor's Property Record Card.

SCOPE OF OBSERVATION: The scope of my subject property inspection included a visual observation of all readily accessible areas of the interior and exterior of the dwelling, including living areas, garage (if any), basement (if any) all other detached structures (if any). I did not look under or behind furniture, I did not move any furniture or personal belongings, and I did not enter the attic. My observation did not include operating or testing appliances, electrical system, plumbing or HVAC. I did not test the well or septic system (if any) and did not test for any environmental hazards such as radon or mold. My observation of the property is based on readily observable conditions and is not at the same level as an inspection performed by a professional home inspector.

Subject Photo Page

Borrower	Golden Key Realty, LLC						
Property Address	55 Kiley St						
City	North Providence	County	Providence	State	RI	Zip Code	02911
Lender/Client	Beach Park Partners, LLC						



Subject Front

55 Kiley St	
Sales Price	
Gross Building Area	
Age	18
	9
	4
	Residential
	Neighborhood
	8,400 sf
	Q4
	106

Subject Rear

Subject Street

Subject Photo Page

Borrower	Golden Key Realty, LLC						
Property Address	55 Kiley St						
City	North Providence	County	Providence	State	RI	Zip Code	02911
Lender/Client	Beach Park Partners, LLC						



Subject Front

55 Kiley St
Sales Price
Gross Building Area 3,850
Age 106

Subject Rear

Subject Street

Interior Photos

Borrower	Golden Key Realty, LLC						
Property Address	55 Kiley St						
City	North Providence	County	Providence	State	RI	Zip Code	02911
Lender/Client	Beach Park Partners, LLC						












Interior Photos

Borrower	Golden Key Realty, LLC						
Property Address	55 Kiley St						
City	North Providence	County	Providence	State	RI	Zip Code	02911
Lender/Client	Beach Park Partners, LLC						












Interior Photos

Borrower	Golden Key Realty, LLC						
Property Address	55 Kiley St						
City	North Providence	County	Providence	State	RI	Zip Code	02911
Lender/Client	Beach Park Partners, LLC						

Comparable Photo Page

Borrower	Golden Key Realty, LLC						
Property Address	55 Kiley St						
City	North Providence	County	Providence	State	RI	Zip Code	02911
Lender/Client	Beach Park Partners, LLC						

Comparable 1

13 Dickinson Ave

Sales Price	3.32 miles NE
G.B.A.	625,000
Age/Yr. Blt.	
	18
	6
	4
	Residential
	Neighborhood
	5,009 sf
	Q4
	117

Comparable 2

129 Academy Ave

Sales Price	1.90 miles SE
G.B.A.	675,000
Age/Yr. Blt.	
	Resid/Busy Rd
	Neighborhood
	4,356 sf
	Q4
	126

Comparable 3

78 Academy Ave

Sales Price	1.95 miles SE
G.B.A.	585,000
Age/Yr. Blt.	
	18
	9
	4
	Resid/Busy Rd
	Neighborhood
	3,485 sf
	Q4
	106

Comparable Photo Page

Borrower	Golden Key Realty, LLC						
Property Address	55 Kiley St						
City	North Providence	County	Providence	State	RI	Zip Code	02911
Lender/Client	Beach Park Partners, LLC						

Comparable 4

1548 Smith St

Sales Price	0.77 miles NE
G.B.A.	799,000
Age/Yr. Blt.	
	20
	8
	4.1
	Resid/Busy Rd
	Neighborhood
	9,923 sf
	Q4
	106

Comparable 5

Sales Price
G.B.A.
Age/Yr. Blt.

Comparable 6

Sales Price
G.B.A.
Age/Yr. Blt.

Rental Photo Page

Borrower	Golden Key Realty, LLC						
Property Address	55 Kiley St						
City	North Providence	County	Providence	State	RI	Zip Code	02911
Lender/Client	Beach Park Partners, LLC						

Rental 1

33 Redfern St

Proximity to Subj.	0.99 miles NW
GBA	2,676
Age/Year Built	120

Rental 2

1452 Mineral Spring Ave

Proximity to Subj.	2.23 miles NE
GBA	2,674
Age/Year Built	106

Rental 3

45 Byron St

Proximity to Subj.	0.76 miles NW
GBA	1,684
Age/Year Built	116

Borrower	Golden Key Realty, LLC					File No.	BPP3603950
Property Address	55 Kiley St						
City	North Providence	County	Providence	State	RI	Zip Code	02911
Lender/Client	Beach Park Partners, LLC						

APPRAISAL AND REPORT IDENTIFICATION

This Report is one of the following types:

☒ Appraisal Report (A written report prepared under Standards Rule 2-2(a), pursuant to the Scope of Work, as disclosed elsewhere in this report.)

☐ Restricted Appraisal Report (A written report prepared under Standards Rule 2-2(b), pursuant to the Scope of Work, as disclosed elsewhere in this report, restricted to the stated intended use only by the specified client and any other named intended user(s).)

Comments on Standards Rule 2-3

I certify that, to the best of my knowledge and belief:
- The statements of fact contained in this report are true and correct.
- The reported analyses, opinions, and conclusions are limited only by the reported assumptions and limiting conditions and are my personal, impartial, and unbiased professional analyses, opinions, and conclusions.
- Unless otherwise indicated, I have no present or prospective interest in the property that is the subject of this report and no personal interest with respect to the parties involved.
- Unless otherwise indicated, I have performed no services, as an appraiser or in any other capacity, regarding the property that is the subject of this report within the three-year period immediately preceding acceptance of this assignment.
- I have no bias with respect to the property that is the subject of this report or the parties involved with this assignment.
- My engagement in this assignment was not contingent upon developing or reporting predetermined results.
- My compensation for completing this assignment is not contingent upon the development or reporting of a predetermined value or direction in value that favors the cause of the client, the amount of the value opinion, the attainment of a stipulated result, or the occurrence of a subsequent event directly related to the intended use of this appraisal.
- My analyses, opinions, and conclusions were developed, and this report has been prepared, in conformity with the Uniform Standards of Professional Appraisal Practice that were in effect at the time this report was prepared.
- Unless otherwise indicated, I have made a personal inspection of the property that is the subject of this report.
- Unless otherwise indicated, no one provided significant real property appraisal assistance to the person(s) signing this certification (if there are exceptions, the name of each individual providing significant real property appraisal assistance is stated elsewhere in this report).

Kevin Ward, Licensed Appraiser, provided assistance with this report.
Assistance provided includes: obtaining data on the subject from city/town hall; comparable selection; physical inspection of subject.

Reasonable Exposure Time (USPAP defines Exposure Time as the estimated length of time that the property interest being appraised would have been offered on the market prior to the hypothetical consummation of a sale at market value on the effective date of the appraisal.)

My Opinion of Reasonable Exposure Time for the subject property at the market value stated in this report is: 1-60 Days

Comments on Appraisal and Report Identification

Note any USPAP-related issues requiring disclosure and any state mandated requirements:

APPRAISER:

Signature: J R Durette
Name: Joseph Durette
Certified Residential
State Certification #: CRA.0A00589
or State License #:
State: RI Expiration Date of Certification or License: 10/04/2027
Date of Signature and Report: 03/04/2026
Effective Date of Appraisal: 02/27/2026
Inspection of Subject: ☐ None ☒ Interior and Exterior ☐ Exterior-Only
Date of Inspection (if applicable): 02/27/2026

SUPERVISORY or CO-APPRAISER (if applicable):

Signature:
Name:
State Certification #:
or State License #:
State: Expiration Date of Certification or License:
Date of Signature:
Inspection of Subject: ☐ None ☐ Interior and Exterior ☐ Exterior-Only
Date of Inspection (if applicable):

Operating Income Statement

BPP3603950

One- to Four-Family Investment Property and Two- to Four-Family Owner-Occupied Property

Property Address

55 Kiley St	North Providence	RI	02911
Street	City	State	Zip Code

General Instructions: This form is to be prepared jointly by the loan applicant, the appraiser, and the lender's underwriter. The applicant must complete the following schedule indicating each unit's rental status, lease expiration date, current rent, market rent, and the responsibility for utility expenses. Rental figures must be based on the rent for an "unfurnished" unit.

	Currently Rented		Expiration Date	Current Rent Per Month	Market Rent Per Month	Utility Expense	Paid By Owner	Paid By Tenant
Unit No. 1	Yes ☒	No ☐	01/27	$ 1,800	$ 2,000	Electricity	☐	☒
Unit No. 2	Yes ☒	No ☐	01/27	$ 1,700	$ 1,800	Gas	☐	☒
Unit No. 3	Yes ☒	No ☐	01/27	$ 1,600	$ 1,700	Fuel Oil	☐	☐
Unit No. 4	Yes ☒	No ☐	01/27	$ 1,300	$ 1,400	Fuel (Other)	☐	☐
Total				$ 6,400	$ 6,900	Water/Sewer	☒	☐
						Trash Removal	☐	☐

The applicant should complete all of the income and expense projections and for existing properties provide actual year-end operating statements for the past two years (for new properties the applicant's projected income and expenses must be provided). This Operating Income Statement and any previous operating statements the applicant provides must then be sent to the appraiser for review, comment, and/or adjustments next to the applicant's figures (e.g. Applicant/Appraiser 288/300). If the appraiser is retained to complete the form instead of the applicant, the lender must provide to the appraiser the aforementioned operating statements, mortgage insurance premium, HOA dues, leasehold payments, subordinate financing, and/or any other relevant information as to the income and expenses of the subject property received from the applicant to substantiate the projections. The underwriter should carefully review the applicant's/appraiser's projections and the appraiser's comments concerning those projections. The underwriter should make any final adjustments that are necessary to more accurately reflect any income or expense items that appear unreasonable for the market. (Real estate taxes and insurance on these types of properties are included in PITI and not calculated as an annual expense item) Income should be based on the current rents, but should not exceed market rents. When there are no current rents because the property is proposed, new, or currently vacant, market rents should be used.

Annual Income and Expense Projection for Next 12 months

Income (Do not include income for owner-occupied units)		By Applicant/Appraiser	Adjustments by Lender's Underwriter
Gross Annual Rental (from unit(s) to be rented)	(Current)	$ 76,800	$
Other Income (include sources)		+	+
Total		$ 76,800	$
Less Vacancy/Rent Loss		− 3,840 (5 %)	− (%)
Effective Gross Income		$ 72,960	$
Expenses (Do not include expenses for owner-occupied units)			
Electricity			
Gas			
Fuel Oil			
Fuel (Type -)			
Water/Sewer		800	
Trash Removal			
Pest Control			
Other Taxes or Licenses			
Casual Labor This includes the costs for public area cleaning, snow removal, etc., even though the applicant may not elect to contract for such services.			
Interior Paint/Decorating This includes the costs of contract labor and materials that are required to maintain the interiors of the living unit.		600	
General Repairs/Maintenance This includes the costs of contract labor and materials that are required to maintain the public corridors, stairways, roofs, mechanical systems, grounds, etc.		600	
Management Expenses These are the customer expenses that a professional management company would charge to manage the property.			
Supplies This includes the costs of items like light bulbs, janitorial supplies, etc.			
Total Replacement Reserves - See Schedule on Pg. 2		3,550	
Miscellaneous		400	
Total Operating Expenses		$ 5,950	$

Durette Appraisals, Inc.
Form INC2 - "TOTAL" appraisal software by a la mode, inc. - 1-800-ALAMODE

Replacement Reserve Schedule

Adequate replacement reserves must be calculated regardless of whether actual reserves are provided for on the owner's operating statements or are customary in the local market. This represents the total average yearly reserves. Generally, all equipment and components that have a remaining life of more than one year - such as refrigerators, stoves, clothes washers/dryers, trash compactors, furnaces, roofs, and carpeting, etc. - should be expensed on a replacement cost basis.

Equipment		Replacement Cost		Remaining Life				By Applicant/ Appraiser	Lender Adjustments
Stoves/Ranges	@	$ 1,000	ea. ÷	5	Yrs. x	4	Units =	$ 800	$
Refrigerators	@	$ 1,500	ea. ÷	10	Yrs. x	4	Units =	$ 600	$
Dishwashers	@	$ 1,000.00	ea. ÷	5	Yrs. x	3	Units =	$ 600	$
A/C Units	@	$	ea. ÷		Yrs. x		Units =	$	$
C. Washer/Dryers	@	$	ea. ÷		Yrs. x		Units =	$	$
HW Heaters	@	$	ea. ÷		Yrs. x		Units =	$	$
Furnace(s)	@	$ 5,000	ea. ÷	20	Yrs. x	3	Units =	$ 750	$
(Other)	@	$	ea. ÷		Yrs. x		Units =	$	$
Roof	@	$ 20,000	÷	25	Yrs. x	One Bldg. =		$ 800	$

Carpeting (Wall to Wall)

						Remaining Life			
(Units)		Total Sq. Yds. @	$	Per Sq. Yd.	÷		Yrs. =	$	$
(Public Areas)		Total Sq. Yds. @	$	Per Sq. Yd.	÷		Yrs. =	$	$

Total Replacement Reserves. (Enter on Pg. 1) $ 3,550 $

Operating Income Reconciliation

$ 72,960	−	$ 5,950	=	$ 67,010	÷ 12 =	$ 5,584
Effective Gross Income		Total Operating Expenses		Operating Income		Monthly Operating Income
$ 5,584	−	$	=	$		
Monthly Operating Income		Monthly Housing Expense		Net Cash Flow		

(Note: Monthly Housing Expense includes principal and interest on the mortgage, hazard insurance premiums, real estate taxes, mortgage insurance premiums, HOA dues, leasehold payments, and subordinate financing payments.)

Underwriter's instructions for 2-4 Family Owner-Occupied Properties

- If Monthly Operating Income is a positive number, enter as "Net Rental Income" in the "Gross Monthly Income" section of Freddie Mac Form 65/Fannie Mae Form 1003. If Monthly Operating Income is a negative number, it must be included as a liability for qualification purposes.
- The borrower's monthly housing expense-to-income ratio must be calculated by comparing the total Monthly Housing Expense for the subject property to the borrower's stable monthly income.

Underwriter's instructions for 1-4 Family Investment Properties

- If Net Cash Flow is a positive number, enter as "Net Rental Income" in the "Gross Monthly Income" section of Freddie Mac Form 65/Fannie Mae Form 1003. If Net Cash Flow is a negative number, it must be included as a liability for qualification purposes.
- The borrower's monthly housing expense-to-income ratio must be calculated by comparing the total monthly housing expense for the borrower's primary residence to the borrower's stable monthly income.

Appraiser's Comments (Including sources for data and rationale for the projections)

Joseph Durette		03/04/2026
Appraiser Name	Appraiser Signature	Date

Underwriter's Comments and Rationale for Adjustments

Underwriter Name	Underwriter Signature	Date

Form INC2 - "TOTAL" appraisal software by a la mode, inc. - 1-800-ALAMODE

Building Sketch

Borrower	Golden Key Realty, LLC						
Property Address	55 Kiley St						
City	North Providence	County	Providence	State	RI	Zip Code	02911
Lender/Client	Beach Park Partners, LLC						

TOTAL Sketch by a la mode

Area Calculations Summary

Living Area		**Calculation Details**		
First Floor	899 Sq ft	29 × 31	=	899
Second Floor	1073 Sq ft	29 × 37	=	1073
Third Floor	1073 Sq ft	29 × 37	=	1073
Fourth Floor	804.75 Sq ft	21.75 × 37	=	804.75
Total Living Area (Rounded):	**3850 Sq ft**			
Non-living Area				
Deck	96 Sq ft	16 × 6	=	96
Open Porch	96 Sq ft	16 × 6	=	96
Open Porch	96 Sq ft	16 × 6	=	96
Concrete Patio	736 Sq ft	46 × 16	=	736
Basement	174 Sq ft	29 × 6	=	174

Plat Map

Borrower	Golden Key Realty, LLC						
Property Address	55 Kiley St						
City	North Providence	County	Providence	State	RI	Zip Code	02911
Lender/Client	Beach Park Partners, LLC						

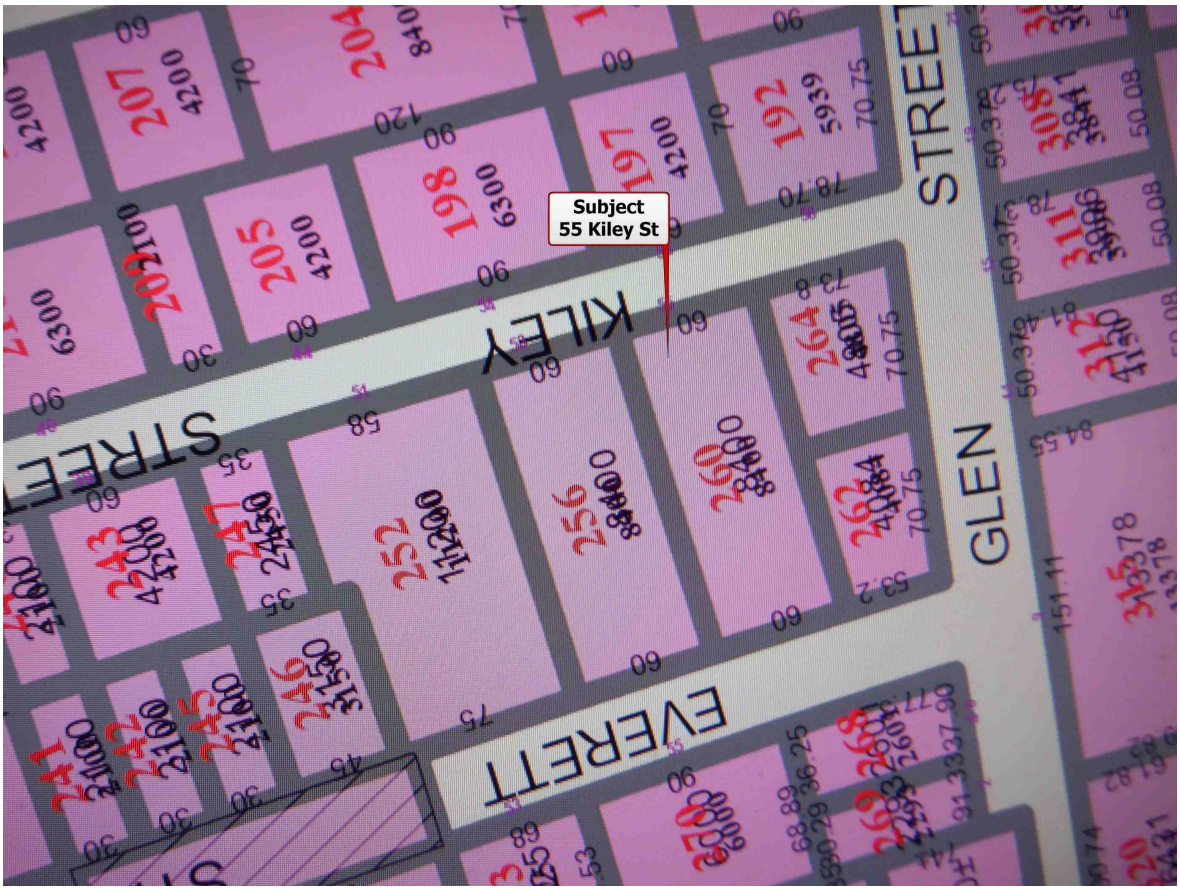

Legal Description Map

Borrower	Golden Key Realty, LLC						
Property Address	55 Kiley St						
City	North Providence	County	Providence	State	RI	Zip Code	02911
Lender/Client	Beach Park Partners, LLC						

BOOK 2771 PAGE 22

QUIT CLAIM DEED

DHAMARYS MURILLO and JAIME MURILLO of the City of North Providence, State of Rhode Island for valuable consideration, grant to **DHAMARYS MURILLO** of the City of North Providence, State of Rhode Island, as Tenants in Common, with QUIT CLAIM COVENANTS:

Those four (4) lots of land, with all the buildings and improvements thereon, situated on the northerly side Everett Street and extending northerly to Kiley Street, in the Twon of Nroth Providence, County of Providence, State of Rhode Island, laid out and designated as Lots Numbered 156 (one hundred fifty six), 157 (one hundred fifty seven), 188 (one hundred eighty eight), and 189 (one hundred eighty nine) on that plat entitled "Lymansville Park North Providence, R.I. Owned by J.W. Wilbur June 10, 1903 A.L. Eliott Eng'r", and recorded with the records of Land Evidence in said Town of North Providence on Plat Card No. 72.

The consideration for this deed is such that no Rhode Island Real Estate Transfer Stamps are required.

The parties acknowledge that they are not subject to withholding taxes

WITNESS MY HAND this day of January, 2012.

JAIME MURILLO

DHAMARYS MURILLO

STATE OF RHODE ISLAND
COUNTY OF PROVIDENCE

RECEIVED FOR RECORD
NORTH PROVIDENCE, RI
Mar 01, 2012

Location Map

Borrower	Golden Key Realty, LLC						
Property Address	55 Kiley St						
City	North Providence	County	Providence	State	RI	Zip Code	02911
Lender/Client	Beach Park Partners, LLC						

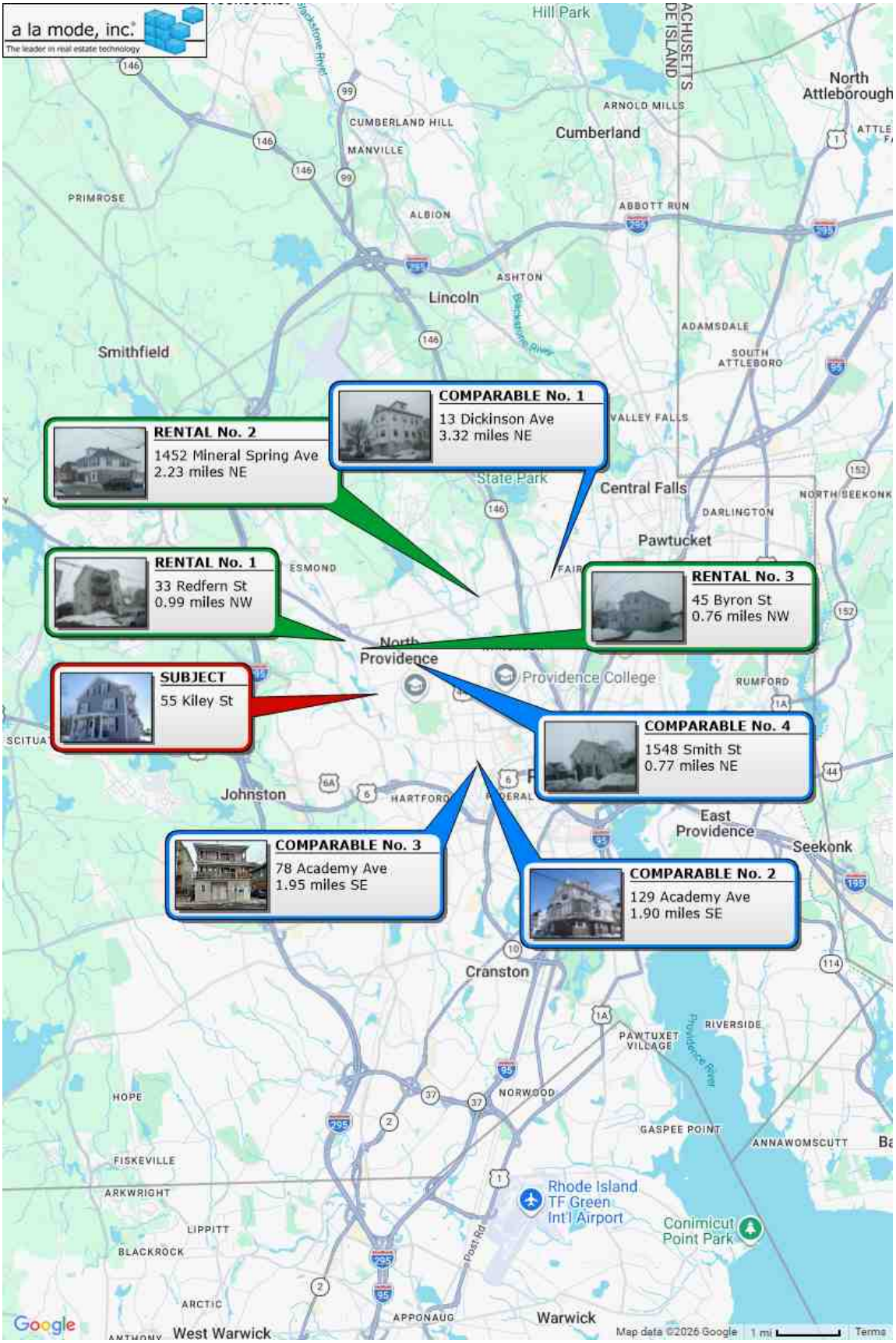

Flood Map

Borrower	Golden Key Realty, LLC						
Property Address	55 Kiley St						
City	North Providence	County	Providence	State	RI	Zip Code	02911
Lender/Client	Beach Park Partners, LLC						

InterFlood by a la mode

Prepared for: Durette Appraisals, Inc.
55 Kiley St
North Providence, RI 02911

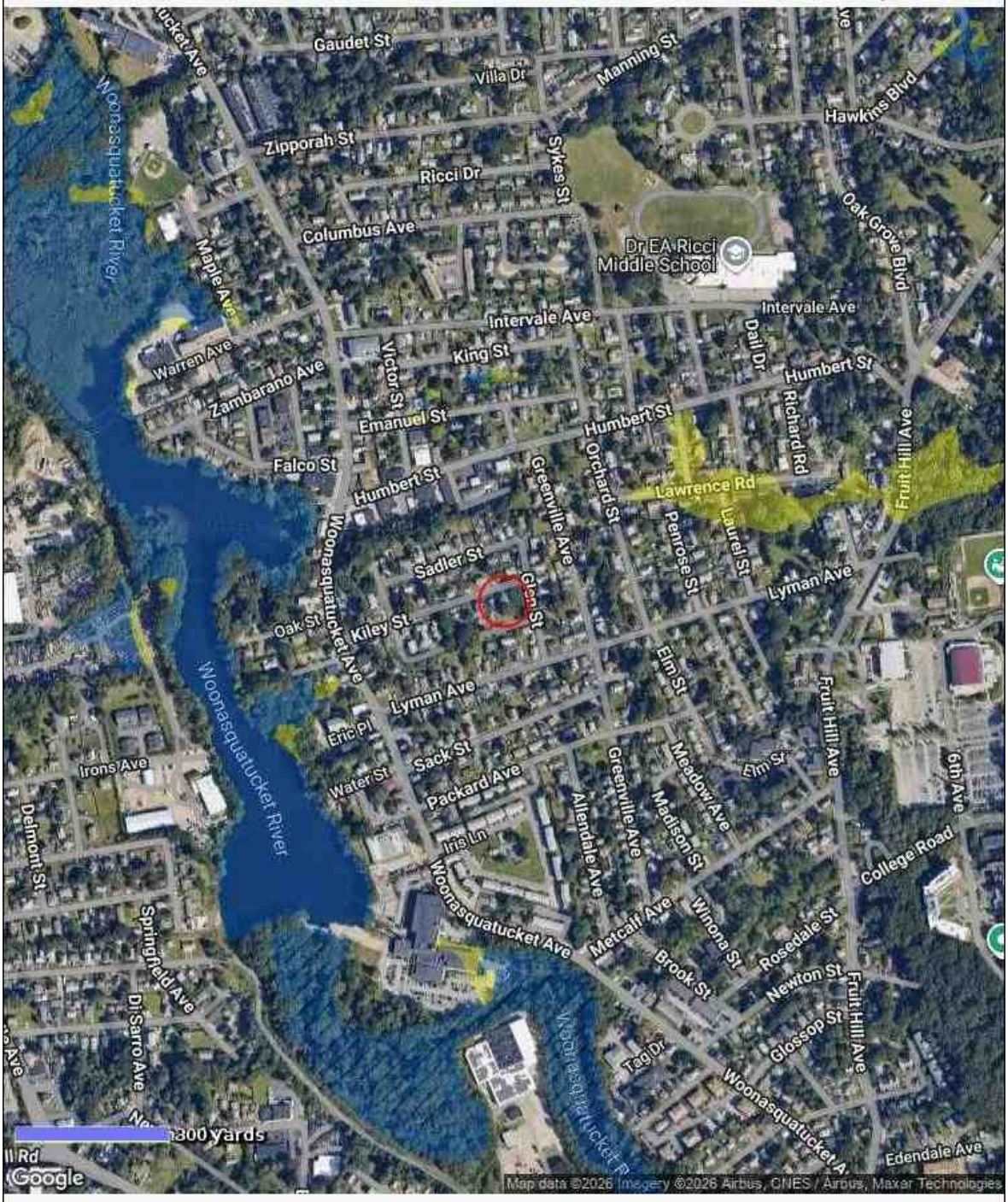

MAP DATA

FEMA Special Flood Hazard Area: **No**
Map Number: **44007C0303H**
Zone: **X**
Map Date: **October 02, 2015**
FIPS: **44007**

MAP LEGEND

Powered by CoreLogic®

- Areas inundated by 500-year flooding
- Areas inundated by 100-year flooding
- Velocity Hazard
- Protected Areas
- Floodway
- Subject Area

Aerial Map

Borrower	Golden Key Realty, LLC						
Property Address	55 Kiley St						
City	North Providence	County	Providence	State	RI	Zip Code	02911
Lender/Client	Beach Park Partners, LLC						

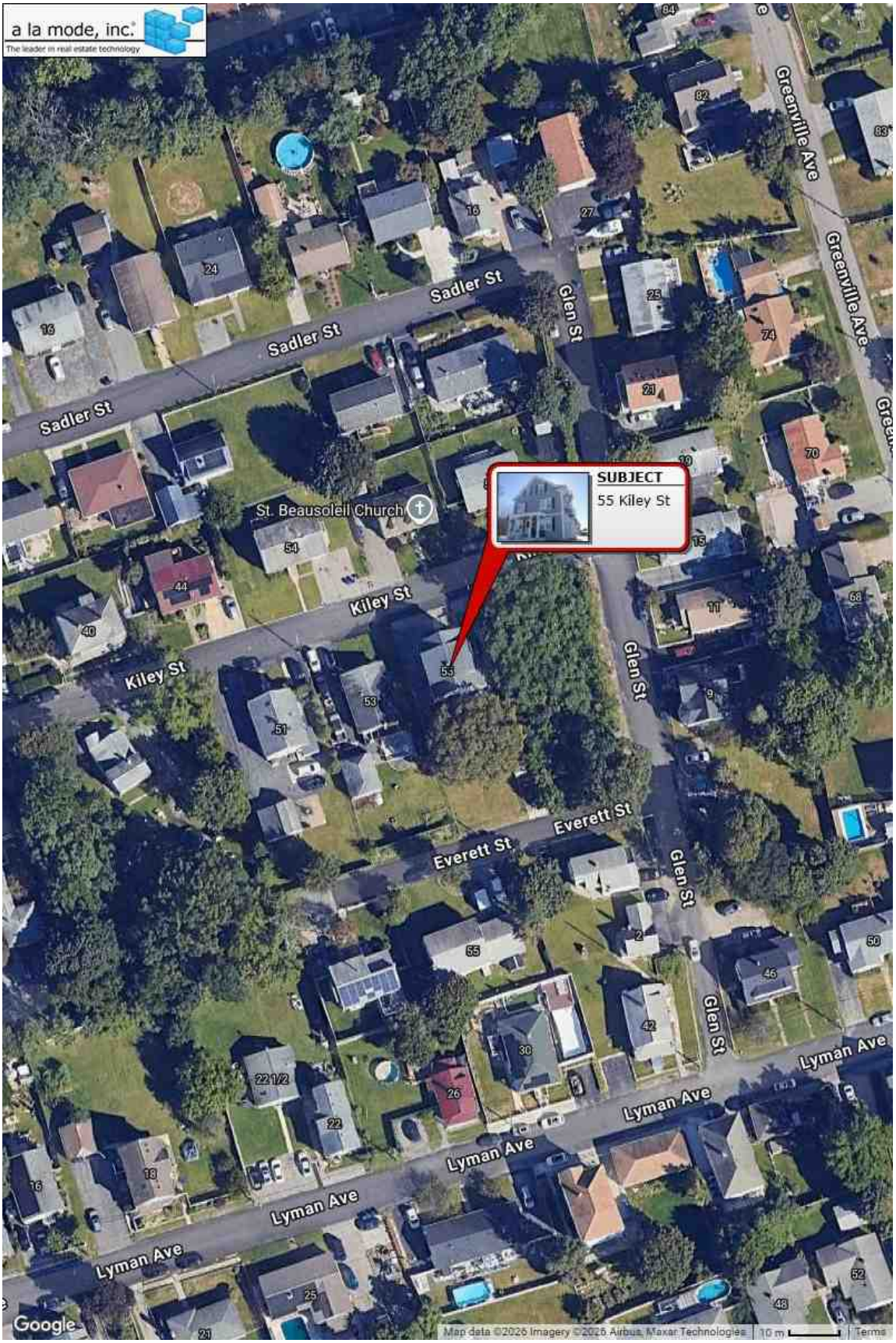

Borrower	Golden Key Realty, LLC						
Property Address	55 Kiley St						
City	North Providence	County	Providence	State	RI	Zip Code	02911
Lender/Client	Beach Park Partners, LLC						

MARKET ADJUSTMENT

Due to the limited number of comparables, it was not possible to determine a supportable market time adjustment.

Analytics Addendum

Borrower	Golden Key Realty, LLC						
Property Address	55 Kiley St						
City	North Providence	County	Providence	State	RI	Zip Code	02911
Lender/Client	Beach Park Partners, LLC						

For each month from 02-28-2025 to 02-27-2026 this chart shows the median price for both sales and listings in the subject market.

For each month from 02-28-2025 to 02-27-2026 this chart shows the median price per square foot for both sales and listings in the subject market.

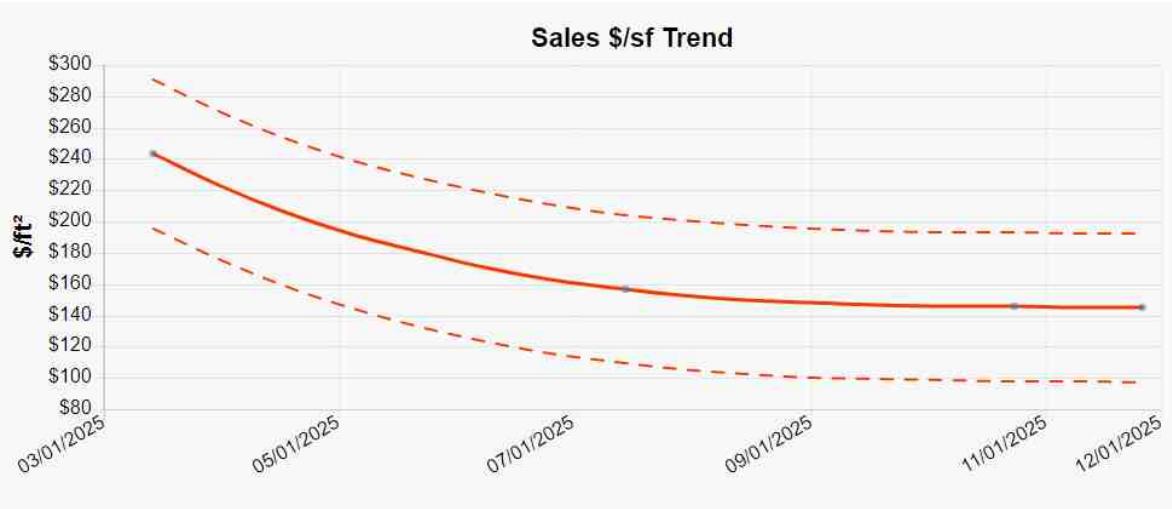

This analysis of the price per sq ft. in the subject market from 03-14-2025 to 11-26-2025 yields a range of $82/sf to $177/sf for properties in the subject market as of 02-27-2026.

Analytics Addendum

Borrower	Golden Key Realty, LLC						
Property Address	55 Kiley St						
City	North Providence	County	Providence	State	RI	Zip Code	02911
Lender/Client	Beach Park Partners, LLC						

This chart shows the avg sale price for competing properties grouped by month from 02-28-2025 through 02-27-2026.

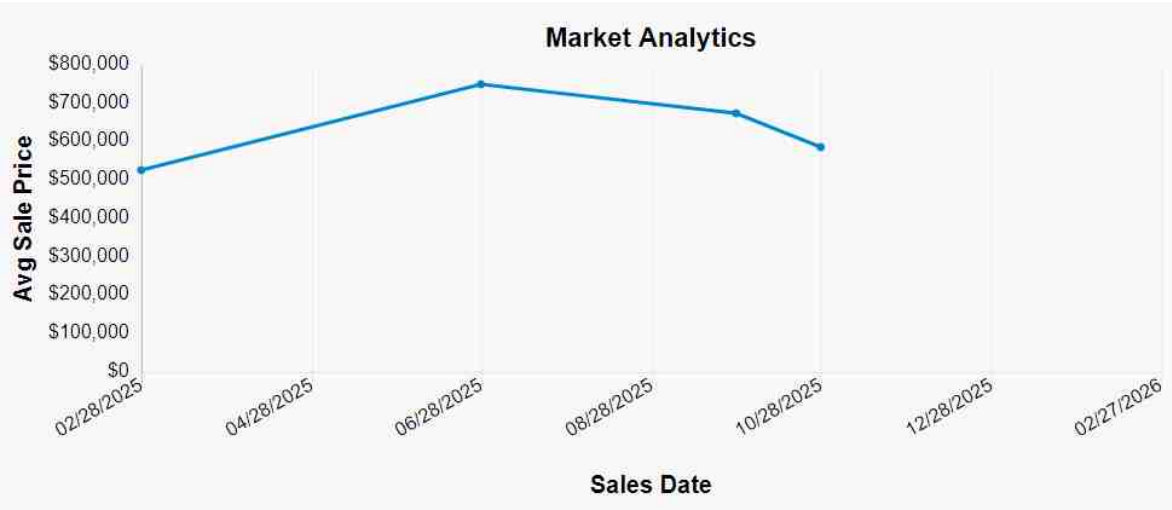

This chart shows the avg sale price for competing properties grouped by month from 02-28-2025 through 02-27-2026.

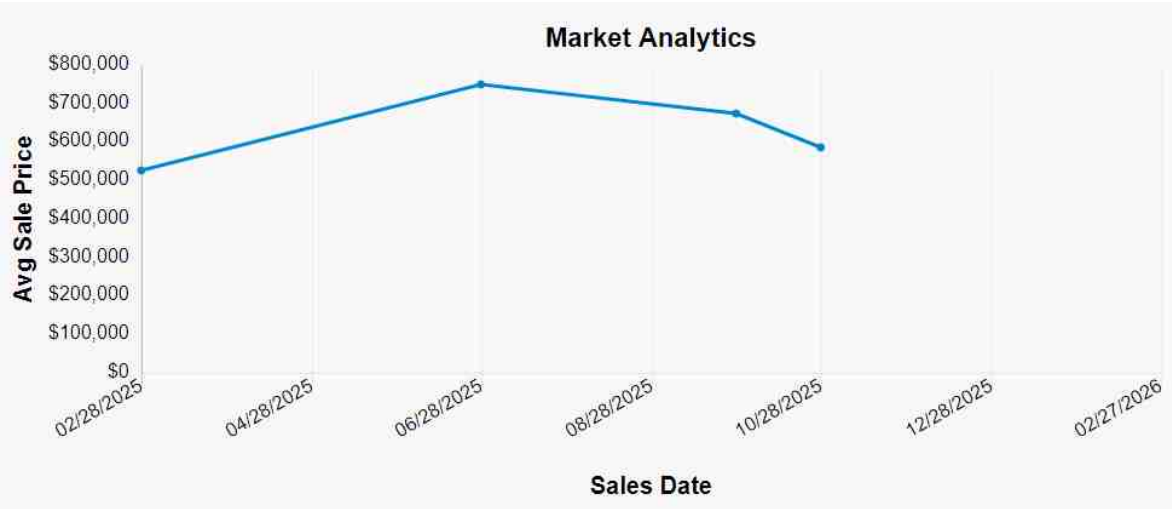

This chart shows the avg sale price for competing properties grouped by month from 02-28-2025 through 02-27-2026.

Analytics Addendum

Borrower	Golden Key Realty, LLC						
Property Address	55 Kiley St						
City	North Providence	County	Providence	State	RI	Zip Code	02911
Lender/Client	Beach Park Partners, LLC						

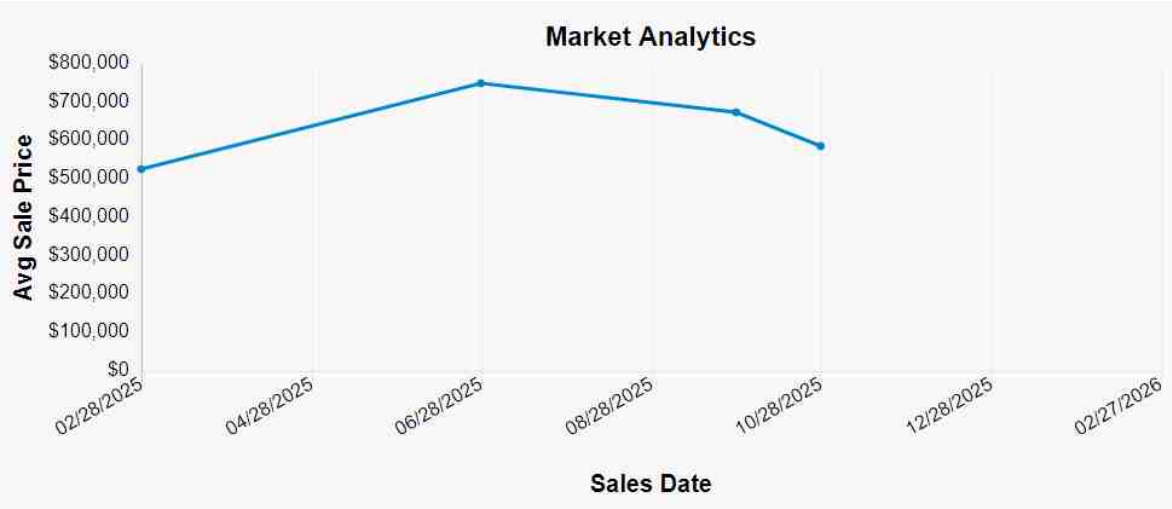

This chart shows the avg sale price for competing properties grouped by month from 02-28-2025 through 02-27-2026.

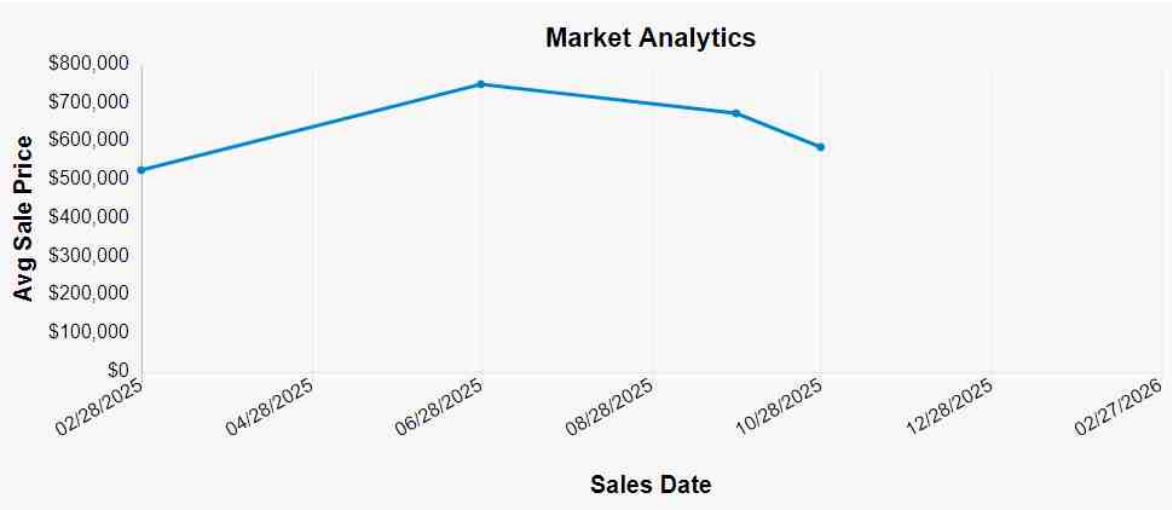

This chart shows the avg sale price for competing properties grouped by month from 02-28-2025 through 02-27-2026.

License

State of Rhode Island
Department of Business Regulation
Division of Commercial Licensing
Real Estate Appraisers Section

CERTIFIED RESIDENTIAL APPRAISER

(In accordance with Title 5, Chapter 20.7 of the General Laws of Rhode Island relating to Real Estate Appraisers)

Pursuant to the vested authority and having received full payment of the required fee, the Department of Business Regulation has licensed/certified:

Joseph R. Durette

The person, firm, or partnership named herein, may engage in the business of appraisal practice, provided he/she shall, in all respects, conform to the Provisions of Title 5, Chapter 20.7 of the General Laws of Rhode Island, as amended, and the rules and regulations issued under the authority thereof,
beginning **10/05/2025** and ending **10/04/2027**
unless this license is suspended, revoked, or voluntarily returned to the Department of Business Regulation, Commercial Licensing, during this period.

Nicholas Sammartino
Chairperson, Real Estate Appraisers Board

Certification No.: **CRA.0A00589**

Aspen

Aspen American Insurance Company
Insurer (Referred to below as the "Company")
499 Washington Boulevard, 8th Floor
Jersey City, NJ 07310

LIA Administrators & Insurance Services

Company's Program Administrator:
LIA Administrators & Insurance Services
1600 Anacapa Street
Santa Barbara, CA 93108
800-334-0652

APPRAISAL, VALUATION AND PROPERTY SERVICES PROFESSIONAL LIABILITY INSURANCE POLICY

DECLARATIONS

Date Issued: 3/28/2025 Policy Number: AAI008134-11 Previous Policy Number: AAI008134-10

THIS IS A **CLAIMS** MADE AND REPORTED POLICY. COVERAGE IS LIMITED TO LIABILITY FOR ONLY THOSE **CLAIMS** THAT ARE FIRST MADE AGAINST THE **INSURED** DURING THE **POLICY PERIOD** AND THEN REPORTED TO THE COMPANY IN WRITING NO LATER THAN SIXTY (60) DAYS AFTER EXPIRATION OR TERMINATION OF THIS POLICY, OR DURING THE **EXTENDED REPORTING PERIOD**, IF APPLICABLE, FOR A **WRONGFUL ACT** COMMITTED ON OR AFTER THE **RETROACTIVE DATE** AND BEFORE THE END OF THE **POLICY PERIOD**. PLEASE READ THE POLICY CAREFULLY.

1. Customer ID: 160424
Named **Insured**:
DURETTE APPRAISALS, INC.
Joseph R. Durette
78 Briarcliffe Road
Cranston, RI 02910

2. **Policy Period:** From: 04/24/2025 To: 04/24/2026
12:01 A.M. Standard Time at the address stated in **1** above.

3. **Deductible:** $1000 Each **Claim**

4. **Retroactive Date:** 04/24/2003

5. **Inception Date:** 04/24/2015

6. **Limits of Liability:** **A.** $500,000 Each **Claim**
B. $500,000 Aggregate

7. **Covered Professional Services (as defined in the Policy and/or by Endorsement):**

	Yes	No	
Real Estate Appraisal and Valuation:	X		
Residential Property:	X		
Commercial Property:		X	
Bodily Injury and Property Damage Caused During Appraisal Inspection ($100,000 Sub-Limit):	X		(If "yes", added by endorsement)
Right of Way Agent and Relocation:		X	
Machinery and Equipment Valuation:		X	
Personal Property Appraisal:		X	(If "yes", added by endorsement)
Real Estate Sales/Brokerage:	X		(If "yes", added by endorsement)

8. Report **Claims** to: LIA Administrators & Insurance Services, 800-334-0652, P.O. Box 1319, 1600 Anacapa Street, Santa Barbara, CA 93102-1319

9. **Annual Premium:** **$1,145.00**

10. **Forms attached at issue:** LIA002 (04/19) LIA RI (09/19) LIA012 (06/22) LIA023 (05/19) LIA140 (05/19) LIA164 (05/19) LIA169 (12/21)

This Declarations page, together with the completed and signed Policy Application including all attachments and thereto, and the Policy shall constitute the contract between the Named **Insured** and the Company.

03/28/2025
Date

By _____
Authorized Representative

LIA001 (05/22)

Form SCNLTR - "TOTAL" appraisal software by a la mode, inc. - 1-800-ALAMODE