APPRAISAL OF REAL PROPERTY

LOCATED AT
831 Paris St
San Francisco, CA 94112
Crocker Amazon Tract Lot 18

FOR
ResiCentral
19417 Shumard Oak Drive Unit 102
Land O Lakes, FL 34638

OPINION OF VALUE
949,000

AS OF
03/13/2026

BY
William Pegg
A1 Valuation Pro
475 Merritt Ave Apt 7
Oakland, CA 94610-5131
(510) 912-1259
wmgpegg@a1valuationpro.com

Borrower	MARVIN LAI					File No.	SR8019BP
Property Address	831 Paris St						
City	San Francisco	County	San Francisco	State	CA	Zip Code	94112
Lender/Client	ResiCentral						

TABLE OF CONTENTS

Cover Page 1
URAR 2
URAR 3
Additional Comparables 4-6 4
General Text Addendum 5
Building Sketch 6
URAR 7
Market Conditions Addendum to the Appraisal Report 8
MLS CHART 9
PLAT MAP 10
Aerial Map 11
Subject Photos 12
Interior Photos 13
Comparable Photos 1-3 14
Comparable Photos 4-6 15
URAR 16
URAR 17
URAR 18
USPAP Identification Addendum 19
Appraiser Independence Certification 20
License 21
E & O 22
UAD Definitions Addendum 23
Analytics Addendum 26
Analytics Addendum 27
Analytics Addendum 28
Location Map 29
Flood Map 30

Uniform Residential Appraisal Report

File # SR8019BP

The purpose of this summary appraisal report is to provide the lender/client with an accurate, and adequately supported, opinion of the market value of the subject property.

SUBJECT

Property Address 831 Paris St | City San Francisco | State CA | Zip Code 94112

Borrower MARVIN LAI | Owner of Public Record Lai Family Trust | County San Francisco

Legal Description Crocker Amazon Tract Lot 18

Assessor's Parcel # 6408 -018 | Tax Year 2025 | R.E. Taxes $ 2,181

Neighborhood Name Excelsior | Map Reference 41884 | Census Tract 0263.01

Occupant [X] Owner [ ] Tenant [ ] Vacant | Special Assessments $ 0 | [ ] PUD | HOA $ 0 [ ] per year [ ] per month

Property Rights Appraised [X] Fee Simple [ ] Leasehold [ ] Other (describe)

Assignment Type [ ] Purchase Transaction [X] Refinance Transaction [ ] Other (describe)

Lender/Client ResiCentral | Address 19417 Shumard Oak Drive Unit 102, Land O Lakes, FL 34638

Is the subject property currently offered for sale or has it been offered for sale in the twelve months prior to the effective date of this appraisal? [ ] Yes [X] No

Report data source(s) used, offering price(s), and date(s). Local County Records/M.L.S. #

CONTRACT

I [ ] did [ ] did not analyze the contract for sale for the subject purchase transaction. Explain the results of the analysis of the contract for sale or why the analysis was not performed.

Contract Price $ | Date of Contract | Is the property seller the owner of public record? [ ] Yes [ ] No | Data Source(s)

Is there any financial assistance (loan charges, sale concessions, gift or downpayment assistance, etc.) to be paid by any party on behalf of the borrower? [ ] Yes [ ] No

If Yes, report the total dollar amount and describe the items to be paid.

NEIGHBORHOOD

Note: Race and the racial composition of the neighborhood are not appraisal factors.

Neighborhood Characteristics				One-Unit Housing Trends				One-Unit Housing			Present Land Use %	
Location	[X] Urban	[ ] Suburban	[ ] Rural	Property Values	[X] Increasing	[ ] Stable	[ ] Declining	PRICE		AGE	One-Unit	65 %
Built-Up	[X] Over 75%	[ ] 25-75%	[ ] Under 25%	Demand/Supply	[ ] Shortage	[X] In Balance	[ ] Over Supply	$ (000)		(yrs)	2-4 Unit	20 %
Growth	[ ] Rapid	[X] Stable	[ ] Slow	Marketing Time	[X] Under 3 mths	[ ] 3-6 mths	[ ] Over 6 mths	540	Low	65	Multi-Family	10 %
								2,225	High	126	Commercial	5 %
								1,100	Pred.	76	Other	%

Neighborhood Boundaries Silver Avenue on the North , Alamany Blvd.on the west, Geneva on the south, John McLaren Park on the East.

Neighborhood Description The subject is located in a residential area that is predominately single family in character. Schools and parks are located within a 1/2 mile. Shopping is local with regional centers within 1-5 miles. Employment centers are within a 5-30 min. commute.

Market Conditions (including support for the above conclusions) The M.L.S. is active in the area. The typical concessions are price related to condition. This trend is reflected in the pending sales. Within the boundaries of the subject's market the search for comparables was defined by those that were within 200 to 400 square feet in living space of the subject.

SITE

Dimensions 25*100.337 | Area 2508 sf | Shape Rectangular | View N;Res;

Specific Zoning Classification RH-1 | Zoning Description RH-1 Residential

Zoning Compliance [X] Legal [ ] Legal Nonconforming (Grandfathered Use) [ ] No Zoning [ ] Illegal (describe)

Is the highest and best use of subject property as improved (or as proposed per plans and specifications) the present use? [X] Yes [ ] No If No, describe See attached addenda.

Utilities	Public	Other (describe)		Public	Other (describe)	Off-site Improvements – Type	Public	Private
Electricity	[X]	[ ]	Water	[X]	[ ]	Street Asphalt	[X]	[ ]
Gas	[X]	[ ]	Sanitary Sewer	[X]	[ ]	Alley None	[ ]	[ ]

FEMA Special Flood Hazard Area [ ] Yes [X] No | FEMA Flood Zone X | FEMA Map # 0602980230A | FEMA Map Date 03/23/2021

Are the utilities and off-site improvements typical for the market area? [X] Yes [ ] No If No, describe

Are there any adverse site conditions or external factors (easements, encroachments, environmental conditions, land uses, etc.)? [ ] Yes [X] No If Yes, describe

No encroachments nor easements noted. The title report has not been reviewed by the this appraiser. **For Flood information discrepancy with the lender's certification, lender certification supersedes appraisal information.

IMPROVEMENTS

General Description			Foundation			Exterior Description	materials/condition	Interior	materials/condition
Units	[X] One	[ ] One with Accessory Unit	[X] Concrete Slab	[ ] Crawl Space		Foundation Walls	Concrete/Avg	Floors	Hardwd/Carpet/Avg
# of Stories	1		[X] Full Basement	[ ] Partial Basement		Exterior Walls	Stucco/ Avg	Walls	Drywall/Avg
Type	[X] Det.	[ ] Att. [ ] S-Det./End Unit	Basement Area	835 sq.ft.		Roof Surface	Comp Shingle/GD	Trim/Finish	Painted wood Avg
[X] Existing	[ ] Proposed	[ ] Under Const.	Basement Finish	0 %		Gutters & Downspouts	Metal/Avg	Bath Floor	Lino/ Avg
Design (Style)	Contemp		[X] Outside Entry/Exit	[ ] Sump Pump		Window Type	Dbl-Hung/Avg	Bath Wainscot	Tile/ Avg.
Year Built	1923		Evidence of	[ ] Infestation		Storm Sash/Insulated	Typical /Average	Car Storage	[ ] None
Effective Age (Yrs)	60		[ ] Dampness	[ ] Settlement		Screens	Screens/ Average	[X] Driveway	# of Cars 1
Attic	[ ] None		Heating	[ ] FWA [ ] HWBB [ ] Radiant		Amenities	[ ] Woodstove(s) # 0	Driveway Surface	Concrete
[ ] Drop Stair	[ ] Stairs		[X] Other FAU	Fuel Gas		[ ] Fireplace(s) # 0	[X] Fence Wood/Avg	[X] Garage	# of Cars 1
[ ] Floor	[X] Scuttle		Cooling	[ ] Central Air Conditioning		[X] Patio/Deck Cnct	[X] Porch Cov/ Avg	[ ] Carport	# of Cars 0
[ ] Finished	[ ] Heated		[ ] Individual	[X] Other None		[ ] Pool None	[ ] Other None	[ ] Att.	[ ] Det. [X] Built-in

Appliances [X] Refrigerator [X] Range/Oven [ ] Dishwasher [ ] Disposal [ ] Microwave [ ] Washer/Dryer [ ] Other (describe)

Finished area **above** grade contains: 5 Rooms 2 Bedrooms 1.0 Bath(s) 1,229 Square Feet of Gross Living Area Above Grade

Additional features (special energy efficient items, etc.). None Noted

Describe the condition of the property (including needed repairs, deterioration, renovations, remodeling, etc.). C4;No updates in the prior 15 years;The subject was measured to ANSI Standards. The subjects is in average condition. No repairs required. There are CO and Smoke detectors.

Are there any physical deficiencies or adverse conditions that affect the livability, soundness, or structural integrity of the property? [ ] Yes [X] No If Yes, describe

Does the property generally conform to the neighborhood (functional utility, style, condition, use, construction, etc.)? [X] Yes [ ] No If No, describe

Uniform Residential Appraisal Report

File # SR8019BP

There are 9 comparable properties currently offered for sale in the subject neighborhood ranging in price from $ 650,000 to $ 1,495,000 .

There are 49 comparable sales in the subject neighborhood within the past twelve months ranging in sale price from $ 540,000 to $ 2,225,000 .

SALES COMPARISON APPROACH

FEATURE	SUBJECT	COMPARABLE SALE # 1		COMPARABLE SALE # 2		COMPARABLE SALE # 3	
Address	831 Paris St San Francisco, CA 94112	631 London St San Francisco, CA 94112		150 France Ave San Francisco, CA 94112		715 Naples St San Francisco, CA 94112	
Proximity to Subject		0.21 miles N		0.24 miles NE		0.30 miles E	
Sale Price	$		$ 1,010,000		$ 788,000		$ 935,000
Sale Price/Gross Liv. Area	$ sq.ft.	$ 808.00 sq.ft.		$ 677.56 sq.ft.		$ 850.00 sq.ft.	
Data Source(s)		MLS#ML82031361;DOM 13		MLS#CL25578461;DOM 126		MLS#SF425055413;DOM 10	
Verification Source(s)		Doc#20684/CoreLogic Public Rec		Doc#1273/CoreLogic Public Recor		Doc#71442/CoreLogic Public Rec	
VALUE ADJUSTMENTS	DESCRIPTION	DESCRIPTION	+(-) $ Adjustment	DESCRIPTION	+(-) $ Adjustment	DESCRIPTION	+(-) $ Adjustment
Sales or Financing Concessions		ArmLth Conv;0		ArmLth Conv;0		ArmLth Conv;0	
Date of Sale/Time		s02/26;c01/26	+16,200	s01/26;c12/25	+18,900	s08/25;c07/25	+59,800
Location	N;Res;	N;Res;		N;Res;		N;Res;	
Leasehold/Fee Simple	Fee Simple	Fee Simple		Fee Simple		Fee Simple	
Site	2508 sf	2495 sf	0	2500 sf	0	2500 sf	0
View	N;Res;	N;Res;		N;Res;		N;Res;	
Design (Style)	DT1;Contemp	DT2;Contemp	0	DT1;Contemp		DT1;Trad.	0
Quality of Construction	Q4	Q4		Q4		Q4	
Actual Age	103	102	0	77	0	118	0
Condition	C4	C4		C4		C4	
Above Grade Room Count (Total / Bdrms. / Baths)	5 / 2 / 1.0	6 / 3 / 2.0	-20,000	5 / 2 / 1.0		5 / 3 / 1.0	-20,000
Gross Living Area	1,229 sq.ft.	1,250 sq.ft.	0	1,163 sq.ft.	0	1,100 sq.ft.	+9,700
Basement & Finished Rooms Below Grade	835sf0sfwo	1010sf531sfwo 0rr1br1.0ba1o	-7,000 -50,000	0sf	+33,400	0sf	+33,400
Functional Utility	Average	Average		Average		Average	
Heating/Cooling	FAU None	FAU None		FAU None		FAU None	
Energy Efficient Items	None Noted	None Noted		None Noted		None Noted	
Garage/Carport	1gbi1dw	1gbi1dw		1gbi1dw		None	+13,000
Porch/Patio/Deck	Porch/Patio	Porch/Patio		Porch/Patio		Porch/Patio	
Net Adjustment (Total)		☐ + ☒ -	$ -60,800	☒ + ☐ -	$ 52,300	☒ + ☐ -	$ 95,900
Adjusted Sale Price of Comparables		Net Adj. 6.0 % Gross Adj. 9.2 %	$ 949,200	Net Adj. 6.6 % Gross Adj. 6.6 %	$ 840,300	Net Adj. 10.3 % Gross Adj. 14.5 %	$ 1,030,900

I ☒ did ☐ did not research the sale or transfer history of the subject property and comparable sales. If not, explain

My research ☐ did ☒ did not reveal any prior sales or transfers of the subject property for the three years prior to the effective date of this appraisal.

Data Source(s) County Records/MLS

My research ☐ did ☒ did not reveal any prior sales or transfers of the comparable sales for the year prior to the date of sale of the comparable sale.

Data Source(s) County Records/MLS

Report the results of the research and analysis of the prior sale or transfer history of the subject property and comparable sales (report additional prior sales on page 3).

ITEM	SUBJECT	COMPARABLE SALE #1	COMPARABLE SALE #2	COMPARABLE SALE #3
Date of Prior Sale/Transfer				
Price of Prior Sale/Transfer				
Data Source(s)	County Records/MLS	County Records/MLS	County Records/MLS	County Records/MLS
Effective Date of Data Source(s)	03/13/2026	03/13/2026	03/13/2026	03/13/2026

Analysis of prior sale or transfer history of the subject property and comparable sales No sales nor listing of the subject in the last 36 months.

Summary of Sales Comparison Approach Land $20 sq/ft, •Bedrooms $20,000, •Full Baths $10,000, •½ Baths $5,000, •Gross living Area $75 sq/ft, •Fireplace $5,000•Garage$10,000, •Carport $5,000, •Driveway $3,000. Time +.008..The subject appears to be in average condition. It has been well maintained over the years. The subject is one of the older homes in the area that were originally constructed during the early development of the community. It has been in the same family for several decades. Comps one through three are homes of similar age and, at the time of sale, were in similar condition. Most weight is given to Sale 1.

Indicated Value by Sales Comparison Approach $ 949,000

RECONCILIATION

Indicated Value by: Sales Comparison Approach $ 949,000 **Cost Approach (if developed) $** 951,140 **Income Approach (if developed) $** 0

The most weight is given to the sale comparison approach as it is the most reliable in single family transactions. Since most sales are to owner occupants there is insufficient data to complete the income approach.

This appraisal is made ☒ "as is", ☐ subject to completion per plans and specifications on the basis of a hypothetical condition that the improvements have been completed, ☐ subject to the following repairs or alterations on the basis of a hypothetical condition that the repairs or alterations have been completed, or ☐ subject to the following required inspection based on the extraordinary assumption that the condition or deficiency does not require alteration or repair:

Based on a complete visual inspection of the interior and exterior areas of the subject property, defined scope of work, statement of assumptions and limiting conditions, and appraiser's certification, my (our) opinion of the market value, as defined, of the real property that is the subject of this report is $ 949,000 **, as of** 03/13/2026 **, which is the date of inspection and the effective date of this appraisal.**

Form 1004UAD - "TOTAL" appraisal software by a la mode, inc. - 1-800-ALAMODE

Uniform Residential Appraisal Report

File # SR8019BP

SALES COMPARISON APPROACH

FEATURE	SUBJECT	COMPARABLE SALE # 4		COMPARABLE SALE # 5		COMPARABLE SALE # 6	
Address	831 Paris St San Francisco, CA 94112	130 Brazil Ave San Francisco, CA 94112		494 La Grande Ave San Francisco, CA 94112		724 Excelsior Ave San Francisco, CA 94112	
Proximity to Subject		0.61 miles NE		0.65 miles E		0.78 miles NE	
Sale Price	$		$ 1,125,000		$ 1,150,000		$ 899,000
Sale Price/Gross Liv. Area	$ sq.ft.	$ 1000.00 sq.ft.		$ 1015.90 sq.ft.		$ 699.61 sq.ft.	
Data Source(s)		MLS#SF425092403;DOM 14		MLS#SF425063328;DOM 12		MLS#SF426104293;DOM 11	
Verification Source(s)		Doc#9876/CoreLogic Public Recor		Doc#88499/CoreLogic Public Rec		Broker 415-359-3975	
VALUE ADJUSTMENTS	DESCRIPTION	DESCRIPTION	+(-) $ Adjustment	DESCRIPTION	+(-) $ Adjustment	DESCRIPTION	+(-) $ Adjustment
Sales or Financing Concessions		ArmLth Conv;0		ArmLth Conv;0		Listing Conv;0	
Date of Sale/Time		s02/26;c01/26	+18,000	s10/25;c09/25	+55,200	c03/26	
Location	N;Res;	N;Res;		N;Res;		N;Res;	
Leasehold/Fee Simple	Fee Simple	Fee Simple		Fee Simple		Fee Simple	
Site	2508 sf	2495 sf	0	2103 sf	+8,100	1245 sf	+25,300
View	N;Res;	N;Res;		B;Hills/Lts;	-5,000	B;CtySky;	-5,000
Design (Style)	DT1;Contemp	DT1;Contemp		SD1;Contemp	0	DT1;Detached S	0
Quality of Construction	Q4	Q4		Q4		Q4	
Actual Age	103	103		68	0	89	0
Condition	C4	C3	-150,000	C3	-150,000	C3	-150,000
Above Grade Room Count (Total / Bdrms. / Baths)	5 / 2 / 1.0	5 / 2 / 1.0		6 / 3 / 1.0	-20,000	5 / 2 / 2.0	0
Gross Living Area	1,229 sq.ft.	1,125 sq.ft.	+7,800	1,132 sq.ft.	0	1,285 sq.ft.	0
Basement & Finished Rooms Below Grade	835sf0sfwo	0sf	+33,400	0sf	+33,400	640sf640sfwo 0rr1br1.0ba0o	+7,800 -30,000
Functional Utility	Average	Average		Average		Average	
Heating/Cooling	FAU None	FAU None		FAU None		FAU None	
Energy Efficient Items	None Noted	None Noted		None Noted		None Noted	
Garage/Carport	1gbi1dw	1gbi1dw		2gbi1dw	-10,000	1gbi1dw	
Porch/Patio/Deck	Porch/Patio	Porch/Patio		Porch/Patio		Porch/Patio	
Net Adjustment (Total)		☐ + ☒ -	$ -90,800	☐ + ☒ -	$ -88,300	☐ + ☒ -	$ -151,900
Adjusted Sale Price of Comparables		Net Adj. 8.1 % Gross Adj. 18.6 %	$ 1,034,200	Net Adj. 7.7 % Gross Adj. 24.5 %	$ 1,061,700	Net Adj. 16.9 % Gross Adj. 24.3 %	$ 747,100

SALE HISTORY

Report the results of the research and analysis of the prior sale or transfer history of the subject property and comparable sales (report additional prior sales on page 3).

ITEM	SUBJECT	COMPARABLE SALE # 4	COMPARABLE SALE # 5	COMPARABLE SALE # 6
Date of Prior Sale/Transfer				
Price of Prior Sale/Transfer				
Data Source(s)	County Records/MLS	County Records/MLS	County Records/MLS	County Records/MLS
Effective Date of Data Source(s)	03/13/2026	03/13/2026	03/13/2026	03/13/2026

Analysis of prior sale or transfer history of the subject property and comparable sales: See above.

ANALYSIS / COMMENTS

Analysis/Comments: See Comment Addendum

Supplemental Addendum

File No. SR8019BP

Borrower	MARVIN LAI						
Property Address	831 Paris St						
City	San Francisco	County	San Francisco	State	CA	Zip Code	94112
Lender/Client	ResiCentral						

• **URAR: Site - Highest and Best Use**
• URAR: Site - Highest and Best Use
The existing use supports the four functions of Highest and Best use both as vacant and as improved. The current use is physically possible, legally permissible, financially feasible and is the most productive use of the site. Any change now or in the foreseeable future is unlikely.

• **URAR: Reconciliation - Reconciliation and Final Value Conclusion**
The most weight is given to the sale comparison approach as it is the most reliable in single family transactions. Since most sales are to owner occupants there is insufficient data to complete the income approach.

Building Sketch

Borrower	MARVIN LAI						
Property Address	831 Paris St						
City	San Francisco	County	San Francisco	State	CA	Zip Code	94112
Lender/Client	ResiCentral						

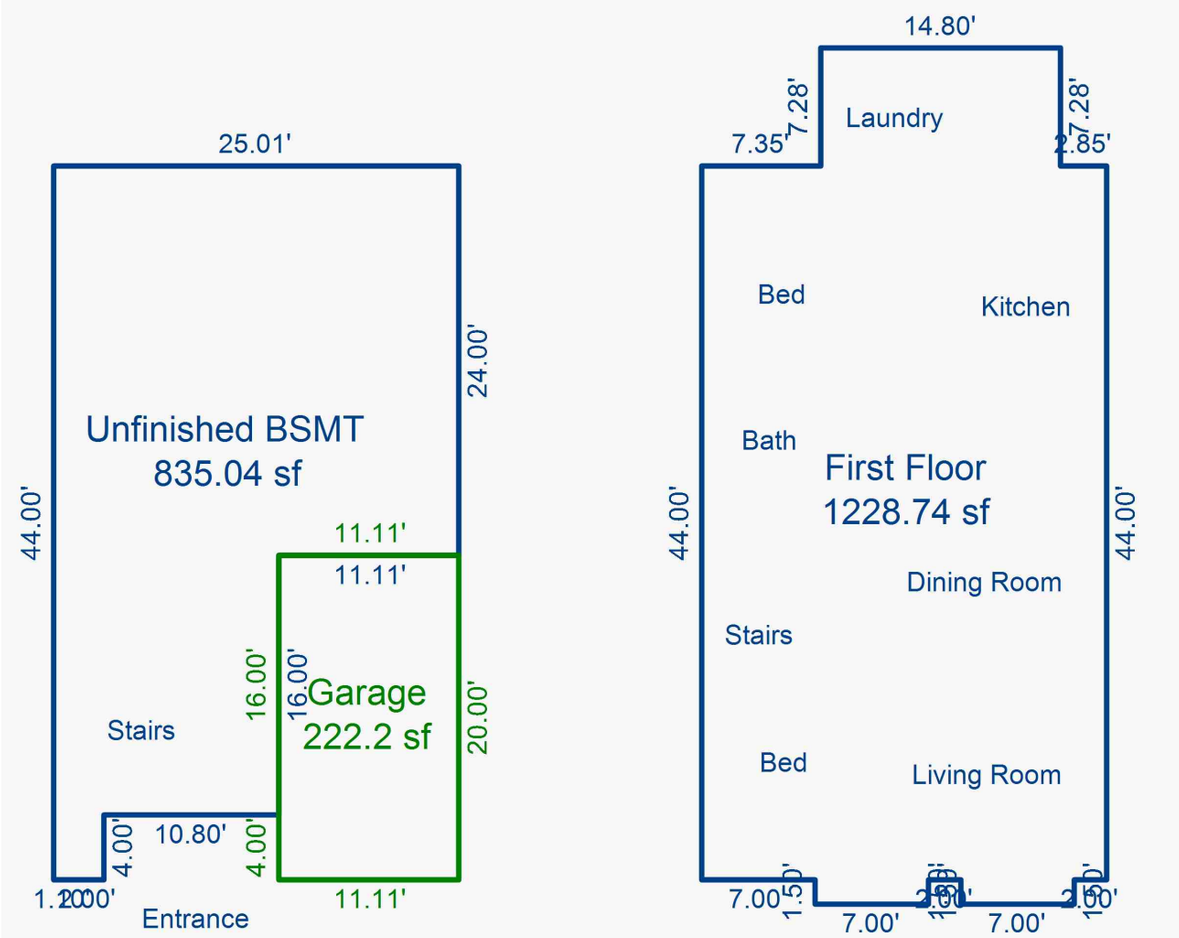

Sketch by ApexSketch

AREA CALCULATIONS SUMMARY

Code	Description	Factor	Net Size	Perimeter	Net Totals
GLA1	First Floor	1.00	1228.74	158.56	1228.74
BSMT	Unfinished BSMT	1.00	835.04	138.02	835.04
GAR	Garage	1.00	222.20	62.22	222.20
	Net LIVABLE	cnt	1	(rounded)	1,229

AREA CALCULATIONS BREAKDOWN

Name	Base	x	Height	x	Width	=	Area
First Floor			14.80	x	7.28	=	107.74
			7.00	x	1.50	=	10.50
			7.00	x	1.50	=	10.50
			44.00	x	25.00	=	1100.00
4 total items					(rounded)		1,229

© iLOOKABOUT (US) Inc. dba Apex Software

Uniform Residential Appraisal Report

File # SR8019BP

ADDITIONAL COMMENTS

x The sketch was computer generated based on the ANSI Standard Z765-2021

Finished square footage calculations for this house were made based on measured dimensions only and may include unfinished areas, openings in floors not associated with stairs, or openings in floors exceeding the area of associated stairs.

COST APPROACH

COST APPROACH TO VALUE (not required by Fannie Mae)

Provide adequate information for the lender/client to replicate the below cost figures and calculations.

Support for the opinion of site value (summary of comparable land sales or other methods for estimating site value) A review was made of the available sales data from the MLS and county records. In summary the sales found suggest value as indicated below. Typically the land value was derived by "abstraction".

ESTIMATED ☐ REPRODUCTION OR ☒ REPLACEMENT COST NEW	OPINION OF SITE VALUE					=$	320,000
Source of cost data Marshall and Swift & Local Contractors	DWELLING	1,229	Sq.Ft. @ $	425.00		=$	522,325
Quality rating from cost service Good Effective date of cost data 12/2025	Basement	835	Sq.Ft. @ $	275.00		=$	229,625
Comments on Cost Approach (gross living area calculations, depreciation, etc.)						=$	
Refer to the attached building sketch. Cost estimates are derived from	Garage/Carport	222	Sq.Ft. @ $	225.00		=$	49,950
Marshal & Swift valuation services and reconciled with the appraiser's	Total Estimate of Cost-New					=$	801,900
experience in the market. The land value was derived by "abstraction"	Less	Physical	Functional	External			
and represents a land to improvement ratio that is typical for properties	Depreciation	320,760				=$(	320,760)
in the area. Depreciation is described on the preceding page.	Depreciated Cost of Improvements					=$	481,140
	"As-is" Value of Site Improvements					=$	150,000
Estimated Remaining Economic Life (HUD and VA only) 90 Years	**INDICATED VALUE BY COST APPROACH**					**=$**	951,140

INCOME

INCOME APPROACH TO VALUE (not required by Fannie Mae)

Estimated Monthly Market Rent $ X Gross Rent Multiplier = $ Indicated Value by Income Approach

Summary of Income Approach (including support for market rent and GRM)

PUD INFORMATION

PROJECT INFORMATION FOR PUDs (if applicable)

Is the developer/builder in control of the Homeowners' Association (HOA)? ☐ Yes ☐ No Unit type(s) ☐ Detached ☐ Attached

Provide the following information for PUDs ONLY if the developer/builder is in control of the HOA and the subject property is an attached dwelling unit.

Legal Name of Project

Total number of phases Total number of units Total number of units sold

Total number of units rented Total number of units for sale Data source(s)

Was the project created by the conversion of existing building(s) into a PUD? ☐ Yes ☐ No If Yes, date of conversion.

Does the project contain any multi-dwelling units? ☐ Yes ☐ No Data Source

Are the units, common elements, and recreation facilities complete? ☐ Yes ☐ No If No, describe the status of completion.

Are the common elements leased to or by the Homeowners' Association? ☐ Yes ☐ No If Yes, describe the rental terms and options.

Describe common elements and recreational facilities.

Form 1004UAD - "TOTAL" appraisal software by a la mode, inc. - 1-800-ALAMODE

Market Conditions Addendum to the Appraisal Report

File No. SR8019BP

The purpose of this addendum is to provide the lender/client with a clear and accurate understanding of the market trends and conditions prevalent in the subject neighborhood. This is a required addendum for all appraisal reports with an effective date on or after April 1, 2009.

Property Address 831 Paris St City San Francisco State CA ZIP Code 94112

Borrower MARVIN LAI

Instructions: The appraiser must use the information required on this form as the basis for his/her conclusions, and must provide support for those conclusions, regarding housing trends and overall market conditions as reported in the Neighborhood section of the appraisal report form. The appraiser must fill in all the information to the extent it is available and reliable and must provide analysis as indicated below. If any required data is unavailable or is considered unreliable, the appraiser must provide an explanation. It is recognized that not all data sources will be able to provide data for the shaded areas below; if it is available, however, the appraiser must include the data in the analysis. If data sources provide the required information as an average instead of the median, the appraiser should report the available figure and identify it as an average. Sales and listings must be properties that compete with the subject property, determined by applying the criteria that would be used by a prospective buyer of the subject property. The appraiser must explain any anomalies in the data, such as seasonal markets, new construction, foreclosures, etc.

MARKET RESEARCH & ANALYSIS

Inventory Analysis	Prior 7–12 Months	Prior 4–6 Months	Current – 3 Months	Overall Trend		
Total # of Comparable Sales (Settled)	23	17	9	☐ Increasing	☐ Stable	☒ Declining
Absorption Rate (Total Sales/Months)	3.83	5.67	3.00	☐ Increasing	☐ Stable	☒ Declining
Total # of Comparable Active Listings	13	4	9	☒ Declining	☐ Stable	☐ Increasing
Months of Housing Supply (Total Listings/Ab.Rate)	3.39	0.71	3.00	☒ Declining	☐ Stable	☐ Increasing

Median Sale & List Price, DOM, Sale/List %	Prior 7–12 Months	Prior 4–6 Months	Current – 3 Months	Overall Trend		
Median Comparable Sale Price	$998,000	$1,100,000	$1,380,000	☒ Increasing	☐ Stable	☐ Declining
Median Comparable Sales Days on Market	34	40	46	☐ Declining	☐ Stable	☒ Increasing
Median Comparable List Price	$898,000	$933,500	$999,999	☒ Increasing	☐ Stable	☐ Declining
Median Comparable Listings Days on Market	49	101	49	☐ Declining	☒ Stable	☐ Increasing
Median Sale Price as % of List Price	109.50%	114.45%	117.19%	☐ Increasing	☒ Stable	☐ Declining
Seller-(developer, builder, etc.)paid financial assistance prevalent? ☐ Yes ☒ No				☐ Declining	☐ Stable	☒ Increasing

Explain in detail the seller concessions trends for the past 12 months (e.g., seller contributions increased from 3% to 5%, increasing use of buydowns, closing costs, condo fees, options, etc.). The Bay Area Real Estate Information Services, Inc. MLS indicated 1 of 49 (2.0%) of the closed sales in the market area between 03/13/2025 and 03/13/2026 contained seller concessions. Concessions ranged between $37,500 and $37,500, and the median concession was $37,500. For 7-12 months prior, no transactions had concessions reported. For 4-6 months prior, no transactions had concessions reported. For the 3 months prior to the effective date, 1 of 9 transactions (11.1%) had concessions.

Are foreclosure sales (REO sales) a factor in the market? ☐ Yes ☒ No If yes, explain (including the trends in listings and sales of foreclosed properties).

The Bay Area Real Estate Information Services, Inc. MLS reported no foreclosures or short sales between 03/13/2025 and 03/13/2026.

Cite data sources for above information. The Market Conditions Addenda was completed with data from Bay Area Real Estate Information Services, Inc. MLS with an effective date of 03/13/2026.

Summarize the above information as support for your conclusions in the Neighborhood section of the appraisal report form. If you used any additional information, such as an analysis of pending sales and/or expired and withdrawn listings, to formulate your conclusions, provide both an explanation and support for your conclusions.

The median sales prices appear to be trending up. These factors appear to provide a basis for the subject value. See the attached analytics addendum.

CONDO/CO-OP PROJECTS

If the subject is a unit in a condominium or cooperative project , complete the following: **Project Name:**

Subject Project Data	Prior 7–12 Months	Prior 4–6 Months	Current – 3 Months	Overall Trend		
Total # of Comparable Sales (Settled)				☐ Increasing	☐ Stable	☐ Declining
Absorption Rate (Total Sales/Months)				☐ Increasing	☐ Stable	☐ Declining
Total # of Active Comparable Listings				☐ Declining	☐ Stable	☐ Increasing
Months of Unit Supply (Total Listings/Ab.Rate)				☐ Declining	☐ Stable	☐ Increasing

Are foreclosure sales (REO sales) a factor in the project? ☐ Yes ☐ No If yes, indicate the number of REO listings and explain the trends in listings and sales of foreclosed properties.

Summarize the above trends and address the impact on the subject unit and project.

APPRAISER

Signature William R Pegg.	Signature
Appraiser Name William Pegg	Supervisory Appraiser Name
Company Name A1 Valuation Pro	Company Name
Company Address 475 Merritt Ave Apt 7, Oakland, CA 94610-5131	Company Address
State License/Certification # AR016500 State CA	State License/Certification # State
Email Address wmgpegg@a1valuationpro.com	Email Address

Form 1004MC2 - "TOTAL" appraisal software by a la mode, inc. - 1-800-ALAMODE

MLS CHART

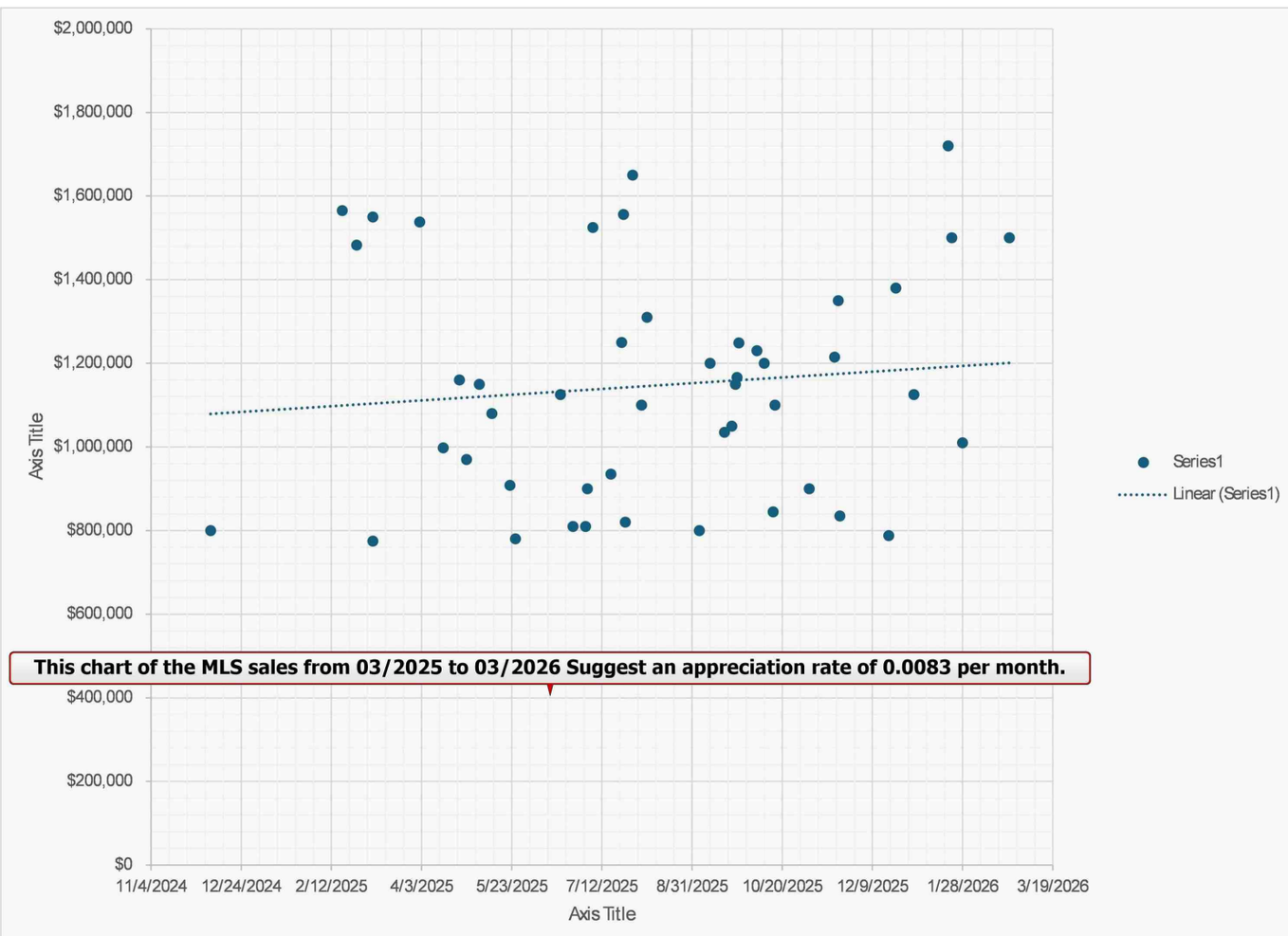

This chart of the MLS sales from 03/2025 to 03/2026 Suggest an appreciation rate of 0.0083 per month.

PLAT MAP

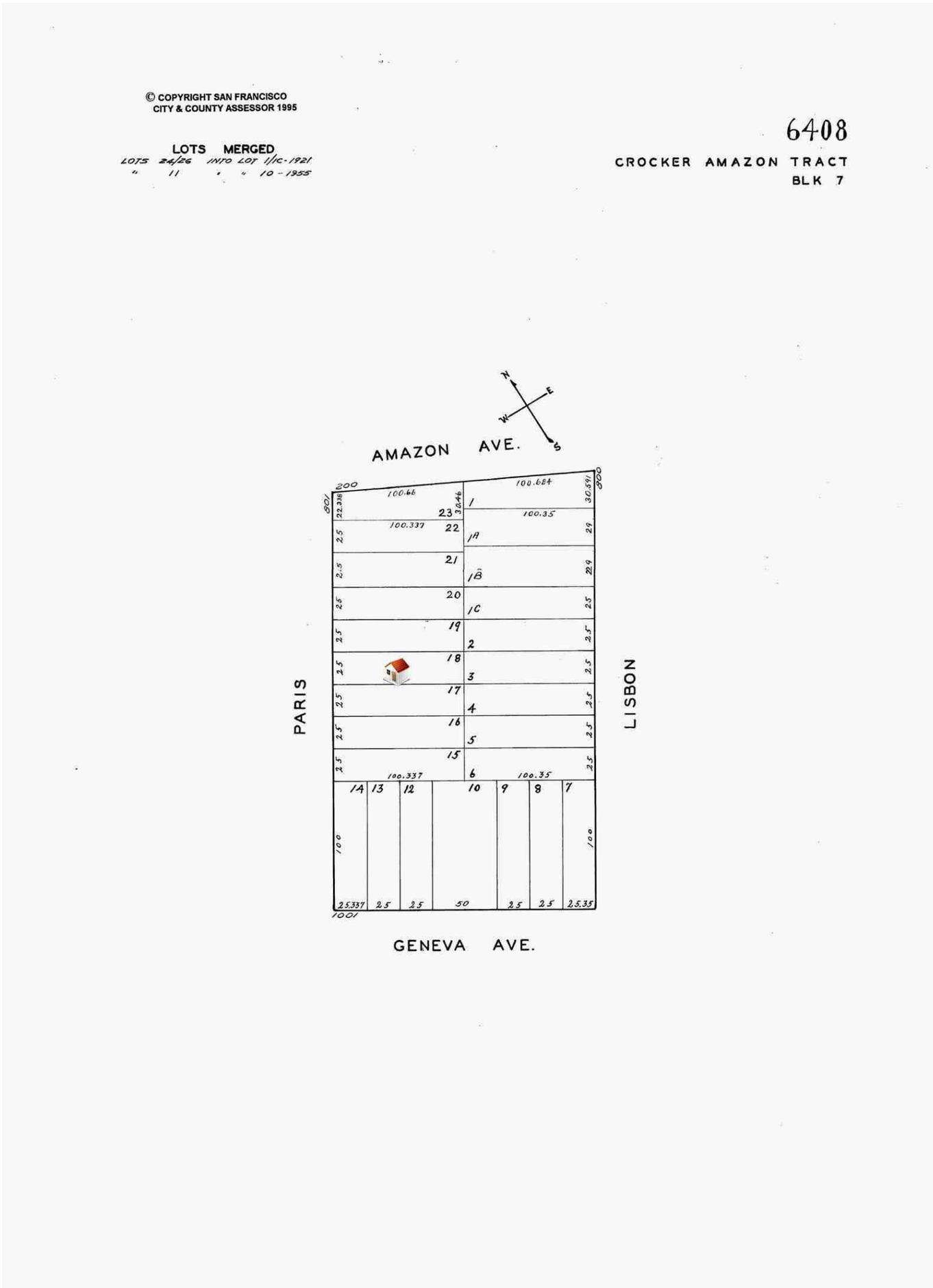
© COPYRIGHT SAN FRANCISCO
CITY & COUNTY ASSESSOR 1995
LOTS MERGED
LOTS 24/26 INTO LOT 1/1C-1921
" 11 " " 10-1955
6408
CROCKER AMAZON TRACT
BLK 7
N
E
W
S
AMAZON AVE.
PARIS
LISBON
GENEVA AVE.
200
100.66
100.684
30.591
22.318
30.46
23
22
21
20
19
18
17
16
15
1
1A
1B
1C
2
3
4
5
6
100.337
100.35
29
22.9
2.5
100
25.337
50
25.35
14
13
12
10
9
8
7
1001

Aerial Map

Borrower	MARVIN LAI						
Property Address	831 Paris St						
City	San Francisco	County	San Francisco	State	CA	Zip Code	94112
Lender/Client	ResiCentral						

Subject Photo Page

Borrower	MARVIN LAI						
Property Address	831 Paris St						
City	San Francisco	County	San Francisco	State	CA	Zip Code	94112
Lender/Client	ResiCentral						

Subject Front

831 Paris St	
Sales Price	
Gross Living Area	1,229
Total Rooms	5
Total Bedrooms	2
Total Bathrooms	1.0
Location	N;Res;
View	N;Res;
Site	2508 sf
Quality	Q4
Age	103



Subject Rear



Subject Street

Interior Photos

Borrower	MARVIN LAI						
Property Address	831 Paris St						
City	San Francisco	County	San Francisco	State	CA	Zip Code	94112
Lender/Client	ResiCentral						

Living Room



Combo Detector

Bedroom

Dinning Room

Bath

Bedroom

Kitchen

Kitchen other view

Combo Detector

Laundry room

Comparable Photo Page

Borrower	MARVIN LAI						
Property Address	831 Paris St						
City	San Francisco	County	San Francisco	State	CA	Zip Code	94112
Lender/Client	ResiCentral						

Comparable 1

631 London St

Prox. to Subject	0.21 miles N
Sale Price	1,010,000
Gross Living Area	1,250
Total Rooms	6
Total Bedrooms	3
Total Bathrooms	2.0
Location	N;Res;
View	N;Res;
Site	2495 sf
Quality	Q4
Age	102



Comparable 2

150 France Ave

Prox. to Subject	0.24 miles NE
Sale Price	788,000
Gross Living Area	1,163
Total Rooms	5
Total Bedrooms	2
Total Bathrooms	1.0
Location	N;Res;
View	N;Res;
Site	2500 sf
Quality	Q4
Age	77

Comparable 3

715 Naples St

Prox. to Subject	0.30 miles E
Sale Price	935,000
Gross Living Area	1,100
Total Rooms	5
Total Bedrooms	3
Total Bathrooms	1.0
Location	N;Res;
View	N;Res;
Site	2500 sf
Quality	Q4
Age	118

Comparable Photo Page

Borrower	MARVIN LAI						
Property Address	831 Paris St						
City	San Francisco	County	San Francisco	State	CA	Zip Code	94112
Lender/Client	ResiCentral						



Comparable 4

130 Brazil Ave

Prox. to Subject	0.61 miles NE
Sale Price	1,125,000
Gross Living Area	1,125
Total Rooms	5
Total Bedrooms	2
Total Bathrooms	1.0
Location	N;Res;
View	N;Res;
Site	2495 sf
Quality	Q4
Age	103

Comparable 5

494 La Grande Ave

Prox. to Subject	0.65 miles E
Sale Price	1,150,000
Gross Living Area	1,132
Total Rooms	6
Total Bedrooms	3
Total Bathrooms	1.0
Location	N;Res;
View	B;Hills/Lts;
Site	2103 sf
Quality	Q4
Age	68



Comparable 6

724 Excelsior Ave

Prox. to Subject	0.78 miles NE
Sale Price	899,000
Gross Living Area	1,285
Total Rooms	5
Total Bedrooms	2
Total Bathrooms	2.0
Location	N;Res;
View	B;CtySky;
Site	1245 sf
Quality	Q4
Age	89

Uniform Residential Appraisal Report

File # SR8019BP

This report form is designed to report an appraisal of a one-unit property or a one-unit property with an accessory unit; including a unit in a planned unit development (PUD). This report form is not designed to report an appraisal of a manufactured home or a unit in a condominium or cooperative project.

This appraisal report is subject to the following scope of work, intended use, intended user, definition of market value, statement of assumptions and limiting conditions, and certifications. Modifications, additions, or deletions to the intended use, intended user, definition of market value, or assumptions and limiting conditions are not permitted. The appraiser may expand the scope of work to include any additional research or analysis necessary based on the complexity of this appraisal assignment. Modifications or deletions to the certifications are also not permitted. However, additional certifications that do not constitute material alterations to this appraisal report, such as those required by law or those related to the appraiser's continuing education or membership in an appraisal organization, are permitted.

SCOPE OF WORK: The scope of work for this appraisal is defined by the complexity of this appraisal assignment and the reporting requirements of this appraisal report form, including the following definition of market value, statement of assumptions and limiting conditions, and certifications. The appraiser must, at a minimum: (1) perform a complete visual inspection of the interior and exterior areas of the subject property, (2) inspect the neighborhood, (3) inspect each of the comparable sales from at least the street, (4) research, verify, and analyze data from reliable public and/or private sources, and (5) report his or her analysis, opinions, and conclusions in this appraisal report.

INTENDED USE: The intended use of this appraisal report is for the lender/client to evaluate the property that is the subject of this appraisal for a mortgage finance transaction.

INTENDED USER: The intended user of this appraisal report is the lender/client.

DEFINITION OF MARKET VALUE: The most probable price which a property should bring in a competitive and open market under all conditions requisite to a fair sale, the buyer and seller, each acting prudently, knowledgeably and assuming the price is not affected by undue stimulus. Implicit in this definition is the consummation of a sale as of a specified date and the passing of title from seller to buyer under conditions whereby: (1) buyer and seller are typically motivated; (2) both parties are well informed or well advised, and each acting in what he or she considers his or her own best interest; (3) a reasonable time is allowed for exposure in the open market; (4) payment is made in terms of cash in U. S. dollars or in terms of financial arrangements comparable thereto; and (5) the price represents the normal consideration for the property sold unaffected by special or creative financing or sales concessions* granted by anyone associated with the sale.

*Adjustments to the comparables must be made for special or creative financing or sales concessions. No adjustments are necessary for those costs which are normally paid by sellers as a result of tradition or law in a market area; these costs are readily identifiable since the seller pays these costs in virtually all sales transactions. Special or creative financing adjustments can be made to the comparable property by comparisons to financing terms offered by a third party institutional lender that is not already involved in the property or transaction. Any adjustment should not be calculated on a mechanical dollar for dollar cost of the financing or concession but the dollar amount of any adjustment should approximate the market's reaction to the financing or concessions based on the appraiser's judgment.

STATEMENT OF ASSUMPTIONS AND LIMITING CONDITIONS: The appraiser's certification in this report is subject to the following assumptions and limiting conditions:

1. The appraiser will not be responsible for matters of a legal nature that affect either the property being appraised or the title to it, except for information that he or she became aware of during the research involved in performing this appraisal. The appraiser assumes that the title is good and marketable and will not render any opinions about the title.

2. The appraiser has provided a sketch in this appraisal report to show the approximate dimensions of the improvements. The sketch is included only to assist the reader in visualizing the property and understanding the appraiser's determination of its size.

3. The appraiser has examined the available flood maps that are provided by the Federal Emergency Management Agency (or other data sources) and has noted in this appraisal report whether any portion of the subject site is located in an identified Special Flood Hazard Area. Because the appraiser is not a surveyor, he or she makes no guarantees, express or implied, regarding this determination.

4. The appraiser will not give testimony or appear in court because he or she made an appraisal of the property in question, unless specific arrangements to do so have been made beforehand, or as otherwise required by law.

5. The appraiser has noted in this appraisal report any adverse conditions (such as needed repairs, deterioration, the presence of hazardous wastes, toxic substances, etc.) observed during the inspection of the subject property or that he or she became aware of during the research involved in performing the appraisal. Unless otherwise stated in this appraisal report, the appraiser has no knowledge of any hidden or unapparent physical deficiencies or adverse conditions of the property (such as, but not limited to, needed repairs, deterioration, the presence of hazardous wastes, toxic substances, adverse environmental conditions, etc.) that would make the property less valuable, and has assumed that there are no such conditions and makes no guarantees or warranties, express or implied. The appraiser will not be responsible for any such conditions that do exist or for any engineering or testing that might be required to discover whether such conditions exist. Because the appraiser is not an expert in the field of environmental hazards, this appraisal report must not be considered as an environmental assessment of the property.

6. The appraiser has based his or her appraisal report and valuation conclusion for an appraisal that is subject to satisfactory completion, repairs, or alterations on the assumption that the completion, repairs, or alterations of the subject property will be performed in a professional manner.

Form 1004UAD - "TOTAL" appraisal software by a la mode, inc. - 1-800-ALAMODE

Uniform Residential Appraisal Report

File # SR8019BP

APPRAISER'S CERTIFICATION: The Appraiser certifies and agrees that:

1. I have, at a minimum, developed and reported this appraisal in accordance with the scope of work requirements stated in this appraisal report.

2. I performed a complete visual inspection of the interior and exterior areas of the subject property. I reported the condition of the improvements in factual, specific terms. I identified and reported the physical deficiencies that could affect the livability, soundness, or structural integrity of the property.

3. I performed this appraisal in accordance with the requirements of the Uniform Standards of Professional Appraisal Practice that were adopted and promulgated by the Appraisal Standards Board of The Appraisal Foundation and that were in place at the time this appraisal report was prepared.

4. I developed my opinion of the market value of the real property that is the subject of this report based on the sales comparison approach to value. I have adequate comparable market data to develop a reliable sales comparison approach for this appraisal assignment. I further certify that I considered the cost and income approaches to value but did not develop them, unless otherwise indicated in this report.

5. I researched, verified, analyzed, and reported on any current agreement for sale for the subject property, any offering for sale of the subject property in the twelve months prior to the effective date of this appraisal, and the prior sales of the subject property for a minimum of three years prior to the effective date of this appraisal, unless otherwise indicated in this report.

6. I researched, verified, analyzed, and reported on the prior sales of the comparable sales for a minimum of one year prior to the date of sale of the comparable sale, unless otherwise indicated in this report.

7. I selected and used comparable sales that are locationally, physically, and functionally the most similar to the subject property.

8. I have not used comparable sales that were the result of combining a land sale with the contract purchase price of a home that has been built or will be built on the land.

9. I have reported adjustments to the comparable sales that reflect the market's reaction to the differences between the subject property and the comparable sales.

10. I verified, from a disinterested source, all information in this report that was provided by parties who have a financial interest in the sale or financing of the subject property.

11. I have knowledge and experience in appraising this type of property in this market area.

12. I am aware of, and have access to, the necessary and appropriate public and private data sources, such as multiple listing services, tax assessment records, public land records and other such data sources for the area in which the property is located.

13. I obtained the information, estimates, and opinions furnished by other parties and expressed in this appraisal report from reliable sources that I believe to be true and correct.

14. I have taken into consideration the factors that have an impact on value with respect to the subject neighborhood, subject property, and the proximity of the subject property to adverse influences in the development of my opinion of market value. I have noted in this appraisal report any adverse conditions (such as, but not limited to, needed repairs, deterioration, the presence of hazardous wastes, toxic substances, adverse environmental conditions, etc.) observed during the inspection of the subject property or that I became aware of during the research involved in performing this appraisal. I have considered these adverse conditions in my analysis of the property value, and have reported on the effect of the conditions on the value and marketability of the subject property.

15. I have not knowingly withheld any significant information from this appraisal report and, to the best of my knowledge, all statements and information in this appraisal report are true and correct.

16. I stated in this appraisal report my own personal, unbiased, and professional analysis, opinions, and conclusions, which are subject only to the assumptions and limiting conditions in this appraisal report.

17. I have no present or prospective interest in the property that is the subject of this report, and I have no present or prospective personal interest or bias with respect to the participants in the transaction. I did not base, either partially or completely, my analysis and/or opinion of market value in this appraisal report on the race, color, religion, sex, age, marital status, handicap, familial status, or national origin of either the prospective owners or occupants of the subject property or of the present owners or occupants of the properties in the vicinity of the subject property or on any other basis prohibited by law.

18. My employment and/or compensation for performing this appraisal or any future or anticipated appraisals was not conditioned on any agreement or understanding, written or otherwise, that I would report (or present analysis supporting) a predetermined specific value, a predetermined minimum value, a range or direction in value, a value that favors the cause of any party, or the attainment of a specific result or occurrence of a specific subsequent event (such as approval of a pending mortgage loan application).

19. I personally prepared all conclusions and opinions about the real estate that were set forth in this appraisal report. If I relied on significant real property appraisal assistance from any individual or individuals in the performance of this appraisal or the preparation of this appraisal report, I have named such individual(s) and disclosed the specific tasks performed in this appraisal report. I certify that any individual so named is qualified to perform the tasks. I have not authorized anyone to make a change to any item in this appraisal report; therefore, any change made to this appraisal is unauthorized and I will take no responsibility for it.

20. I identified the lender/client in this appraisal report who is the individual, organization, or agent for the organization that ordered and will receive this appraisal report.

Form 1004UAD - "TOTAL" appraisal software by a la mode, inc. - 1-800-ALAMODE

Uniform Residential Appraisal Report

File # SR8019BP

21. The lender/client may disclose or distribute this appraisal report to: the borrower; another lender at the request of the borrower; the mortgagee or its successors and assigns; mortgage insurers; government sponsored enterprises; other secondary market participants; data collection or reporting services; professional appraisal organizations; any department, agency, or instrumentality of the United States; and any state, the District of Columbia, or other jurisdictions; without having to obtain the appraiser's or supervisory appraiser's (if applicable) consent. Such consent must be obtained before this appraisal report may be disclosed or distributed to any other party (including, but not limited to, the public through advertising, public relations, news, sales, or other media).

22. I am aware that any disclosure or distribution of this appraisal report by me or the lender/client may be subject to certain laws and regulations. Further, I am also subject to the provisions of the Uniform Standards of Professional Appraisal Practice that pertain to disclosure or distribution by me.

23. The borrower, another lender at the request of the borrower, the mortgagee or its successors and assigns, mortgage insurers, government sponsored enterprises, and other secondary market participants may rely on this appraisal report as part of any mortgage finance transaction that involves any one or more of these parties.

24. If this appraisal report was transmitted as an "electronic record" containing my "electronic signature," as those terms are defined in applicable federal and/or state laws (excluding audio and video recordings), or a facsimile transmission of this appraisal report containing a copy or representation of my signature, the appraisal report shall be as effective, enforceable and valid as if a paper version of this appraisal report were delivered containing my original hand written signature.

25. Any intentional or negligent misrepresentation(s) contained in this appraisal report may result in civil liability and/or criminal penalties including, but not limited to, fine or imprisonment or both under the provisions of Title 18, United States Code, Section 1001, et seq., or similar state laws.

SUPERVISORY APPRAISER'S CERTIFICATION: The Supervisory Appraiser certifies and agrees that:

1. I directly supervised the appraiser for this appraisal assignment, have read the appraisal report, and agree with the appraiser's analysis, opinions, statements, conclusions, and the appraiser's certification.

2. I accept full responsibility for the contents of this appraisal report including, but not limited to, the appraiser's analysis, opinions, statements, conclusions, and the appraiser's certification.

3. The appraiser identified in this appraisal report is either a sub-contractor or an employee of the supervisory appraiser (or the appraisal firm), is qualified to perform this appraisal, and is acceptable to perform this appraisal under the applicable state law.

4. This appraisal report complies with the Uniform Standards of Professional Appraisal Practice that were adopted and promulgated by the Appraisal Standards Board of The Appraisal Foundation and that were in place at the time this appraisal report was prepared.

5. If this appraisal report was transmitted as an "electronic record" containing my "electronic signature," as those terms are defined in applicable federal and/or state laws (excluding audio and video recordings), or a facsimile transmission of this appraisal report containing a copy or representation of my signature, the appraisal report shall be as effective, enforceable and valid as if a paper version of this appraisal report were delivered containing my original hand written signature.

APPRAISER

Signature William Z Pegg.
Name William Pegg
Company Name A1 Valuation Pro
Company Address 475 Merritt Ave Apt 7
Oakland, CA 94610-5131
Telephone Number (510) 912-1259
Email Address wmgpegg@a1valuationpro.com
Date of Signature and Report 03/17/2026
Effective Date of Appraisal 03/13/2026
State Certification # AR016500
or State License #
or Other (describe) State #
State CA
Expiration Date of Certification or License 11/19/2027

ADDRESS OF PROPERTY APPRAISED
831 Paris St
San Francisco, CA 94112
APPRAISED VALUE OF SUBJECT PROPERTY $ 949,000

LENDER/CLIENT
Name Fastapp AMC
Company Name ResiCentral
Company Address 19417 Shumard Oak Drive Unit 102, Land O
Lakes, FL 34638
Email Address fastapp-47926@messages.spurams.com

SUPERVISORY APPRAISER (ONLY IF REQUIRED)

Signature
Name
Company Name
Company Address
Telephone Number
Email Address
Date of Signature
State Certification #
or State License #
State
Expiration Date of Certification or License

SUBJECT PROPERTY

☐ Did not inspect subject property
☐ Did inspect exterior of subject property from street
Date of Inspection
☐ Did inspect interior and exterior of subject property
Date of Inspection

COMPARABLE SALES

☐ Did not inspect exterior of comparable sales from street
☐ Did inspect exterior of comparable sales from street
Date of Inspection

Form 1004UAD - "TOTAL" appraisal software by a la mode, inc. - 1-800-ALAMODE

USPAP ADDENDUM

File No. SR8019BP

Borrower	MARVIN LAI						
Property Address	831 Paris St						
City	San Francisco	County	San Francisco	State	CA	Zip Code	94112
Lender	ResiCentral						

This report was prepared under the following USPAP reporting option:

☒ Appraisal Report — This report was prepared in accordance with USPAP Standards Rule 2-2(a).

☐ Restricted Appraisal Report — This report was prepared in accordance with USPAP Standards Rule 2-2(b).

Reasonable Exposure Time

My opinion of a reasonable exposure time for the subject property at the market value stated in this report is: 20-60 Days

Additional Certifications

I certify that, to the best of my knowledge and belief:

☒ I have NOT performed services, as an appraiser or in any other capacity, regarding the property that is the subject of this report within the three-year period immediately preceding acceptance of this assignment.

☐ I HAVE performed services, as an appraiser or in another capacity, regarding the property that is the subject of this report within the three-year period immediately preceding acceptance of this assignment. Those services are described in the comments below.

- The statements of fact contained in this report are true and correct.
- The reported analyses, opinions, and conclusions are limited only by the reported assumptions and limiting conditions and are my personal, impartial, and unbiased professional analyses, opinions, and conclusions.
- Unless otherwise indicated, I have no present or prospective interest in the property that is the subject of this report and no personal interest with respect to the parties involved.
- I have no bias with respect to the property that is the subject of this report or the parties involved with this assignment.
- My engagement in this assignment was not contingent upon developing or reporting predetermined results.
- My compensation for completing this assignment is not contingent upon the development or reporting of a predetermined value or direction in value that favors the cause of the client, the amount of the value opinion, the attainment of a stipulated result, or the occurrence of a subsequent event directly related to the intended use of this appraisal.
- My analyses, opinions, and conclusions were developed, and this report has been prepared, in conformity with the Uniform Standards of Professional Appraisal Practice that were in effect at the time this report was prepared.
- Unless otherwise indicated, I have made a personal inspection of the property that is the subject of this report.
- Unless otherwise indicated, no one provided significant real property appraisal assistance to the person(s) signing this certification (if there are exceptions, the name of each individual providing significant real property appraisal assistance is stated elsewhere in this report).

Additional Comments

I confirm the appraisal was prepared in accordance with the requirements of the USPAP and with the requirements of title XI of the FIRREA and any implementing regulations.

Extraordinary assumption that the information supplied to the appraiser from verified sources is deemed to be reliable and correct.

APPRAISER:

Signature: William Z Pegg.
Name: William Pegg
Date Signed: 03/17/2026
State Certification #: AR016500
or State License #:
State: CA
Expiration Date of Certification or License: 11/19/2027
Effective Date of Appraisal: 03/13/2026

SUPERVISORY APPRAISER: (only if required)

Signature:
Name:
Date Signed:
State Certification #:
or State License #:
State:
Expiration Date of Certification or License:
Supervisory Appraiser Inspection of Subject Property:
☐ Did Not ☐ Exterior-only from Street ☐ Interior and Exterior

Appraiser Independence Certification

I do hereby certify, I have followed the appraiser independence safeguards in compliance with Appraisal Independence and any applicable state laws I may be required to comply with. This includes but is not limited to the following:

- I am currently licensed and/or certified by the state in which the property to be appraised is located My license is the appropriate license for the appraisal assignment(s) and is reflected on the appraisal report.
- I certify that there have been no sanctions against me for any reason that would impair my ability to perform appraisals pursuant to the required guidelines.

I assert that no employee, director, officer, or agent of Fastapp AMC, or any other third party acting as joint venture partner, independent contractor, appraisal management company, or partner on behalf of ResiCentral, influenced, or attempted to influence the development, reporting, result, or review of my appraisal through coercion, extortion, collusion, compensation, inducement, intimidation, bribery, or in any other manner.

I further assert that Fastapp AMC has never participated in any of the following prohibited behavior in our business relationship:

1) Withholding or threatening to withhold timely payment or partial payment for an appraisal report;

2) Withholding or threatening to withhold future business with me, or demoting or terminating or threatening to demote or terminate me;

3) Expressly or impliedly promising future business, promotions, or increased compensation for myself;

4) Conditioning the ordering of my appraisal report or the payment of my appraisal fee or salary or bonus on the opinion, conclusion, or valuation to be reached, or on a preliminary value estimate requested from me;

5) Requesting that I provide an estimated, predetermined, or desired valuation in an appraisal report prior to the completion of the appraisal report, or requesting that I provide estimated values or comparable sales at any time prior to my completion of an appraisal report;

6) Provided me an anticipated, estimated, encouraged, or desired value for a subject property or a proposed or target amount to be loaned to the borrower, except that a copy of the sales contract for purchase transactions may be provided;

7) Provided to me, or my appraisal company, or any entity or person related to me as appraiser, appraisal company, stock or other financial or non-financial benefits;

8) Any other act or practice that impairs or attempts to impair my independence, objectivity, or impartiality or violates law or regulation, including, but not limited to, the Truth in Lending Act (TILA) and Regulation Z, or the USPAP.

APPRAISER:	SUPERVISORY or CO-APPRAISER:
William Z Pegg.	
Signature	Signature
03/17/2026	
Date	Date
William Pegg	
Appraiser's Name	Appraiser's Name
State Title or Designation	State Title or Designation
AR016500	
State License or Certification #	State License or Certification #
11/19/2027 CA	
Expiration Date of License or Certification State	Expiration Date of License or Certification State

831 Paris St, San Francisco, CA 94112
Address of Property Appraised

07/16

License

Business, Consumer Services & Housing Agency

BUREAU OF REAL ESTATE APPRAISERS

REAL ESTATE APPRAISER LICENSE

William G. Pegg

has successfully met the requirements for a license as a residential real estate appraiser in the State of California and is, therefore, entitled to use the title:

"Certified Residential Real Estate Appraiser"

This license has been issued in accordance with the provisions of the Real Estate Appraisers' Licensing and Certification Law.

BREA APPRAISER IDENTIFICATION NUMBER: AR 016500

Effective Date: November 20, 2025
Date Expires: November 19, 2027

Angela Jemmott, Bureau Chief, BREA

3084918

THIS DOCUMENT CONTAINS A TRUE WATERMARK - HOLD UP TO LIGHT TO SEE "CHAIN LINK"

E & O

Accelerant National Insurance Company
(A Stock Company)
400 Northridge Road, Suite 800
Sandy Springs, GA 30350

REAL ESTATE PROFESSIONAL ERRORS AND OMISSIONS INSURANCE POLICY DECLARATIONS

NOTICE: THIS IS A "CLAIMS MADE AND REPORTED" POLICY. THIS POLICY REQUIRES THAT A CLAIM BE MADE AGAINST THE INSURED DURING THE POLICY PERIOD AND REPORTED TO THE INSURER, IN WRITING, DURING THE POLICY PERIOD OR EXTENDED REPORTING PERIOD.

DEFENSE COSTS WITHIN LIMITS

THIS POLICY CONTAINS PROVISIONS WHICH LIMIT THE AMOUNT OF CLAIM EXPENSES THE INSURER IS RESPONSIBLE TO PAY IN CONNECTION WITH CLAIMS. CLAIM EXPENSES SHALL BE SUBJECT TO ANY DEDUCTIBLE AMOUNT. THE PAYMENT OF CLAIM EXPENSES WILL REDUCE THE LIMITS OF LIABILITY STATED IN ITEM 4. OF THE DECLARATIONS.

PLEASE READ YOUR POLICY CAREFULLY.

Policy Number: NRE40PL101404-02 **Renewal of:** NRE40PL101404-01

1. **Named Insured:** William Pegg
2. **Address:** 475 Merritt Ave. #7
   Oakland, CA 94610
3. **Policy Period:** **From: March 8, 2026** **To: March 8, 2027**
   12:01 A.M. Standard Time at the address of the **Named Insured** as stated in item **2.** Above.
4. **Limit of Liability:**
   A. Each **Claim** Limit of Liability **$ 1,000,000.00**
   B. Policy Aggregate Limit of Liability **$ 1,000,000.00**
5. **Deductible:** **$ 5,000.00** Each **Claim**
6. **Policy Premium:** **$ 759.00**
7. **Retroactive Date: March 8, 2010**
8. **Notice to Company:** Notice of a **Claim** or Potential **Claim** should be sent to:
   OREP Insurance Services: info@orep.org
   6353 El Cajon Blvd, Suite 124-605
   San Diego, CA 92115
9. **Program Administrator:** OREP Insurance Services, LLC – info@orep.org
10. **Forms and Endorsements Attached at Policy Inception:** See Schedule of Forms

If required by state law, this policy will be countersigned by an authorized representative of the Company.

Date: March 3, 2026 By: Isaac Peck
Authorized Representative

N DEC 40002 04 22 Page 1 of 1

File No. SR8019BP

UNIFORM APPRAISAL DATASET (UAD) DEFINITIONS ADDENDUM

(Source: Fannie Mae UAD Appendix D: UAD Field-Specific Standardization Requirements)

Condition Ratings and Definitions

C1

The improvements have been recently constructed and have not been previously occupied. The entire structure and all components are new and the dwelling features no physical depreciation.

Note: Newly constructed improvements that feature recycled or previously used materials and/or components can be considered new dwellings provided that the dwelling is placed on a 100 percent new foundation and the recycled materials and the recycled components have been rehabilitated/remanufactured into like-new condition. Improvements that have not been previously occupied are not considered “new” if they have any significant physical depreciation (that is, newly constructed dwellings that have been vacant for an extended period of time without adequate maintenance or upkeep).

C2

The improvements feature no deferred maintenance, little or no physical depreciation, and require no repairs. Virtually all building components are new or have been recently repaired, refinished, or rehabilitated. All outdated components and finishes have been updated and/or replaced with components that meet current standards. Dwellings in this category are either almost new or have been recently completely renovated and are similar in condition to new construction.

Note: The improvements represent a relatively new property that is well maintained with no deferred maintenance and little or no physical depreciation, or an older property that has been recently completely renovated.

C3

The improvements are well maintained and feature limited physical depreciation due to normal wear and tear. Some components, but not every major building component, may be updated or recently rehabilitated. The structure has been well maintained.

Note: The improvement is in its first-cycle of replacing short-lived building components (appliances, floor coverings, HVAC, etc.) and is being well maintained. Its estimated effective age is less than its actual age. It also may reflect a property in which the majority of short-lived building components have been replaced but not to the level of a complete renovation.

C4

The improvements feature some minor deferred maintenance and physical deterioration due to normal wear and tear. The dwelling has been adequately maintained and requires only minimal repairs to building components/mechanical systems and cosmetic repairs. All major building components have been adequately maintained and are functionally adequate.

Note: The estimated effective age may be close to or equal to its actual age. It reflects a property in which some of the short-lived building components have been replaced, and some short-lived building components are at or near the end of their physical life expectancy; however, they still function adequately. Most minor repairs have been addressed on an ongoing basis resulting in an adequately maintained property.

C5

The improvements feature obvious deferred maintenance and are in need of some significant repairs. Some building components need repairs, rehabilitation, or updating. The functional utility and overall livability is somewhat diminished due to condition, but the dwelling remains useable and functional as a residence.

Note: Some significant repairs are needed to the improvements due to the lack of adequate maintenance. It reflects a property in which many of its short-lived building components are at the end of or have exceeded their physical life expectancy but remain functional.

C6

The improvements have substantial damage or deferred maintenance with deficiencies or defects that are severe enough to affect the safety, soundness, or structural integrity of the improvements. The improvements are in need of substantial repairs and rehabilitation, including many or most major components.

Note: Substantial repairs are needed to the improvements due to the lack of adequate maintenance or property damage. It reflects a property with conditions severe enough to affect the safety, soundness, or structural integrity of the improvements.

Quality Ratings and Definitions

Q1

Dwellings with this quality rating are usually unique structures that are individually designed by an architect for a specified user. Such residences typically are constructed from detailed architectural plans and specifications and feature an exceptionally high level of workmanship and exceptionally high-grade materials throughout the interior and exterior of the structure. The design features exceptionally high-quality exterior refinements and ornamentation, and exceptionally high-quality interior refinements. The workmanship, materials, and finishes throughout the dwelling are of exceptionally high quality.

Q2

Dwellings with this quality rating are often custom designed for construction on an individual property owner’s site. However, dwellings in this quality grade are also found in high-quality tract developments featuring residence constructed from individual plans or from highly modified or upgraded plans. The design features detailed, high quality exterior ornamentation, high-quality interior refinements, and detail. The workmanship, materials, and finishes throughout the dwelling are generally of high or very high quality.

UNIFORM APPRAISAL DATASET (UAD) DEFINITIONS ADDENDUM

(Source: Fannie Mae UAD Appendix D: UAD Field-Specific Standardization Requirements)

Quality Ratings and Definitions (continued)

Q3

Dwellings with this quality rating are residences of higher quality built from individual or readily available designer plans in above-standard residential tract developments or on an individual property owner's site. The design includes significant exterior ornamentation and interiors that are well finished. The workmanship exceeds acceptable standards and many materials and finishes throughout the dwelling have been upgraded from "stock" standards.

Q4

Dwellings with this quality rating meet or exceed the requirements of applicable building codes. Standard or modified standard building plans are utilized and the design includes adequate fenestration and some exterior ornamentation and interior refinements. Materials, workmanship, finish, and equipment are of stock or builder grade and may feature some upgrades.

Q5

Dwellings with this quality rating feature economy of construction and basic functionality as main considerations. Such dwellings feature a plain design using readily available or basic floor plans featuring minimal fenestration and basic finishes with minimal exterior ornamentation and limited interior detail. These dwellings meet minimum building codes and are constructed with inexpensive, stock materials with limited refinements and upgrades.

Q6

Dwellings with this quality rating are of basic quality and lower cost; some may not be suitable for year-round occupancy. Such dwellings are often built with simple plans or without plans, often utilizing the lowest quality building materials. Such dwellings are often built or expanded by persons who are professionally unskilled or possess only minimal construction skills. Electrical, plumbing, and other mechanical systems and equipment may be minimal or non-existent. Older dwellings may feature one or more substandard or non-conforming additions to the original structure

Definitions of Not Updated, Updated, and Remodeled

Not Updated

Little or no updating or modernization. This description includes, but is not limited to, new homes.

Residential properties of fifteen years of age or less often reflect an original condition with no updating, if no major components have been replaced or updated. Those over fifteen years of age are also considered not updated if the appliances, fixtures, and finishes are predominantly dated. An area that is 'Not Updated' may still be well maintained and fully functional, and this rating does not necessarily imply deferred maintenance or physical/functional deterioration.

Updated

The area of the home has been modified to meet current market expectations. These modifications are limited in terms of both scope and cost.

An updated area of the home should have an improved look and feel, or functional utility. Changes that constitute updates include refurbishment and/or replacing components to meet existing market expectations. Updates do not include significant alterations to the existing structure.

Remodeled

Significant finish and/or structural changes have been made that increase utility and appeal through complete replacement and/or expansion.

A remodeled area reflects fundamental changes that include multiple alterations. These alterations may include some or all of the following: replacement of a major component (cabinet(s), bathtub, or bathroom tile), relocation of plumbing/gas fixtures/appliances, significant structural alterations (relocating walls, and/or the addition of) square footage). This would include a complete gutting and rebuild.

Explanation of Bathroom Count

Three-quarter baths are counted as a full bath in all cases. Quarter baths (baths that feature only a toilet) are not included in the bathroom count. The number of full and half baths is reported by separating the two values using a period, where the full bath count is represented to the left of the period and the half bath count is represented to the right of the period.

Example:
3.2 indicates three full baths and two half baths.

UNIFORM APPRAISAL DATASET (UAD) DEFINITIONS ADDENDUM

(Source: Fannie Mae UAD Appendix D: UAD Field-Specific Standardization Requirements)

Abbreviations Used in Data Standardization Text

Abbreviation	Full Name	Fields Where This Abbreviation May Appear
A	Adverse	Location & View
ac	Acres	Area, Site
AdjPrk	Adjacent to Park	Location
AdjPwr	Adjacent to Power Lines	Location
ArmLth	Arms Length Sale	Sale or Financing Concessions
AT	Attached Structure	Design (Style)
B	Beneficial	Location & View
ba	Bathroom(s)	Basement & Finished Rooms Below Grade
br	Bedroom	Basement & Finished Rooms Below Grade
BsyRd	Busy Road	Location
c	Contracted Date	Date of Sale/Time
Cash	Cash	Sale or Financing Concessions
Comm	Commercial Influence	Location
Conv	Conventional	Sale or Financing Concessions
cp	Carport	Garage/Carport
CrtOrd	Court Ordered Sale	Sale or Financing Concessions
CtySky	City View Skyline View	View
CtyStr	City Street View	View
cv	Covered	Garage/Carport
DOM	Days On Market	Data Sources
DT	Detached Structure	Design (Style)
dw	Driveway	Garage/Carport
e	Expiration Date	Date of Sale/Time
Estate	Estate Sale	Sale or Financing Concessions
FHA	Federal Housing Authority	Sale or Financing Concessions
g	Garage	Garage/Carport
ga	Attached Garage	Garage/Carport
gbi	Built-in Garage	Garage/Carport
gd	Detached Garage	Garage/Carport
GlfCse	Golf Course	Location
Glfvw	Golf Course View	View
GR	Garden	Design (Style)
HR	High Rise	Design (Style)
in	Interior Only Stairs	Basement & Finished Rooms Below Grade
Ind	Industrial	Location & View
Listing	Listing	Sale or Financing Concessions
Lndfl	Landfill	Location
LtdSght	Limited Sight	View
MR	Mid-rise	Design (Style)
Mtn	Mountain View	View
N	Neutral	Location & View
NonArm	Non-Arms Length Sale	Sale or Financing Concessions
o	Other	Basement & Finished Rooms Below Grade
O	Other	Design (Style)
op	Open	Garage/Carport
Prk	Park View	View
Pstrl	Pastoral View	View
PwrLn	Power Lines	View
PubTrn	Public Transportation	Location
Relo	Relocation Sale	Sale or Financing Concessions
REO	REO Sale	Sale or Financing Concessions
Res	Residential	Location & View
RH	USDA - Rural Housing	Sale or Financing Concessions
rr	Recreational (Rec) Room	Basement & Finished Rooms Below Grade
RT	Row or Townhouse	Design (Style)
s	Settlement Date	Date of Sale/Time
SD	Semi-detached Structure	Design (Style)
Short	Short Sale	Sale or Financing Concessions
sf	Square Feet	Area, Site, Basement
sqm	Square Meters	Area, Site
Unk	Unknown	Date of Sale/Time
VA	Veterans Administration	Sale or Financing Concessions
w	Withdrawn Date	Date of Sale/Time
wo	Walk Out Basement	Basement & Finished Rooms Below Grade
Woods	Woods View	View
Wtr	Water View	View
WtrFr	Water Frontage	Location
wu	Walk Up Basement	Basement & Finished Rooms Below Grade

Analytics Addendum

Borrower	MARVIN LAI						
Property Address	831 Paris St						
City	San Francisco	County	San Francisco	State	CA	Zip Code	94112
Lender/Client	ResiCentral						

The listing inventory chart displays the number of properties actively for sale each day in the subject market from 03-07-2025 to 03-13-2026.

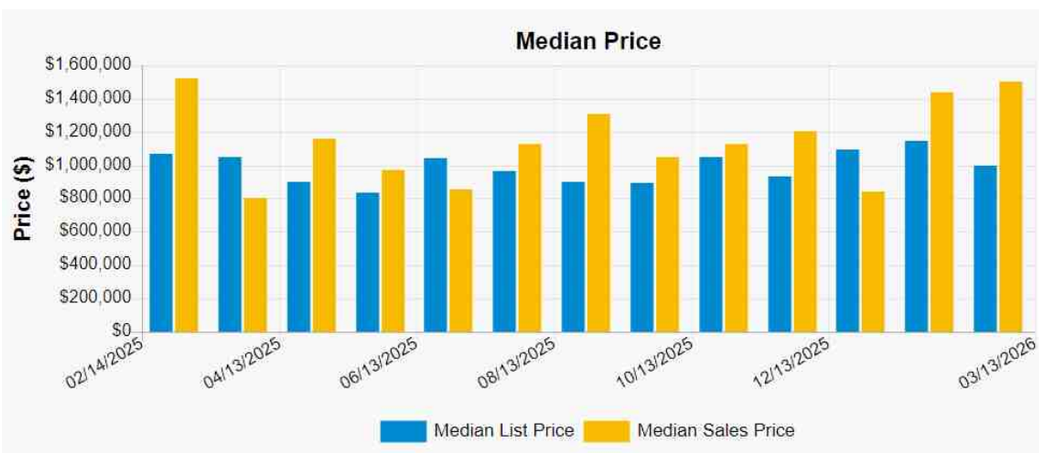

For each month from 02-14-2025 to 03-13-2026 this chart shows the median price for both sales and listings in the subject market.

For each month from 02-14-2025 to 03-13-2026 this chart shows the number of properties for both sales and listings in the subject market.

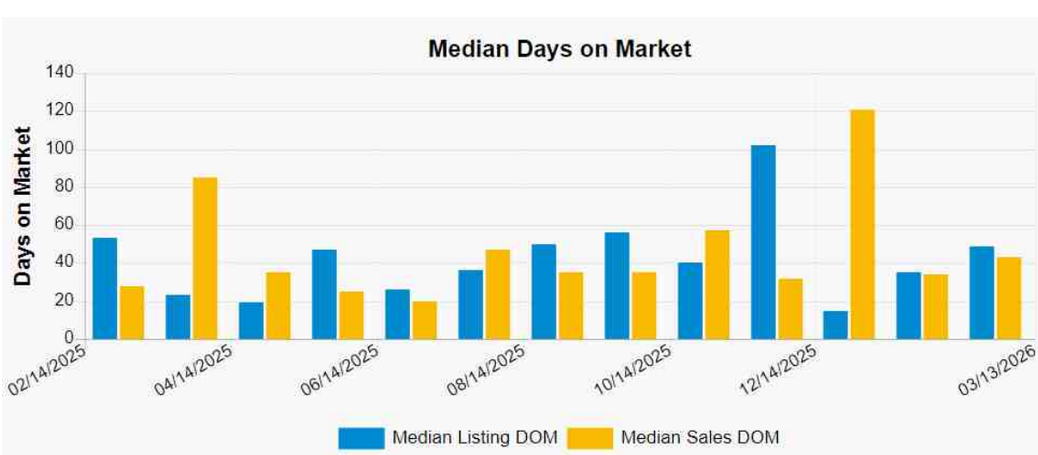

This chart shows the median days on market for sales and active listings during each month starting 02-14-2025 through 03-13-2026.

Analytics Addendum

Borrower	MARVIN LAI						
Property Address	831 Paris St						
City	San Francisco	County	San Francisco	State	CA	Zip Code	94112
Lender/Client	ResiCentral						

This graph demonstrates the months of housing supply per month by taking the active number of listings during that month and dividing by the average number of sales per month over the 12 months trailing.

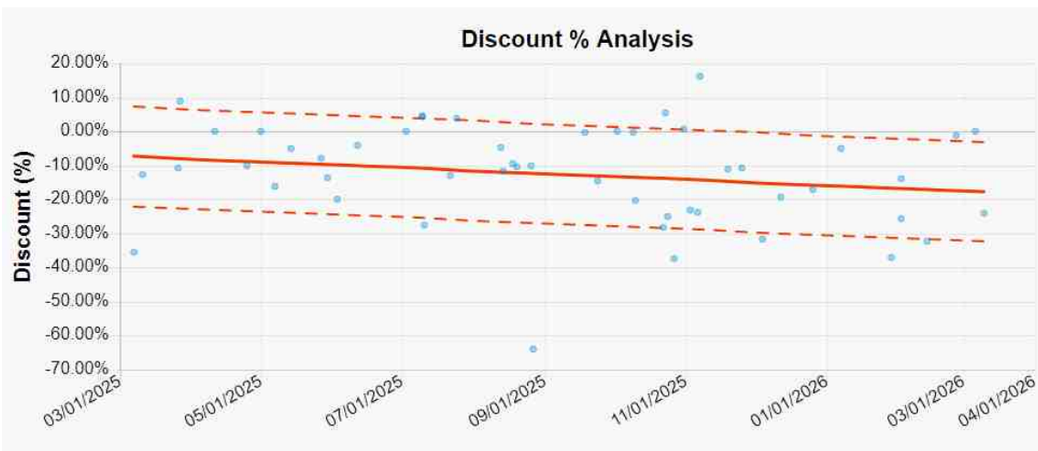

This analysis of the discount percentage between listing price and selling price from 03-07-2025 to 03-10-2026 predicts a discount of -17.85% with a range from -32.46% to -3.24%.

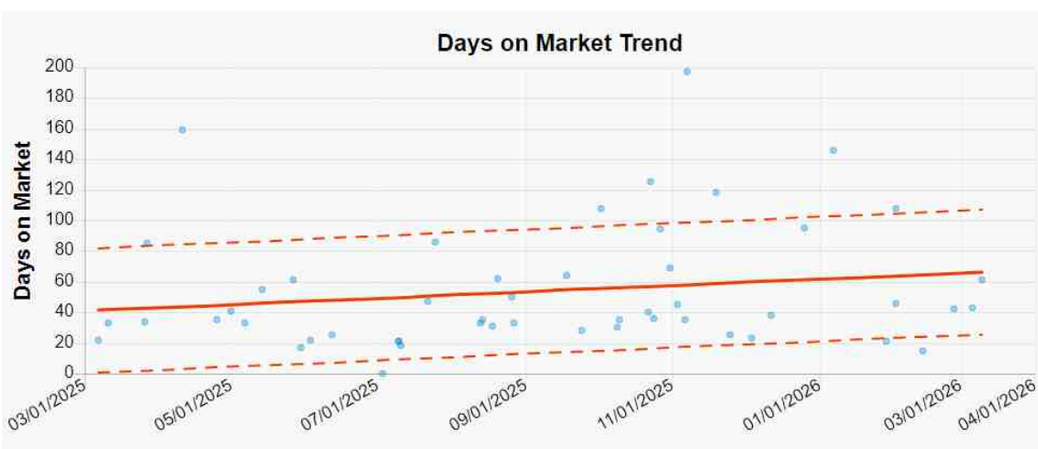

This chart shows the median days on market for sales and active listings during each month starting 03-07-2025 through 03-10-2026.

This analysis of prices in the subject market from 03-07-2025 to 03-10-2026 yields a price range of $1,195,787 to $1,851,349 for properties in the subject market as of 03-13-2026.

Analytics Addendum

Borrower	MARVIN LAI						
Property Address	831 Paris St						
City	San Francisco	County	San Francisco	State	CA	Zip Code	94112
Lender/Client	ResiCentral						

This chart groups 56 properties in the subject market by size.
Subject Property: 1229 sf;
GLA Range: 650 sf - 3,158 sf; GLA Median: 1,511 sf; GLA Average: 1,574 sf;

This analysis of the price per sq ft. in the subject market from 03-07-2025 to 03-10-2026 yields a range of $694/sf to $1,015/sf for properties in the subject market as of 03-13-2026.

This chart demonstrates the median sales to list price ratio for transactions in the market area between 02-14-2025 and 03-13-2026.

This chart shows the avg sale price for competing properties grouped by month from 02-14-2025 through 03-13-2026 with a secondary axis demonstrating the number of properties per group.

Location Map

Borrower	MARVIN LAI						
Property Address	831 Paris St						
City	San Francisco	County	San Francisco	State	CA	Zip Code	94112
Lender/Client	ResiCentral						

Flood Map
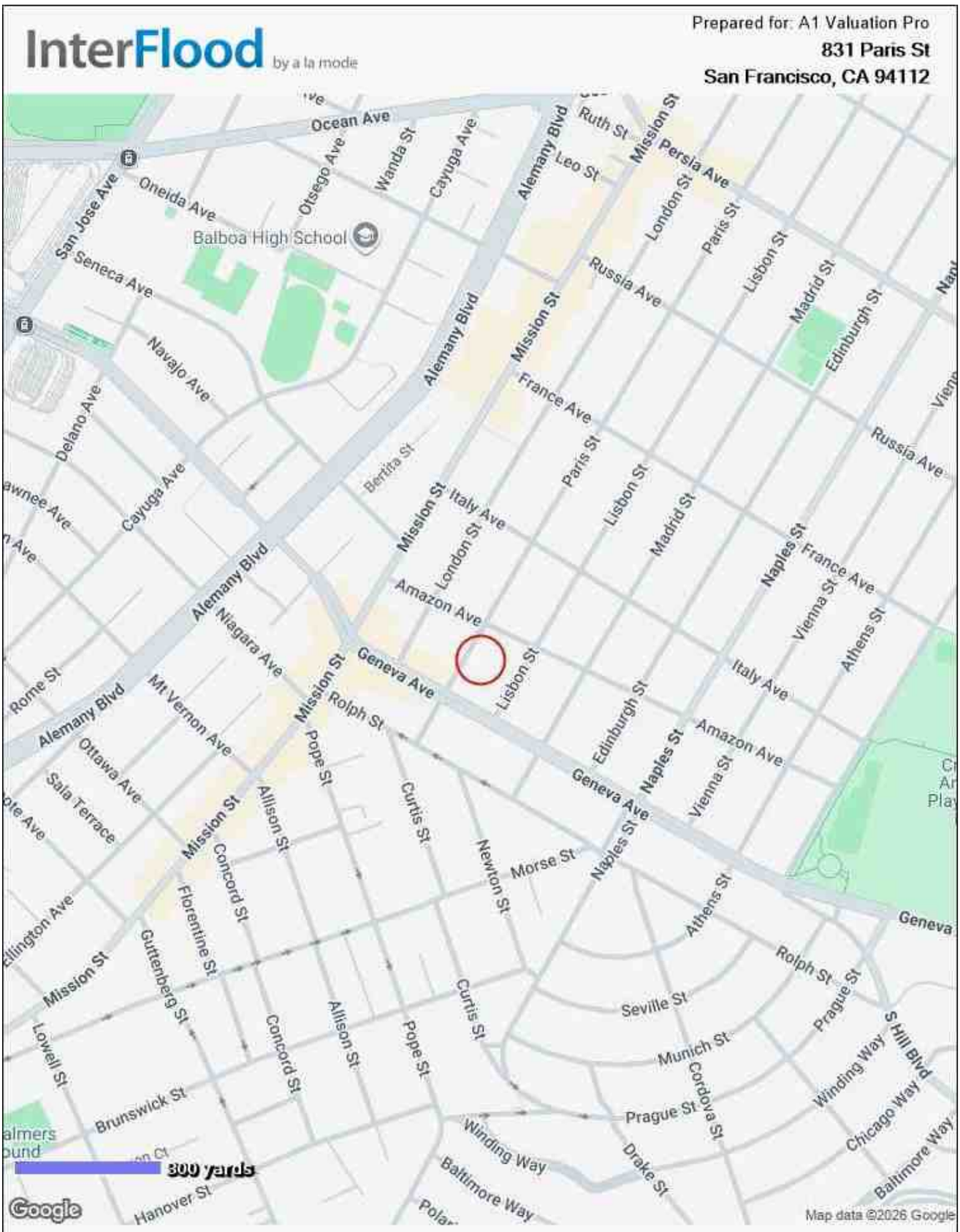
Borrower	MARVIN LAI						
Property Address	831 Paris St						
City	San Francisco	County	San Francisco	State	CA	Zip Code	94112
Lender/Client	ResiCentral