FHA/VA Case No.

INVOICE

FROM:

Expose Value Appraisals
Expose Value Appraisals
17115 Ashby Ave
Flushing, NY 11358-3820

Telephone Number: (718) 460-8500 Fax Number:

TO:

FASTAPP

Telephone Number: Fax Number:
Alternate Number: E-Mail:

INVOICE NUMBER
DATE
03/16/2026
REFERENCE
Internal Order #:
Lender Case #:
Client File #:
Main File # on form: EA0935026
Other File # on form:
Federal Tax ID:
Employer ID:

DESCRIPTION

Lender: East Coast Capital Corp. Client: FASAPP
Purchaser/Borrower: Sherill Purcell
Property Address: 1314 Albemarle Rd
City: Brooklyn
County: Kings State: NY Zip: 11226
Legal Description: BLK:5117 LOT: 06 SECTION: 16

FEES	AMOUNT
1 FAMILY /CONV	900.00
SUBTOTAL	900.00

PAYMENTS			AMOUNT
Check #:	Date:	Description:	
Check #:	Date:	Description:	
Check #:	Date:	Description:	
		SUBTOTAL	
		TOTAL DUE	$ 900.00

FHA/VA Case No.

Borrower	Sherill Purcell					File No.	EA0935026
Property Address	1314 Albemarle Rd						
City	Brooklyn	County	Kings	State	NY	Zip Code	11226
Lender/Client	East Coast Capital Corp.						

TABLE OF CONTENTS

Invoice 1
URAR 2
Additional Comparables 4-6 8
Market Conditions Addendum to the Appraisal Report 9
Supplemental Addendum w/sig block 10
Subject Photos 12
Subject Photos 13
Subject Photos 14
Subject Photos Interior 15
Subject Photos Interior 16
Subject Photos Interior 17
Subject Photos Interior 18
Subject Photos Interior 19
Subject Photos Interior 20
Subject Photos Interior 21
Subject Photos Interior 22
Subject Photos Interior 23
Comparable Photos 1-3 24
Comparable Photos 4-6 25
Building Sketch (Page - 1) 26
Building Sketch (Page - 2) 27
Location Map 28
Location Map 29
E&O 30
LIC 31
UAD Definitions Addendum 32

FHA/VA Case No.

Uniform Residential Appraisal Report

1034000694431
File # EA0935026

The purpose of this summary appraisal report is to provide the lender/client with an accurate, and adequately supported, opinion of the market value of the subject property.

SUBJECT

Property Address 1314 Albemarle Rd | City Brooklyn | State NY | Zip Code 11226
Borrower Sherill Purcell | Owner of Public Record Sherill Purcell & Herbie Mingo | County Kings
Legal Description BLK:5117 LOT: 06 SECTION: 16
Assessor's Parcel # 3051170006 | Tax Year 2025 | R.E. Taxes $ 14,197
Neighborhood Name PROSPECT PARK SOUTH | Map Reference GOOGLE MAP | Census Tract 1522.00
Occupant [X] Owner [ ] Tenant [ ] Vacant | Special Assessments $ 0 | [ ] PUD HOA $ 0 [ ] per year [ ] per month
Property Rights Appraised [X] Fee Simple [ ] Leasehold [ ] Other (describe)
Assignment Type [ ] Purchase Transaction [X] Refinance Transaction [ ] Other (describe)
Lender/Client East Coast Capital Corp. | Address 2160 Superior Avenue E., Cleveland, OH, 44114
Is the subject property currently offered for sale or has it been offered for sale in the twelve months prior to the effective date of this appraisal? [ ] Yes [X] No
Report data source(s) used, offering price(s), and date(s). HAS NOT BEEN LISTED FOR SALE AS PER THE PUBLIC RECORDS.

CONTRACT

I [ ] did [ ] did not analyze the contract for sale for the subject purchase transaction. Explain the results of the analysis of the contract for sale or why the analysis was not performed.

Contract Price $ | Date of Contract | Is the property seller the owner of public record? [ ] Yes [ ] No | Data Source(s)
Is there any financial assistance (loan charges, sale concessions, gift or downpayment assistance, etc.) to be paid by any party on behalf of the borrower? [ ] Yes [ ] No
If Yes, report the total dollar amount and describe the items to be paid.

NEIGHBORHOOD

Note: Race and the racial composition of the neighborhood are not appraisal factors.

Neighborhood Characteristics		One-Unit Housing Trends		One-Unit Housing			Present Land Use %	
Location	[X] Urban [ ] Suburban [ ] Rural	Property Values	[ ] Increasing [X] Stable [ ] Declining	PRICE	AGE		One-Unit	50 %
Built-Up	[X] Over 75% [ ] 25-75% [ ] Under 25%	Demand/Supply	[ ] Shortage [X] In Balance [ ] Over Supply	$ (000)	(yrs)		2-4 Unit	35 %
Growth	[ ] Rapid [X] Stable [ ] Slow	Marketing Time	[ ] Under 3 mths [X] 3-6 mths [ ] Over 6 mths	2,000	Low	1	Multi-Family	5 %
Neighborhood Boundaries	SOUTH OF FARRAGUT ROAD, NORTH OF FLAT LANDS AVENUE, EAST			6,250	High	140	Commercial	5 %
OF BEDFORD AVENUE AND WEST OF UTICA AVENUE.				3,800	Pred.	60	Other	5 %

Neighborhood Description THE SUBJECT PROPERTY IS LOCATED IN AN AVERAGE RESIDENTIAL NEIGHBORHOOD BEING SIMILAR TO SURROUNDING HOMES AND IS WITHIN CLOSE DISTANCE OF ALL NECESSARY SUPPORT FACILITY, **AMENITIES, PLAY GROUND/PARK AND SCHOOL (OTHER)**.

Market Conditions (including support for the above conclusions) SEE ATTACHED ADDENDA.

SITE

Dimensions 100X130 | Area 13000 sf | Shape RECTANGULAR | View N;Res;
Specific Zoning Classification R1-2 | Zoning Description LOW DENSITY RESIDENTIAL
Zoning Compliance [X] Legal [ ] Legal Nonconforming (Grandfathered Use) [ ] No Zoning [ ] Illegal (describe)
Is the highest and best use of subject property as improved (or as proposed per plans and specifications) the present use? [X] Yes [ ] No If No, describe

Utilities	Public	Other (describe)		Public	Other (describe)	Off-site Improvements - Type	Public	Private
Electricity	[X]	[ ]	Water	[X]	[ ]	Street ASPHALT	[X]	[ ]
Gas	[X]	[ ]	Sanitary Sewer	[X]	[ ]	Alley NONE	[ ]	[ ]

FEMA Special Flood Hazard Area [ ] Yes [X] No | FEMA Flood Zone X | FEMA Map # 3604970214F | FEMA Map Date 09/05/2007
Are the utilities and off-site improvements typical for the market area? [X] Yes [ ] No If No, describe
Are there any adverse site conditions or external factors (easements, encroachments, environmental conditions, land uses, etc.)? [ ] Yes [X] No If Yes, describe
NO INADEQUACIES NOTED.

IMPROVEMENTS

General Description		Foundation		Exterior Description	materials/condition	Interior	materials/condition
Units [X] One [ ] One with Accessory Unit		[ ] Concrete Slab [ ] Crawl Space		Foundation Walls	CONCRETE/GOOD	Floors	HARD WD/AVG
# of Stories 2.5		[X] Full Basement [ ] Partial Basement		Exterior Walls	FRAME/AVG	Walls	DRY WALL/AVG
Type [X] Det. [ ] Att. [ ] S-Det./End Unit		Basement Area 2,360 sq.ft.		Roof Surface	ASPHALT/ AVG	Trim/Finish	WOOD/AVG
[X] Existing [ ] Proposed [ ] Under Const.		Basement Finish 90 %		Gutters & Downspouts	ALUMINIUM/AVG	Bath Floor	CERAMIC/AVG
Design (Style) Colonial		[ ] Outside Entry/Exit [ ] Sump Pump		Window Type	A.D.H/AVG	Bath Wainscot	CERAMIC/AVG
Year Built 1915		Evidence of [ ] Infestation		Storm Sash/Insulated	YES/YES/GAVG	Car Storage	[ ] None
Effective Age (Yrs) 18		[ ] Dampness [ ] Settlement		Screens	YES/AVG	[X] Driveway	# of Cars 5
Attic	[X] None	Heating [ ] FWA [X] HWBB [ ] Radiant		Amenities	[ ] Woodstove(s) # 0	Driveway Surface	CONCRETE
[ ] Drop Stair	[ ] Stairs	[ ] Other	Fuel GAS	[X] Fireplace(s) # 1	[X] Fence WOOD	[X] Garage	# of Cars 3
[ ] Floor	[ ] Scuttle	Cooling [X] Central Air Conditioning		[X] Patio/Deck Wood	[X] Porch Conc	[ ] Carport	# of Cars 0
[ ] Finished	[ ] Heated	[ ] Individual	[ ] Other	[ ] Pool NONE	[ ] Other NONE	[X] Att.	[ ] Det. [ ] Built-in

Appliances [X] Refrigerator [X] Range/Oven [ ] Dishwasher [ ] Disposal [ ] Microwave [ ] Washer/Dryer [ ] Other (describe)
Finished area above grade contains: 13 Rooms 8 Bedrooms 4.1 Bath(s) 6,222 Square Feet of Gross Living Area Above Grade
Additional features (special energy efficient items, etc.). THERM- WINDOW, NO VALUE FOR ITEMS OTHER THEN REAL PROPERTY.

Describe the condition of the property (including needed repairs, deterioration, renovations, remodeling, etc.). C4;No updates in the prior 15 years;NO INADEQUACIES NOTED.

Are there any physical deficiencies or adverse conditions that affect the livability, soundness, or structural integrity of the property? [ ] Yes [X] No If Yes, describe

Does the property generally conform to the neighborhood (functional utility, style, condition, use, construction, etc.)? [X] Yes [ ] No If No, describe

Form 1004UAD - "TOTAL" appraisal software by a la mode, inc. - 1-800-ALAMODE

FHA/VA Case No.

Uniform Residential Appraisal Report

1034000694431
File # EA0935026

There are 0 comparable properties currently offered for sale in the subject neighborhood ranging in price from $ 0 to $ 0 .

There are 5 comparable sales in the subject neighborhood within the past twelve months ranging in sale price from $ 2,000,000 to $ 6,250,000 .

FEATURE	SUBJECT	COMPARABLE SALE # 1		COMPARABLE SALE # 2		COMPARABLE SALE # 3	
Address	1314 Albemarle Rd Brooklyn, NY 11226	1221 Albemarle Rd Brooklyn, NY 11218		1304 Ditmas Ave Brooklyn, NY 11226		49 Rutland Rd Brooklyn, NY 11225	
Proximity to Subject		0.06 miles NW		0.71 miles S		0.97 miles NE	
Sale Price	$		$ 6,250,000		$ 3,410,000		$ 3,700,000
Sale Price/Gross Liv. Area	$ 565.42 sq.ft.	$ 1426.94 sq.ft.		$ 1255.99 sq.ft.		$ 1039.33 sq.ft.	
Data Source(s)		PUBLIC RECORDS;DOM UNK		PUBLIC RECORDS;DOM UNK		PUBLIC RECORDS;DOM UNK	
Verification Source(s)		EXT- INSP, GEO DATA ,TAX ASSESSOR		EXT- INSP, GEO DATA ,TAX ASSESSOR		EXT- INSP, GEO DATA ,TAX ASSESSOR	
VALUE ADJUSTMENTS	DESCRIPTION	DESCRIPTION	+(-) $ Adjustment	DESCRIPTION	+(-) $ Adjustment	DESCRIPTION	+(-) $ Adjustment
Sales or Financing Concessions		ArmLth Conv;0		ArmLth Conv;0		ArmLth Conv;0	
Date of Sale/Time		s03/26;Unk		s09/25;Unk		s07/25;Unk	
Location	N;Res;	N;Res;		N;Res;		N;Res;	
Leasehold/Fee Simple	Fee Simple	Fee Simple		Fee Simple		Fee Simple	
Site	13000 sf	8000 sf	+50,000	3417 sf	+100,000	2000 sf	+110,000
View	N;Res;	N;Res;		N;Res;		N;Res;	
Design (Style)	DT2.5;Colonial	DT3.0;Colonial	0	DT2.5;Colonial		SD3;Colonial	+20,000
Quality of Construction	Q4	Q4		Q3	-20,000	Q3	-2,000
Actual Age	111	105	0	110	0	100	0
Condition	C4	C2	-625,000	C2	-341,000	C3	-185,000
Above Grade Room Count (Total / Bdrms. / Baths)	13 / 8 / 4.1	10 / 6 / 4.1	0	10 / 7 / 3.0	+15,000	6 / 4 / 2.1	+20,000
Gross Living Area	6,222 sq.ft.	4,380 sq.ft.	+175,000	2,715 sq.ft.	+333,000	3,560 sq.ft.	+253,000
Basement & Finished	2360sf2124sfin	1320sf1200sfin	0	1092sf900sfin	0	782sf620sfin	0
Rooms Below Grade	1rr0br1.0ba2o	1rr0br1.0ba2o		1rr0br1.0ba2o		0rr1br1.0ba1o	0
Functional Utility	1 FAM/AVG	1 FAM/AVG		1 FAM/AVG		1 FAM/AVG	
Heating/Cooling	ADEQ/CAC	ADEQ/CAC		ADEQ/CAC		ADEQ/CAC	
Energy Efficient Items	THERM-WINDOW	THERM-WINDO		THERM-WINDO		THERM-WINDO	
Garage/Carport	3ga5dw	3ga5dw		3dw	+30,000	3dw	+30,000
Porch/Patio/Deck	PORCH,PATIO	PATIO,PORCH	0	PATIO,DECK	0	PORCH	0
FIRE PLACE	YES	YES		YES		YES	
IN GROUND POOL	NONE	NONE		YES	-50,000	NONE	
Net Adjustment (Total)		☐ + ☒ -	$ -400,000	☒ + ☐ -	$ 67,000	☒ + ☐ -	$ 246,000
Adjusted Sale Price of Comparables		Net Adj. 6.4 % Gross Adj. 13.6 %	$ 5,850,000	Net Adj. 2.0 % Gross Adj. 26.1 %	$ 3,477,000	Net Adj. 6.6 % Gross Adj. 16.8 %	$ 3,946,000

SALES COMPARISON APPROACH

I ☒ did ☐ did not research the sale or transfer history of the subject property and comparable sales. If not, explain

My research ☐ did ☒ did not reveal any prior sales or transfers of the subject property for the three years prior to the effective date of this appraisal.

Data Source(s) GEO,DATA INC.

My research ☐ did ☒ did not reveal any prior sales or transfers of the comparable sales for the year prior to the date of sale of the comparable sale.

Data Source(s) GEO, DATA INC

Report the results of the research and analysis of the prior sale or transfer history of the subject property and comparable sales (report additional prior sales on page 3).

ITEM	SUBJECT	COMPARABLE SALE #1	COMPARABLE SALE #2	COMPARABLE SALE #3
Date of Prior Sale/Transfer				
Price of Prior Sale/Transfer				
Data Source(s)	GEO DATA/ NYC RECORD	GEO DATA/ NYC RECORD	GEO DATA/ NYC RECORD	GEO DATA/ NYC RECORD
Effective Date of Data Source(s)	03/14/2026	03/14/2026	03/14/2026	03/14/2026

Analysis of prior sale or transfer history of the subject property and comparable sales THE APPRAISER BASES THE ABOVE REPORTED DATA ON WHAT RECORDS WERE MADE AVAILABLE AT THE TIME OF THE INSPECTION.

Summary of Sales Comparison Approach **DUE TO THE LACK OF SIMILAR COMP** SOLD WITHIN THE AREA COMP 1-4 WERE UTILIZED AND ADJUSTED. The appraiser's comparable search parameters began with an MLS search for similar DETACHED 1 FAMILY DWELLING sold within the prior three months, located within a ½ mile from the subject property containing 2000 to 5000 SF of living area, Due to a lack of recent sale activity, the comparable search parameters were extended to a **2.0 miles and 12 months** from the effective date of appraisal. The comparable sales used in the appraisal were the most recent and overall similar sales available at the time of the inspection. SEE ATTACHED ADDENDA.

Indicated Value by Sales Comparison Approach $ 4,000,000

RECONCILIATION

Indicated Value by: Sales Comparison Approach $ 4,000,000 Cost Approach (if developed) $ 4,292,517 Income Approach (if developed) $ 0

BASED ON THE ANALYSIS OF THE PRECEDING DATA, CONSIDERING THE APPROACHES TO VALUE BEARING IN MIND THAT THE MOST VALID APPROACH IS THE SALES COMPARISON ANALYSIS. THE MOST WEIGHT IS ON COMP 1 AND 2 BECAUSE OF THE MOST SIMILAR SALE , IN MY OPINION, FAIR MARKET VALUE OF THE SUBJECT PROPERTY IS: $4,000,000.

This appraisal is made ☒ "as is", ☐ subject to completion per plans and specifications on the basis of a hypothetical condition that the improvements have been completed, ☐ subject to the following repairs or alterations on the basis of a hypothetical condition that the repairs or alterations have been completed, or ☐ subject to the following required inspection based on the extraordinary assumption that the condition or deficiency does not require alteration or repair: SEE ATTACHED ADDENDA.

Based on a complete visual inspection of the interior and exterior areas of the subject property, defined scope of work, statement of assumptions and limiting conditions, and appraiser's certification, my (our) opinion of the market value, as defined, of the real property that is the subject of this report is $ 4,000,000 , as of 03/14/2026 , which is the date of inspection and the effective date of this appraisal.

Form 1004UAD - "TOTAL" appraisal software by a la mode, inc. - 1-800-ALAMODE

FHA/VA Case No.

Uniform Residential Appraisal Report

File # 1034000694431 EA0935026

ADDITIONAL COMMENTS

SEE ATTACHED ADDENDA.

COST APPROACH

COST APPROACH TO VALUE (not required by Fannie Mae)

Provide adequate information for the lender/client to replicate the below cost figures and calculations.

Support for the opinion of site value (summary of comparable land sales or other methods for estimating site value) DUE TO THE LACK OF VACANT LAND WITHIN THE SUBJECT AREA, THE SITE VALUE HAS EXCEEDED 30% WHICH IS TYPICAL AND COMMON WITHIN NYC.

ESTIMATED ☐ REPRODUCTION OR ☒ REPLACEMENT COST NEW

Source of cost data MARSHALL & SWIFT

Quality rating from cost service AVG Effective date of cost data 02/26

Comments on Cost Approach (gross living area calculations, depreciation, etc.)

THE LAND TO VALUE RATIO IS CONSIDERED ACCEPTABLE FOR THE SUBJECT NEIGHBORHOOD AND IT IS SUPPORTED THE COMPARABLE SALES VIA EXTRACTION APPROACH. DUE TO THE LACK OF VACANT LAND THE SUBJECT SITE VALUE HAS EXCEEDED 30% WHICH IS COMMON AND TYPICAL WITHIN THE AREA. **SEE ATTACHED ADDENDA.**

Estimated Remaining Economic Life (HUD and VA only) 42 Years

OPINION OF SITE VALUE				=$ 1,800,000
DWELLING	6,222 Sq.Ft. @ $	530.00		=$ 3,297,660
BASEMENT	2,360 Sq.Ft. @ $	75.00		=$ 177,000
PORCH, PATIO				=$ 40,000
Garage/Carport	630 Sq.Ft. @ $	55.00		=$ 34,650
Total Estimate of Cost-New				=$ 3,549,310
Less	Physical	Functional	External	
Depreciation	1,064,793			=$(1,064,793)
Depreciated Cost of Improvements				=$ 2,484,517
"As-is" Value of Site Improvements				=$ 8,000
INDICATED VALUE BY COST APPROACH				=$ 4,292,517

INCOME

INCOME APPROACH TO VALUE (not required by Fannie Mae)

Estimated Monthly Market Rent $ X Gross Rent Multiplier = $ Indicated Value by Income Approach

Summary of Income Approach (including support for market rent and GRM)

PUD INFORMATION

PROJECT INFORMATION FOR PUDs (if applicable)

Is the developer/builder in control of the Homeowners' Association (HOA)? ☐ Yes ☐ No Unit type(s) ☐ Detached ☐ Attached

Provide the following information for PUDs ONLY if the developer/builder is in control of the HOA and the subject property is an attached dwelling unit.

Legal Name of Project

Total number of phases Total number of units Total number of units sold

Total number of units rented Total number of units for sale Data source(s)

Was the project created by the conversion of existing building(s) into a PUD? ☐ Yes ☐ No If Yes, date of conversion.

Does the project contain any multi-dwelling units? ☐ Yes ☐ No Data Source

Are the units, common elements, and recreation facilities complete? ☐ Yes ☐ No If No, describe the status of completion.

Are the common elements leased to or by the Homeowners' Association? ☐ Yes ☐ No If Yes, describe the rental terms and options.

Describe common elements and recreational facilities.

Form 1004UAD - "TOTAL" appraisal software by a la mode, inc. - 1-800-ALAMODE

This report form is designed to report an appraisal of a one-unit property or a one-unit property with an accessory unit; including a unit in a planned unit development (PUD). This report form is not designed to report an appraisal of a manufactured home or a unit in a condominium or cooperative project.

This appraisal report is subject to the following scope of work, intended use, intended user, definition of market value, statement of assumptions and limiting conditions, and certifications. Modifications, additions, or deletions to the intended use, intended user, definition of market value, or assumptions and limiting conditions are not permitted. The appraiser may expand the scope of work to include any additional research or analysis necessary based on the complexity of this appraisal assignment. Modifications or deletions to the certifications are also not permitted. However, additional certifications that do not constitute material alterations to this appraisal report, such as those required by law or those related to the appraiser's continuing education or membership in an appraisal organization, are permitted.

SCOPE OF WORK: The scope of work for this appraisal is defined by the complexity of this appraisal assignment and the reporting requirements of this appraisal report form, including the following definition of market value, statement of assumptions and limiting conditions, and certifications. The appraiser must, at a minimum: (1) perform a complete visual inspection of the interior and exterior areas of the subject property, (2) inspect the neighborhood, (3) inspect each of the comparable sales from at least the street, (4) research, verify, and analyze data from reliable public and/or private sources, and (5) report his or her analysis, opinions, and conclusions in this appraisal report.

INTENDED USE: The intended use of this appraisal report is for the lender/client to evaluate the property that is the subject of this appraisal for a mortgage finance transaction.

INTENDED USER: The intended user of this appraisal report is the lender/client.

DEFINITION OF MARKET VALUE: The most probable price which a property should bring in a competitive and open market under all conditions requisite to a fair sale, the buyer and seller, each acting prudently, knowledgeably and assuming the price is not affected by undue stimulus. Implicit in this definition is the consummation of a sale as of a specified date and the passing of title from seller to buyer under conditions whereby: (1) buyer and seller are typically motivated; (2) both parties are well informed or well advised, and each acting in what he or she considers his or her own best interest; (3) a reasonable time is allowed for exposure in the open market; (4) payment is made in terms of cash in U. S. dollars or in terms of financial arrangements comparable thereto; and (5) the price represents the normal consideration for the property sold unaffected by special or creative financing or sales concessions* granted by anyone associated with the sale.

*Adjustments to the comparables must be made for special or creative financing or sales concessions. No adjustments are necessary for those costs which are normally paid by sellers as a result of tradition or law in a market area; these costs are readily identifiable since the seller pays these costs in virtually all sales transactions. Special or creative financing adjustments can be made to the comparable property by comparisons to financing terms offered by a third party institutional lender that is not already involved in the property or transaction. Any adjustment should not be calculated on a mechanical dollar for dollar cost of the financing or concession but the dollar amount of any adjustment should approximate the market's reaction to the financing or concessions based on the appraiser's judgment.

STATEMENT OF ASSUMPTIONS AND LIMITING CONDITIONS: The appraiser's certification in this report is subject to the following assumptions and limiting conditions:

1. The appraiser will not be responsible for matters of a legal nature that affect either the property being appraised or the title to it, except for information that he or she became aware of during the research involved in performing this appraisal. The appraiser assumes that the title is good and marketable and will not render any opinions about the title.

2. The appraiser has provided a sketch in this appraisal report to show the approximate dimensions of the improvements. The sketch is included only to assist the reader in visualizing the property and understanding the appraiser's determination of its size.

3. The appraiser has examined the available flood maps that are provided by the Federal Emergency Management Agency (or other data sources) and has noted in this appraisal report whether any portion of the subject site is located in an identified Special Flood Hazard Area. Because the appraiser is not a surveyor, he or she makes no guarantees, express or implied, regarding this determination.

4. The appraiser will not give testimony or appear in court because he or she made an appraisal of the property in question, unless specific arrangements to do so have been made beforehand, or as otherwise required by law.

5. The appraiser has noted in this appraisal report any adverse conditions (such as needed repairs, deterioration, the presence of hazardous wastes, toxic substances, etc.) observed during the inspection of the subject property or that he or she became aware of during the research involved in performing the appraisal. Unless otherwise stated in this appraisal report, the appraiser has no knowledge of any hidden or unapparent physical deficiencies or adverse conditions of the property (such as, but not limited to, needed repairs, deterioration, the presence of hazardous wastes, toxic substances, adverse environmental conditions, etc.) that would make the property less valuable, and has assumed that there are no such conditions and makes no guarantees or warranties, express or implied. The appraiser will not be responsible for any such conditions that do exist or for any engineering or testing that might be required to discover whether such conditions exist. Because the appraiser is not an expert in the field of environmental hazards, this appraisal report must not be considered as an environmental assessment of the property.

6. The appraiser has based his or her appraisal report and valuation conclusion for an appraisal that is subject to satisfactory completion, repairs, or alterations on the assumption that the completion, repairs, or alterations of the subject property will be performed in a professional manner.

Form 1004UAD - "TOTAL" appraisal software by a la mode, inc. - 1-800-ALAMODE

APPRAISER'S CERTIFICATION: The Appraiser certifies and agrees that:

1. I have, at a minimum, developed and reported this appraisal in accordance with the scope of work requirements stated in this appraisal report.

2. I performed a complete visual inspection of the interior and exterior areas of the subject property. I reported the condition of the improvements in factual, specific terms. I identified and reported the physical deficiencies that could affect the livability, soundness, or structural integrity of the property.

3. I performed this appraisal in accordance with the requirements of the Uniform Standards of Professional Appraisal Practice that were adopted and promulgated by the Appraisal Standards Board of The Appraisal Foundation and that were in place at the time this appraisal report was prepared.

4. I developed my opinion of the market value of the real property that is the subject of this report based on the sales comparison approach to value. I have adequate comparable market data to develop a reliable sales comparison approach for this appraisal assignment. I further certify that I considered the cost and income approaches to value but did not develop them, unless otherwise indicated in this report.

5. I researched, verified, analyzed, and reported on any current agreement for sale for the subject property, any offering for sale of the subject property in the twelve months prior to the effective date of this appraisal, and the prior sales of the subject property for a minimum of three years prior to the effective date of this appraisal, unless otherwise indicated in this report.

6. I researched, verified, analyzed, and reported on the prior sales of the comparable sales for a minimum of one year prior to the date of sale of the comparable sale, unless otherwise indicated in this report.

7. I selected and used comparable sales that are locationally, physically, and functionally the most similar to the subject property.

8. I have not used comparable sales that were the result of combining a land sale with the contract purchase price of a home that has been built or will be built on the land.

9. I have reported adjustments to the comparable sales that reflect the market's reaction to the differences between the subject property and the comparable sales.

10. I verified, from a disinterested source, all information in this report that was provided by parties who have a financial interest in the sale or financing of the subject property.

11. I have knowledge and experience in appraising this type of property in this market area.

12. I am aware of, and have access to, the necessary and appropriate public and private data sources, such as multiple listing services, tax assessment records, public land records and other such data sources for the area in which the property is located.

13. I obtained the information, estimates, and opinions furnished by other parties and expressed in this appraisal report from reliable sources that I believe to be true and correct.

14. I have taken into consideration the factors that have an impact on value with respect to the subject neighborhood, subject property, and the proximity of the subject property to adverse influences in the development of my opinion of market value. I have noted in this appraisal report any adverse conditions (such as, but not limited to, needed repairs, deterioration, the presence of hazardous wastes, toxic substances, adverse environmental conditions, etc.) observed during the inspection of the subject property or that I became aware of during the research involved in performing this appraisal. I have considered these adverse conditions in my analysis of the property value, and have reported on the effect of the conditions on the value and marketability of the subject property.

15. I have not knowingly withheld any significant information from this appraisal report and, to the best of my knowledge, all statements and information in this appraisal report are true and correct.

16. I stated in this appraisal report my own personal, unbiased, and professional analysis, opinions, and conclusions, which are subject only to the assumptions and limiting conditions in this appraisal report.

17. I have no present or prospective interest in the property that is the subject of this report, and I have no present or prospective personal interest or bias with respect to the participants in the transaction. I did not base, either partially or completely, my analysis and/or opinion of market value in this appraisal report on the race, color, religion, sex, age, marital status, handicap, familial status, or national origin of either the prospective owners or occupants of the subject property or of the present owners or occupants of the properties in the vicinity of the subject property or on any other basis prohibited by law.

18. My employment and/or compensation for performing this appraisal or any future or anticipated appraisals was not conditioned on any agreement or understanding, written or otherwise, that I would report (or present analysis supporting) a predetermined specific value, a predetermined minimum value, a range or direction in value, a value that favors the cause of any party, or the attainment of a specific result or occurrence of a specific subsequent event (such as approval of a pending mortgage loan application).

19. I personally prepared all conclusions and opinions about the real estate that were set forth in this appraisal report. If I relied on significant real property appraisal assistance from any individual or individuals in the performance of this appraisal or the preparation of this appraisal report, I have named such individual(s) and disclosed the specific tasks performed in this appraisal report. I certify that any individual so named is qualified to perform the tasks. I have not authorized anyone to make a change to any item in this appraisal report; therefore, any change made to this appraisal is unauthorized and I will take no responsibility for it.

20. I identified the lender/client in this appraisal report who is the individual, organization, or agent for the organization that ordered and will receive this appraisal report.

Form 1004UAD - "TOTAL" appraisal software by a la mode, inc. - 1-800-ALAMODE

FHA/VA Case No.

Uniform Residential Appraisal Report

1034000694431
File # EA0935026

21. The lender/client may disclose or distribute this appraisal report to: the borrower; another lender at the request of the borrower; the mortgagee or its successors and assigns; mortgage insurers; government sponsored enterprises; other secondary market participants; data collection or reporting services; professional appraisal organizations; any department, agency, or instrumentality of the United States; and any state, the District of Columbia, or other jurisdictions; without having to obtain the appraiser's or supervisory appraiser's (if applicable) consent. Such consent must be obtained before this appraisal report may be disclosed or distributed to any other party (including, but not limited to, the public through advertising, public relations, news, sales, or other media).

22. I am aware that any disclosure or distribution of this appraisal report by me or the lender/client may be subject to certain laws and regulations. Further, I am also subject to the provisions of the Uniform Standards of Professional Appraisal Practice that pertain to disclosure or distribution by me.

23. The borrower, another lender at the request of the borrower, the mortgagee or its successors and assigns, mortgage insurers, government sponsored enterprises, and other secondary market participants may rely on this appraisal report as part of any mortgage finance transaction that involves any one or more of these parties.

24. If this appraisal report was transmitted as an "electronic record" containing my "electronic signature," as those terms are defined in applicable federal and/or state laws (excluding audio and video recordings), or a facsimile transmission of this appraisal report containing a copy or representation of my signature, the appraisal report shall be as effective, enforceable and valid as if a paper version of this appraisal report were delivered containing my original hand written signature.

25. Any intentional or negligent misrepresentation(s) contained in this appraisal report may result in civil liability and/or criminal penalties including, but not limited to, fine or imprisonment or both under the provisions of Title 18, United States Code, Section 1001, et seq., or similar state laws.

SUPERVISORY APPRAISER'S CERTIFICATION: The Supervisory Appraiser certifies and agrees that:

1. I directly supervised the appraiser for this appraisal assignment, have read the appraisal report, and agree with the appraiser's analysis, opinions, statements, conclusions, and the appraiser's certification.

2. I accept full responsibility for the contents of this appraisal report including, but not limited to, the appraiser's analysis, opinions, statements, conclusions, and the appraiser's certification.

3. The appraiser identified in this appraisal report is either a sub-contractor or an employee of the supervisory appraiser (or the appraisal firm), is qualified to perform this appraisal, and is acceptable to perform this appraisal under the applicable state law.

4. This appraisal report complies with the Uniform Standards of Professional Appraisal Practice that were adopted and promulgated by the Appraisal Standards Board of The Appraisal Foundation and that were in place at the time this appraisal report was prepared.

5. If this appraisal report was transmitted as an "electronic record" containing my "electronic signature," as those terms are defined in applicable federal and/or state laws (excluding audio and video recordings), or a facsimile transmission of this appraisal report containing a copy or representation of my signature, the appraisal report shall be as effective, enforceable and valid as if a paper version of this appraisal report were delivered containing my original hand written signature.

APPRAISER

Signature
Name Reza Razavi
Company Name EXPOSE VALUE APPRAISALS LLC
Company Address 171-15 Ashby Ave
Flushing, NY 11358
Telephone Number (718) 460-8500
Email Address Reza@ExposeValue.com
Date of Signature and Report 03/16/2026
Effective Date of Appraisal 03/14/2026
State Certification # 45000045084
or State License #
or Other (describe) State #
State NY
Expiration Date of Certification or License 03/13/2027

ADDRESS OF PROPERTY APPRAISED
1314 Albemarle Rd
Brooklyn, NY 11226
APPRAISED VALUE OF SUBJECT PROPERTY $ 4,000,000

LENDER/CLIENT
Name FASAPP
Company Name East Coast Capital Corp.
Company Address 2160 Superior Avenue E., Cleveland, OH, 44114
Email Address

SUPERVISORY APPRAISER (ONLY IF REQUIRED)

Signature
Name
Company Name
Company Address
Telephone Number
Email Address
Date of Signature
State Certification #
or State License #
State
Expiration Date of Certification or License

SUBJECT PROPERTY

☐ Did not inspect subject property
☐ Did inspect exterior of subject property from street
Date of Inspection
☐ Did inspect interior and exterior of subject property
Date of Inspection

COMPARABLE SALES

☐ Did not inspect exterior of comparable sales from street
☐ Did inspect exterior of comparable sales from street
Date of Inspection

Form 1004UAD - "TOTAL" appraisal software by a la mode, inc. - 1-800-ALAMODE

FHA/VA Case No.

Uniform Residential Appraisal Report

File # 1034000694431 EA0935026

SALES COMPARISON APPROACH

FEATURE	SUBJECT	COMPARABLE SALE # 4		COMPARABLE SALE # 5		COMPARABLE SALE # 6	
Address	1314 Albemarle Rd Brooklyn, NY 11226	1320 Ditmas Ave Brooklyn, NY 11226					
Proximity to Subject		0.70 miles S					
Sale Price	$		$ 2,995,000		$		$
Sale Price/Gross Liv. Area	$ 565.42 sq.ft.	$ 833.33 sq.ft.		$ sq.ft.		$ sq.ft.	
Data Source(s)		PUBLIC RECORDS;DOM UNK					
Verification Source(s)		EXT- INSP, GEO DATA ,TAX ASSESSOR					
VALUE ADJUSTMENTS	DESCRIPTION	DESCRIPTION	+(-) $ Adjustment	DESCRIPTION	+(-) $ Adjustment	DESCRIPTION	+(-) $ Adjustment
Sales or Financing Concessions		ArmLth Conv;0					
Date of Sale/Time		s08/25;Unk	0				
Location	N;Res;	N;Res;					
Leasehold/Fee Simple	Fee Simple	Fee Simple					
Site	13000 sf	6345 sf	+70,000				
View	N;Res;	N;Res;					
Design (Style)	DT2.5;Colonial	DT2.5;Colonial					
Quality of Construction	Q4	Q3	-20,000				
Actual Age	111	115	0				
Condition	C4	C3	-150,000				
Above Grade Room Count (Total / Bdrms. / Baths)	13 / 8 / 4.1	10 / 6 / 4.0	+5,000	/ /		/ /	
Gross Living Area	6,222 sq.ft.	3,594 sq.ft.	+250,000	sq.ft.		sq.ft.	
Basement & Finished	2360sf2124sfin	1787sf1200sfin	0				
Rooms Below Grade	1rr0br1.0ba2o	0rr1br1.0ba1o	0				
Functional Utility	1 FAM/AVG	1 FAM/AVG					
Heating/Cooling	ADEQ/CAC	ADEQ/CAC					
Energy Efficient Items	THERM-WINDOW	THERM-WINDO					
Garage/Carport	3ga5dw	1gd3dw	-10,000				
Porch/Patio/Deck	PORCH,PATIO	PORCH,DECK	0				
FIRE PLACE	YES	YES					
IN GROUND POOL	NONE	NONE					
Net Adjustment (Total)		☒ + ☐ -	$ 145,000	☐ + ☐ -	$	☐ + ☐ -	$
Adjusted Sale Price of Comparables		Net Adj. 4.8 % Gross Adj. 16.9 %	$ 3,140,000	Net Adj. % Gross Adj. %	$	Net Adj. % Gross Adj. %	$

SALE HISTORY

Report the results of the research and analysis of the prior sale or transfer history of the subject property and comparable sales (report additional prior sales on page 3).

ITEM	SUBJECT	COMPARABLE SALE # 4	COMPARABLE SALE # 5	COMPARABLE SALE # 6
Date of Prior Sale/Transfer				
Price of Prior Sale/Transfer				
Data Source(s)	GEO DATA/ NYC RECORD	GEO DATA/ NYC RECORD		
Effective Date of Data Source(s)	03/14/2026	03/14/2026		

Analysis of prior sale or transfer history of the subject property and comparable sales

ANALYSIS / COMMENTS

Analysis/Comments DUE TO THE LACK OF SIMILAR 1 FAMILY DWELLING ACTIVE/PENDING LISTINGS, NO ACTIVE/PENDING LISTINGS UTILIZED.

Form 1004UAD.(AC) - "TOTAL" appraisal software by a la mode, inc. - 1-800-ALAMODE

FHA/VA Case No.

Market Conditions Addendum to the Appraisal Report

File No. 1034000694431 EA0935026

The purpose of this addendum is to provide the lender/client with a clear and accurate understanding of the market trends and conditions prevalent in the subject neighborhood. This is a required addendum for all appraisal reports with an effective date on or after April 1, 2009.

Property Address 1314 Albemarle Rd City Brooklyn State NY ZIP Code 11226

Borrower Sherill Purcell

Instructions: The appraiser must use the information required on this form as the basis for his/her conclusions, and must provide support for those conclusions, regarding housing trends and overall market conditions as reported in the Neighborhood section of the appraisal report form. The appraiser must fill in all the information to the extent it is available and reliable and must provide analysis as indicated below. If any required data is unavailable or is considered unreliable, the appraiser must provide an explanation. It is recognized that not all data sources will be able to provide data for the shaded areas below; if it is available, however, the appraiser must include the data in the analysis. If data sources provide the required information as an average instead of the median, the appraiser should report the available figure and identify it as an average. Sales and listings must be properties that compete with the subject property, determined by applying the criteria that would be used by a prospective buyer of the subject property. The appraiser must explain any anomalies in the data, such as seasonal markets, new construction, foreclosures, etc.

MARKET RESEARCH & ANALYSIS

Inventory Analysis	Prior 7–12 Months	Prior 4–6 Months	Current – 3 Months	Overall Trend		
Total # of Comparable Sales (Settled)	3	2	1	☐ Increasing	☒ Stable	☐ Declining
Absorption Rate (Total Sales/Months)	0.50	0.67	0.33	☐ Increasing	☒ Stable	☐ Declining
Total # of Comparable Active Listings	0	0	0	☐ Declining	☒ Stable	☐ Increasing
Months of Housing Supply (Total Listings/Ab.Rate)	2.0	3.0	1.5	☐ Declining	☒ Stable	☐ Increasing
Median Sale & List Price, DOM, Sale/List %	**Prior 7–12 Months**	**Prior 4–6 Months**	**Current – 3 Months**	**Overall Trend**		
Median Comparable Sale Price	2,500,000	2,700,000	0	☐ Increasing	☒ Stable	☐ Declining
Median Comparable Sales Days on Market	100	100	0	☐ Declining	☒ Stable	☐ Increasing
Median Comparable List Price	0	0	0	☐ Increasing	☒ Stable	☐ Declining
Median Comparable Listings Days on Market	0	0	0	☐ Declining	☒ Stable	☐ Increasing
Median Sale Price as % of List Price	0	0	0	☐ Increasing	☒ Stable	☐ Declining
Seller-(developer, builder, etc.)paid financial assistance prevalent? ☒ Yes ☐ No				☐ Declining	☒ Stable	☐ Increasing

Explain in detail the seller concessions trends for the past 12 months (e.g., seller contributions increased from 3% to 5%, increasing use of buydowns, closing costs, condo fees, options, etc.). SELLER'S Concession ARE TYPICAL AND CUSTOMARY WITHIN THE SUBJECT AREA AND DO NOT IMPACT ON THE SUBJECT'S MARKETABILITY.

Are foreclosure sales (REO sales) a factor in the market? ☐ Yes ☒ No If yes, explain (including the trends in listings and sales of foreclosed properties).

Cite data sources for above information. THE ABOVE DATA IS BASED ON MLS AND GEO DATA,INC.

Summarize the above information as support for your conclusions in the Neighborhood section of the appraisal report form. If you used any additional information, such as an analysis of pending sales and/or expired and withdrawn listings, to formulate your conclusions, provide both an explanation and support for your conclusions.

DUE TO THE MOST LISTINGS ARE EXCLUSIVE WITH VERY LIMITED DATA AVAILABLE, THEREFORE, YOUR APPRAISER UNABLE TO VERIFY THE TOTAL LISTING WITHIN THE AREA, HOW EVER, IN MY OPINION THE SUBJECT'S AREA MARKET IS STABILIZING WITHIN THE SUBJECT NEIGHBORHOOD.

CONDO/CO-OP PROJECTS

If the subject is a unit in a condominium or cooperative project , complete the following: Project Name:

Subject Project Data	Prior 7–12 Months	Prior 4–6 Months	Current – 3 Months	Overall Trend		
Total # of Comparable Sales (Settled)				☐ Increasing	☐ Stable	☐ Declining
Absorption Rate (Total Sales/Months)				☐ Increasing	☐ Stable	☐ Declining
Total # of Active Comparable Listings				☐ Declining	☐ Stable	☐ Increasing
Months of Unit Supply (Total Listings/Ab.Rate)				☐ Declining	☐ Stable	☐ Increasing

Are foreclosure sales (REO sales) a factor in the project? ☐ Yes ☐ No If yes, indicate the number of REO listings and explain the trends in listings and sales of foreclosed properties.

Summarize the above trends and address the impact on the subject unit and project.

APPRAISER

Signature	Signature
Appraiser Name Reza Razavi	Supervisory Appraiser Name
Company Name EXPOSE VALUE APPRAISALS LLC	Company Name
Company Address 171-15 Ashby Ave, Flushing, NY 11358	Company Address
State License/Certification # 45000045084 State NY	State License/Certification # State
Email Address Reza@ExposeValue.com	Email Address

Form 1004MC2 - "TOTAL" appraisal software by a la mode, inc. - 1-800-ALAMODE

FHA/VA Case No.

Supplemental Addendum

File No. EA0935026

Borrower	Sherill Purcell						
Property Address	1314 Albemarle Rd						
City	Brooklyn	County	Kings	State	NY	Zip Code	11226
Lender/Client	East Coast Capital Corp.						

ADDENDUM:

THE VALUE ESTIMATED BASE ON THE ASSUMPTION THAT THE PROPERTY IS NOT NEGATIVELY AFFECTED BY THE EXISTENCE OF HAZARDOUS SUBSTANCES OR DETRIMENTAL ENVIRONMENTAL CONDITIONS. THE APPRAISER IS NOT AN EXPERT IN THE IDENTIFICATION OF HAZARDOUS SUBSTANCES OR DETRIMENTAL ENVIRONMENTAL CONDITIONS. THE APPRAISER'S ROUTINE INSPECTION OF AND INQUIRIES ABOUT THE SUBJECT PROPERTY DID NOT DEVELOP ANY INFORMATION THAT INDICATES ANY APPARENT SIGNIFICANT HAZARDOUS SUBSTANCES OR DETRIMENTAL ENVIRONMENTAL CONDITIONS WHICH WOOD AFFECT THE PRO PERTLY NEGATIVELY. IT IS POSSIBLE THAT TEST AND INSPECTIONS MADE BY A QUALIFIED HAZARDOUS SUBSTANCES AND ENVIRONMENTAL EXPERT WOULD REVEAL THE EXISTENCE OF HAZARDOUS MATERIALS AND ENVIRONMENTAL CONDITIONS ON OR AROUND THE PROPERTY THAT WOULD NEGATIVELY AFFECT ITS VALUE.

URAR SALES: COMPARISON COMMENTS:
COMPARABLES SELECTED ARE ONE FAMILY DWELLINGS AND ARE LOCATED WITHIN THE IMMEDIATE SUBJECT NEIGHBORHOOD ARE CONSIDERED THE BEST INDICATORS OF MARKET VALUE OF THE SUBJECT PROPERTY.

- **Adjustments utilized** - The adjustments utilized for the differences between the comparable properties and the subject were derived from the appraiser's past and current work within the subject's market area, market extracted method and HGMLS data available. GLA differences were made at $95 per square foot above grade. Bath adjustments were made at $10,000 full bath differences. Quality of construction adjustment were made at $20,000 for brick siding differences . Patio adjustment were made at $10,000. A condition adjustment were made at 5% for average to good condition and 10% to good condition . The adjusted comparable sales bracket the subjects value estimate.

- **THE SUBJECT PROPERTY IS A DETACHED DWELLING HAS BEEN KEPT IN AN OVERALL AVERAGE CONDITION, LOCATED ON RESIDENTIAL BLOCK BEING SURROUNDED BY SIMILAR HOMES, DUE TO LACK OF VACANT LAND AND HIGH DEMANDS FOR RESIDENTIAL PROPERTIES WITHIN THE SUBJECT AREA THE ADJUSTMENTS ARE TAKEN AT MINIMUM WHICH IS TYPICAL AND BASED ON THE SUBJECT'S MARKETING AREA ALONG WITH APPRAISER'S KNOWLEDGE AND EXPERIENCE WITHIN THE AREA. THE HIGHEST AND BEST USE OF THE SUBJECT PROPERTY IS CURRENT USE WHICH COMPLY WITH R2 ZONING. PUBLIC SCHOOLS AND HOUSE OF WORSHIP HAS BEEN CONSIDERED THE OTHER 5% OF THE NEIGHBORHOOD LAND USE.**

A reasonable exposure time for the subject property is 90-140 days.

Unless otherwise noted, I have performed appraisal inspection, as an appraiser within the three-year period immediately preceding acceptance of this assignment..

URAR: CONDITIONS OF APPRAISAL
***THIS APPRAISAL IS MADE AS IS CONDITION.

THE SMOKE AND CARBON MONOXIDE DETECTORS WERE PRESENT IN EACH FLOOR AT THE TIME OF INSPECTION.

ALL UTILITIES AND APPLIANCES WERE ON AND WORKING PROPERLY AT THE TIME OF INSPECTION.

There is no guarantee that the property is free from defects. The appraisal only establishes the value of the property for mortgage insurance purposes. Buyers need to secure their own home inspection through the services of a qualified inspector and satisfy themselves about the condition of the property

The appraisal provides an examination of the property for any visible, obvious and/or apparent deficiencies that may affect the livability of that property in terms of basic needs, health and safety of the property's occupants.

Observations made by the appraiser of conditions that are immediately discernible and noticeable during a typical site visit. The appraiser is not required to move furniture, equipment, or cause damage to the property.

The roof is either partially or completely unobservable, the lender's underwriter has the discretion to determine whether or not a roof inspection is required however, no leakage were noted at the time of the inspection.

Signature		Signature	
Name	Reza Razavi	Name	
Date Signed	03/16/2026	Date Signed	
State Certification #	45000045084 State NY	State Certification #	State
Or State License #	State	Or State License #	State

FHA/VA Case No.

Supplemental Addendum

File No. EA0935026

Borrower	Sherill Purcell						
Property Address	1314 Albemarle Rd						
City	Brooklyn	County	Kings	State	NY	Zip Code	11226
Lender/Client	East Coast Capital Corp.						

THE LAND TO VALUE RATIO IS CONSIDERED ACCEPTABLE FOR THE SUBJECT NEIGHBORHOOD AND IT IS SUPPORTED THE COMPARABLE SALES VIA EXTRACTION APPROACH. DUE TO THE LACK OF VACANT LAND, THE ESTIMATED SITE VALUE HAS EXCEEDED 30% WHICH IS TYPICAL AND COMMON WITHIN THE AREA.

DUE TO THE MLS IS NOT THE ONLY SOURCE OF LISTING REAL ESTATE IN THE SUBJECT AREA, THERE ARE SOLD COMPARABLES WITHIN IN THE AREA WHICH HAS BEEN LISTED EXCLUSIVELY OR BY OTHER SOURCES HOWEVER, ALL COMPARABLE UTILIZED WITHIN THE REPORT ARE VERIFIED BY THE COUNTRY CLERK RECORDS THEREFORE, IN MOST CASES THE DOM IS UNKNOWN.

EVERY EFFORT WAS MADE BY YOUR APPRAISER TO OBTAIN SALE DATA FROM ONE PARTY OF EACH COMPARABLE SALE AS REQUIRED IN STATEMENT 10 OF USPAP. HOWEVER, YOUR APPRAISER WAS UNABLE TO CONTACT AND/OR HAD NO COOPERATION FROM BROKER'S AND HOME BUYER'S. YOUR APPRAISER HAS MADE AN "EXTRAORDINARY ASSUMPTION" THE DATA WITHIN MLS AND/OR GEO DATA , IN CONJUNCTION WITH AN EXTERIOR PHYSICAL INSPECTION OF EACH COMP, WAS CORRECTED AND THERE WERE NO KNOWN EXTRAORDINARY CONDITIONS OF SALE OF EACH COMP. YOUR APPRAISER RESERVES THE RIGHT TO ALTER THE OPINIONS OR CONCLUSIONS WITHIN THIS REPORT.

DUE TO THE LACK OF SALES TYPE IN THE PUBLIC RECORDS THE FINANCING TYPE AND SELLER'S CONCESSION ON THE ALL COMPARABLES ARE UNKNOWN.

The GLA for the subject provided in this report is based on actual field measurements by the appraiser at the time of inspection. These field measurements may differ from MLS and public record data since these other sources may include areas below grade, garages, porches etc.

The age of the subject and comparable sales have been obtained via the MLS and public record (if available), as well as the appraisers experience and knowledge of the neighborhood. While differences may exist between the MLS and public records, the differences have no impact on this report. The effective age and condition rating is more relevant and given more weight than the actual age.

Condition and updating of the comparable sales were based on review of the MLS descriptions and photos (where available); these were the appraiser’s determination based on the best available information. As these are opinions, data may differ slightly from other appraiser's in the area.

Gross living area of the subject and comparable was verified using public record, MLS listing in conjunction with a visual observance by the appraiser. The appraiser's measurements of the subject were within on 100 sq. ft. of the public record; this would not affect value.

The appraiser utilized public record data for verification of comparable gross living area; this was considered the most accurate method for comparison as MLS listing sheet tend to include basement size to increase living space for marketing purposes. While there may be differences in gross living area between this report and peer data; these are based on the appraiser’s opinion, experience in the marketplace and considered the most accurate method.

ANSI Comment:
The subject property was measured per ANSI STANDARDS Z765-2021. Measurements were taken to the nearest tenth of a foot, with the total square footage reported to the nearest tenth of a foot.

Based on the ANSI Guidelines the Total Above Grade Living Area is 6222 SF and below grade area is 1224 SF.

MARKET CONDITION COMMENT:

The appraiser has analyzed the SIMILAR ONE family market for the past 12 months via sales comparables, conversations with buyers, sellers, real estate agents, and other real estate professionals, analyzed the MLS, and has deemed the market to be stable.

The subject property not negatively impacted by FEMA Major Disaster Decl #DR-4755- flood - declared 1/30/24.

Signature		Signature	
Name	Reza Razavi	Name	
Date Signed	03/16/2026	Date Signed	
State Certification #	45000045084 State NY	State Certification #	State
Or State License #	State	Or State License #	State

FHA/VA Case No.

Subject Photo Page

Borrower	Sherill Purcell						
Property Address	1314 Albemarle Rd						
City	Brooklyn	County	Kings	State	NY	Zip Code	11226
Lender/Client	East Coast Capital Corp.						

Subject Front

1314 Albemarle Rd

Sales Price

G.B.A. 1188

Age/Yr.Blt. 111

Subject Street

Subject Street

FHA/VA Case No.

Subject Photo Page

Borrower	Sherill Purcell						
Property Address	1314 Albemarle Rd						
City	Brooklyn	County	Kings	State	NY	Zip Code	11226
Lender/Client	East Coast Capital Corp.						

Subject REAR

1314 Albemarle Rd

Sales Price	
Gross Living Area	6,222
Total Rooms	13
Total Bedrooms	8
Total Bathrooms	4.1
Location	N;Res;
View	N;Res;
Site	13000 sf
Quality	Q4
Age	111

Subject side

SUBJECT SIDE

FHA/VA Case No.

Subject Photo Page

Borrower	Sherill Purcell						
Property Address	1314 Albemarle Rd						
City	Brooklyn	County	Kings	State	NY	Zip Code	11226
Lender/Client	East Coast Capital Corp.						

Subject GARAGE

1314 Albemarle Rd

Sales Price	
Gross Living Area	6,222
Total Rooms	13
Total Bedrooms	8
Total Bathrooms	4.1
Location	N;Res;
View	N;Res;
Site	13000 sf
Quality	Q4
Age	111

Subject PATIO

Subject PORCH

FHA/VA Case No.

Subject Interior Photo Page

Borrower	Sherill Purcell						
Property Address	1314 Albemarle Rd						
City	Brooklyn	County	Kings	State	NY	Zip Code	11226
Lender/Client	East Coast Capital Corp.						

Subject Interior

1314 Albemarle Rd

Sales Price	
Gross Living Area	6,222
Total Rooms	13
Total Bedrooms	8
Total Bathrooms	4.1
Location	N;Res;
View	N;Res;
Site	13000 sf
Quality	Q4
Age	111

KITCHEN

Subject Interior

DINING

Subject Interior

FAMILY

FHA/VA Case No.

Subject Interior Photo Page

Borrower	Sherill Purcell						
Property Address	1314 Albemarle Rd						
City	Brooklyn	County	Kings	State	NY	Zip Code	11226
Lender/Client	East Coast Capital Corp.						

Subject Interior

1314 Albemarle Rd

Sales Price	
Gross Living Area	6,222
Total Rooms	13
Total Bedrooms	8
Total Bathrooms	4.1
Location	N;Res;
View	N;Res;
Site	13000 sf
Quality	Q4
Age	111

LIVING ROOM

Subject Interior

DEN



Subject Interior

1/2 BATH

FHA/VA Case No.

Subject Interior Photo Page

Borrower	Sherill Purcell						
Property Address	1314 Albemarle Rd						
City	Brooklyn	County	Kings	State	NY	Zip Code	11226
Lender/Client	East Coast Capital Corp.						



Subject Interior

1314 Albemarle Rd

Sales Price	
Gross Living Area	6,222
Total Rooms	13
Total Bedrooms	8
Total Bathrooms	4.1
Location	N;Res;
View	N;Res;
Site	13000 sf
Quality	Q4
Age	111

STAIRS TO 2ND FL

Subject Interior

BEDROOM 1

Subject Interior

BEDROOM 2

FHA/VA Case No.

Subject Interior Photo Page

Borrower	Sherill Purcell						
Property Address	1314 Albemarle Rd						
City	Brooklyn	County	Kings	State	NY	Zip Code	11226
Lender/Client	East Coast Capital Corp.						

Subject Interior

1314 Albemarle Rd

Sales Price	
Gross Living Area	6,222
Total Rooms	13
Total Bedrooms	8
Total Bathrooms	4.1
Location	N;Res;
View	N;Res;
Site	13000 sf
Quality	Q4
Age	111

BATHROOM

Subject Interior

BEDROOM 3



Subject Interior

BEDROOM 4

FHA/VA Case No.

Subject Interior Photo Page

Borrower	Sherill Purcell						
Property Address	1314 Albemarle Rd						
City	Brooklyn	County	Kings	State	NY	Zip Code	11226
Lender/Client	East Coast Capital Corp.						

Subject Interior

1314 Albemarle Rd

Sales Price	
Gross Living Area	6,222
Total Rooms	13
Total Bedrooms	8
Total Bathrooms	4.1
Location	N;Res;
View	N;Res;
Site	13000 sf
Quality	Q4
Age	111

BATHROOM

Subject Interior

BEDROOM 5

Subject Interior

BATHROOM

FHA/VA Case No.

Subject Interior Photo Page

Borrower	Sherill Purcell						
Property Address	1314 Albemarle Rd						
City	Brooklyn	County	Kings	State	NY	Zip Code	11226
Lender/Client	East Coast Capital Corp.						

Subject Interior

1314 Albemarle Rd

Sales Price	
Gross Living Area	6,222
Total Rooms	13
Total Bedrooms	8
Total Bathrooms	4.1
Location	N;Res;
View	N;Res;
Site	13000 sf
Quality	Q4
Age	111

STAIRS TO 3RD FL

Subject Interior

BEDROOM 6



Subject Interior

BEDROOM 7

FHA/VA Case No.

Subject Interior Photo Page

Borrower	Sherill Purcell						
Property Address	1314 Albemarle Rd						
City	Brooklyn	County	Kings	State	NY	Zip Code	11226
Lender/Client	East Coast Capital Corp.						

Subject Interior

1314 Albemarle Rd

Sales Price	
Gross Living Area	6,222
Total Rooms	13
Total Bedrooms	8
Total Bathrooms	4.1
Location	N;Res;
View	N;Res;
Site	13000 sf
Quality	Q4
Age	111

BEDROOM 8

Subject Interior

BATHROOM



BASEMENT

STAIRS

FHA/VA Case No.

Subject Interior Photo Page

Borrower	Sherill Purcell						
Property Address	1314 Albemarle Rd						
City	Brooklyn	County	Kings	State	NY	Zip Code	11226
Lender/Client	East Coast Capital Corp.						

BASEMENT

1314 Albemarle Rd

Sales Price	
Gross Living Area	6,222
Total Rooms	13
Total Bedrooms	8
Total Bathrooms	4.1
Location	N;Res;
View	N;Res;
Site	13000 sf
Quality	Q4
Age	111

FINISHED ROOM

BASEMENT

1/2 BATH

ELECTRIC PANEL

FHA/VA Case No.

Subject Interior Photo Page

Borrower	Sherill Purcell						
Property Address	1314 Albemarle Rd						
City	Brooklyn	County	Kings	State	NY	Zip Code	11226
Lender/Client	East Coast Capital Corp.						

GAS METER

1314 Albemarle Rd

Sales Price	
Gross Living Area	6,222
Total Rooms	13
Total Bedrooms	8
Total Bathrooms	4.1
Location	N;Res;
View	N;Res;
Site	13000 sf
Quality	Q4
Age	111
BATHROOM	

UTILITY

UTILITY

FHA/VA Case No.

Comparable Photo Page

Borrower	Sherill Purcell						
Property Address	1314 Albemarle Rd						
City	Brooklyn	County	Kings	State	NY	Zip Code	11226
Lender/Client	East Coast Capital Corp.						



Comparable 1

1221 Albemarle Rd

Sales Price	6,250,000
G.B.A.	
Age/Yr. Blt.	105



Comparable 2

1304 Ditmas Ave

Sales Price	3,410,000
G.B.A.	
Age/Yr. Blt.	110

Comparable 3

49 Rutland Rd

Sales Price	3,700,000
G.B.A.	
Age/Yr. Blt.	100

FHA/VA Case No.

Comparable Photo Page

Borrower	Sherill Purcell						
Property Address	1314 Albemarle Rd						
City	Brooklyn	County	Kings	State	NY	Zip Code	11226
Lender/Client	East Coast Capital Corp.						

Comparable 4

1320 Ditmas Ave

Prox. to Subject	0.70 miles S
Sale Price	2,995,000
Gross Living Area	3,594
Total Rooms	10
Total Bedrooms	6
Total Bathrooms	4.0
Location	N;Res;
View	N;Res;
Site	6345 sf
Quality	Q3
Age	115

COMP 5

Prox. to Subject	
Sale Price	
Gross Living Area	
Total Rooms	
Total Bedrooms	
Total Bathrooms	
Location	
View	
Site	
Quality	
Age	

Prox. to Subject	
Sale Price	
Gross Living Area	
Total Rooms	
Total Bedrooms	
Total Bathrooms	
Location	
View	
Site	
Quality	
Age	

FHA/VA Case No.

Building Sketch (Page - 1)

Borrower	Sherill Purcell						
Property Address	1314 Albemarle Rd						
City	Brooklyn	County	Kings	State	NY	Zip Code	11226
Lender/Client	East Coast Capital Corp.						

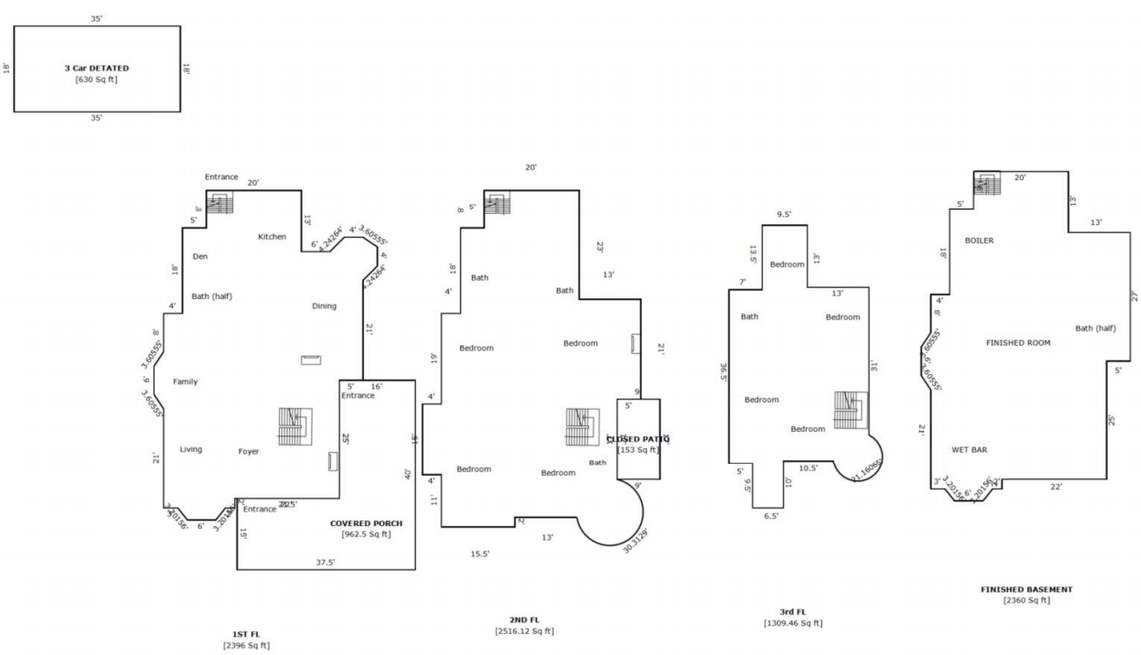

TOTAL Sketch by a la mode

FHA/VA Case No.

Building Sketch (Page - 2)

Borrower	Sherill Purcell						
Property Address	1314 Albemarle Rd						
City	Brooklyn	County	Kings	State	NY	Zip Code	11226
Lender/Client	East Coast Capital Corp.						

Living Area		Calculation Details		
1ST FL	2396 Sq ft	0.5 × 2 × 3	=	3
		0.5 × 3 × 3	=	4.5
		4 × 3	=	12
		0.5 × 2 × 2.5	=	2.5
		0.5 × 2.5 × 2	=	2.5
		6 × 2.5	=	15
		0.5 × 3 × 2	=	3
		0.5 × 2 × 3	=	3
		6 × 2	=	12
		15 × 2	=	30
		37 × 25	=	925
		42 × 14	=	588
		38 × 13	=	494
		0.5 × 3 × 3	=	4.5
		4 × 3	=	12
		25 × 5	=	125
		20 × 8	=	160
2ND FL	2516.11792 Sq ft	15 × 4	=	60
		20 × 8	=	160
		25 × 15	=	375
		21 × 5	=	105
		15.5 × 2	=	31
		43 × 4	=	172
		33 × 38	=	1254
		8 × 24.5	=	196
		0.5 × 8 × 8.5	=	34
		Arc	=	129.11836
3rd FL	1309.46204 Sq ft	9.5 × 13	=	123.5
		6.5 × 9.5	=	61.75
		36.5 × 7	=	255.5
		22.5 × 31	=	697.5
		6 × 4.5	=	27
		5.5 × 10.5	=	57.75
		0.5 × 5.5 × 7.5	=	20.625
		Arc	=	65.83651
Total Living Area (Rounded):	**6222 Sq ft**			
Non-living Area				
CLOSED PATIO	153 Sq ft	17 × 9	=	153
COVERED PORCH	962.5 Sq ft	15 × 21.5	=	322.5
		16 × 40	=	640
3 Car DETATED	630 Sq ft	18 × 35	=	630
FINISHED BASEMENT	2360 Sq ft	0.5 × 3 × 2	=	3
		0.5 × 2 × 3	=	3
		6 × 2	=	12
		0.5 × 2 × 2.5	=	2.5
		0.5 × 2.5 × 2	=	2.5
		6 × 2.5	=	15
		20 × 8	=	160
		25 × 5	=	125
		38 × 13	=	494
		41 × 15	=	615
		22 × 25	=	550
		14 × 27	=	378

FHA/VA Case No.

Aerial Map

Borrower	Sherill Purcell						
Property Address	1314 Albemarle Rd						
City	Brooklyn	County	Kings	State	NY	Zip Code	11226
Lender/Client	East Coast Capital Corp.						

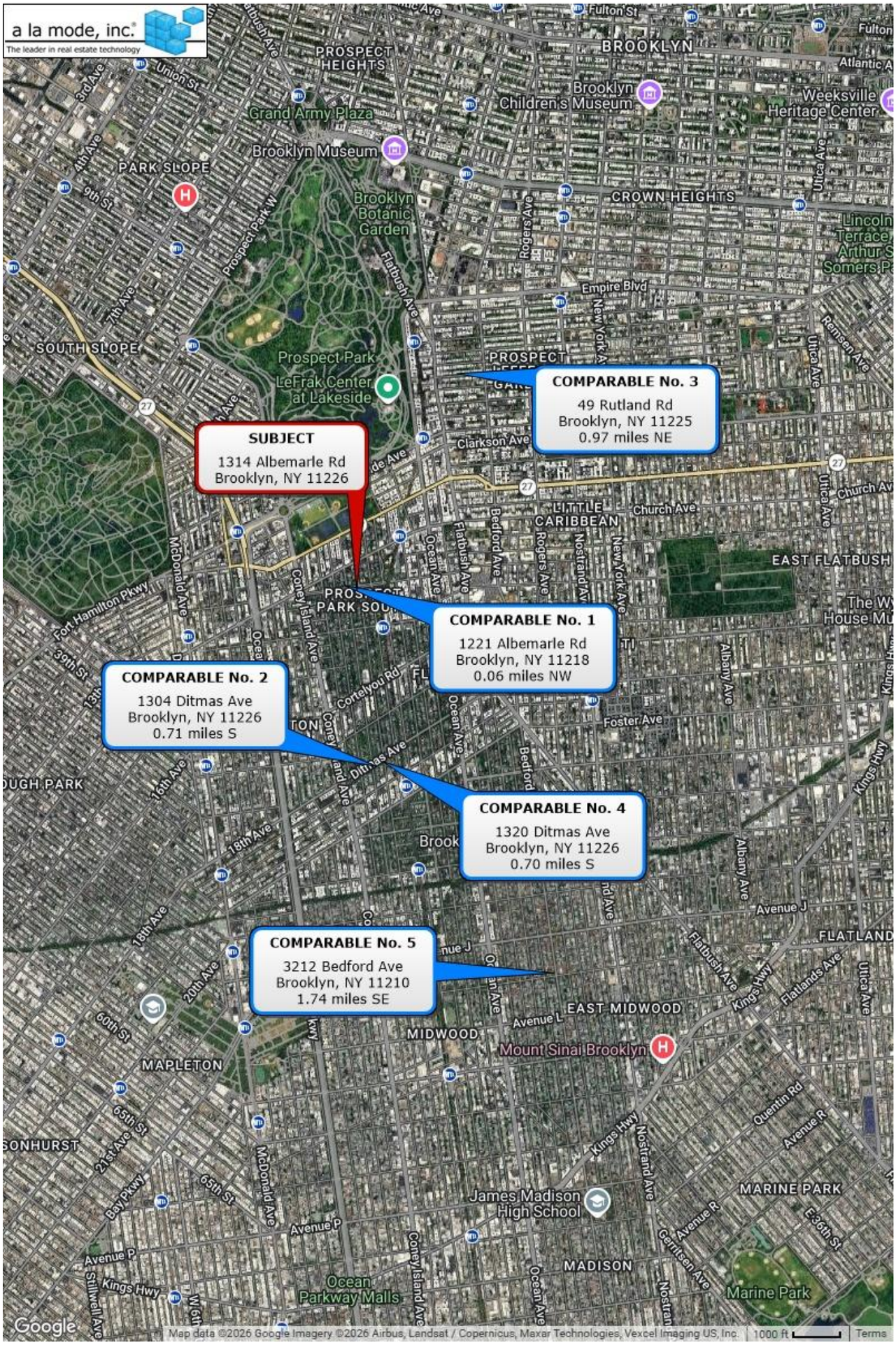

FHA/VA Case No.

Location Map

Borrower	Sherill Purcell						
Property Address	1314 Albemarle Rd						
City	Brooklyn	County	Kings	State	NY	Zip Code	11226
Lender/Client	East Coast Capital Corp.						

E&O

CNA

Real Estate Professionals
Errors and Omissions Policy

Declarations

Agency	Branch	Prefix	Policy Number
078990	969	RFB	27611374925

Insurance is provided by
Continental Casualty Company,
151 North Franklin Street, Chicago, IL 60606
A Stock Insurance Company.

1. NAMED INSURED AND MAILING ADDRESS:

Reza Razavi dba Expose Value Appraisals LLC

171-15 Ashby Avenue
Flushing, NY 11358

NOTICE TO POLICYHOLDERS:
The Errors and Omissions Liability coverage afforded by this policy is on a Claims Made basis. Please review the policy carefully and discuss this coverage with **your** insurance agent or broker.

2. POLICY PERIOD: Inception: 03/31/2025 Expiration: 03/31/2026
at 12:01 A.M. Standard time at your address shown above.

3. ERRORS AND OMISSIONS LIABILITY:

A. Limits of Liability: Each Claim: $1,000,000 Aggregate: $1,000,000

B. Discrimination Limits of Liability: $250,000

C. Deductible: Each Claim: $2,500

D. First Coverage Date: 03/31/2005

E. Retroactive Date: 03/31/2005

4. PREMIUM $706

Total Premium: $706.00

5. EXTENDED REPORTING PERIOD PREMIUM

One Year: 50% of the Policy Premium
Three Year: 130% of the Policy Premium

6. FORMS AND ENDORSEMENTS ATTACHED AT INCEPTION:

CNA65781NYc (03/14) Real Estate Professionals Errors and Omissions Policy - New York

CNA65780NY ED. 09-2013

I - 1314377 B - 021183

Kathleen M. Curry
Countersigned by Authorized Representative

Form SCNLGL - "TOTAL" appraisal software by a la mode, inc. - 1-800-ALAMODE

FHA/VA Case No.

LIC

UNIQUE ID NUMBER

45000045084

State of New York

Department of State

DIVISION OF LICENSING SERVICES

FOR OFFICE USE ONLY

Control No. 1556525

EFFECTIVE DATE

MO.	DAY	YR.
03	14	25

EXPIRATION DATE

MO.	DAY	YR.
03	13	27

PURSUANT TO THE PROVISIONS OF ARTICLE 6E OF THE EXECUTIVE LAW AS IT RELATES TO R.E. APPRAISERS.

RAZAVI REZA
C/O EXPOSE VALVE APPRAISALS
171 15 ASHBY AVE
#2B
FLUSHING, NY 11358

HAS BEEN DULY CERTIFIED TO TRANSACT BUSINESS AS A R.E. RESIDENTIAL APPRAISER

In Witness Whereof, The Department of State has caused its official seal to be hereunto affixed.

WALTER T. MOSLEY
SECRETARY OF STATE

DOS-1098 (Rev. 3/01)

Form SCNLGL - "TOTAL" appraisal software by a la mode, inc. - 1-800-ALAMODE

UNIFORM APPRAISAL DATASET (UAD) DEFINITIONS ADDENDUM

(Source: Fannie Mae UAD Appendix D: UAD Field-Specific Standardization Requirements)

Condition Ratings and Definitions

C1

The improvements have been recently constructed and have not been previously occupied. The entire structure and all components are new and the dwelling features no physical depreciation.

Note: Newly constructed improvements that feature recycled or previously used materials and/or components can be considered new dwellings provided that the dwelling is placed on a 100 percent new foundation and the recycled materials and the recycled components have been rehabilitated/remanufactured into like-new condition. Improvements that have not been previously occupied are not considered "new" if they have any significant physical depreciation (that is, newly constructed dwellings that have been vacant for an extended period of time without adequate maintenance or upkeep).

C2

The improvements feature no deferred maintenance, little or no physical depreciation, and require no repairs. Virtually all building components are new or have been recently repaired, refinished, or rehabilitated. All outdated components and finishes have been updated and/or replaced with components that meet current standards. Dwellings in this category are either almost new or have been recently completely renovated and are similar in condition to new construction.

Note: The improvements represent a relatively new property that is well maintained with no deferred maintenance and little or no physical depreciation, or an older property that has been recently completely renovated.

C3

The improvements are well maintained and feature limited physical depreciation due to normal wear and tear. Some components, but not every major building component, may be updated or recently rehabilitated. The structure has been well maintained.

Note: The improvement is in its first-cycle of replacing short-lived building components (appliances, floor coverings, HVAC, etc.) and is being well maintained. Its estimated effective age is less than its actual age. It also may reflect a property in which the majority of short-lived building components have been replaced but not to the level of a complete renovation.

C4

The improvements feature some minor deferred maintenance and physical deterioration due to normal wear and tear. The dwelling has been adequately maintained and requires only minimal repairs to building components/mechanical systems and cosmetic repairs. All major building components have been adequately maintained and are functionally adequate.

Note: The estimated effective age may be close to or equal to its actual age. It reflects a property in which some of the short-lived building components have been replaced, and some short-lived building components are at or near the end of their physical life expectancy; however, they still function adequately. Most minor repairs have been addressed on an ongoing basis resulting in an adequately maintained property.

C5

The improvements feature obvious deferred maintenance and are in need of some significant repairs. Some building components need repairs, rehabilitation, or updating. The functional utility and overall livability is somewhat diminished due to condition, but the dwelling remains useable and functional as a residence.

Note: Some significant repairs are needed to the improvements due to the lack of adequate maintenance. It reflects a property in which many of its short-lived building components are at the end of or have exceeded their physical life expectancy but remain functional.

C6

The improvements have substantial damage or deferred maintenance with deficiencies or defects that are severe enough to affect the safety, soundness, or structural integrity of the improvements. The improvements are in need of substantial repairs and rehabilitation, including many or most major components.

Note: Substantial repairs are needed to the improvements due to the lack of adequate maintenance or property damage. It reflects a property with conditions severe enough to affect the safety, soundness, or structural integrity of the improvements.

Quality Ratings and Definitions

Q1

Dwellings with this quality rating are usually unique structures that are individually designed by an architect for a specified user. Such residences typically are constructed from detailed architectural plans and specifications and feature an exceptionally high level of workmanship and exceptionally high-grade materials throughout the interior and exterior of the structure. The design features exceptionally high-quality exterior refinements and ornamentation, and exceptionally high-quality interior refinements. The workmanship, materials, and finishes throughout the dwelling are of exceptionally high quality.

Q2

Dwellings with this quality rating are often custom designed for construction on an individual property owner's site. However, dwellings in this quality grade are also found in high-quality tract developments featuring residence constructed from individual plans or from highly modified or upgraded plans. The design features detailed, high quality exterior ornamentation, high-quality interior refinements, and detail. The workmanship, materials, and finishes throughout the dwelling are generally of high or very high quality.

UNIFORM APPRAISAL DATASET (UAD) DEFINITIONS ADDENDUM

(Source: Fannie Mae UAD Appendix D: UAD Field-Specific Standardization Requirements)

Quality Ratings and Definitions (continued)

Q3

Dwellings with this quality rating are residences of higher quality built from individual or readily available designer plans in above-standard residential tract developments or on an individual property owner's site. The design includes significant exterior ornamentation and interiors that are well finished. The workmanship exceeds acceptable standards and many materials and finishes throughout the dwelling have been upgraded from "stock" standards.

Q4

Dwellings with this quality rating meet or exceed the requirements of applicable building codes. Standard or modified standard building plans are utilized and the design includes adequate fenestration and some exterior ornamentation and interior refinements. Materials, workmanship, finish, and equipment are of stock or builder grade and may feature some upgrades.

Q5

Dwellings with this quality rating feature economy of construction and basic functionality as main considerations. Such dwellings feature a plain design using readily available or basic floor plans featuring minimal fenestration and basic finishes with minimal exterior ornamentation and limited interior detail. These dwellings meet minimum building codes and are constructed with inexpensive, stock materials with limited refinements and upgrades.

Q6

Dwellings with this quality rating are of basic quality and lower cost; some may not be suitable for year-round occupancy. Such dwellings are often built with simple plans or without plans, often utilizing the lowest quality building materials. Such dwellings are often built or expanded by persons who are professionally unskilled or possess only minimal construction skills. Electrical, plumbing, and other mechanical systems and equipment may be minimal or non-existent. Older dwellings may feature one or more substandard or non-conforming additions to the original structure

Definitions of Not Updated, Updated, and Remodeled

Not Updated

Little or no updating or modernization. This description includes, but is not limited to, new homes.

Residential properties of fifteen years of age or less often reflect an original condition with no updating, if no major components have been replaced or updated. Those over fifteen years of age are also considered not updated if the appliances, fixtures, and finishes are predominantly dated. An area that is 'Not Updated' may still be well maintained and fully functional, and this rating does not necessarily imply deferred maintenance or physical/functional deterioration.

Updated

The area of the home has been modified to meet current market expectations. These modifications are limited in terms of both scope and cost.

An updated area of the home should have an improved look and feel, or functional utility. Changes that constitute updates include refurbishment and/or replacing components to meet existing market expectations. Updates do not include significant alterations to the existing structure.

Remodeled

Significant finish and/or structural changes have been made that increase utility and appeal through complete replacement and/or expansion.

A remodeled area reflects fundamental changes that include multiple alterations. These alterations may include some or all of the following: replacement of a major component (cabinet(s), bathtub, or bathroom tile), relocation of plumbing/gas fixtures/appliances, significant structural alterations (relocating walls, and/or the addition of) square footage). This would include a complete gutting and rebuild.

Explanation of Bathroom Count

Three-quarter baths are counted as a full bath in all cases. Quarter baths (baths that feature only a toilet) are not included in the bathroom count. The number of full and half baths is reported by separating the two values using a period, where the full bath count is represented to the left of the period and the half bath count is represented to the right of the period.

Example:
3.2 indicates three full baths and two half baths.

FHA/VA Case No.

UNIFORM APPRAISAL DATASET (UAD) DEFINITIONS ADDENDUM

(Source: Fannie Mae UAD Appendix D: UAD Field-Specific Standardization Requirements)

Abbreviations Used in Data Standardization Text

Abbreviation	Full Name	Fields Where This Abbreviation May Appear
ac	Acres	Area, Site
AdjPrk	Adjacent to Park	Location
AdjPwr	Adjacent to Power Lines	Location
A	Adverse	Location & View
ArmLth	Arms Length Sale	Sale or Financing Concessions
ba	Bathroom(s)	Basement & Finished Rooms Below Grade
br	Bedroom	Basement & Finished Rooms Below Grade
B	Beneficial	Location & View
Cash	Cash	Sale or Financing Concessions
CtySky	City View Skyline View	View
CtyStr	City Street View	View
Comm	Commercial Influence	Location
c	Contracted Date	Date of Sale/Time
Conv	Conventional	Sale or Financing Concessions
CrtOrd	Court Ordered Sale	Sale or Financing Concessions
DOM	Days On Market	Data Sources
e	Expiration Date	Date of Sale/Time
Estate	Estate Sale	Sale or Financing Concessions
FHA	Federal Housing Authority	Sale or Financing Concessions
GlfCse	Golf Course	Location
Glfvw	Golf Course View	View
Ind	Industrial	Location & View
in	Interior Only Stairs	Basement & Finished Rooms Below Grade
Lndfl	Landfill	Location
LtdSght	Limited Sight	View
Listing	Listing	Sale or Financing Concessions
Mtn	Mountain View	View
N	Neutral	Location & View
NonArm	Non-Arms Length Sale	Sale or Financing Concessions
BsyRd	Busy Road	Location
o	Other	Basement & Finished Rooms Below Grade
Prk	Park View	View
Pstrl	Pastoral View	View
PwrLn	Power Lines	View
PubTrn	Public Transportation	Location
rr	Recreational (Rec) Room	Basement & Finished Rooms Below Grade
Relo	Relocation Sale	Sale or Financing Concessions
REO	REO Sale	Sale or Financing Concessions
Res	Residential	Location & View
RH	USDA - Rural Housing	Sale or Financing Concessions
s	Settlement Date	Date of Sale/Time
Short	Short Sale	Sale or Financing Concessions
sf	Square Feet	Area, Site, Basement
sqm	Square Meters	Area, Site
Unk	Unknown	Date of Sale/Time
VA	Veterans Administration	Sale or Financing Concessions
w	Withdrawn Date	Date of Sale/Time
wo	Walk Out Basement	Basement & Finished Rooms Below Grade
wu	Walk Up Basement	Basement & Finished Rooms Below Grade
WtrFr	Water Frontage	Location
Wtr	Water View	View
Woods	Woods View	View

Other Appraiser-Defined Abbreviations

Abbreviation	Full Name	Fields Where This Abbreviation May Appear