365 Appraisals LLC
Real Estate Appraisers

File No. 002600151

APPRAISAL OF

Single Family Residential Structure

LOCATED AT:

63462 Dailey Rd
Cassopolis, MI 49031

FOR:

United Faith Mortgage
401 Broadhollow Road, Suite 150
Melville, NY, 11747

BORROWER:

Larry & Christina Brooks

AS OF:

March 12, 2026

BY:

Darren R. Batteast
1204078467

File No. 002600151

Fastapp Appraisal Management Company
United Faith Mortgage
401 Broadhollow Road, Suite 150
Melville, NY, 11747

File Number: 002600151

To Whom It May Concern,

In accordance with your request, I have appraised the real property at:

63462 Dailey Rd
Cassopolis, MI 49031

The purpose of this appraisal is to develop an opinion of the market value of the subject property, as improved. The property rights appraised are the fee simple interest in the site and improvements.

In my opinion, the market value of the property as of March 12, 2026 is:

$499,000
Four Hundred Ninety-Nine Thousand Dollars

The attached report contains the description, analysis and supportive data for the conclusions, final opinion of value, descriptive photographs, limiting conditions and appropriate certifications.

Respectfully submitted,

Darren R. Batteast
1204078467
Certified Residential Appraiser

Uniform Residential Appraisal Report

File No. 002600151

The purpose of this summary appraisal report is to provide the lender/client with an accurate, and adequately supported, opinion of the market value of the subject property.

SUBJECT

Property Address 63462 Dailey Rd | City Cassopolis | State MI | Zip Code 49031
Borrower Larry & Christina Brooks | Owner of Public Record Larry & Christina Brooks | County Cass
Legal Description See Attached Addendum
Assessor's Parcel # 14-030-007-085-00 | Tax Year 2025 | R.E. Taxes $ 1,243
Neighborhood Name Cassopolis | Map Reference 26027 | Census Tract 0021.00
Occupant [X] Owner [ ] Tenant [ ] Vacant | Special Assessments $ 0 | [ ] PUD | HOA $ 0 [ ] per year [ ] per month
Property Rights Appraised [X] Fee Simple [ ] Leasehold [ ] Other (describe)
Assignment Type [ ] Purchase Transaction [X] Refinance Transaction [ ] Other (describe)
Lender/Client United Faith Mortgage | Address 401 Broadhollow Road, Suite 150, Melville, NY 11747
Is the subject property currently offered for sale or has it been offered for sale in the twelve months prior to the effective date of this appraisal? [ ] Yes [X] No
Report data source(s) used, offering price(s), and date(s). Information was obtained from theFlexMLS.

CONTRACT

I [ ] did [ ] did not analyze the contract for sale for the subject purchase transaction. Explain the results of the analysis of the contract for sale or why the analysis was not performed.

Contract Price $ | Date of Contract | Is the property seller the owner of public record? [ ] Yes [ ] No | Data Source(s)
Is there any financial assistance (loan charges, sale concessions, gift or downpayment assistance, etc.) to be paid by any party on behalf of the borrower? [ ] Yes [ ] No
If Yes, report the total dollar amount and describe the items to be paid.

NEIGHBORHOOD

Note: Race and the racial composition of the neighborhood are not appraisal factors.

Neighborhood Characteristics			One-Unit Housing Trends				One-Unit Housing		Present Land Use %	
Location	[ ] Urban	[ ] Suburban	[X] Rural	Property Values	[ ] Increasing	[X] Stable	[ ] Declining	PRICE	AGE	One-Unit	60 %
Built-Up	[ ] Over 75%	[X] 25-75%	[ ] Under 25%	Demand/Supply	[ ] Shortage	[X] In Balance	[ ] Over Supply	$(000)	(yrs)	2-4 Unit	2 %
Growth	[ ] Rapid	[X] Stable	[ ] Slow	Marketing Time	[X] Under 3 mths	[ ] 3-6 mths	[ ] Over 6 mths	19 Low	0	Multi-Family	3 %
Neighborhood Boundaries North by Dutch Settlement Road, South by the State Line, East by State Road 217 and West by Barron Lake Road								2,275 High	226	Commercial	5 %
								315 Pred.	125	Other Agricul	30 %

Neighborhood Description See Attached Addendum

Market Conditions (including support for the above conclusions) See Attached Addendum

SITE

Dimensions 604 x 371 x 474 | Area 2.02 ac | Shape Irregular | View N;Res;
Specific Zoning Classification R | Zoning Description Residential
Zoning Compliance [X] Legal [ ] Legal Nonconforming (Grandfathered Use) [ ] No Zoning [ ] Illegal (describe)
Is the highest and best use of the subject property as improved (or as proposed per plans and specifications) the present use? [X] Yes [ ] No | If No, describe. See Attached Addendum

Utilities	Public	Other (describe)		Public	Other (describe)	Off-site Improvements—Type	Public	Private
Electricity	[X]	[ ]	Water	[ ]	[X] Well	Street Asphalt	[X]	[ ]
Gas	[X]	[ ]	Sanitary Sewer	[ ]	[X] Septic	Alley None	[ ]	[ ]

FEMA Special Flood Hazard Area [ ] Yes [X] No | FEMA Flood Zone X | FEMA Map # 26027C0140C | FEMA Map Date 09/05/2007
Are the utilities and off-site improvements typical for the market area? [X] Yes [ ] No | If No, describe.
Are there any adverse site conditions or external factors (easements, encroachments, environmental conditions, land uses, etc.)? [ ] Yes [X] No | If Yes, describe.

IMPROVEMENTS

GENERAL DESCRIPTION		FOUNDATION		EXTERIOR DESCRIPTION	materials/condition	INTERIOR	materials/condition
Units [X] One [ ] One with Accessory Unit		[ ] Concrete Slab [ ] Crawl Space		Foundation Walls	Concrete New	Floors	Cpt / LVT New
# of Stories 1		[X] Full Basement [ ] Partial Basement		Exterior Walls	Vinyl New	Walls	Painted New
Type [X] Det. [ ] Att. [ ] S-Det./End Unit		Basement Area 2030 sq. ft.		Roof Surface	Shingle New	Trim/Finish	Painted New
[X] Existing [ ] Proposed [ ] Under Const.		Basement Finish 80 %		Gutters & Downspouts	Aluminum New	Bath Floor	Tile New
Design (Style) Ranch		[ ] Outside Entry/Exit [X] Sump Pump		Window Type	DblHung New	Bath Wainscot	Fiberglass New
Year Built 2025		Evidence of [ ] Infestation		Storm Sash/Insulated	Yes New	Car Storage	[ ] None
Effective Age (Yrs) 1		[ ] Dampness [ ] Settlement		Screens	Yes New	[X] Driveway	# of Cars 2
Attic	[ ] None	Heating [X] FWA [ ] HWBB [ ] Radiant		Amenities	[ ] WoodStove(s) #0	Driveway Surface Concrete	
[ ] Drop Stair	[ ] Stairs	[ ] Other	Fuel Gas	[X] Fireplace(s) # 1	[ ] Fence None	[X] Garage	# of Cars 2
[ ] Floor	[X] Scuttle	Cooling [X] Central Air Conditioning		[X] Patio/Deck Open	[X] Porch Cvd	[ ] Carport	# of Cars 0
[ ] Finished	[ ] Heated	[ ] Individual	[ ] Other	[ ] Pool None	[X] Other Barn	[X] Att.	[ ] Det. [ ] Built-in

Appliances [ ] Refrigerator [ ] Range/Oven [ ] Dishwasher [ ] Disposal [ ] Microwave [ ] Washer/Dryer [ ] Other (describe)
Finished area **above** grade contains: 6 Rooms | 3 Bedrooms | 2.0 Bath(s) | 2,030 Square Feet of Gross Living Area Above Grade
Additional features (special energy efficient items, etc.). The structure is average for its age and style with a fireplace and central air.

Describe the condition of the property (including needed repairs, deterioration, renovations, remodeling, etc.). C2;No updates in the prior 15 years;All the utilities were on and available at the time of the inspection. The kitchen was complete and all baths above grade have the appropriate fixtures. The appliances that were present were in working order. The mechanical, electrical and plumbing has been tested and is in working order.The appraiser did note the presence of smoke detectors.The subject was in like new condition. The subject had all new flooring, trim and fixtures throughout. The kitchen new flooring, countertops, cabinetry and fixtures. The bathrooms < continued in addendum >

Are there any physical deficiencies or adverse conditions that affect the livability, soundness, or structural integrity of the property? [ ] Yes [X] No | If Yes, describe.

Does the property generally conform to the neighborhood (functional utility, style, condition, use, construction, etc.)? [X] Yes [ ] No | If No, describe.

Uniform Residential Appraisal Report

File No. 002600151

There are 9 comparable properties currently offered for sale in the subject neighborhood ranging in price from $ 425,000 to $ 569,900 .

There are 38 comparable sales in the subject neighborhood within the past twelve months ranging in sale price from $ 400,000 to $ 600,000 .

FEATURE	SUBJECT	COMPARABLE SALE NO. 1		COMPARABLE SALE NO. 2		COMPARABLE SALE NO. 3	
Address	63462 Dailey Rd Cassopolis, MI 49031	21536 Fieldview Dr Edwardsburg, MI 49112		23584 Kelsey Lake St Cassopolis, MI 49031		66601 Conrad Rd Edwardsburg, MI 49112	
Proximity to Subject		7.46 miles SE		7.30 miles NE		3.33 miles SW	
Sale Price	$		$ 465,000		$ 445,000		$ 591,000
Sale Price/Gross Liv. Area	$ 0.00 sq. ft.	$ 257.48 sq. ft.		$ 273.68 sq. ft.		$ 262.67 sq. ft.	
Data Source(s)		FlexMLS #25028880;DOM 23		FlexMLS #25020702;DOM 16		FlexMLS #25046524;DOM 7	
Verification Source(s)		Cass County Record Card		Cass County Record Card		Cass County Record Card	
VALUE ADJUSTMENTS	DESCRIPTION	DESCRIPTION	+(-) $ Adjustment	DESCRIPTION	+(-) $ Adjustment	DESCRIPTION	+(-) $ Adjustment
Sale or Financing Concessions		ArmLth Cash;0		ArmLth Cash;500	-500	ArmLth Conv;11000	-11,000
Date of Sale/Time		s08/25;c06/25		s06/25;c05/25		s10/25;c09/25	
Location	N;Res;	N;Res;		N;Res;		B;WtrFr;	-59,100
Leasehold/Fee Simple	Fee Simple	Fee Simple		Fee Simple		Fee Simple	
Site	2.02 ac	21168 sf	+10,000	1.2 ac	0	3.8 ac	-10,000
View	N;Res;	N;Res;		N;Res;		B;Wtr;	-59,100
Design (Style)	DT1;Ranch	DT2;Traditional	0	DT2;Traditional	0	DT1;Ranch	
Quality of Construction	Q4	Q4		Q4		Q4	
Actual Age	1	3	0	22	+2,000	23	+2,000
Condition	C2	C2		C4	44,500	C4	59,100
Above Grade Room Count (Total / Bdrms. / Baths)	6 / 3 / 2.0	6 / 3 / 2.1	-1,000	8 / 3 / 2.1	-1,000	10 / 5 / 3.1	-3,000
Gross Living Area	2,030 sq. ft.	1,806 sq. ft.	4,480	1,626 sq. ft.	8,080	2,250 sq. ft.	-4,400
Basement & Finished	2030sf1624sfin	1298sf0sfin	3,660	1050sf965sfwo	4,900	2250sf1950sfin	-1,100
Rooms Below Grade	1rr0br0.1ba1o		+6,000	1rr1br1.1ba0o	-2,000	1rr2br1.0ba0o	-2,000
Functional Utility	Average	Average		Average		Average	
Heating/Cooling	FWA C/Air	FWA C/Air		FWA C/Air		FWA C/Air	
Energy Efficient Items	None	None		None		None	
Garage/Carport	2ga2dw	2ga2dw		2ga2dw		3ga3dw	-10,000
Porch/Patio/Deck	Patio,Porch	Patio,Porch,Deck	-2,000	Patio,Porch,Deck	-2,000	Patio,Porch	
Fireplace	1 F/P	1 F/P		None	+1,000	None	+1,000
Barn	Pole Barn	None	+10,000	Pole Barn		None	+10,000
Net Adjustment (Total)		[X] + [ ] -	$ 31,140	[X] + [ ] -	$ 54,980	[ ] + [X] -	$ 91,600
Adjusted Sale Price of Comparables		Net Adj. 6.7% Gross Adj. 8.0%	$ 496,140	Net Adj. 12.4% Gross Adj. 14.8%	$ 499,980	Net Adj. -15.5% Gross Adj. 39.9%	$ 499,400

I [X] did [ ] did not research the sale or transfer history of the subject property and comparable sales. If not, explain

My research [ ] did [X] did not reveal any prior sales or transfers of the subject property for the three years prior to the effective date of this appraisal.

Data source(s) Cass County Assessment Record

My research [ ] did [X] did not reveal any prior sales or transfers of the comparable sales for the year prior to the date of sale of the comparable sale.

Data source(s) Cass County Assessment Record

Report the results of the research and analysis of the prior sale or transfer history of the subject property and comparable sales (report additional prior sales on page 3).

ITEM	SUBJECT	COMPARABLE SALE NO. 1	COMPARABLE SALE NO. 2	COMPARABLE SALE NO. 3
Date of Prior Sale/Transfer				
Price of Prior Sale/Transfer				
Data Source(s)	Assessment Rcds	Assessment Rcds	Assessment Rcds	Assessment Rcds
Effective Date of Data Source(s)	03/12/2026	03/12/2026	03/12/2026	03/12/2026

Analysis of prior sale or transfer history of the subject property and comparable sales Prior Sales within the past three years (If any) have been indicated above for the subject. Prior Sales within the past year (If any) have been indicated above for the comparables.

Summary of Sales Comparison Approach. See Attached Addendum

Indicated Value by Sales Comparison Approach $ 499,000

Indicated Value by: Sales Comparison Approach $ 499,000 **Cost Approach (if developed) $** 543,100 **Income Approach (if developed) $**

Of all the Approaches to value, the Sales Comparison Approach would appear to be the most accepted method of estimating single family structures. The Cost Approach has supported this estimate as well. The Income Approach was not developed because the majority of homes are owner occupied in this neighnorhood and the Income Approach would not be applicable.

This appraisal is made [ ] "as is," [X] subject to completion per plans and specifications on the basis of a hypothetical condition that the improvements have been completed, [ ] subject to the following repairs or alterations on the basis of a hypothetical condition that the repairs or alterations have been completed, or [ ] subject to the following required inspection based on the extraordinary assumption that the condition or deficiency does not require alteration or repair: The subject report has been signed using legally accepted electronic signatures that are password protected.

Based on a complete visual inspection of the interior and exterior areas of the subject property, defined scope of work, statement of assumptions and limiting conditions, and appraiser's certification, my (our) opinion of the market value, as defined, of the real property that is the subject of this report is $ 499,000 **as of** 03/12/2026 **, which is the date of inspection and the effective date of this appraisal.**

Uniform Residential Appraisal Report

File No. 002600151

ADDITIONAL COMMENTS

Clarification of Intended Use and Intended User:

The Intended User of this appraisal report is the Lender/Client. The Intended Use is to evaluate the property that is the subject of this appraisal for a mortgage finance transaction, subject to the stated Scope of Work, purpose of the appraisal, reporting requirements of this appraisal report form, and Definition of Market Value. No additional Intended Users are identified by the appraiser.

SCOPE OF WORK

The scope of work for this appraisal is defined by the complexity of this appraisal assignment and the reporting requirements of this appraisal report form, including the following definition of market value, statement of assumptions and limiting conditions, and certifications. The appraiser must, at a minimum: (1) perform a complete visual inspection of the interior and exterior areas of the subject property, (2) inspect the neighborhood, (3) inspect each of the comparable sales from at least the street, (4) research, verify, and analyze data from reliable public and/or private sources, and (5) report his or her analysis, opinions, and conclusions in this appraisal report.

A one story detached single family house, with 2030 above grade finished square feet and 2030 below grade square feet, 1624 below grade finished square feet. Property includes a porch and patio . ANSI measurements were utilized in this report.ANSI measurements were utilized in this report.ANSI Standards were followed; however, this house was built to full foot dimensions, and therefore no decimal was needed. The property has been measured and reported correctly.

COST APPROACH

COST APPROACH TO VALUE (not required by Fannie Mae)

Provide adequate information for the lender/client to replicate the below cost figures and calculations.

Support for the opinion of site value (summary of comparable land sales or other methods for estimating site value) Land value for the purpose of this report was established by using vacant land sales in the subject area

ESTIMATED ☐ REPRODUCTION OR ☒ REPLACEMENT COST NEW	OPINION OF SITE VALUE		= $	35,000
Source of cost data Marshall & Swift	Dwelling 2,030 Sq. Ft. @ $ 155.00		= $	314,650
Quality rating from cost service Average Effective date of cost data 03/12/2026	Bsmt: 2030 Sq. Ft. @ $ 75.00		= $	152,250
Comments on Cost Approach (gross living area calculations, depreciation, etc.)	Porch,Patio,Pole Barn			+6,000
Of all the the approaches to value the sales comparison should be	Garage/Carport 576 Sq. Ft. @ $ 35.00		= $	20,160
given the most consideration. Having said that, the cost approach	Total Estimate of Cost-New		= $	493,060
supports the final opinion of value.	Less 55 Physical	Functional	External	
	Depreciation		= $ (	0)
	Depreciated Cost of Improvements		= $	493,060
	"As-is" Value of Site Improvements . Driveway,. Sidewalk,Etc		= $	15,000
Estimated Remaining Economic Life (HUD and VA only) 54 Years	INDICATED VALUE BY COST APPROACH		= $	543,100

INCOME

INCOME APPROACH TO VALUE (not required by Fannie Mae)

Estimated Monthly Market Rent $ X Gross Rent Multiplier = $ Indicated Value by Income Approach

Summary of Income Approach (including support for market rent and GRM)

PUD INFORMATION

PROJECT INFORMATION FOR PUDs (if applicable)

Is the developer/builder in control of the Homeowners' Association (HOA)? ☐ Yes ☐ No Unit type(s) ☐ Detached ☐ Attached

Provide the following information for PUDs ONLY if the developer/builder is in control of the HOA and the subject property is an attached dwelling unit.

Legal name of project

Total number of phases Total number of units Total number of units sold

Total number of units rented Total number of units for sale Data source(s)

Was the project created by the conversion of an existing building(s) into a PUD? ☐ Yes ☐ No If Yes, date of conversion.

Does the project contain any multi-dwelling units? ☐ Yes ☐ No Data source(s)

Are the units, common elements, and recreation facilities complete? ☐ Yes ☐ No If No, describe the status of completion.

Are the common elements leased to or by the Homeowners' Association? ☐ Yes ☐ No If Yes, describe the rental terms and options.

Describe common elements and recreational facilities.

Uniform Residential Appraisal Report

File No. 002600151

This report form is designed to report an appraisal of a one-unit property or a one-unit property with an accessory unit; including a unit in a planned unit development (PUD). This report form is not designed to report an appraisal of a manufactured home or a unit in a condominium or cooperative project.

This appraisal report is subject to the following scope of work, intended use, intended user, definition of market value, statement of assumptions and limiting conditions, and certifications. Modifications, additions, or deletions to the intended use, intended user, definition of market value, or assumptions and limiting conditions are not permitted. The appraiser may expand the scope of work to include any additional research or analysis necessary based on the complexity of this appraisal assignment. Modifications or deletions to the certifications are also not permitted. However, additional certifications that do not constitute material alterations to this appraisal report, such as those required by law or those related to the appraiser's continuing education or membership in an appraisal organization, are permitted.

SCOPE OF WORK: The scope of work for this appraisal is defined by the complexity of this appraisal assignment and the reporting requirements of this appraisal report form, including the following definition of market value, statement of assumptions and limiting conditions, and certifications. The appraiser must, at a minimum: (1) perform a complete visual inspection of the interior and exterior areas of the subject property, (2) inspect the neighborhood, (3) inspect each of the comparable sales from at least the street, (4) research, verify, and analyze data from reliable public and/or private sources, and (5) report his or her analysis, opinions, and conclusions in this appraisal report.

INTENDED USE: The intended use of this appraisal report is for the lender/client to evaluate the property that is the subject of this appraisal for a mortgage finance transaction.

INTENDED USER: The intended user of this appraisal report is the lender/client.

DEFINITION OF MARKET VALUE: The most probable price which a property should bring in a competitive and open market under all conditions requisite to a fair sale, the buyer and seller, each acting prudently, knowledgeably and assuming the price is not affected by undue stimulus. Implicit in this definition is the consummation of a sale as of a specified date and the passing of title from seller to buyer under conditions whereby: (1) buyer and seller are typically motivated; (2) both parties are well informed or well advised, and each acting in what he or she considers his or her own best interest; (3) a reasonable time is allowed for exposure in the open market; (4) payment is made in terms of cash in U. S. dollars or in terms of financial arrangements comparable thereto; and (5) the price represents the normal consideration for the property sold unaffected by special or creative financing or sales concessions* granted by anyone associated with the sale.

*Adjustments to the comparables must be made for special or creative financing or sales concessions. No adjustments are necessary for those costs which are normally paid by sellers as a result of tradition or law in a market area; these costs are readily identifiable since the seller pays these costs in virtually all sales transactions. Special or creative financing adjustments can be made to the comparable property by comparisons to financing terms offered by a third party institutional lender that is not already involved in the property or transaction. Any adjustment should not be calculated on a mechanical dollar for dollar cost of the financing or concession but the dollar amount of any adjustment should approximate the market's reaction to the financing or concessions based on the appraiser's judgment.

STATEMENT OF ASSUMPTIONS AND LIMITING CONDITIONS: The appraiser's certification in this report is subject to the following assumptions and limiting conditions:

1. The appraiser will not be responsible for matters of a legal nature that affect either the property being appraised or the title to it, except for information that he or she became aware of during the research involved in performing this appraisal. The appraiser assumes that the title is good and marketable and will not render any opinions about the title.

2. The appraiser has provided a sketch in this appraisal report to show the approximate dimensions of the improvements. The sketch is included only to assist the reader in visualizing the property and understanding the appraiser's determination of its size.

3. The appraiser has examined the available flood maps that are provided by the Federal Emergency Management Agency (or other data sources) and has noted in this appraisal report whether any portion of the subject site is located in an identified Special Flood Hazard Area. Because the appraiser is not a surveyor, he or she makes no guarantees, express or implied, regarding this determination.

4. The appraiser will not give testimony or appear in court because he or she made an appraisal of the property in question, unless specific arrangements to do so have been made beforehand, or as otherwise required by law.

5. The appraiser has noted in this appraisal report any adverse conditions (such as needed repairs, deterioration, the presence of hazardous wastes, toxic substances, etc.) observed during the inspection of the subject property or that he or she became aware of during the research involved in performing this appraisal. Unless otherwise stated in this appraisal report, the appraiser has no knowledge of any hidden or unapparent physical deficiencies or adverse conditions of the property (such as, but not limited to, needed repairs, deterioration, the presence of hazardous wastes, toxic substances, adverse environmental conditions, etc.) that would make the property less valuable, and has assumed that there are no such conditions and makes no guarantees or warranties, express or implied. The appraiser will not be responsible for any such conditions that do exist or for any engineering or testing that might be required to discover whether such conditions exist. Because the appraiser is not an expert in the field of environmental hazards, this appraisal report must not be considered as an environmental assessment of the property.

6. The appraiser has based his or her appraisal report and valuation conclusion for an appraisal that is subject to satisfactory completion, repairs, or alterations on the assumption that the completion, repairs, or alterations of the subject property will be performed in a professional manner.

Uniform Residential Appraisal Report

File No. 002600151

APPRAISER'S CERTIFICATION: The Appraiser certifies and agrees that:

1. I have, at a minimum, developed and reported this appraisal in accordance with the scope of work requirements stated in this appraisal report.

2. I performed a complete visual inspection of the interior and exterior areas of the subject property. I reported the condition of the improvements in factual, specific terms. I identified and reported the physical deficiencies that could affect the livability, soundness, or structural integrity of the property.

3. I performed this appraisal in accordance with the requirements of the Uniform Standards of Professional Appraisal Practice that were adopted and promulgated by the Appraisal Standards Board of The Appraisal Foundation and that were in place at the time this appraisal report was prepared.

4. I developed my opinion of the market value of the real property that is the subject of this report based on the sales comparison approach to value. I have adequate comparable market data to develop a reliable sales comparison approach for this appraisal assignment. I further certify that I considered the cost and income approaches to value but did not develop them, unless otherwise indicated in this report.

5. I researched, verified, analyzed, and reported on any current agreement for sale for the subject property, any offering for sale of the subject property in the twelve months prior to the effective date of this appraisal, and the prior sales of the subject property for a minimum of three years prior to the effective date of this appraisal, unless otherwise indicated in this report.

6. I researched, verified, analyzed, and reported on the prior sales of the comparable sales for a minimum of one year prior to the date of sale of the comparable sale, unless otherwise indicated in this report.

7. I selected and used comparable sales that are locationally, physically, and functionally the most similar to the subject property.

8. I have not used comparable sales that were the result of combining a land sale with the contract purchase price of a home that has been built or will be built on the land.

9. I have reported adjustments to the comparable sales that reflect the market's reaction to the differences between the subject property and the comparable sales.

10. I verified, from a disinterested source, all information in this report that was provided by parties who have a financial interest in the sale or financing of the subject property.

11. I have knowledge and experience in appraising this type of property in this market area.

12. I am aware of, and have access to, the necessary and appropriate public and private data sources, such as multiple listing services, tax assessment records, public land records and other such data sources for the area in which the property is located.

13. I obtained the information, estimates, and opinions furnished by other parties and expressed in this appraisal report from reliable sources that I believe to be true and correct.

14. I have taken into consideration the factors that have an impact on value with respect to the subject neighborhood, subject property, and the proximity of the subject property to adverse influences in the development of my opinion of market value. I have noted in this appraisal report any adverse conditions (such as, but not limited to, needed repairs, deterioration, the presence of hazardous wastes, toxic substances, adverse environmental conditions, etc.) observed during the inspection of the subject property or that I became aware of during the research involved in performing this appraisal. I have considered these adverse conditions in my analysis of the property value, and have reported on the effect of the conditions on the value and marketability of the subject property.

15. I have not knowingly withheld any significant information from this appraisal report and, to the best of my knowledge, all statements and information in this appraisal report are true and correct.

16. I stated in this appraisal report my own personal, unbiased, and professional analysis, opinions, and conclusions, which are subject only to the assumptions and limiting conditions in this appraisal report.

17. I have no present or prospective interest in the property that is the subject of this report, and I have no present or prospective personal interest or bias with respect to the participants in the transaction. I did not base, either partially or completely, my analysis and/or opinion of market value in this appraisal report on the race, color, religion, sex, age, marital status, handicap, familial status, or national origin of either the prospective owners or occupants of the subject property or of the present owners or occupants of the properties in the vicinity of the subject property or on any other basis prohibited by law.

18. My employment and/or compensation for performing this appraisal or any future or anticipated appraisals was not conditioned on any agreement or understanding, written or otherwise, that I would report (or present analysis supporting) a predetermined specific value, a predetermined minimum value, a range or direction in value, a value that favors the cause of any party, or the attainment of a specific result or occurrence of a specific subsequent event (such as approval of a pending mortgage loan application).

19. I personally prepared all conclusions and opinions about the real estate that were set forth in this appraisal report. If I relied on significant real property appraisal assistance from any individual or individuals in the performance of this appraisal or the preparation of this appraisal report, I have named such individual(s) and disclosed the specific tasks performed in this appraisal report. I certify that any individual so named is qualified to perform the tasks. I have not authorized anyone to make a change to any item in this appraisal report; therefore, any change made to this appraisal is unauthorized and I will take no responsibility for it.

20. I identified the lender/client in this appraisal report who is the individual, organization, or agent for the organization that ordered and will receive this appraisal report.

21. The lender/client may disclose or distribute this appraisal report to: the borrower; another lender at the request of the borrower; the mortgagee or its successors and assigns; mortgage insurers; government sponsored enterprises; other secondary market participants; data collection or reporting services; professional appraisal organizations; any department, agency, or instrumentality of the United States; and any state, the District of Columbia, or other jurisdictions; without having to obtain the appraiser's or supervisory appraiser's (if applicable) consent. Such consent must be obtained before this appraisal report may be disclosed or distributed to any other party (including, but not limited to, the public through advertising, public relations, news, sales, or other media).

Uniform Residential Appraisal Report

File No. 002600151

22. I am aware that any disclosure or distribution of this appraisal report by me or the lender/client may be subject to certain laws and regulations. Further, I am also subject to the provisions of the Uniform Standards of Professional Appraisal Practice that pertain to disclosure or distribution by me.

23. The borrower, another lender at the request of the borrower, the mortgagee or its successors and assigns, mortgage insurers, government sponsored enterprises, and other secondary market participants may rely on this appraisal report as part of any mortgage finance transaction that involves any one or more of these parties.

24. If this appraisal report was transmitted as an “electronic record” containing my “electronic signature,” as those terms are defined in applicable federal and/or state laws (excluding audio and video recordings), or a facsimile transmission of this appraisal report containing a copy or representation of my signature, the appraisal report shall be as effective, enforceable and valid as if a paper version of this appraisal report were delivered containing my original hand written signature.

25. Any intentional or negligent misrepresentation(s) contained in this appraisal report may result in civil liability and/or criminal penalties including, but not limited to, fine or imprisonment or both under the provisions of Title 18, United States Code, Section 1001, et seq., or similar state laws.

SUPERVISORY APPRAISER'S CERTIFICATION: The Supervisory Appraiser certifies and agrees that:

1. I directly supervised the appraiser for this appraisal assignment, have read the appraisal report, and agree with the appraiser’s analysis, opinions, statements, conclusions, and the appraiser’s certification.

2. I accept full responsibility for the contents of this appraisal report including, but not limited to, the appraiser’s analysis, opinions, statements, conclusions, and the appraiser’s certification.

3. The appraiser identified in this appraisal report is either a sub-contractor or an employee of the supervisory appraiser (or the appraisal firm), is qualified to perform this appraisal, and is acceptable to perform this appraisal under the applicable state law.

4. This appraisal report complies with the Uniform Standards of Professional Appraisal Practice that were adopted and promulgated by the Appraisal Standards Board of The Appraisal Foundation and that were in place at the time this appraisal report was prepared.

5. If this appraisal report was transmitted as an “electronic record” containing my “electronic signature,” as those terms are defined in applicable federal and/or state laws (excluding audio and video recordings), or a facsimile transmission of this appraisal report containing a copy or representation of my signature, the appraisal report shall be as effective, enforceable and valid as if a paper version of this appraisal report were delivered containing my original hand written signature.

APPRAISER

Signature Darren Batteast
Name Darren R. Batteast
Company Name 365 Appraisals LLC
Company Address 53103 Bracken Fern Dr.
South Bend, IN 46637
Telephone Number 574-999-0013
Email Address three65appraisals@gmail.com
Date of Signature and Report 03/17/2026
Effective Date of Appraisal 03/12/2026
State Certification # 1204078467
or State License #
or Other (describe) State #
State MI
Expiration Date of Certification or License 07/31/2026
1204078467

ADDRESS OF PROPERTY APPRAISED
63462 Dailey Rd
Cassopolis, MI 49031

APPRAISED VALUE OF SUBJECT PROPERTY $ 499,000

LENDER/CLIENT
Name Fastapp Appraisal Management Company
Company Name United Faith Mortgage
Company Address 401 Broadhollow Road, Suite 150
Melville, NY 11747
Email Address

SUPERVISORY APPRAISER (ONLY IF REQUIRED)

Signature
Name
Company Name
Company Address

Telephone Number
Email Address
Date of Signature
State Certification #
or State License #
State
Expiration Date of Certification or License

SUBJECT PROPERTY
☐ Did not inspect subject property
☐ Did inspect exterior of subject property from street
Date of Inspection
☐ Did inspect interior and exterior of subject property
Date of Inspection

COMPARABLE SALES
☐ Did not inspect exterior of comparable sales from street
☐ Did inspect exterior of comparable sales from street
Date of Inspection

Uniform Residential Appraisal Report

File No. 002600151

FEATURE	SUBJECT	COMPARABLE SALE NO. 4	COMPARABLE SALE NO. 5	COMPARABLE SALE NO. 6
Address	63462 Dailey Rd Cassopolis, MI 49031	66082 Victoria Ln Cassopolis, MI 49031	22279 Loupee Dr Cassopolis, MI 49031	
Proximity to Subject		9.65 miles SE	5.30 miles NE	
Sale Price	$	$ 470,000	$ 469,000	$
Sale Price/Gross Liv. Area	$ 0.00 sq. ft.	$ 215.20 sq. ft.	$ 207.16 sq. ft.	$ sq. ft.
Data Source(s)		FlexMLS #25056670;DOM 92	FlexMLS #25062475;DOM 90	
Verification Source(s)		Cass County Record Card	Cass County Record Card	
VALUE ADJUSTMENTS	DESCRIPTION	DESCRIPTION / +(-) $ Adjustment	DESCRIPTION / +(-) $ Adjustment	DESCRIPTION / +(-) $ Adjustment
Sale or Financing Concessions		ArmLth Conv;23500 / -23,500	Listing ;0 / -2,251	
Date of Sale/Time		s03/26;c11/25	Active	
Location	N;Res;	N;Res;	N;Res;	
Leasehold/Fee Simple	Fee Simple	Fee Simple	Fee Simple	
Site	2.02 ac	11 ac / -90,000	1.27 ac / 0	
View	N;Res;	N;Res;	N;Res;	
Design (Style)	DT1;Ranch	DT1;Ranch	DT2;Traditional / 0	
Quality of Construction	Q4	Q4	Q4	
Actual Age	1	19 / 0	48 / +4,000	
Condition	C2	C4 / 47,000	C3 / 23,450	
Above Grade Room Count (Total / Bdrms. / Baths)	6 / 3 / 2.0	6 / 3 / 2.0	6 / 4 / 2.1 / -2,000 / -1,000	
Gross Living Area	20 / 2,030 sq. ft.	2,184 sq. ft. / -3,080	2,264 sq. ft. / -4,680	sq. ft.
Basement & Finished Rooms Below Grade	2030sf1624sfin 1rr0br0.1ba1o	0sf / 10,150 +6,000	960sf0sfin / 5,350 +6,000	
Functional Utility	Average	Average	Average	
Heating/Cooling	FWA C/Air	FWA C/Air	FWA C/Air	
Energy Efficient Items	None	None	None	
Garage/Carport	2ga2dw	2ga2dw	2ga2dw	
Porch/Patio/Deck	Patio,Porch	Porch, Deck / 0	Patio,x2Porch / -2,000	
Fireplace	1 F/P	None / +1,000	1 F/P	
Barn	Pole Barn	None / +10,000	None / +10,000	
Net Adjustment (Total)		☐ + ☒ - $ 42,430	☒ + ☐ - $ 36,869	☐ + ☐ - $
Adjusted Sale Price of Comparables		Net Adj. -9.0% Gross Adj. 40.6% $ 427,570	Net Adj. 7.9% Gross Adj. 12.9% $ 505,869	Net Adj. % Gross Adj. % $

SALES COMPARISON APPROACH

ITEM	SUBJECT	COMPARABLE SALE NO. 4	COMPARABLE SALE NO. 5	COMPARABLE SALE NO. 6
Date of Prior Sale/Transfer				
Price of Prior Sale/Transfer				
Data Source(s)	Assessment Rcds	Assessment Rcds	Assessment Rcds	
Effective Date of Data Source(s)	03/12/2026	03/12/2026	03/12/2026	

Summary of Sales Comparison Approach

Uniform Appraisal Dataset Definitions

File No. 002600151

Condition Ratings and Definitions

C1 The improvements have been very recently constructed and have not previously been occupied. The entire structure and all components are new and the dwelling features no physical depreciation.*

**Note: Newly constructed improvements that feature recycled materials and/or components can be considered new dwellings provided that the dwelling is placed on a 100% new foundation and the recycled materials and the recycled components have been rehabilitated/re-manufactured into like-new condition. Recently constructed improvements that have not been previously occupied are not considered "new" if they have any significant physical depreciation (i.e., newly constructed dwellings that have been vacant for an extended period of time without adequate maintenance or upkeep).*

C2 The improvements feature no deferred maintenance, little or no physical depreciation, and require no repairs. Virtually all building components are new or have been recently repaired, refinished, or rehabilitated. All outdated components and finishes have been updated and/or replaced with components that meet current standards. Dwellings in this category either are almost new or have been recently completely renovated and are similar in condition to new construction.

**Note: The improvements represent a relatively new property that is well maintained with no deferred maintenance and little or no physical depreciation, or an older property that has been recently completely renovated.*

C3 The improvements are well maintained and feature limited physical depreciation due to normal wear and tear. Some components, but not every major building component, may be updated or recently rehabilitated. The structure has been well maintained.

**Note: The improvement is in its first-cycle of replacing short-lived building components (appliances, floor coverings, HVAC, etc.) and is being well maintained. Its estimated effective age is less than its actual age. It also may reflect a property in which the majority of short-lived building components have been replaced but not to the level of a complete renovation.*

C4 The improvements feature some minor deferred maintenance and physical deterioration due to normal wear and tear. The dwelling has been adequately maintained and requires only minimal repairs to building components/mechanical systems and cosmetic repairs. All major building components have been adequately maintained and are functionally adequate.

**Note: The estimated effective age may be close to or equal to its actual age. It reflects a property in which some of the short-lived building components have been replaced, and some short-lived building components are at or near the end of their physical life expectancy; however, they still function adequately. Most minor repairs have been addressed on an ongoing basis resulting in an adequately maintained property.*

C5 The improvements feature obvious deferred maintenance and are in need of some significant repairs. Some building components need repairs, rehabilitation, or updating. The functional utility and overall livability is somewhat diminished due to condition, but the dwelling remains useable and functional as a residence.

**Note: Some significant repairs are needed to the improvements due to the lack of adequate maintenance. It reflects a property in which many of its short-lived building components are at the end of or have exceeded their physical life expectancy but remain functional.*

C6 The improvements have substantial damage or deferred maintenance with deficiencies or defects that are severe enough to affect the safety, soundness, or structural integrity of the improvements. The improvements are in need of substantial repairs and rehabilitation, including many or most major components.

**Note: Substantial repairs are needed to the improvements due to the lack of adequate maintenance or property damage. It reflects a property with conditions severe enough to affect the safety, soundness, or structural integrity of the improvements.*

Quality Ratings and Definitions

Q1 Dwellings with this quality rating are usually unique structures that are individually designed by an architect for a specified user. Such residences typically are constructed from detailed architectural plans and specifications and feature an exceptionally high level of workmanship and exceptionally high-grade materials throughout the interior and exterior of the structure. The design features exceptionally high-quality exterior refinements and ornamentation, and exceptionally high-quality interior refinements. The workmanship, materials, and finishes throughout the dwelling are of exceptionally high quality.

Q2 Dwellings with this quality rating are often custom designed for construction on an individual property owner's site. However, dwellings in this quality grade are also found in high-quality tract developments featuring residences constructed from individual plans or from highly modified or upgraded plans. The design features detailed, high-quality exterior ornamentation, high-quality interior refinements, and detail. The workmanship, materials, and finishes throughout the dwelling are generally of high or very high quality.

Q3 Dwellings with this quality rating are residences of higher quality built from individual or readily available designer plans in above-standard residential tract developments or on an individual property owner's site. The design includes significant exterior ornamentation and interiors that are well finished. The workmanship exceeds acceptable standards and many materials and finishes throughout the dwelling have been upgraded from "stock" standards.

Q4 Dwellings with this quality rating meet or exceed the requirements of applicable building codes. Standard or modified standard building plans are utilized and the design includes adequate fenestration and some exterior ornamentation and interior refinements. Materials, workmanship, finish, and equipment are of stock or builder grade and may feature some upgrades.

Q5 Dwellings with this quality rating feature economy of construction and basic functionality as main considerations. Such dwellings feature a plain design using readily available or basic floor plans featuring minimal fenestration and basic finishes with minimal exterior ornamentation and limited interior detail. These dwellings meet minimum building codes and are constructed with inexpensive, stock materials with limited refinements and upgrades.

Q6 Dwellings with this quality rating are of basic quality and lower cost; some may not be suitable for year-round occupancy. Such dwellings are often built with simple plans or without plans, often utilizing the lowest quality building materials. Such dwellings are often built or expanded by persons who are professionally unskilled or possess only minimal construction skills. Electrical, plumbing, and other mechanical systems and equipment may be minimal or non-existent. Older dwellings may feature one or more substandard or non-conforming additions to the original structure.

Definitions of Not Updated, Updated, and Remodeled

Not Updated

Little or no updating or modernization. This description includes, but is not limited to, new homes.

Residential properties of fifteen years of age or less often reflect an original condition with no updating, if no major components have been replaced or updated. Those over fifteen years of age are also considered not updated if the appliances, fixtures, and finishes are predominantly dated. An area that is 'Not Updated' may still be well maintained and fully functional, and this rating does not necessarily imply deferred maintenance or physical /functional deterioration.

Updated

The area of the home has been modified to meet current market expectations. These modifications are limited in terms of both scope and cost.

An updated area of the home should have an improved look and feel, or functional utility. Changes that constitute updates include refurbishment and/or replacing components to meet existing market expectations. Updates do not include significant alterations to the existing structure.

Remodeled

Significant finish and/or structural changes have been made that increase utility and appeal through complete replacement and/ or expansion.

A remodeled area reflects fundamental changes that include multiple alterations. These alterations may include some or all of the following: replacement of a major component (cabinet(s), bathtub, or bathroom tile), relocation of plumbing/gas fixtures/appliances, significant structural alterations (relocating walls, and/or the addition of square footage). This would include a complete gutting and rebuild.

Explanation of Bathroom Count

The number of full and half baths is reported by separating the two values by a period. The full bath is represented to the left of the period. The half bath count is represented to the right of the period. Three-quarter baths are to be counted as a full bath in all cases. Quarter baths (baths that feature only toilet) are not to be included in the bathroom count.

Uniform Appraisal Dataset Definitions

File No. 002600151

Abbreviations Used in Data Standardization Text

Abbrev.	Full Name	Appropriate Fields
ac	Acres	Area, Site
AdjPrk	Adjacent to Park	Location
AdjPwr	Adjacent to Power Lines	Location
A	Adverse	Location & View
ArmLth	Arms Length Sale	Sale or Financing Concessions
AT	Attached Structure	Design(Style)
ba	Bathroom(s)	Basement & Finished Rooms Below Grade
br	Bedroom	Basement & Finished Rooms Below Grade
B	Beneficial	Location & View
BsyRd	Busy Road	Location
cp	Carport	Garage/Carport
Cash	Cash	Sale or Financing Concessions
CtySky	City View Skyline View	View
CtyStr	City Street View	View
Comm	Commercial Influence	Location
c	Contracted Date	Date of Sale/Time
Conv	Conventional	Sale or Financing Concessions
cv	Covered	Garage/Carport
CrtOrd	Court Ordered Sale	Sale or Financing Concessions
DOM	Days On Market	Data Sources
DT	Detached Structure	Design(Style)
dw	Driveway	Garage/Carport
Estate	Estate Sale	Sale or Financing Concessions
e	Expiration Date	Date of Sale/Time
FHA	Federal Housing Authority	Sale or Financing Concessions
g	Garage	Garage/Carport
ga	Garage - Attached	Garage/Carport
gbi	Garage - Built-in	Garage/Carport
gd	Garage - Detached	Garage/Carport
GR	Garden Structure	Design(Style)
GlfCse	Golf Course	Location
Glfvw	Golf Course View	View
HR	High Rise Structure	Design(Style)
Ind	Industrial	Location & View

Abbrev.	Full Name	Appropriate Fields
in	Interior Only Stairs	Basement & Finished Rooms Below Grade
Lndfl	Landfill	Location
LtdSght	Limited Sight	View
Listing	Listing	Sale or Financing Concessions
MR	Mid-Rise Structure	Design(Style)
Mtn	Mountain View	View
N	Neutral	Location & View
NonArm	Non-Arms Length Sale	Sale or Financing Concessions
op	Open	Garage/Carport
o	Other	Basement & Finished Rooms Below Grade
O	Other	Design(Style)
Prk	Park View	View
Pstrl	Pastoral View	View
PwrLn	Power Lines	View
PubTrn	Public Transportation	Location
rr	Recreational (Rec) Room	Basement & Finished Rooms Below Grade
Relo	Relocation Sale	Sale or Financing Concessions
REO	REO Sale	Sale or Financing Concessions
Res	Residential	Location & View
RT	Row or Townhouse	Design(Style)
RH	Rural Housing - USDA	Sale or Financing Concessions
SD	Semi-detached Structure	Design(Style)
s	Settlement Date	Date of Sale/Time
Short	Short Sale	Sale or Financing Concessions
sf	Square Feet	Area, Site, Basement
sqm	Square Meters	Area, Site, Basement
Unk	Unknown	Date of Sale/Time
VA	Veterans Administration	Sale or Financing Concessions
wo	Walk Out Basement	Basement & Finished Rooms Below Grade
wu	Walk Up Basement	Basement & Finished Rooms Below Grade
WtrFr	Water Frontage	Location
Wtr	Water View	View
w	Withdrawn Date	Date of Sale/Time
Woods	Woods View	View

Other Appraiser-Defined Abbreviations

Abbrev.	Full Name	Appropriate Fields

Abbrev.	Full Name	Appropriate Fields

ADDENDUM

Borrower: Larry & Christina Brooks		File No.: 002600151
Property Address: 63462 Dailey Rd		Case No.:
City: Cassopolis	State: MI	Zip: 49031
Lender: United Faith Mortgage		

Legal Description
085 COM SE COR NE 1/4 SEC 7 W ON E&W 1/4 LN 614.3 FT TO CEN LN M-6O N 51 DEG E ALG SD LN M-6O 777.4 FT TO E LN S ALG E LN SEC 48O FT TO BEG SEC 7 3.38A

Neighborhood Description
There are several geographic boundaries that travel through the subject neighborhood. In the Appraiser's opinion, there is no measurable difference in value for properties located on either side of these geographic boundaries. It appears in this neighborhood, that property condition is the most significant factor in property value.

Neighborhood Market Conditions
It appears there are all types of financing available with little special financing, loan discounts, interest buy downs or concessions to be found for the subject or the comparable sales. There are competitive houses for sale in the subject neighborhood but they appear to have little effect on the value of the subject property.

The market condition report is attached to this report

Highest and Best Use
The highest and best use is residential. The subject is legally permissible, physically possible, financially feasible and most profitable at its current use. At this time there are no expected changes in the subjects highest and best use in the future.

Condition of the Property
Continued from Condition of the Property: had new flooring, vanities and fixtures. The subject had a full basement, with 3 finished rooms. The subject has a well and septic system which is typical for the subject area.The well is located more than 50 feet from the septic tank, 100 feet from any known absorption field and 10 feet from a property line. It is not feasible for public sewer or public water as the closest available connection is over 1 mile away.

The well and septic have no measureable effect on the subjects marketabilitiy.

Comments on Sales Comparison

The subject property and the comparables have similar functional utility and have similar amenities.

A thorough search for comparables was made in an attempt to find sales which bracket the final amenities for the subject property. After consideration of location, date of sales, physical differences and other factors, in the Appraiser's judgement, the comparables used are the best indicators of the subject's value

It was necessary to cross geographic boundaries that travel through the subject neighborhood. In the Appraiser's opinion, there is no measurable difference in value for properties located on either side of these geographic boundaries. It appears in this neighborhood, that property condition is the most significant factor in property value.

An adjustment was made of $2000.00 per 20 years in age difference
An adjustment was made of $10,000.00 per acre difference
An adjustment was made of 10% per location difference.
An adjustment was made of 10% per view difference.
An adjustment was made of 5% per condition difference.
An adjustment was made of $20.00 per square footage above grade
An adjustment was made of $5.00 per square footage below grade
An adjustment was made of $2000.00 per bedroom above grade
An adjustment was made of $1000.00 for a half bath and $2000.00 for a full bath
An adjustment was made of $2000.00 for a deck, $2000.00 for a patio, $2000.00 and a $2000.00 for a porch.
An adjustment was made of $1000.00 for fence.
An adjustment was made of $2000.00 for Central Air
An adjustment was made of $10,000.00 per garage stall.
An adjustment was made of $10,000.00 per pole Barn.

Comparable 1 should be given the most weight due to comparable 1 having the smallest percentage change in gross adjusted value.
Having said that, $499,000.00 represents a reasonable value for the subject.

The age was not bracketed. The differences between the subject and comparable 1 are minuscule and have no effect on value or credibility.
Combarable 1 was deemed similar to the subject.

Comparable 1 has a sales date beyond 6 months and is located outside a 1 mile radius. It was used to bracket the subjects condition.
Comparable 2 has a sales date beyond 6 months and is located outside a 1 mile radius. It was used to bracket the subjects Pole Barn.
Comparable 3 has a sales date beyond 6 months and is located outside a 1 mile radius. It was used to bracket the subjects site size.
Comparable 4 has a sales date beyond 6 months and is located outside a 1 mile radius. It was used to bracket the subjects bathroom count, it should be given the least consideration..

Comparable 3exceeds 15% net and 25% gross adjustment percentage based on condition, square footage and other amenities
Comparable 4 exceeds 10% line item and 25% gross adjustment percentage based on condition, square footage and other amenities

Comparable 5 is a listing comparables that supports the final opinion of value for the subject.
Comparable 5 was adjusted for the average sales to list price ratio for the comparable sales within the defined neighborhood.

The opinion of value exceeds the predominant value of the neighborhood by more than 10% because the subject is newer than the homes that make up the predominant value.

Market Conditions Addendum to the Appraisal Report

File No. 002600151

The purpose of this addendum is to provide the lender/client with a clear and accurate understanding of the market trends and conditions prevalent in the subject neighborhood. This is a required addendum for all appraisal reports with an effective date on or after April 1, 2009.

Property Address 63462 Dailey Rd City Cassopolis State MI Zip Code 49031

Borrower Larry & Christina Brooks

Instructions: The appraiser must use the information required on this form as the basis for his/her conclusions, and must provide support for those conclusions, regarding housing trends and overall market conditions as reported in the Neighborhood section of the appraisal report form. The appraiser must fill in all the information to the extent it is available and reliable and must provide analysis as indicated below. If any required data is unavailable or is considered unreliable, the appraiser must provide an explanation. It is recognized that not all data sources will be able to provide data for the shaded areas below; if it is available, however, the appraiser must include the data in the analysis. If data sources provide the required information as an average instead of the median, the appraiser should report the available figure and identify it as an average. Sales and listings must be properties that compete with the subject property, determined by applying the criteria that would be used by a prospective buyer of the subject property. The appraiser must explain any anomalies in the data, such as seasonal markets, new construction, foreclosures, etc.

MARKET RESEARCH & ANALYSIS

Inventory Analysis	Prior 7-12 Months	Prior 4-6 Months	Current - 3 Months	Overall Trend		
Total # of Comparable Sales (Settled)	25	10	3	☐ Increasing	☒ Stable	☐ Declining
Absorption Rate (Total Sales/Months)	4.17	3.33	1.00	☐ Increasing	☒ Stable	☐ Declining
Total # of Comparable Active Listings	NotApplicable	NotApplicable	9	☐ Declining	☒ Stable	☐ Increasing
Months of Housing Supply (Total Listings/Ab.Rate)	NotApplicable	NotApplicable	9.00	☐ Declining	☒ Stable	☐ Increasing

Median Sale & List Price, DOM, Sale/List %	Prior 7-12 Months	Prior 4-6 Months	Current - 3 Months	Overall Trend		
Median Comparable Sale Price	500,000	442,500	470,000	☐ Increasing	☒ Stable	☐ Declining
Median Comparable Sales Days on Market	26	22	19	☐ Declining	☒ Stable	☐ Increasing
Median Comparable List Price	NotApplicable	NotApplicable	449,000	☐ Increasing	☒ Stable	☐ Declining
Median Comparable Listings Days on Market	NotApplicable	NotApplicable	162	☐ Declining	☒ Stable	☐ Increasing
Median Sale Price as % of List Price	100.00%	98.55%	100.00%	☐ Increasing	☒ Stable	☐ Declining
Seller-(developer, builder, etc.)paid financial assistance prevalent? ☒ Yes ☐ No				☐ Declining	☒ Stable	☐ Increasing

Explain in detail the seller concessions trends for the past 12 months (e.g., seller contributions increased from 3% to 5%, increasing use of buydowns, closing costs, condo fees, options, etc.).

Seller financial assistance appears to be acceptable in the identified neighborhood. The 1004 MC is a useful tool and analysing market data. However the Appraiser does not warrant the accuracy of the information as provided by the MLS data system or the conclusions drawn from its results.

Are foreclosure sales (REO sales) a factor in the market? ☐ Yes ☒ No If yes, explain (including the trends in listings and sales of foreclosed properties).

REO sales are not the dominant factor in the subject neighborhood

Cite data sources for above information. MLS data Records were used for this report. MLS Data Records does not allow for the breakdown of listing comps to fill out the shaded areas on the MC form. Therefore the Appraiser entered an NotApplicable in those areas.

Summarize the above information as support for your conclusions in the Neighborhood section of the appraisal report form. If you used any additional information, such as an analysis of pending sales and/or expired and withdrawn listings, to formulate your conclusions, provide both an explanation and support for your conclusions.

Closed sales, Active listings and Pending listings were used for the purpose of this report. Expired listings and withdrawn listings were not used.

CONDO/CO-OP PROJECTS

If the subject is a unit in a condominium or cooperative project , complete the following: **Project Name:**

Subject Project Data	Prior 7-12 Months	Prior 4-6 Months	Current - 3 Months	Overall Trend		
Total # of Comparable Sales (Settled)				☐ Increasing	☐ Stable	☐ Declining
Absorption Rate (Total Sales/Months)				☐ Increasing	☐ Stable	☐ Declining
Total # of Active Comparable Listings				☐ Declining	☐ Stable	☐ Increasing
Months of Unit Supply (Total Listings/Ab. Rate)				☐ Declining	☐ Stable	☐ Increasing

Are foreclosure sales (REO sales) a factor in the project? ☐ Yes ☐ No If yes, indicate the number of REO listings and explain the trends in listings and sales of foreclosed properties.

Summarize the above trends and address the impact on the subject unit and project.

APPRAISER

APPRAISER	SUPERVISORY APPRAISER (ONLY IF REQUIRED)
Signature Darren Batteast	Signature
Name Darren R. Batteast	Name
Company Name 365 Appraisals LLC	Company Name
Company Address 53103 Bracken Fern Dr.	Company Address
South Bend, IN 46637	
State License/Certification # 1204078467 State MI	State License/Certification # State
Email Address three65appraisals@gmail.com	Email Address

SUBJECT PROPERTY PHOTO ADDENDUM

Borrower: Larry & Christina Brooks		File No.: 002600151
Property Address: 63462 Dailey Rd		Case No.:
City: Cassopolis	State: MI	Zip: 49031
Lender: United Faith Mortgage		

FRONT VIEW OF SUBJECT PROPERTY

Appraised Date: March 12, 2026
Appraised Value: $ 499,000

REAR VIEW OF SUBJECT PROPERTY

STREET SCENE

Extra Photos

Borrower: Larry & Christina Brooks		File No.: 002600151
Property Address: 63462 Dailey Rd		Case No.:
City: Cassopolis	State: MI	Zip: 49031
Lender: United Faith Mortgage		

Side View

Side View

Street View Other Way

INTERIOR PHOTOS

Borrower: Larry & Christina Brooks		File No.: 002600151
Property Address: 63462 Dailey Rd		Case No.:
City: Cassopolis	State: MI	Zip: 49031
Lender: United Faith Mortgage		

Kitchen

Comment:

Living Area

Description:

Comment:

Bathroom

Description:
Full Bathroom

Comment:

INTERIOR PHOTOS

Borrower: Larry & Christina Brooks		File No.: 002600151
Property Address: 63462 Dailey Rd		Case No.:
City: Cassopolis	State: MI	Zip: 49031
Lender: United Faith Mortgage		

Bathroom

Comment:

Bedroom

Comment:

Bedroom

Comment:

Extra Photos

Borrower: Larry & Christina Brooks		File No.: 002600151
Property Address: 63462 Dailey Rd		Case No.:
City: Cassopolis	State: MI	Zip: 49031
Lender: United Faith Mortgage		

Bedroom



Office

Foyer

Extra Photos

Borrower: Larry & Christina Brooks	File No.: 002600151	
Property Address: 63462 Dailey Rd	Case No.:	
City: Cassopolis	State: MI	Zip: 49031
Lender: United Faith Mortgage		

Dining Area

Pantry

Rec Room

Extra Photos

Borrower: Larry & Christina Brooks		File No.: 002600151
Property Address: 63462 Dailey Rd		Case No.:
City: Cassopolis	State: MI	Zip: 49031
Lender: United Faith Mortgage		

Craft Room

1/2 Bathroom



Wet Bar

Extra Photos

Borrower: Larry & Christina Brooks		File No.: 002600151
Property Address: 63462 Dailey Rd		Case No.:
City: Cassopolis	State: MI	Zip: 49031
Lender: United Faith Mortgage		

Furnace

Water Heater

Electrical

Extra Photos

Borrower: Larry & Christina Brooks		File No.: 002600151
Property Address: 63462 Dailey Rd		Case No.:
City: Cassopolis	State: MI	Zip: 49031
Lender: United Faith Mortgage		

Pole Barn

Inside Pole Barn

COMPARABLE PROPERTY PHOTO ADDENDUM

Borrower: Larry & Christina Brooks		File No.: 002600151
Property Address: 63462 Dailey Rd		Case No.:
City: Cassopolis	State: MI	Zip: 49031
Lender: United Faith Mortgage		

COMPARABLE SALE #1

21536 Fieldview Dr
Edwardsburg, MI 49112
Sale Date: s08/25;c06/25
Sale Price: $ 465,000

COMPARABLE SALE #2

23584 Kelsey Lake St
Cassopolis, MI 49031
Sale Date: s06/25;c05/25
Sale Price: $ 445,000

COMPARABLE SALE #3

66601 Conrad Rd
Edwardsburg, MI 49112
Sale Date: s10/25;c09/25
Sale Price: $ 591,000

COMPARABLE PROPERTY PHOTO ADDENDUM

Borrower: Larry & Christina Brooks		File No.: 002600151
Property Address: 63462 Dailey Rd		Case No.:
City: Cassopolis	State: MI	Zip: 49031
Lender: United Faith Mortgage		

COMPARABLE SALE #4

66082 Victoria Ln
Cassopolis, MI 49031
Sale Date: s03/26;c11/25
Sale Price: $ 470,000

COMPARABLE SALE #5

22279 Loupee Dr
Cassopolis, MI 49031
Sale Date: Active
Sale Price: $ 469,000

COMPARABLE SALE #6

Sale Date:
Sale Price: $

FLOORPLAN SKETCH

Borrower: Larry & Christina Brooks	File No.: 002600151	
Property Address: 63462 Dailey Rd	Case No.:	
City: Cassopolis	State: MI	Zip: 49031
Lender: United Faith Mortgage		

Sketch

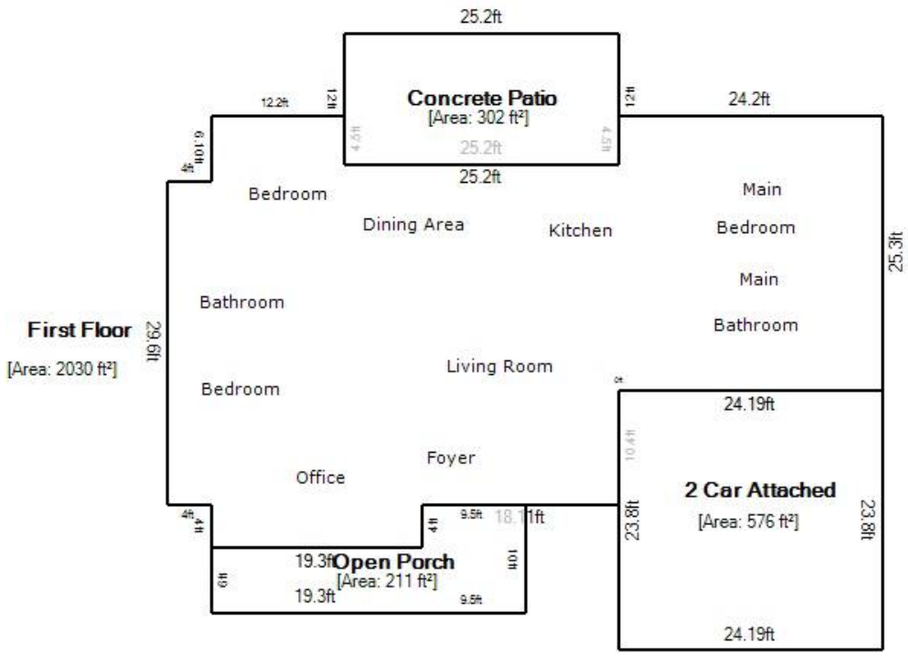

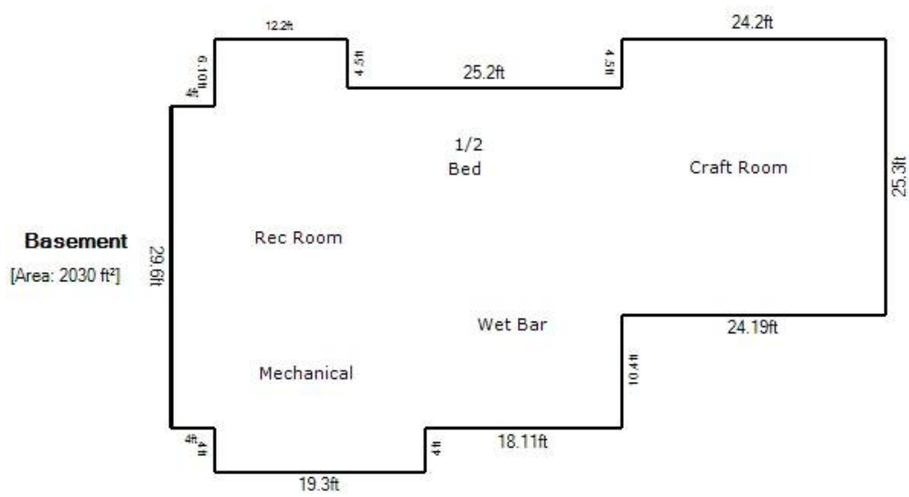

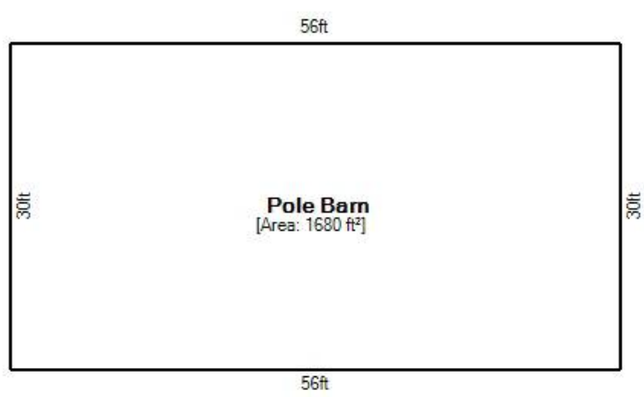

14 ft

Living Area		Area Calculation				
First Floor	2029.74 ft²	First Floor				x 1.00 = 2029.74 ft²
Nonliving Area			24.19ft x	25.3ft x	1.00 =	612.01 ft²
Basement	2029.74 ft²		4ft x	19.3ft x	1.00 =	77.2 ft²
Open Porch	210.80 ft²		41.41ft x	29.6ft x	1.00 =	1225.74 ft²
Concrete Patio	302.4 ft²		6.10ft x	12.2ft x	1.00 =	74.42 ft²
2 Car Attached	575.72 ft²		25.2ft x	1.6ft x	1.00 =	40.32 ft²
Pole Barn	1680 ft²		0.01ft x	6.10ft x	1.00 =	0.06 ft²
Total Living Area (rounded):	**2030 ft²**					

LOCATION MAP

Borrower: Larry & Christina Brooks		File No.: 002600151
Property Address: 63462 Dailey Rd		Case No.:
City: Cassopolis	State: MI	Zip: 49031
Lender: United Faith Mortgage		

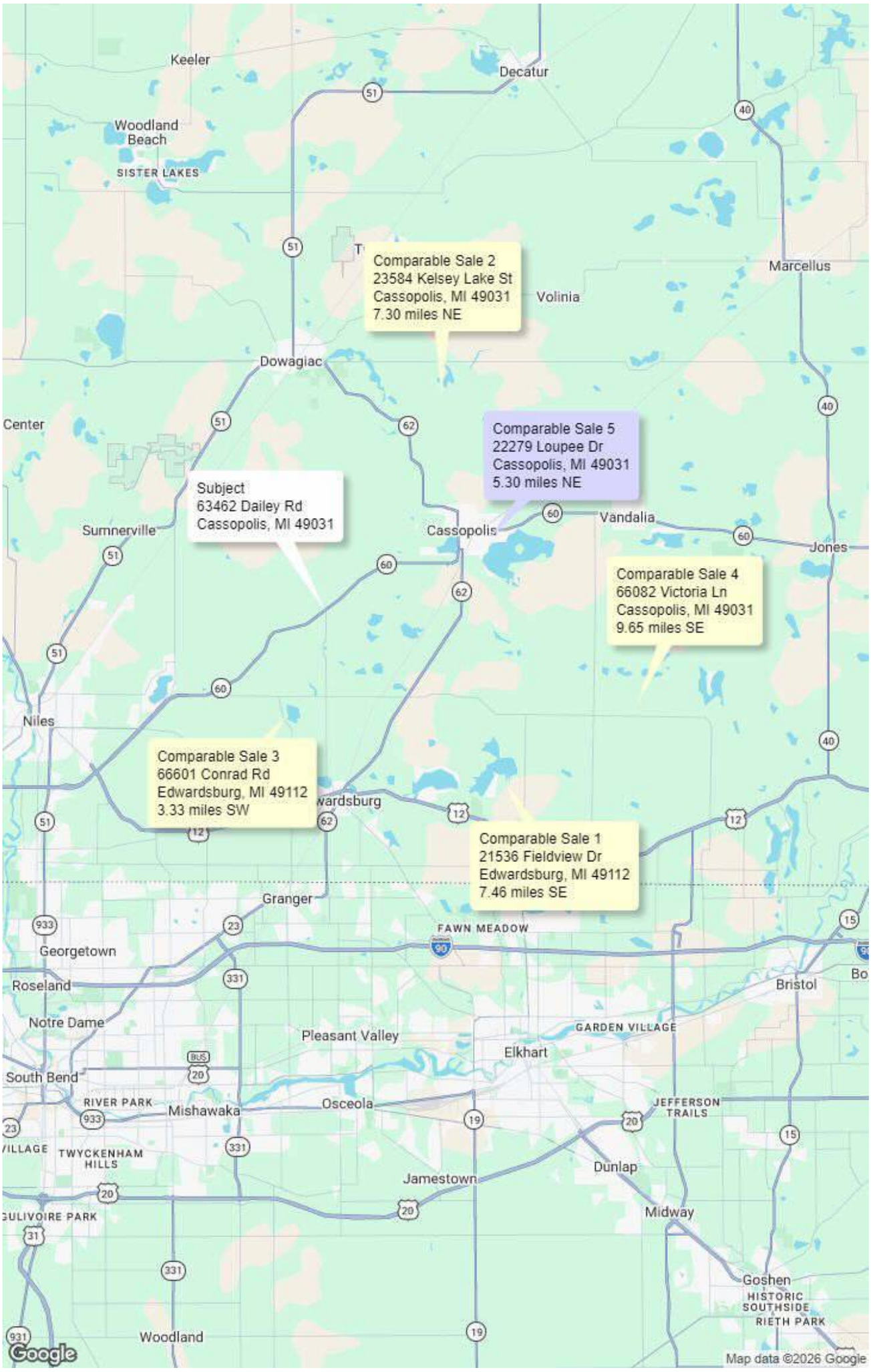

FLOOD MAP

Borrower: Larry & Christina Brooks	File No.: 002600151	
Property Address: 63462 Dailey Rd	Case No.:	
City: Cassopolis	State: MI	Zip: 49031
Lender: United Faith Mortgage		

FLOOD INFORMATION

Community: TOWNSHIP OF JEFFERSON

Property is NOT in a FEMA Special Flood Hazard Area

Map Number: 26027C0140C

Panel: 26027C0140

Zone: X

Map Date: 09-05-2007

FIPS: 26027

Source: FEMA DFIRM

LEGEND

= FEMA Special Flood Hazard Area – High Risk

= Moderate and Minimal Risk Areas

Road View:

= Forest = Water

Sky Flood™

No representations or warranties to any party concerning the content, accuracy or completeness of this flood report, including any warranty of merchantability or fitness for a particular purpose is implied or provided. Visual scaling factors differ between map layers and are separate from flood zone information at marker location. No liability is accepted to any third party for any use or misuse of this flood map or its data.

USPAP ADDENDUM

File No. 002600151

Borrower: Larry & Christina Brooks
Property Address: 63462 Dailey Rd
City: Cassopolis County: Cass State: MI Zip Code: 49031
Lender: United Faith Mortgage

Reasonable Exposure Time

My opinion of a reasonable exposure time for the subject property at the market value stated in this report is: 60 Days

The opinion of exposure time is based on the days on market for the comparable sales contained in this report

Additional Certifications

[X] I have performed **NO** services, as an appraiser or in any other capacity, regarding the property that is the subject of this report within the three-year period immediately preceding acceptance of this assignment.

[ ] I **HAVE** performed services, as an appraiser or in another capacity, regarding the property that is the subject of this report within the three-year period immediately preceding acceptance of this assignment. Those services are described in the comments below.

Additional Comments

APPRAISER:

Signature: Darren Batteast
Name: Darren R. Batteast
Date Signed: 03/17/2026
State Certification #: 1204078467
or State License #:
or Other (describe): State #:
State: MI
Expiration Date of Certification or License: 07/31/2026
Effective Date of Appraisal: 03/12/2026

SUPERVISORY APPRAISER (only if required):

Signature:
Name:
Date Signed:
State Certification #:
or State License #:
State:
Expiration Date of Certification or License:
Supervisory Appraiser inspection of Subject Property:
[ ] Did Not [ ] Exterior-only from street [X] Interior and Exterior

License

Borrower: Larry & Christina Brooks		File No.: 002600151
Property Address: 63462 Dailey Rd		Case No.:
City: Cassopolis	State: MI	Zip: 49031
Lender: United Faith Mortgage		

GRETCHEN WHITMER
GOVERNOR

STATE OF MICHIGAN
DEPARTMENT OF LICENSING AND REGULATORY AFFAIRS
BUREAU OF PROFESSIONAL LICENSING
CERTIFIED RESIDENTIAL REAL ESTATE APPRAISER LICENSE

DARREN RONALD BATTEAST

LICENSE NO.
1204078467

EXPIRATION DATE
07/31/2026

24208120713

THIS DOCUMENT IS DULY ISSUED UNDER THE LAWS OF THE STATE OF MICHIGAN

E&O

Borrower: Larry & Christina Brooks	File No.: 002600151
Property Address: 63462 Dailey Rd	Case No.:
City: Cassopolis	State: MI Zip: 49031
Lender: United Faith Mortgage	

ACORD®

CERTIFICATE OF LIABILITY INSURANCE

DATE (MM/DD/YYYY): 01/06/2026

THIS CERTIFICATE IS ISSUED AS A MATTER OF INFORMATION ONLY AND CONFERS NO RIGHTS UPON THE CERTIFICATE HOLDER. THIS CERTIFICATE DOES NOT AFFIRMATIVELY OR NEGATIVELY AMEND, EXTEND OR ALTER THE COVERAGE AFFORDED BY THE POLICIES BELOW. THIS CERTIFICATE OF INSURANCE DOES NOT CONSTITUTE A CONTRACT BETWEEN THE ISSUING INSURER(S), AUTHORIZED REPRESENTATIVE OR PRODUCER, AND THE CERTIFICATE HOLDER.

IMPORTANT: If the certificate holder is an ADDITIONAL INSURED, the policy(ies) must have ADDITIONAL INSURED provisions or be endorsed. If SUBROGATION IS WAIVED, subject to the terms and conditions of the policy, certain policies may require an endorsement. A statement on this certificate does not confer rights to the certificate holder in lieu of such endorsement(s).

PRODUCER	CONTACT NAME:
BIBERK P.O. Box 113247 Stamford, CT 06911	PHONE (A/C, No, Ext): 844-472-0967 FAX (A/C, No): 203-654-3613 E-MAIL ADDRESS: customerservice@biBERK.com

INSURER(S) AFFORDING COVERAGE	NAIC #
INSURER A : National Liability & Fire Insurance Company	20052
INSURER B :	
INSURER C :	
INSURER D :	
INSURER E :	
INSURER F :	

INSURED
365 Appraisals LLC

53103 Bracken Fern Drive
South Bend, IN 46637

COVERAGES **CERTIFICATE NUMBER:** **REVISION NUMBER:**

THIS IS TO CERTIFY THAT THE POLICIES OF INSURANCE LISTED BELOW HAVE BEEN ISSUED TO THE INSURED NAMED ABOVE FOR THE POLICY PERIOD INDICATED. NOTWITHSTANDING ANY REQUIREMENT, TERM OR CONDITION OF ANY CONTRACT OR OTHER DOCUMENT WITH RESPECT TO WHICH THIS CERTIFICATE MAY BE ISSUED OR MAY PERTAIN, THE INSURANCE AFFORDED BY THE POLICIES DESCRIBED HEREIN IS SUBJECT TO ALL THE TERMS, EXCLUSIONS AND CONDITIONS OF SUCH POLICIES. LIMITS SHOWN MAY HAVE BEEN REDUCED BY PAID CLAIMS.

INSR LTR	TYPE OF INSURANCE	ADDL INSD	SUBR WVD	POLICY NUMBER	POLICY EFF (MM/DD/YYYY)	POLICY EXP (MM/DD/YYYY)	LIMITS	
	COMMERCIAL GENERAL LIABILITY CLAIMS-MADE OCCUR						EACH OCCURRENCE	$
							DAMAGE TO RENTED PREMISES (Ea occurrence)	$
							MED EXP (Any one person)	$
							PERSONAL & ADV INJURY	$
	GEN'L AGGREGATE LIMIT APPLIES PER:						GENERAL AGGREGATE	$
	POLICY PRO-JECT LOC						PRODUCTS - COMP/OP AGG	$
	OTHER:							$
	AUTOMOBILE LIABILITY						COMBINED SINGLE LIMIT (Ea accident)	$
	ANY AUTO						BODILY INJURY (Per person)	$
	OWNED AUTOS ONLY / SCHEDULED AUTOS						BODILY INJURY (Per accident)	$
	HIRED AUTOS ONLY / NON-OWNED AUTOS ONLY						PROPERTY DAMAGE (Per accident)	$
								$
	UMBRELLA LIAB / OCCUR						EACH OCCURRENCE	$
	EXCESS LIAB / CLAIMS-MADE						AGGREGATE	$
	DED RETENTION $							$
	WORKERS COMPENSATION AND EMPLOYERS' LIABILITY ANY PROPRIETOR/PARTNER/EXECUTIVE OFFICER/MEMBER EXCLUDED? (Mandatory in NH) Y / N If yes, describe under DESCRIPTION OF OPERATIONS below	N / A					PER STATUTE / OTH-ER	
							E.L. EACH ACCIDENT	$
							E.L. DISEASE - EA EMPLOYEE	$
							E.L. DISEASE - POLICY LIMIT	$
A	Professional Liability (Errors & Omissions): Claims-Made			N9PL098190	01/13/2026	01/13/2027	Per Occurrence/ Aggregate	$1,000,000/ $1,000,000

DESCRIPTION OF OPERATIONS / LOCATIONS / VEHICLES (ACORD 101, Additional Remarks Schedule, may be attached if more space is required)

CERTIFICATE HOLDER

365 Appraisals LLC
53103 Bracken Fern Drive
South Bend, IN 46637

CANCELLATION

SHOULD ANY OF THE ABOVE DESCRIBED POLICIES BE CANCELLED BEFORE THE EXPIRATION DATE THEREOF, NOTICE WILL BE DELIVERED IN ACCORDANCE WITH THE POLICY PROVISIONS.

AUTHORIZED REPRESENTATIVE

© 1988-2015 ACORD CORPORATION. All rights reserved.

The ACORD name and logo are registered marks of ACORD

AERIAL MAP

Borrower: Larry & Christina Brooks	File No.: 002600151	
Property Address: 63462 Dailey Rd	Case No.:	
City: Cassopolis	State: MI	Zip: 49031
Lender: United Faith Mortgage		