APPRAISAL OF REAL PROPERTY

LOCATED AT

2004 N 28th St Apt 6
Boise, ID 83703
PAR #0430 OF LOT 15 PACKENHAMS FAIR ACRES #9172451

FOR

National Loan Funding LLC
1201 E Cesar Chavez Street, Suite 1
Austin, TX 78702

OPINION OF VALUE

545,000

AS OF

02/28/2026

BY

Chad Dickenson
New Market Appraisal Services, LLC

360-995-2082
chad@newmarketappraisal.com

Serial# F8A328FD
esign.alamode.com/verify

Small Residential Income Property Appraisal Report

File # 56706850475 260289

The purpose of this summary appraisal report is to provide the lender/client with an accurate, and adequately supported, opinion of the market value of the subject property.

SUBJECT

Property Address 2004 N 28th St Apt 6 | City Boise | State ID | Zip Code 83703
Borrower North Boise Rentals LLC | Owner of Public Record North Boise Rentals LLC | County Ada
Legal Description PAR #0430 OF LOT 15 PACKENHAMS FAIR ACRES #9172451
Assessor's Parcel # R6876250430 | Tax Year 2025 | R.E. Taxes $ 4,545
Neighborhood Name Packenhams Fair Acres | Map Reference 14260 | Census Tract 0005.02
Occupant ☐ Owner ☒ Tenant ☒ Vacant | Special Assessments $ 0 | ☐ PUD | HOA $ 0 ☐ per year ☐ per month
Property Rights Appraised ☒ Fee Simple ☐ Leasehold ☐ Other (describe)
Assignment Type ☐ Purchase Transaction ☒ Refinance Transaction ☐ Other (describe)
Lender/Client National Loan Funding LLC | Address 1201 E Cesar Chavez Street, Suite 1, Austin, TX 78702
Is the subject property currently offered for sale or has it been offered for sale in the twelve months prior to the effective date of this appraisal? ☐ Yes ☒ No
Report data source(s) used, offering price(s), and date(s). Per , there are no known listings of the subject property in the prior 12 months.

CONTRACT

I ☐ did ☐ did not analyze the contract for sale for the subject purchase transaction. Explain the results of the analysis of the contract for sale or why the analysis was not performed.

Contract Price $ | Date of Contract | Is the property seller the owner of public record? ☐ Yes ☐ No | Data Source(s)
Is there any financial assistance (loan charges, sale concessions, gift or downpayment assistance, etc.) to be paid by any party on behalf of the borrower? ☐ Yes ☐ No
If Yes, report the total dollar amount and describe the items to be paid.

NEIGHBORHOOD

Note: Race and the racial composition of the neighborhood are not appraisal factors.

Neighborhood Characteristics				2-4 Unit Housing Trends				2-4 Unit Housing			Present Land Use %	
Location	☐ Urban	☒ Suburban	☐ Rural	Property Values	☐ Increasing	☒ Stable	☐ Declining	PRICE		AGE	One-Unit	85 %
Built-Up	☒ Over 75%	☐ 25-75%	☐ Under 25%	Demand/Supply	☐ Shortage	☐ In Balance	☒ Over Supply	$ (000)		(yrs)	2-4 Unit	5 %
Growth	☐ Rapid	☒ Stable	☐ Slow	Marketing Time	☒ Under 3 mths	☐ 3-6 mths	☐ Over 6 mths	226	Low	0	Multi-Family	2 %
								1,199	High	125	Commercial	3 %
								548	Pred.	60	Other	5 %

Neighborhood Boundaries The subject's neighborhood is bordered on the north by Quail Ridge, the east by W Warm Springs Ave, the south by HWY 26, and the west by W Chinden Blvd.

Neighborhood Description The subject is located in the city of Boise approximately 5 miles from downtown Boise. The neighborhood is made up of homes of varied ages and styles. *** See additional comments ***

Market Conditions (including support for the above conclusions) The real estate market in the Southwest Idaho region has stabilized over the past 12 months. Marketing periods are generally between 0-3 months for competitively priced properties. *** See additional comments***

SITE

Dimensions 90' x 118 'x 90' x 118' | Area 10454 sf | Shape Rectangular | View N;Res;
Specific Zoning Classification R-2 | Zoning Description Residential Compact
Zoning Compliance ☒ Legal ☐ Legal Nonconforming (Grandfathered Use) ☐ No Zoning ☐ Illegal (describe)
Is the highest and best use of subject property as improved (or as proposed per plans and specifications) the present use? ☒ Yes ☐ No If No, describe *** See additional comments ***

Utilities	Public	Other (describe)		Public	Other (describe)	Off-site Improvements – Type	Public	Private
Electricity	☒	☐	Water	☒	☐	Street Asphalt	☒	☐
Gas	☒	☐	Sanitary Sewer	☒	☐	Alley None	☐	☐

FEMA Special Flood Hazard Area ☐ Yes ☒ No | FEMA Flood Zone X500 | FEMA Map # 16001C0188J | FEMA Map Date 6/19/2020
Are the utilities and/or off-site improvements typical for the market area? ☒ Yes ☐ No If No, describe
Are there any adverse site conditions or external factors (easements, encroachments, environmental conditions, land uses, etc.)? ☐ Yes ☒ No If Yes, describe
No apparent adverse easements, encroachments, were noted at the time of inspection. The subject has a shared driveway with 2004 N 28th St Units 1-2 & 2004 N 28th St Units 5-6. All units are owned by the same owner; therefore there is no maintenance agreement.

IMPROVEMENTS

General Description		Foundation		Exterior Description	materials/condition	Interior	materials/condition
Units	☒ Two ☐ Three ☐ Four	☐ Concrete Slab	☒ Crawl Space	Foundation Walls	Concrete/Gd	Floors	Hardwood,Lin/Gd
☐ Accessory Unit (describe below)		☐ Full Basement	☐ Partial Basement	Exterior Walls	Aluminum/Avg	Walls	Drywall/Gd
# of Stories 1	# of bldgs. 1	Basement Area	0 sq.ft.	Roof Surface	Comp/Gd	Trim/Finish	Wood/Gd
Type	☒ Det. ☐ Att. ☐ S-Det./End Unit	Basement Finish	0 %	Gutters & Downspouts	Metal&Metal/Gd	Bath Floor	Tile/Gd
☒ Existing	☐ Proposed ☐ Under Const.	☐ Outside Entry/Exit	☐ Sump Pump	Window Type	Vinyl Slider/Gd	Bath Wainscot	Tile/Gd
Design (Style)	DT1;Duplex	Evidence of	☐ Infestation	Storm Sash/Insulated	Glass,Vinyl/Yes/Gd	**Car Storage**	
Year Built	1952	☐ Dampness	☐ Settlement	Screens	Vinyl/Gd	☐ None	
Effective Age (Yrs)	11	**Heating/Cooling**		**Amenities**		☒ Driveway	# of Cars 4
Attic	☐ None	☒ FWA	☐ HWBB ☐ Radiant	☐ Fireplace(s) # 0	☐ Woodstove(s) # 0	Driveway Surface	Gravel;Asphalt
☐ Drop Stair	☐ Stairs	☐ Other	Fuel Gas	☐ Patio/Deck None	☒ Fence Fenced	☐ Garage	# of Cars 0
☐ Floor	☒ Scuttle	Cooling	☐ Central Air Conditioning	☐ Pool None	☒ Porch Covered	☐ Carport	# of Cars 0
☐ Finished	☐ Heated	☐ Individual	☒ Other None	☒ Other Storage		☐ Att.	☐ Det. ☐ Built-in

# of Appliances	Refrigerator 2	Range/Oven 2	Dishwasher 2	Disposal 0	Microwave 0	Washer/Dryer 2	Other (describe)

Unit # 1 contains:	4	Rooms	2	Bedrooms	1.0	Bath(s) 663 Square Feet of Gross Living Area
Unit # 2 contains:	4	Rooms	2	Bedrooms	1.0	Bath(s) 663 Square Feet of Gross Living Area
Unit # 3 contains:		Rooms		Bedrooms		Bath(s) Square Feet of Gross Living Area
Unit # 4 contains:		Rooms		Bedrooms		Bath(s) Square Feet of Gross Living Area

Additional features (special energy efficient items, etc.). The subject is a Duplex style home built in 1940 of average quality and materials. *** See additional comments ***

Describe the condition of the property (including needed repairs, deterioration, renovations, remodeling, etc.). The home has been well maintained and has no areas of deferred maintenance. The subject has been fully remodeled and features new interior and exterior paint, countertops, plumbing fixtures, electrical fixtures, and remodeled bathrooms.

Form 1025 - "TOTAL" appraisal software by a la mode, inc. - 1-800-ALAMODE
Serial# F8A328FD
esign.alamode.com/verify

Small Residential Income Property Appraisal Report

File # 56706850475 260289

IMPROVEMENTS

Are there any physical deficiencies or adverse conditions that affect the livability, soundness, or structural integrity of the property? ☐ Yes ☒ No If Yes, describe.

Does the property generally conform to the neighborhood (functional utility, style, condition, use, construction, etc.)? ☒ Yes ☐ No If No, describe.

Is the property subject to rent control? ☐ Yes ☒ No If Yes, describe

COMPARABLE RENTAL DATA

The following properties represent the most current, similar, and proximate comparable rental properties to the subject property. This analysis is intended to support the opinion of the market rent for the subject property.

FEATURE	SUBJECT	COMPARABLE RENTAL # 1	COMPARABLE RENTAL # 2	COMPARABLE RENTAL # 3
Address	2004 N 28th St Apt 6 Boise, ID 83703	412 W Sherman St Boise, ID 83702	203 S Ruby St Boise, ID 83705	2816 W Rose Hill St Boise, ID 83705
Proximity to Subject		1.66 miles SE	2.50 miles S	2.61 miles S
Current Monthly Rent	$ 3,100	$ 2,900	$ 3,000	$ 3,300
Rent/Gross Bldg. Area	$ 2.34 sq.ft.	$ 1.96 sq.ft.	$ 1.99 sq.ft.	$ 2.88 sq.ft.
Rent Control	☐ Yes ☒ No	☐ Yes ☒ No	☐ Yes ☒ No	☐ Yes ☒ No
Data Source(s)	Property Owner	IMLS #98936415;DOM 3	IMLS #98942283;DOM 217	IMLS #98901327;DOM 76
Date of Lease(s)	02/01/26-01/31/27	Month to Month	Month to Month	Month to Month
Location	N;Res	N;Res;BoiseHghts	N;Res	A;Res;BsyRd
Actual Age	74	64	53	91
Condition	C3	C3	C3	C3
Gross Building Area	1,326	1,482	1,504	1,145

Unit Breakdown	Rm Count Tot	Br	Ba	Size Sq. Ft.	Rm Count Tot	Br	Ba	Size Sq. Ft.	Monthly Rent	Rm Count Tot	Br	Ba	Size Sq. Ft.	Monthly Rent	Rm Count Tot	Br	Ba	Size Sq. Ft.	Monthly Rent
				1,326				1,482	2,900				1,504	3,000				1,145	3,300
Unit # 1	4	2	1.0	663	4	2	1.0	741	$ 1,400	4	2	1.0	752	$ 1,475	3	1	1.0	572	$ 1,650
Unit # 2	4	2	1.0	663	4	2	1.0	741	$ 1,500	4	2	1.0	752	$ 1,525	3	1	1.0	573	$ 1,650
Unit # 3									$					$					$
Unit # 4									$					$					$

Utilities Included	None	None	None	None

Analysis of rental data and support for estimated market rents for the individual subject units reported below (including the adequacy of the comparables, rental concessions, etc.) Rental market appears stable at this time. Estimated market rents are derived from rental data in the subject's market area. Vacancy appears low at this time.

SUBJECT RENT SCHEDULE

Rent Schedule: The appraiser must reconcile the applicable indicated monthly market rents to provide an opinion of the market rent for each unit in the subject property.

Leases			Actual Rents			Opinion of Market Rent		
	Lease Date		Per Unit		Total Rents	Per Unit		Total Rents
Unit #	Begin Date	End Date	Unfurnished	Furnished		Unfurnished	Furnished	
1	03/08/2026	03/07/2027	$ 1,550	$	$ 1,550	$ 1,525	$	$ 1,525
2	02/08/2026	08/07/2026	1,550		1,550	1,525		1,525
3								
4								

Comment on lease data The appraiser utilized data from the property owner for the above data.

Total Actual Monthly Rent	$ 3,100	Total Gross Monthly Rent	$ 3,050
Other Monthly Income (itemize)	$	Other Monthly Income (itemize)	$
Total Actual Monthly Income	$ 3,100	Total Estimated Monthly Income	$ 3,050

Utilities included in estimated rents ☐ Electric ☐ Water ☐ Sewer ☐ Gas ☐ Oil ☐ Trash collection ☐ Cable ☒ Other None

Comments on actual or estimated rents and other monthly income (including personal property) The market rent for Unit 1 is estimated to be $1525 per month. The market rent for Unit 2 is estimated to be $1525 per month. This is based of $2.30 per square foot as this is the average dollar per square foot for the rented comps..

PRIOR SALE HISTORY

I ☒ did ☐ did not research the sale or transfer history of the subject property and comparable sales. If not, explain

My research ☒ did ☐ did not reveal any prior sales or transfers of the subject property for the three years prior to the effective date of this appraisal.

Data Source(s) Realist

My research ☒ did ☐ did not reveal any prior sales or transfers of the comparable sales for the year prior to the date of sale of the comparable sale.

Data Source(s) Realist

Report the results of the research and analysis of the prior sale or transfer history of the subject property and comparable sales (report additional prior sales on page 3).

ITEM	SUBJECT	COMPARABLE SALE # 1	COMPARABLE SALE # 2	COMPARABLE SALE # 3
Date of Prior Sale/Transfer	07/18/2025			08/25/2020
Price of Prior Sale/Transfer	$900,000			$414,500
Data Source(s)	Property Owner	CoreLogic/Realist	CoreLogic/Realist	IMLS #98776307
Effective Date of Data Source(s)	02/27/2026	02/27/2026	02/27/2026	02/27/2026

Analysis of prior sale or transfer history of the subject property and comparable sales See attached detailed transfer history of the subject property and comparable sales. The state of Idaho is a non-disclosure state; therefore, outside of the IMLS data, sales history for homes is not publicly disclosed or available.

Form 1025 - "TOTAL" appraisal software by a la mode, inc. - 1-800-ALAMODE

Serial# F8A328FD
esign.alamode.com/verify

Small Residential Income Property Appraisal Report

56706850475
File # 260289

There are 2 comparable properties currently offered for sale in the subject neighborhood ranging in price from $ 439,900 to $ 549,900 .

There are 12 comparable sales in the subject neighborhood within the past twelve months ranging in sale price from $ 375,000 to $ 675,000 .

SALES COMPARISON APPROACH

FEATURE	SUBJECT	COMPARABLE SALE # 1		COMPARABLE SALE # 2		COMPARABLE SALE # 3	
Address	2004 N 28th St Apt 6 Boise, ID 83703	1110 W Chamberlin St Boise, ID 83706		203 S Ruby St Boise, ID 83705		1015 N 27th St Boise, ID 83702	
Proximity to Subject		3.74 miles SE		2.50 miles S		0.56 miles S	
Sale Price	$		$ 525,000		$ 537,500		$ 490,000
Sale Price/Gross Bldg. Area	$ sq.ft.	$ 361.57 sq.ft.		$ 357.38 sq.ft.		$ 318.18 sq.ft.	
Gross Monthly Rent	$ 3,050	$ 0		$ 3,000		$ 2,635	
Gross Rent Multiplier		0.00		179.17		185.96	
Price per Unit	$	$ 262,500		$ 268,750		$ 245,000	
Price per Room	$	$ 75,000		$ 67,188		$ 61,250	
Price per Bedroom	$	$ 175,000		$ 134,375		$ 122,500	
Rent Control	☐ Yes ☒ No	☐ Yes ☒ No		☐ Yes ☒ No		☐ Yes ☒ No	
Data Source(s)		IMLS #98970626;DOM 4		IMLS #98942283;DOM 217		IMLS #98939928;DOM 160	
Verification Source(s)		CoreLogic/Realist		CoreLogic/Realist		CoreLogic/Realist	
VALUE ADJUSTMENTS	DESCRIPTION	DESCRIPTION	+(–) Adjustment	DESCRIPTION	+(–) Adjustment	DESCRIPTION	+(–) Adjustment
Sale or Financing Concessions		ArmLth Conv;10000	0	ArmLth Conv;0		ArmLth Conv;0	
Date of Sale/Time		s02/26;c01/26		s12/25;c10/25		s10/25;c08/25	
Location	N;Res	N;Res		N;Res		A;Res;BsyRd	+20,000
Leasehold/Fee Simple	Fee Simple	Fee Simple		Fee Simple		Fee Simple	
Site	10454 sf	9888 sf	0	6098 sf	+20,000	3485 sf	+35,000
View	N;Res;	N;Res;		N;Res;		N;Res;	
Design (Style)	DT1;Duplex	DT1;Duplex		DT1;Duplex		DT1;Duplex	
Quality of Construction	Q5	Q5		Q5		Q5	
Actual Age	74	104	0	53	0	85	0
Condition	C3	C3	+15,000	C3		C3	
Gross Building Area	1,326	1,452	-6,000	1,504	-9,000	1,540	-11,000
Unit Breakdown	Total / Bdrms / Baths	Total / Bdrms / Baths		Total / Bdrms / Baths		Total / Bdrms / Baths	
Unit # 1	4 / 2 / 1.0	4 / 2 / 1.0		4 / 2 / 1.0		4 / 2 / 1.0	
Unit # 2	4 / 2 / 1.0	3 / 1 / 1.0	+10,000	4 / 2 / 1.0		4 / 2 / 1.0	
Unit # 3							
Unit # 4							
Basement Description	0sf	0sf		0sf		0sf	
Basement Finished Rooms							
Functional Utility	Average	Average		Average		Average	
Heating/Cooling	FWA;None	FWA;AC	0	Baseboard;None	0	WallHeat,Bsbrd;None	0
Energy Efficient Items	Vinyl Windows	Vinyl Windows		Vinyl Windows		Vinyl Windows	
Parking On/Off Site	4dw	2cp2dw	0	4dw		4dw	
Porch/Patio/Deck	Porch	Porch;Patio	0	Porch;Patio	0	Porch;Patio	0
Exterior Features	Storage	None	0	None	0	None	0
Fireplaces	None	1FP	0	None		None	
Net Adjustment (Total)		☒ + ☐ –	$ 19,000	☒ + ☐ –	$ 11,000	☒ + ☐ –	$ 44,000
Adjusted Sale Price of Comparables		Net Adj. 3.6 % Gross Adj. 5.9 %	$ 544,000	Net Adj. 2.0 % Gross Adj. 5.4 %	$ 548,500	Net Adj. 9.0 % Gross Adj. 13.5 %	$ 534,000
Adjusted Price Per Unit (Adj. SP Comp / # of Comp Units)		$ 272,000		$ 274,250		$ 267,000	
Adjusted Price Per Room (Adj. SP Comp / # of Comp Rooms)		$ 77,714		$ 68,563		$ 66,750	
Adjusted Price Per Bedrm (Adj. SP Comp / # of Comp Bedrooms)		$ 181,333		$ 137,125		$ 133,500	

Value per Unit $ 279,171 X 2 Units = $ 558,342 Value per GBA $ 419 X 1,326 GBA = $ 555,594

Value per Rm. $ 76,635 X 8 Rooms = $ 613,080 Value per Bdrms. $ 169,930 X 4 Bdrms. = $ 679,720

Summary of Sales Comparison Approach including reconciliation of the above indicators of value. The appraiser has recited the best and most current comparable sales available at the time of inspection. All comparables are confirmed closed sales. Each of the sales comparables provided are considered to be suitable substitutes for the subject in this market area. *** See additional comments***

Indicated Value by Sales Comparison Approach $ 545,000

INCOME

Total gross monthly rent $ 3,050 X gross rent multiplier (GRM) 179 = $ 545,950 Indicated value by the Income Approach

Comments on income approach including reconciliation of the GRM Inadequate data was available to develop a meaningful income approach conclusion.

RECONCILIATION

Indicated Value by: Sales Comparison Approach $ 545,000 **Income Approach $** 545,950 **Cost Approach (if developed) $** 635,216

Most consideration was given to the sales comparison analysis which best reflects current trends and conditions of the local real estate market. The cost approach is given less consideration due to the inherent difficulty in estimating accrued depreciation. *** See additional comments **

This appraisal is made ☒ "as is", ☐ subject to completion per plans and specifications on the basis of a hypothetical condition that the improvements have been completed, ☐ subject to the following repairs or alterations on the basis of a hypothetical condition that the repairs or alterations have been completed, or ☐ subject to the following required inspection based on the extraordinary assumption that the condition or deficiency does not require alteration or repair: *** See additional comments ***

Based on a complete visual inspection of the interior and exterior areas of the subject property, defined scope of work, statement of assumptions and limiting conditions, and appraiser's certification, my (our) opinion of the market value, as defined, of the real property that is the subject of this report is $ 545,000 **, as of** 02/28/2026 **, which is the date of inspection and the effective date of this appraisal.**

Form 1025 - "TOTAL" appraisal software by a la mode, inc. - 1-800-ALAMODE

Serial# F8A328FD
esign.alamode.com/verify

Small Residential Income Property Appraisal Report

56706850475
File # 260289

SALES COMPARISON APPROACH

FEATURE	SUBJECT	COMPARABLE SALE # 4		COMPARABLE SALE # 5		COMPARABLE SALE # 6	
Address	2004 N 28th St Apt 6 Boise, ID 83703	2816 W Rose Hill St Boise, ID 83705		910 N Manville St Boise, ID 83706		412 W Sherman St Boise, ID 83702	
Proximity to Subject		2.61 miles S		1.89 miles SW		1.66 miles SE	
Sale Price	$		$ 465,000		$ 518,000		$ 675,000
Sale Price/Gross Bldg. Area	$ sq.ft.	$ 406.11 sq.ft.		$ 450.43 sq.ft.		$ 455.47 sq.ft.	
Gross Monthly Rent	$ 3,050	$ 3,300		$ 2,600		$ 2,900	
Gross Rent Multiplier		140.91		199.23		232.76	
Price per Unit	$	$ 232,500		$ 259,000		$ 337,500	
Price per Room	$	$ 77,500		$ 74,000		$ 84,375	
Price per Bedroom	$	$ 232,500		$ 172,667		$ 168,750	
Rent Control	☐ Yes ☒ No	☐ Yes ☒ No		☐ Yes ☒ No		☐ Yes ☒ No	
Data Source(s)		IMLS #98901327; DOM 76		IMLS #98918885;DOM 6		IMLS #98936415; DOM 3	
Verification Source(s)		CoreLogic/Realist		CoreLogic/Realist		CoreLogic/Realist	
VALUE ADJUSTMENTS	DESCRIPTION	DESCRIPTION	+(–) Adjustment	DESCRIPTION	+(–) Adjustment	DESCRIPTION	+(–) Adjustment
Sale or Financing Concessions		ArmLth Conv;0		ArmLth Conv;10000	0	ArmLth Cash;0	
Date of Sale/Time		s06/24;c05/24		s10/24;c08/24		s04/25;c02/25	
Location	N;Res	A;Res;BsyRd	+20,000	N;Res		N;Res;BoiseHghts	-25,000
Leasehold/Fee Simple	Fee Simple	Fee Simple		Fee Simple		Fee Simple	
Site	10454 sf	2614 sf	+35,000	7841 sf	+10,000	12632 sf	-10,000
View	N;Res;	N;Res;		N;Res;		N;Res;	
Design (Style)	DT1;Duplex	DT1;Duplex		DT1;Duplex		DT1;Duplex	
Quality of Construction	Q5	Q5		Q5		Q4	-25,000
Actual Age	74	91	0	86		64	0
Condition	C3	C3		C3		C3	
Gross Building Area	1,326	1,145	+9,000	1,150	+9,000	1,482	-8,000
Unit Breakdown	Total / Bdrms / Baths	Total / Bdrms / Baths		Total / Bdrms / Baths		Total / Bdrms / Baths	
Unit # 1	4 / 2 / 1.0	3 / 1 / 1.0	+10,000	4 / 2 / 1.0		4 / 2 / 1.0	
Unit # 2	4 / 2 / 1.0	3 / 1 / 1.0	+10,000	3 / 1 / 1.0	+10,000	4 / 2 / 1.0	
Unit # 3							
Unit # 4							
Basement Description	0sf	0sf		0sf		0sf	
Basement Finished Rooms							
Functional Utility	Average	Average		Average		Average	
Heating/Cooling	FWA;None	Wall Heat;Mini Split	0	FWA;None		FWA;AC	0
Energy Efficient Items	Vinyl Windows	Vinyl Windows		Vinyl Windows		Vinyl Windows	
Parking On/Off Site	4dw	2dw	0	4dw		2cp2dw	0
Porch/Patio/Deck	Porch	Porch;Patio	0	Porch;Patio	0	Porch;Patio	0
Exterior Features	Storage	Shed	0	None	0	None	0
Fireplaces	None	None		None		None	
Net Adjustment (Total)		☒ + ☐ –	$ 84,000	☒ + ☐ –	$ 29,000	☐ + ☒ –	$ -68,000
Adjusted Sale Price of Comparables		Net Adj. 18.1 % Gross Adj. 18.1 %	$ 549,000	Net Adj. 5.6 % Gross Adj. 5.6 %	$ 547,000	Net Adj. 10.1 % Gross Adj. 10.1 %	$ 607,000
Adjusted Price Per Unit (Adj. SP Comp / # of Comp Units)		$ 274,500		$ 273,500		$ 303,500	
Adjusted Price Per Room (Adj. SP Comp / # of Comp Rooms)		$ 91,500		$ 78,143		$ 75,875	
Adjusted Price Per Bedrm (Adj. SP Comp / # of Comp Bedrooms)		$ 274,500		$ 182,333		$ 151,750	

SALE HISTORY

Report the results of the research and analysis of the prior sale or transfer history of the subject property and comparable sales (report additional prior sales on page 3).

ITEM	SUBJECT	COMPARABLE SALE # 4	COMPARABLE SALE # 5	COMPARABLE SALE # 6
Date of Prior Sale/Transfer	07/18/2025	02/24/2024	10/16/2018	10/30/2018
Price of Prior Sale/Transfer	$900,000	$499,900	$227,000	$355,000
Data Source(s)	Property Owner	IMLS #98901327	IMLS #98705273	IMLS #98708471
Effective Date of Data Source(s)	02/27/2026	02/27/2026	02/27/2026	02/27/2026

Analysis of prior sale or transfer history of the subject property and comparable sales: See attached detailed transfer history of the subject property and comparable sales.

The state of Idaho is a non-disclosure state; therefore, outside of the IMLS data, sales history for homes is not publicly disclosed or available.

ANALYSIS / COMMENTS

Analysis/Comments

Form 1025.(AC) - "TOTAL" appraisal software by a la mode, inc. - 1-800-ALAMODE

Serial# F8A328FD
esign.alamode.com/verify

Small Residential Income Property Appraisal Report

56706850475
File # 260289

FEATURE	SUBJECT	COMPARABLE SALE # 7		COMPARABLE SALE # 8		COMPARABLE SALE # 9	
Address	2004 N 28th St Apt 6 Boise, ID 83703	2119 N 34th St Boise, ID 83703		3377 W Nez Perce St Boise, ID 83705			
Proximity to Subject		0.44 miles W		3.55 miles S			
Sale Price	$		$ 599,900		$ 459,900		$
Sale Price/Gross Bldg. Area	$ sq.ft.	$ 570.25 sq.ft.		$ 378.83 sq.ft.		$ sq.ft.	
Gross Monthly Rent	$ 3,050	$ 1,295		$ 1,460		$	
Gross Rent Multiplier		463.24		315.00			
Price per Unit	$	$ 299,950		$ 229,950		$	
Price per Room	$	$ 85,700		$ 57,488		$	
Price per Bedroom	$	$ 199,967		$ 114,975		$	
Rent Control	☐ Yes ☒ No	☐ Yes ☒ No		☐ Yes ☒ No		☐ Yes ☐ No	
Data Source(s)		IMLS #98918645; DOM 62		IMLS #98967041;DOM 117			
Verification Source(s)		CoreLogic/Realist		CoreLogic/Realist			
VALUE ADJUSTMENTS	DESCRIPTION	DESCRIPTION	+(–) Adjustment	DESCRIPTION	+(–) Adjustment	DESCRIPTION	+(–) Adjustment
Sale or Financing Concessions		ArmLth Conv;10000	0	Listing TBD;0			
Date of Sale/Time		s11/24;c09/24		Active	+9,000		
Location	N;Res	N;Res		N;Res			
Leasehold/Fee Simple	Fee Simple	Fee Simple		Fee Simple			
Site	10454 sf	3920 sf	+30,000	5663 sf	+20,000		
View	N;Res;	N;Res;		N;Res;			
Design (Style)	DT1;Duplex	DT1;Duplex		DT1;Duplex			
Quality of Construction	Q5	Q4	-25,000	Q5			
Actual Age	74	88	0	88	0		
Condition	C3	C3	-50,000	C3			
Gross Building Area	1,326	1,052	+14,000	1,214	+6,000		
Unit Breakdown	Total / Bdrms / Baths	Total / Bdrms / Baths		Total / Bdrms / Baths		Total / Bdrms / Baths	
Unit # 1	4 / 2 / 1.0	4 / 2 / 1.0		4 / 2 / 1.0			
Unit # 2	4 / 2 / 1.0	3 / 1 / 1.0	+10,000	4 / 2 / 1.0			
Unit # 3							
Unit # 4							
Basement Description	0sf	0sf		0sf			
Basement Finished Rooms							
Functional Utility	Average	Average		Average			
Heating/Cooling	FWA;None	Wall Heat;Mini Split		Baseboard;MiniSplit	0		
Energy Efficient Items	Vinyl Windows	Vinyl Windows		Vinyl Windows			
Parking On/Off Site	4dw	4dw		4dw			
Porch/Patio/Deck	Porch	Porch;Patio	0	Porch			
Exterior Features	Storage	None	0	None	0		
Fireplaces	None	None		None			
Net Adjustment (Total)		☐ + ☒ –	$ -21,000	☒ + ☐ –	$ 35,000	☐ + ☐ –	$
Adjusted Sale Price of Comparables		Net Adj. 3.5 % Gross Adj. 21.5 %	$ 578,900	Net Adj. 7.6 % Gross Adj. 7.6 %	$ 494,900	Net Adj. % Gross Adj. %	$
Adjusted Price Per Unit (Adj. SP Comp / # of Comp Units)		$ 289,450		$ 247,450		$	
Adjusted Price Per Room (Adj. SP Comp / # of Comp Rooms)		$ 82,700		$ 61,863		$	
Adjusted Price Per Bedrm (Adj. SP Comp / # of Comp Bedrooms)		$ 192,967		$ 123,725		$	

SALES COMPARISON APPROACH

SALE HISTORY

Report the results of the research and analysis of the prior sale or transfer history of the subject property and comparable sales (report additional prior sales on page 3).

ITEM	SUBJECT	COMPARABLE SALE # 7	COMPARABLE SALE # 8	COMPARABLE SALE # 9
Date of Prior Sale/Transfer	07/18/2025	08/26/2022	05/24/2023	
Price of Prior Sale/Transfer	$900,000	$0	$464,900	
Data Source(s)	Property Owner	CoreLogic/Realist	IMLS #98872023	
Effective Date of Data Source(s)	02/27/2026	02/27/2026	02/27/2026	

Analysis of prior sale or transfer history of the subject property and comparable sales — See attached detailed transfer history of the subject property and comparable sales.

The state of Idaho is a non-disclosure state; therefore, outside of the IMLS data, sales history for homes is not publicly disclosed or available.

ANALYSIS / COMMENTS

Analysis/Comments

Form 1025.(AC) - "TOTAL" appraisal software by a la mode, inc. - 1-800-ALAMODE

Serial# F8A328FD
esign.alamode.com/verify

ADDITIONAL COMMENTS

The name of the multiple listing service utilized is the Intermountain Multiple Listing Service (IMLS). There is not enough room to document this a "Intermountain Multiple Listing Service" in the sales comparison approach, and therefore IMLS was utilized.

Foreclosures are not driving the market in the subject's market. Foreclosures are not untypical in the area; however, they are not driving the market. Foreclosures and short sales are typically selling well below market value and are therefore not considered market sales. Therefore, utilizing bank sale and short sales in this report would not be an acceptable practice in determining market value.

For the purpose of this appraisal assignment, the terms Neighborhood and Market Area were deemed to be interchangeable.

The "other" indicated in the present land use percent in the appraisal report is to account for current vacant land. Land use percentages are estimated numbers as there is no data source that provides this information within such clearly defined boundaries.

The site dimensions provided are estimated site dimensions provided by Realist.

The water and electricity were on and working at the time of inspection.

The refrigerator and washer and dryer (if applicable) are considered personal property.

The current over-supply in the subject's market has not affected the subject's market value as the subject's market is currently stable.

This report has been prepared in compliance with the Dodd Frank / Appraiser Independence Regulations.

The use of hypothetical conditions and extraordinary assumptions in the report would have an affect on the assignment results.

Measurements of the subject were obtained using the ANSI method.

COST APPROACH

COST APPROACH TO VALUE (not required by Fannie Mae)

Provide adequate information for the lender/client to replicate the below cost figures and calculations.

Support for the opinion of site value (summary of comparable land sales or other methods for estimating site value) Land value is derived from the extraction method due to the lack of land sales in the market area. The appraiser's opinion of site value exceeds 30% of the subject's contract price and/or the appraiser's opinion of value as the subject is located in the City of Boise where vacant land is higher and as the subject's structure is smaller.

ESTIMATED ☐ REPRODUCTION OR ☒ REPLACEMENT COST NEW

Source of cost data Craftsman National Building Cost Manual

Quality rating from cost service Q5 Effective date of cost data 02/2026

Comments on Cost Approach (gross building area calculations, depreciation, etc.)

No functional obsolescence noted. Cost figures derived from the Craftsman National Building Cost Manual coupled with data from local builders and the appraiser's experience. Physical depreciation taken from the depreciation table published in the Craftsman National Building Cost Manual. *** See additional comments ***

OPINION OF SITE VALUE				=$	275,000
DWELLING	1,326 Sq.Ft. @ $	280.00		=$	371,280
	0 Sq.Ft. @ $			=$	
Appl,patio/porch				=$	20,000
Garage/Carport	23 Sq.Ft. @ $	35.00		=$	805
Total Estimate of Cost-New				=$	392,085
Less	Physical	Functional	External		
Depreciation	71,869			=$(	71,869)
Depreciated Cost of Improvements				=$	320,216
"As-is" Value of Site Improvements				=$	40,000
Estimated Remaining Economic Life (HUD and VA only)	49 Years	INDICATED VALUE BY COST APPROACH		=$	635,216

PUD INFORMATION

PROJECT INFORMATION FOR PUDs (if applicable)

Is the developer/builder in control of the Homeowners' Association (HOA)? ☐ Yes ☐ No Unit type(s) ☐ Detached ☐ Attached

Provide the following information for PUDs ONLY if the developer/builder is in control of the HOA and the subject property is an attached dwelling unit.

Legal Name of Project

Total number of phases Total number of units Total number of units sold

Total number of units rented Total number of units for sale Data source(s)

Was the project created by the conversion of existing building(s) into a PUD? ☐ Yes ☐ No If Yes, date of conversion.

Does the project contain any multi-dwelling units? ☐ Yes ☐ No Data Source

Are the units, common elements, and recreation facilities complete? ☐ Yes ☐ No If No, describe the status of completion.

Are the common elements leased to or by the Homeowners' Association? ☐ Yes ☐ No If Yes, describe the rental terms and options.

Describe common elements and recreational facilities.

Form 1025 - "TOTAL" appraisal software by a la mode, inc. - 1-800-ALAMODE
Serial# F8A328FD
esign.alamode.com/verify

This report form is designed to report an appraisal of a two- to four-unit property, including a two- to four-unit property in a planned unit development (PUD). A two- to four-unit property located in either a condominium or cooperative project requires the appraiser to inspect the project and complete the project information section of the Individual Condominium Unit Appraisal Report or the Individual Cooperative Interest Appraisal Report and attach it as an addendum to this report.

This appraisal report is subject to the following scope of work, intended use, intended user, definition of market value, statement of assumptions and limiting conditions, and certifications. Modifications, additions, or deletions to the intended use, intended user, definition of market value, or assumptions and limiting conditions are not permitted. The appraiser may expand the scope of work to include any additional research or analysis necessary based on the complexity of this appraisal assignment. Modifications or deletions to the certifications are also not permitted. However, additional certifications that do not constitute material alterations to this appraisal report, such as those required by law or those related to the appraiser's continuing education or membership in an appraisal organization, are permitted.

SCOPE OF WORK: The scope of work for this appraisal is defined by the complexity of this appraisal assignment and the reporting requirements of this appraisal report form, including the following definition of market value, statement of assumptions and limiting conditions, and certifications. The appraiser must, at a minimum: (1) perform a complete visual inspection of the interior and exterior areas of the subject property, (2) inspect the neighborhood, (3) inspect each of the comparable sales from at least the street, (4) research, verify, and analyze data from reliable public and/or private sources, and (5) report his or her analysis, opinions, and conclusions in this appraisal report.

INTENDED USE: The intended use of this appraisal report is for the lender/client to evaluate the property that is the subject of this appraisal for a mortgage finance transaction.

INTENDED USER: The intended user of this appraisal report is the lender/client.

DEFINITION OF MARKET VALUE: The most probable price which a property should bring in a competitive and open market under all conditions requisite to a fair sale, the buyer and seller, each acting prudently, knowledgeably and assuming the price is not affected by undue stimulus. Implicit in this definition is the consummation of a sale as of a specified date and the passing of title from seller to buyer under conditions whereby: (1) buyer and seller are typically motivated; (2) both parties are well informed or well advised, and each acting in what he or she considers his or her own best interest; (3) a reasonable time is allowed for exposure in the open market; (4) payment is made in terms of cash in U. S. dollars or in terms of financial arrangements comparable thereto; and (5) the price represents the normal consideration for the property sold unaffected by special or creative financing or sales concessions* granted by anyone associated with the sale.

*Adjustments to the comparables must be made for special or creative financing or sales concessions. No adjustments are necessary for those costs which are normally paid by sellers as a result of tradition or law in a market area; these costs are readily identifiable since the seller pays these costs in virtually all sales transactions. Special or creative financing adjustments can be made to the comparable property by comparisons to financing terms offered by a third party institutional lender that is not already involved in the property or transaction. Any adjustment should not be calculated on a mechanical dollar for dollar cost of the financing or concession but the dollar amount of any adjustment should approximate the market's reaction to the financing or concessions based on the appraiser's judgment.

STATEMENT OF ASSUMPTIONS AND LIMITING CONDITIONS: The appraiser's certification in this report is subject to the following assumptions and limiting conditions:

1. The appraiser will not be responsible for matters of a legal nature that affect either the property being appraised or the title to it, except for information that he or she became aware of during the research involved in performing this appraisal. The appraiser assumes that the title is good and marketable and will not render any opinions about the title.

2. The appraiser has provided a sketch in this appraisal report to show the approximate dimensions of the improvements, including each of the units. The sketch is included only to assist the reader in visualizing the property and understanding the appraiser's determination of its size.

3. The appraiser has examined the available flood maps that are provided by the Federal Emergency Management Agency (or other data sources) and has noted in this appraisal report whether any portion of the subject site is located in an identified Special Flood Hazard Area. Because the appraiser is not a surveyor, he or she makes no guarantees, express or implied, regarding this determination.

4. The appraiser will not give testimony or appear in court because he or she made an appraisal of the property in question, unless specific arrangements to do so have been made beforehand, or as otherwise required by law.

5. The appraiser has noted in this appraisal report any adverse conditions (such as needed repairs, deterioration, the presence of hazardous wastes, toxic substances, etc.) observed during the inspection of the subject property or that he or she became aware of during the research involved in performing this appraisal. Unless otherwise stated in this appraisal report, the appraiser has no knowledge of any hidden or unapparent physical deficiencies or adverse conditions of the property (such as, but not limited to, needed repairs, deterioration, the presence of hazardous wastes, toxic substances, adverse environmental conditions, etc.) that would make the property less valuable, and has assumed that there are no such conditions and makes no guarantees or warranties, express or implied. The appraiser will not be responsible for any such conditions that do exist or for any engineering or testing that might be required to discover whether such conditions exist. Because the appraiser is not an expert in the field of environmental hazards, this appraisal report must not be considered as an environmental assessment of the property.

6. The appraiser has based his or her appraisal report and valuation conclusion for an appraisal that is subject to satisfactory completion, repairs, or alterations on the assumption that the completion, repairs, or alterations of the subject property will be performed in a professional manner.

Form 1025 - "TOTAL" appraisal software by a la mode, inc. - 1-800-ALAMODE
Serial# F8A328FD
esign.alamode.com/verify

APPRAISER'S CERTIFICATION: The Appraiser certifies and agrees that:

1. I have, at a minimum, developed and reported this appraisal in accordance with the scope of work requirements stated in this appraisal report.

2. I performed a complete visual inspection of the interior and exterior areas of the subject property, including all units. I reported the condition of the improvements in factual, specific terms. I identified and reported the physical deficiencies that could affect the livability, soundness, or structural integrity of the property.

3. I performed this appraisal in accordance with the requirements of the Uniform Standards of Professional Appraisal Practice that were adopted and promulgated by the Appraisal Standards Board of The Appraisal Foundation and that were in place at the time this appraisal report was prepared.

4. I developed my opinion of the market value of the real property that is the subject of this report based on the sales comparison and income approaches to value. I have adequate market data to develop reliable sales comparison and income approaches to value for this appraisal assignment. I further certify that I considered the cost approach to value but did not develop it, unless otherwise indicated in this report.

5. I researched, verified, analyzed, and reported on any current agreement for sale for the subject property, any offering for sale of the subject property in the twelve months prior to the effective date of this appraisal, and the prior sales of the subject property for a minimum of three years prior to the effective date of this appraisal, unless otherwise indicated in this report.

6. I researched, verified, analyzed, and reported on the prior sales of the comparable sales for a minimum of one year prior to the date of sale of the comparable sale, unless otherwise indicated in this report.

7. I selected and used comparable sales that are locationally, physically, and functionally the most similar to the subject property.

8. I have not used comparable sales that were the result of combining a land sale with the contract purchase price of a home that has been built or will be built on the land.

9. I have reported adjustments to the comparable sales that reflect the market's reaction to the differences between the subject property and the comparable sales.

10. I verified, from a disinterested source, all information in this report that was provided by parties who have a financial interest in the sale or financing of the subject property.

11. I have knowledge and experience in appraising this type of property in this market area.

12. I am aware of, and have access to, the necessary and appropriate public and private data sources, such as multiple listing services, tax assessment records, public land records and other such data sources for the area in which the property is located.

13. I obtained the information, estimates, and opinions furnished by other parties and expressed in this appraisal report from reliable sources that I believe to be true and correct.

14. I have taken into consideration the factors that have an impact on value with respect to the subject neighborhood, subject property, and the proximity of the subject property to adverse influences in the development of my opinion of market value. I have noted in this appraisal report any adverse conditions (such as, but not limited to, needed repairs, deterioration, the presence of hazardous wastes, toxic substances, adverse environmental conditions, etc.) observed during the inspection of the subject property or that I became aware of during the research involved in performing this appraisal. I have considered these adverse conditions in my analysis of the property value, and have reported on the effect of the conditions on the value and marketability of the subject property.

15. I have not knowingly withheld any significant information from this appraisal report and, to the best of my knowledge, all statements and information in this appraisal report are true and correct.

16. I stated in this appraisal report my own personal, unbiased, and professional analysis, opinions, and conclusions, which are subject only to the assumptions and limiting conditions in this appraisal report.

17. I have no present or prospective interest in the property that is the subject of this report, and I have no present or prospective personal interest or bias with respect to the participants in the transaction. I did not base, either partially or completely, my analysis and/or opinion of market value in this appraisal report on the race, color, religion, sex, age, marital status, handicap, familial status, or national origin of either the prospective owners or occupants of the subject property or of the present owners or occupants of the properties in the vicinity of the subject property or on any other basis prohibited by law.

18. My employment and/or compensation for performing this appraisal or any future or anticipated appraisals was not conditioned on any agreement or understanding, written or otherwise, that I would report (or present analysis supporting) a predetermined specific value, a predetermined minimum value, a range or direction in value, a value that favors the cause of any party, or the attainment of a specific result or occurrence of a specific subsequent event (such as approval of a pending mortgage loan application).

19. I personally prepared all conclusions and opinions about the real estate that were set forth in this appraisal report. If I relied on significant real property appraisal assistance from any individual or individuals in the performance of this appraisal or the preparation of this appraisal report, I have named such individual(s) and disclosed the specific tasks performed in this appraisal report. I certify that any individual so named is qualified to perform the tasks. I have not authorized anyone to make a change to any item in this appraisal report; therefore, any change made to this appraisal is unauthorized and I will take no responsibility for it.

20. I identified the lender/client in this appraisal report who is the individual, organization, or agent for the organization that ordered and will receive this appraisal report.

Form 1025 - "TOTAL" appraisal software by a la mode, inc. - 1-800-ALAMODE
Serial# F8A328FD
esign.alamode.com/verify

21. The lender/client may disclose or distribute this appraisal report to: the borrower; another lender at the request of the borrower; the mortgagee or its successors and assigns; mortgage insurers; government sponsored enterprises; other secondary market participants; data collection or reporting services; professional appraisal organizations; any department, agency, or instrumentality of the United States; and any state, the District of Columbia, or other jurisdictions; without having to obtain the appraiser's or supervisory appraiser's (if applicable) consent. Such consent must be obtained before this appraisal report may be disclosed or distributed to any other party (including, but not limited to, the public through advertising, public relations, news, sales, or other media).

22. I am aware that any disclosure or distribution of this appraisal report by me or the lender/client may be subject to certain laws and regulations. Further, I am also subject to the provisions of the Uniform Standards of Professional Appraisal Practice that pertain to disclosure or distribution by me.

23. The borrower, another lender at the request of the borrower, the mortgagee or its successors and assigns, mortgage insurers, government sponsored enterprises, and other secondary market participants may rely on this appraisal report as part of any mortgage finance transaction that involves any one or more of these parties.

24. If this appraisal report was transmitted as an "electronic record" containing my "electronic signature," as those terms are defined in applicable federal and/or state laws (excluding audio and video recordings), or a facsimile transmission of this appraisal report containing a copy or representation of my signature, the appraisal report shall be as effective, enforceable and valid as if a paper version of this appraisal report were delivered containing my original hand written signature.

25. Any intentional or negligent misrepresentation(s) contained in this appraisal report may result in civil liability and/or criminal penalties including, but not limited to, fine or imprisonment or both under the provisions of Title 18, United States Code, Section 1001, et seq., or similar state laws.

SUPERVISORY APPRAISER'S CERTIFICATION:

The Supervisory Appraiser certifies and agrees that:

1. I directly supervised the appraiser for this appraisal assignment, have read the appraisal report, and agree with the appraiser's analysis, opinions, statements, conclusions, and the appraiser's certification.

2. I accept full responsibility for the contents of this appraisal report including, but not limited to, the appraiser's analysis, opinions, statements, conclusions, and the appraiser's certification.

3. The appraiser identified in this appraisal report is either a sub-contractor or an employee of the supervisory appraiser (or the appraisal firm), is qualified to perform this appraisal, and is acceptable to perform this appraisal under the applicable state law.

4. This appraisal report complies with the Uniform Standards of Professional Appraisal Practice that were adopted and promulgated by the Appraisal Standards Board of The Appraisal Foundation and that were in place at the time this appraisal report was prepared.

5. If this appraisal report was transmitted as an "electronic record" containing my "electronic signature," as those terms are defined in applicable federal and/or state laws (excluding audio and video recordings), or a facsimile transmission of this appraisal report containing a copy or representation of my signature, the appraisal report shall be as effective, enforceable and valid as if a paper version of this appraisal report were delivered containing my original hand written signature.

esign.alamode.com/verify Serial:F8A328FD

APPRAISER

Signature
Name Chad Dickenson
Company Name New Market Appraisal Services, LLC
Company Address 14080 N Elk Track Ave Garden City, ID 83714

Telephone Number 360-995-2082
Email Address chad@newmarketappraisal.com
Date of Signature and Report 03/05/2026
Effective Date of Appraisal 02/28/2026
State Certification # 5871264
or State License #
or Other (describe) State #
State ID
Expiration Date of Certification or License 02/05/2027

ADDRESS OF PROPERTY APPRAISED
2004 N 28th St Apt 6
Boise, ID 83703

APPRAISED VALUE OF SUBJECT PROPERTY $ 545,000

LENDER/CLIENT
Name Fastapp Appraisal Management Company
Company Name National Loan Funding LLC
Company Address 1201 E Cesar Chavez Street, Suite 1, Austin, TX 78702

Email Address

SUPERVISORY APPRAISER (ONLY IF REQUIRED)

Signature
Name
Company Name
Company Address

Telephone Number
Email Address
Date of Signature
State Certification #
or State License #
State
Expiration Date of Certification or License

SUBJECT PROPERTY

☐ Did not inspect subject property
☐ Did inspect exterior of subject property from street
Date of Inspection
☐ Did inspect interior and exterior of subject property
Date of Inspection

COMPARABLE SALES

☐ Did not inspect exterior of comparable sales from street
☐ Did inspect exterior of comparable sales from street
Date of Inspection

Form 1025 - "TOTAL" appraisal software by a la mode, inc. - 1-800-ALAMODE
Serial# F8A328FD
esign.alamode.com/verify

Operating Income Statement

260289

One- to Four-Family Investment Property and Two- to Four-Family Owner-Occupied Property

Property Address

2004 N 28th St Apt 6	Boise	ID	83703
Street	City	State	Zip Code

General Instructions: This form is to be prepared jointly by the loan applicant, the appraiser, and the lender's underwriter. The applicant must complete the following schedule indicating each unit's rental status, lease expiration date, current rent, market rent, and the responsibility for utility expenses. Rental figures must be based on the rent for an "unfurnished" unit.

	Currently Rented	Expiration Date	Current Rent Per Month	Market Rent Per Month	Utility Expense	Paid By Owner	Paid By Tenant
Unit No. 1	Yes ☒ No ☐	03/07/2027	$ 1,550	$ 1,525	Electricity	☐	☒
Unit No. 2	Yes ☒ No ☐	08/07/2026	$ 1,550	$ 1,525	Gas	☐	☒
Unit No. 3	Yes ☐ No ☐		$	$	Fuel Oil	☐	☐
Unit No. 4	Yes ☐ No ☐		$	$	Fuel (Other)	☐	☐
Total			$ 3,100	$ 3,050	Water/Sewer	☐	☒
					Trash Removal	☐	☒

The applicant should complete all of the income and expense projections and for existing properties provide actual year-end operating statements for the past two years (for new properties the applicant's projected income and expenses must be provided). This Operating Income Statement and any previous operating statements the applicant provides must then be sent to the appraiser for review, comment, and/or adjustments next to the applicant's figures (e.g. Applicant/Appraiser 288/300). If the appraiser is retained to complete the form instead of the applicant, the lender must provide to the appraiser the aforementioned operating statements, mortgage insurance premium, HOA dues, leasehold payments, subordinate financing, and/or any other relevant information as to the income and expenses of the subject property received from the applicant to substantiate the projections. The underwriter should carefully review the applicant's/appraiser's projections and the appraiser's comments concerning those projections. The underwriter should make any final adjustments that are necessary to more accurately reflect any income or expense items that appear unreasonable for the market. (Real estate taxes and insurance on these types of properties are included in PITI and not calculated as an annual expense item) Income should be based on the current rents, but should not exceed market rents. When there are no current rents because the property is proposed, new, or currently vacant, market rents should be used.

Annual Income and Expense Projection for Next 12 months

Income (Do not include income for owner-occupied units)		By Applicant/Appraiser	Adjustments by Lender's Underwriter
Gross Annual Rental (from unit(s) to be rented)	(Current)	$ 37,200	$
Other Income (include sources)		+	+
Total		$ 37,200	$
Less Vacancy/Rent Loss		− 1,860 (5 %)	− (%)
Effective Gross Income		$ 35,340	$

Expenses (Do not include expenses for owner-occupied units)	By Applicant/Appraiser	Adjustments by Lender's Underwriter
Electricity		
Gas		
Fuel Oil		
Fuel _____ (Type - _____)		
Water/Sewer		
Trash Removal		
Pest Control	50	
Other Taxes or Licenses		
Casual Labor	50	
This includes the costs for public area cleaning, snow removal, etc., even though the applicant may not elect to contract for such services.		
Interior Paint/Decorating	200	
This includes the costs of contract labor and materials that are required to maintain the interiors of the living unit.		
General Repairs/Maintenance	100	
This includes the costs of contract labor and materials that are required to maintain the public corridors, stairways, roofs, mechanical systems, grounds, etc.		
Management Expenses	1,000	
These are the customer expenses that a professional management company would charge to manage the property.		
Supplies		
This includes the costs of items like light bulbs, janitorial supplies, etc.		
Total Replacement Reserves - See Schedule on Pg. 2	1,455	
Miscellaneous		
Total Operating Expenses	$ 2,855	$

New Market Appraisal Services, LLC
Form INC2 - "TOTAL" appraisal software by a la mode, inc. - 1-800-ALAMODE

Serial# F8A328FD
esign.alamode.com/verify

Replacement Reserve Schedule

Adequate replacement reserves must be calculated regardless of whether actual reserves are provided for on the owner's operating statements or are customary in the local market. This represents the total average yearly reserves. Generally, all equipment and components that have a remaining life of more than one year - such as refrigerators, stoves, clothes washers/dryers, trash compactors, furnaces, roofs, and carpeting, etc. - should be expensed on a replacement cost basis.

Equipment		Replacement Cost		Remaining Life				By Applicant/ Appraiser	Lender Adjustments
Stoves/Ranges	@	$ 500	ea. ÷	10	Yrs. x	2	Units =	$ 100	$
Refrigerators	@	$ 600	ea. ÷	10	Yrs. x	2	Units =	$ 120	$
Dishwashers	@	$ 400	ea. ÷	10	Yrs. x	2	Units =	$ 80	$
A/C Units	@	$	ea. ÷		Yrs. x		Units =	$	$
C. Washer/Dryers	@	$ 600	ea. ÷	10	Yrs. x	2	Units =	$ 120	$
HW Heaters	@	$ 1,500	ea. ÷	15	Yrs. x	2	Units =	$ 200	$
Furnace(s)	@	$ 3,000	ea. ÷	20	Yrs. x	2	Units =	$ 300	$
(Other)	@	$	ea. ÷		Yrs. x		Units =	$	$
Roof	@	$ 10,000	÷	25	Yrs. x	One Bldg. =		$ 400	$

Carpeting (Wall to Wall)					Remaining Life			
(Units)	90	Total Sq. Yds. @	$ 15	Per Sq. Yd. ÷	10	Yrs. =	$ 135	$
(Public Areas)		Total Sq. Yds. @	$	Per Sq. Yd. ÷		Yrs. =	$	$

Total Replacement Reserves. (Enter on Pg. 1) $ 1,455 $

Operating Income Reconciliation

$ 35,340	−	$ 2,855	=	$ 32,485	÷ 12 =	$ 2,707
Effective Gross Income		Total Operating Expenses		Operating Income		Monthly Operating Income
$ 2,707	−	$	=	$		
Monthly Operating Income		Monthly Housing Expense		Net Cash Flow		

(Note: Monthly Housing Expense includes principal and interest on the mortgage, hazard insurance premiums, real estate taxes, mortgage insurance premiums, HOA dues, leasehold payments, and subordinate financing payments.)

Underwriter's instructions for 2-4 Family Owner-Occupied Properties

- If Monthly Operating Income is a positive number, enter as "Net Rental Income" in the "Gross Monthly Income" section of Freddie Mac Form 65/Fannie Mae Form 1003. If Monthly Operating Income is a negative number, it must be included as a liability for qualification purposes.
- The borrower's monthly housing expense-to-income ratio must be calculated by comparing the total Monthly Housing Expense for the subject property to the borrower's stable monthly income.

Underwriter's instructions for 1-4 Family Investment Properties

- If Net Cash Flow is a positive number, enter as "Net Rental Income" in the "Gross Monthly Income" section of Freddie Mac Form 65/Fannie Mae Form 1003. If Net Cash Flow is a negative number, it must be included as a liability for qualification purposes.
- The borrower's monthly housing expense-to-income ratio must be calculated by comparing the total monthly housing expense for the borrower's primary residence to the borrower's stable monthly income.

Appraiser's Comments (Including sources for data and rationale for the projections)

Expenses are forecasted based on expenses of similar properties in the market area. Appraiser was unable to calculate the Net Cash Flow as the data necessary to calculate the Monthly Housing Expenses was not provided to the appraiser.

esign.alamode.com/verify Serial:F8A328FD

Chad Dickenson		03/05/2026
Appraiser Name	Appraiser Signature	Date

Underwriter's Comments and Rationale for Adjustments

Underwriter Name	Underwriter Signature	Date

Form INC2 - "TOTAL" appraisal software by a la mode, inc. - 1-800-ALAMODE

Serial# F8A328FD
esign.alamode.com/verify

Market Conditions Addendum to the Appraisal Report

File No. 56706850475 260289

The purpose of this addendum is to provide the lender/client with a clear and accurate understanding of the market trends and conditions prevalent in the subject neighborhood. This is a required addendum for all appraisal reports with an effective date on or after April 1, 2009.

Property Address 2004 N 28th St Apt 6 City Boise State ID ZIP Code 83703

Borrower North Boise Rentals LLC

Instructions: The appraiser must use the information required on this form as the basis for his/her conclusions, and must provide support for those conclusions, regarding housing trends and overall market conditions as reported in the Neighborhood section of the appraisal report form. The appraiser must fill in all the information to the extent it is available and reliable and must provide analysis as indicated below. If any required data is unavailable or is considered unreliable, the appraiser must provide an explanation. It is recognized that not all data sources will be able to provide data for the shaded areas below; if it is available, however, the appraiser must include the data in the analysis. If data sources provide the required information as an average instead of the median, the appraiser should report the available figure and identify it as an average. Sales and listings must be properties that compete with the subject property, determined by applying the criteria that would be used by a prospective buyer of the subject property. The appraiser must explain any anomalies in the data, such as seasonal markets, new construction, foreclosures, etc.

MARKET RESEARCH & ANALYSIS

Inventory Analysis	Prior 7–12 Months	Prior 4–6 Months	Current – 3 Months	Overall Trend		
Total # of Comparable Sales (Settled)	6	3	3	☐ Increasing	☒ Stable	☐ Declining
Absorption Rate (Total Sales/Months)	1.00	1.00	1.00	☐ Increasing	☒ Stable	☐ Declining
Total # of Comparable Active Listings	2	2	2	☐ Declining	☒ Stable	☐ Increasing
Months of Housing Supply (Total Listings/Ab.Rate)	2.0	2.0	2.0	☐ Declining	☒ Stable	☐ Increasing

Median Sale & List Price, DOM, Sale/List %	Prior 7–12 Months	Prior 4–6 Months	Current – 3 Months	Overall Trend		
Median Comparable Sale Price	$504,750	$399,900	$537,500	☐ Increasing	☒ Stable	☐ Declining
Median Comparable Sales Days on Market	12	14	4	☐ Declining	☒ Stable	☐ Increasing
Median Comparable List Price	$499,994	$459,900	$459,900	☐ Increasing	☒ Stable	☐ Declining
Median Comparable Listings Days on Market	17	93	93	☐ Declining	☒ Stable	☐ Increasing
Median Sale Price as % of List Price	98%	98%	102%	☐ Increasing	☒ Stable	☐ Declining
Seller-(developer, builder, etc.)paid financial assistance prevalent?	☒ Yes	☐ No		☐ Declining	☒ Stable	☐ Increasing

Explain in detail the seller concessions trends for the past 12 months (e.g., seller contributions increased from 3% to 5%, increasing use of buydowns, closing costs, condo fees, options, etc.). Seller concessions are generally between 2 - 4 percent of loan amount, with those monies being applied to closing costs and buy downs. Seller contributions are not necessarily typical in this area, as home inventory is moving at a reasonable rate.

Are foreclosure sales (REO sales) a factor in the market? ☐ Yes ☒ No If yes, explain (including the trends in listings and sales of foreclosed properties).

Cite data sources for above information. The data provided in this market analysis was provided from the statistics from the IMLS.

Summarize the above information as support for your conclusions in the Neighborhood section of the appraisal report form. If you used any additional information, such as an analysis of pending sales and/or expired and withdrawn listings, to formulate your conclusions, provide both an explanation and support for your conclusions.

The sections in the inventory analysis grid which state "n/a" were not available to the appraiser in the IWMLS search. The appraiser used the median original list price of comparable properties which have sold in the specific time periods to determine the median list to sales price in the subject's market area. The information and statistics provided by the IMLS indicates a stable market; therefore, no time adjustments were warranted.

CONDO/CO-OP PROJECTS

If the subject is a unit in a condominium or cooperative project , complete the following: **Project Name:**

Subject Project Data	Prior 7–12 Months	Prior 4–6 Months	Current – 3 Months	Overall Trend		
Total # of Comparable Sales (Settled)				☐ Increasing	☐ Stable	☐ Declining
Absorption Rate (Total Sales/Months)				☐ Increasing	☐ Stable	☐ Declining
Total # of Active Comparable Listings				☐ Declining	☐ Stable	☐ Increasing
Months of Unit Supply (Total Listings/Ab.Rate)				☐ Declining	☐ Stable	☐ Increasing

Are foreclosure sales (REO sales) a factor in the project? ☐ Yes ☐ No If yes, indicate the number of REO listings and explain the trends in listings and sales of foreclosed properties.

Summarize the above trends and address the impact on the subject unit and project.

esign.alamode.com/verify Serial:F8A328FD

APPRAISER

Signature	Signature
Appraiser Name Chad Dickenson	Supervisory Appraiser Name
Company Name New Market Appraisal Services, LLC	Company Name
Company Address 14080 N Elk Track Ave Garden City, ID 83714	Company Address
State License/Certification # 5871264 State ID	State License/Certification # State
Email Address chad@newmarketappraisal.com	Email Address

Form 1004MC2 - "TOTAL" appraisal software by a la mode, inc. - 1-800-ALAMODE

Serial# F8A328FD
esign.alamode.com/verify

Supplemental addendum

File No. 260289

Borrower	North Boise Rentals LLC						
Property Address	2004 N 28th St Apt 6						
City	Boise	County	Ada	State	ID	Zip Code	83703
Lender/Client	National Loan Funding LLC						

Scope of Appraisal

The scope of the work for this appraisal assignment has been limited to providing an estimate of market value for the function of a mortgage transaction. This appraisal is invalid if used for any other purpose. This is an appraisal report that can be used only by the client and no one else.

This appraisal report offers an opinion of market value which is defined as the most probable price (in terms of money) which a property should bring in a competitive and open market under all conditions requisite to a fair sale, the buyer and seller each acting prudently and knowledgeably, and assuming the price is not affected by undue stimulus. Implicit in this definition is the consummation of a sale as of a specified date and the passing of title from seller to buyer under conditions whereby: the buyer and seller are typically motivated; both parties are well informed or well advised, and acting in what they consider their best interests; a reasonable time is allowed for exposure in the open market; payment is made in terms of cash in United States dollars or in terms of financial arrangements comparable thereto; and the price represents the normal consideration for the property sold unaffected by special or creative financing or sales concessions granted by anyone associated with the sale.

In this appraisal, value has been established by the sales comparison approach. This method of valuation involves comparison of the property with similar items which have sold within the retail market that I considered most common for the subject property. This approach makes use of data obtained from that market. Unless otherwise noted, markets explored appeared to be balanced and stable.

Occupancy

Unit 1 was vacant at the time of the inspection; however, a 12 month lease agreement was in place for $1550 beginning March 8. 2026. Unit 2 was tenant occupied at the time of the inspection with a 6 month lease for $1550 beginning February 8, 2026.

Neighborhood Description

Access to amenities such as schools, parks, and community services are adequate for the area. Major employment centers are within a 5-30 minutes commute.

Market Conditions

Conventional, FHA, and VA financing is available in this market area with typical interest rates.

Zoning Description

The City of Boise defines the subject's zoning as the following: The R-2 district is intended to allow a flexible mix of compact detached, attached, and multi-family housing as well as supportive civic and limited commercial uses. It occupies a middle ground between lower-density single-family zones and higher-density residential districts.

Minimum Lot Size: 2500sf

Highest and Best Use

The “as is” use of the subject is the most probable use a buyer of the subject property would do to maximize its value. This was based off the four criteria of being legally permissible, physically possible, financially feasible, and maximally productive. Due to the subject’s current zoning, single family residential use with one home on one lot provides the greatest return on investment.

Additional Features

The subject is a duplex style home. Each unit is a mirrored image of the other and consists of a living room, kitchen, dinette, 2 bedrooms, and 1 full bathroom. Each unit features wood wrapped windows and solid counter tops in the kitchen.

Both units feature their own covered front porch and fenced backyard. Unit 2 also features an attached storage room with water heater.

Condition of Property

No repairs or inspections are required as a condition of this report.

Effective April 1, 2012, RCW 19.27.530 requires the seller of any owner-occupied single-family residence to equip the residence with carbon monoxide alarms in accordance with the state building code before a buyer or any other person may legally occupy the residence following the sale. This requirement applies to all single family residences, including single family homes, condominiums, and manufactured/mobile homes.

The building code (WAC 51-51-0315) requires that an alarm be installed: (1) outside of each separate sleeping area in the immediate vicinity of each bedroom; (2) on each level of the dwelling; and (3) in accordance with the manufacturer's recommendations. The building code also requires that single station carbon monoxide alarms comply with UL 2034. 2 There are no exceptions for properties that do not have fuel-fired appliances or an attached garage. The alarms may be battery operated and can be purchased for as little as $25 from a variety of sources.

There was a carbon monoxide detector noted and adequate smoke detectors noted at the time of inspection.

At the time of inspection, there was no noticeable damage to the subject property due to any recent weather related disasters, floods, or fires. There has been no effect on value or marketability of the subject.

Serial# F8A328FD
esign.alamode.com/verify

Supplemental addendum

File No. 260289

Borrower	North Boise Rentals LLC						
Property Address	2004 N 28th St Apt 6						
City	Boise	County	Ada	State	ID	Zip Code	83703
Lender/Client	National Loan Funding LLC						

Physical Deficiencies and / or Adverse Conditions

The appraiser assumes no responsibility for such conditions or for the engineering which might be required to discover such factors. Unless otherwise stated in this report, the existence of hazardous materials, which may or may not be present on the property, were not observed by the appraiser. The appraiser has no knowledge of the existence of such materials on or in the property appraised, nor is the appraiser qualified to detect such substances. The presence of substances such as asbestos, urea-formaldehyde foam insulation, radon, or any other potentially hazardous material may affect the value of the property appraised. The value estimate is predicated on the assumption that there are no such materials on or in the subject property that would cause a loss of value. No responsibility is assumed by the appraiser for any such conditions, or for any expertise of engineering knowledge required to discover them. The client is advised to retain an expert in the field, if desired.

Sales Comparison Approach

The appraiser searched the neighborhood boundaries previously outlined for all duplex style comps which are between 1050 - 1600 sf, built between 1900 and 1980, and located on parcel sizes which were 20000 sf or smaller. Comps 1-2 were provided as they have sold within the past 90 days. Comps 3 and 7 were provided as they are located in close proximity to the subject. Comps 4-5 were provided as they are located in the subject's market and are additional indicators of the subject's market value. Comp 6 was provided as it brackets the subject's lot size. Comp 8 was provided as an active listing.

Due to the lack of recent competing duplex sales in the area, it was necessary to expand the search radius to 4 miles and utilize sales which sold over the past 24 months. No time adjustments were made as the subject's market is stable as shown by the 1004mc and as the subject's market has remained stable since January of 2024.

Most weight was given to comps 1-2 as they are the most recent sales and have a lower amount of net and gross adjustments. Additional consideration was given to the remaining sales in reconciling the subject's market value. The adjusted value range of the sold comps is $534,000 - $607,000. The appraiser reconciled the subject's market value at $545,000 as this is where comps 1-2 adjusts to within $3000. The appraiser's opinion of value differs significantly from the subject's previous transfer price as the previous transfer price included three parcels/duplexes and as the subject has been fully renovated.

Comp 8 is an active listing and was adjusted 2% to account for a likely difference in list to sales price as indicated by the 1004MC.

Comps 1 was adjusted for inferior condition as it has not been remodeled throughout.

Comps 3-4 were adjusted for inferior location as they are located on a busy road.

Comp 6 was adjusted for superior location as it is located in the Boise Heights Neighborhood, which is near Camels Back park, Hyde Park, and hiking trails. Homes in this neighborhood typically sell for more.

Comps 6 and 7 were adjusted for superior quality as they were built with higher quality construction methods and materials.

Comp 7 was adjusted for superior condition as it has been fully renovated and more extensively updated than the subject.

Above grade square footage adjustment is made at $50 per square foot and rounded to the nearest $1000 adjustment. This has no effect on the subject's market value and is a typical appraisal practice. Bedroom adjustment is made at $10000 per bedroom. Site adjustment is made at $5000 per 1000 sf. No fireplace/woodstove adjustments were made as paired sales analysis show no contributory value for this amenity. No shed adjustments is warranted. No age adjustments were made to the comparables as this was considered in the overall condition of the property and adjusted accordingly. No carport adjustment is warranted. No heating or cooling adjustment is warranted. No sellers concessions adjustments were warranted. Due to these adjustments it was necessary for the appraiser to exceed industry guidelines for net adjustments of 15% for comp 4.

All adjustments were assigned at market value and not actual costs and all were made based on the analysis of available data combined with the appraisers inspection of all properties contained in this report.

The adjustments made by the appraiser are market derived, and based upon match paired sales analysis. The quality and condition ratings for the subject and comparable sales are based upon my personal inspection of the subject, and my interpretation of the photos and comments for comparable sales from the MLS, and how they compare to the subject. The appraiser is not privy to and does not have access or knowledge of quality and condition ratings from other appraiser’s peers for the same comparable sales utilized. Additionally, the appraiser does not have knowledge or information regarding the adjustment methods utilized by other appraiser’s peers.

Only sales which appear to be arms-length transactions were utilized in this report.

Seller Paid Concessions

Attempts were made to contact agents on all comparable sales provided in this appraisal report. Concessions are reported on the appraisal grid when confirmation can be made.

Fannie Mae states that "Adjustments to the comparables must be made for special or creative financing or sales concessions." In this case none of the seller paid concession for the subject home or any of the comparables used in the report were judged by the appraiser to be "special or creative." They are "typical" and in the appraiser's opinion had no effect on the sales price of the home as this is standard in the current market.

Fannie Mae states "No adjustments are necessary for those costs which are normally paid by sellers as a result of tradition or law in a market area; these costs are readily identifiable since the seller pays these costs in virtually all sales transactions." The appraiser's judgment was that no adjustments were warranted based on concessions not being "creative or special" and that all concessions are "typical" in the current market and "seller pay these costs in virtually all sales transactions."

Conditions of Appraisal

The value of personal property, if any, was not included in the estimated market value of the subject property. The appraiser has the knowledge and experience necessary to complete the appraisal assignment competently. This report is for use in a mortgage finance transaction only. This report is not intended for any other use.

Serial# F8A328FD
esign.alamode.com/verify

Supplemental addendum

File No. 260289

Borrower	North Boise Rentals LLC						
Property Address	2004 N 28th St Apt 6						
City	Boise	County	Ada	State	ID	Zip Code	83703
Lender/Client	National Loan Funding LLC						

Appraiser's Competency

This assignment requires geographic competency as part of the scope of work. I have spent sufficient time in the subject's market and understand the nuances of the local market and the supply and demand factors relating to the specific property type and the location involved. Such understanding will not be imparted solely from a consideration of specific data such as demographics, costs, sales and rentals. The necessary understanding of local market conditions provides the bridge between a sale and a comparable sale or a rental and comparable rental. The appraiser has access to all the major data sources which are used in the area, such as the Intermountain multiple listing service.

Comments on Cost Approach

Land value, as stated in the cost approach, was considered typical for the subject's neighborhood.

Serial# F8A328FD
esign.alamode.com/verify

PROPERTY HISTORY

File No. 260289

Borrower	North Boise Rentals LLC						
Property Address	2004 N 28th St Apt 6						
City	Boise	County	Ada	State	ID	Zip Code	83703
Lender/Client	National Loan Funding LLC						

* SUBJECT 36-MONTH PRIOR TRANSFER HISTORY *

2004 N 28th St Apt 6
-Transferred on 07/18/2025. It transferred from El-Ada Community Action Agency to North Boise Rentals LLC and was a Warranty Deed (Document #45367).

* COMPARABLE 12-MONTH PRIOR TRANSFER HISTORY *
(may include properties that were considered but not utilized as comparables)

1110 W Chamberlin St
-Transferred on 02/05/2026. It transferred from Offer Now Idaho LLC to Chen Andrew and Christina and was a Warranty Deed (Document #8064).
-Transferred on 12/12/2025. It transferred from Ramsey Anthony to Offer Now Idaho LLC and was a Warranty Deed (Document #82618).

203 S Ruby St
-Transferred on 12/12/2025. It transferred from Kingdom Property Holdings LLC to Orchard Danielle and was a Warranty Deed (Document #82788).

1015 N 27th St
-Transferred on 08/25/2020. It transferred from Sabako Brad to Mclaughlin Evan and Krystle and was a Warranty Deed (Document #109491).

2816 W Rose Hill St
-Transferred on 06/21/2024. It transferred from Zubizarreta Jon and Barbara to Kranzler Zachary and was a Warranty Deed (Document #33704).

910 N Manville St
-Transferred on 10/16/2018. It transferred from Rich Carolyn L to Hammond Samuel and Mallorie and was a Warranty Deed (Document #97768).

412 W Sherman St
-Transferred on 10/30/2018. It transferred from Tutone Gabriel P and Michaela T to Sarchet Ty S and was a Warranty Deed (Document #103255).

2119 N 34th St
-Transferred on 08/26/2022. It transferred from Bell Rei LLC to Ohashi Benjamin and was a Warranty Deed (Document #75231).

3377 W Nez Perce St
-Transferred on 05/24/2021. It transferred from Tcb Properties 1 LLC to Bakaly Henry and was a Warranty Deed (Document #81122).

Serial# F8A328FD
esign.alamode.com/verify

Subject Photo Page

Borrower	North Boise Rentals LLC						
Property Address	2004 N 28th St Apt 6						
City	Boise	County	Ada	State	ID	Zip Code	83703
Lender/Client	National Loan Funding LLC						

Subject Front

2004 N 28th St Apt 6

Sales price	
Gross living area	
Total rooms	8
Total bedrooms	4
Total bathrooms	2
Location	N;Res
View	N;Res;
Site	10454 sf
Quality	Q5
Age	74

Subject Rear



Subject Street

Serial# F8A328FD
esign.alamode.com/verify

Photograph Addendum

Borrower	North Boise Rentals LLC						
Property Address	2004 N 28th St Apt 6						
City	Boise	County	Ada	State	ID	Zip Code	83703
Lender/Client	National Loan Funding LLC						

Side View of Home

Unit 1 Entrance



Entry (Unit 1)



Living Room (Unit 1)



Kitchen (Photo 1 of 2)
(Unit 1)



Kitchen (Photo 2 of 2)
(Unit 1)

Serial# F8A328FD
esign.alamode.com/verify

Photograph Addendum

Borrower	North Boise Rentals LLC						
Property Address	2004 N 28th St Apt 6						
City	Boise	County	Ada	State	ID	Zip Code	83703
Lender/Client	National Loan Funding LLC						



Water Turned On (Unit 1)

Electricity Turned On (Unit 1)

Dinette (Unit 1)

Water Heater (Unit 1)



Furnace (Unit 1)

Smoke Detector and CO Detector Installed (Unit 1)

Serial# F8A328FD
esign.alamode.com/verify

Photograph Addendum

Borrower	North Boise Rentals LLC						
Property Address	2004 N 28th St Apt 6						
City	Boise	County	Ada	State	ID	Zip Code	83703
Lender/Client	National Loan Funding LLC						



Bedroom (Unit 1)

Bedroom (Unit 1)

Full Bathroom (Photo 1 of 2) (Unit 1)

Full Bathroom (Photo 2 of 2) (Unit 1)



Side View of Home (Unit 1)

Rear View of Home (Unit 1)

Serial# F8A328FD
esign.alamode.com/verify

Photograph Addendum

Borrower	North Boise Rentals LLC						
Property Address	2004 N 28th St Apt 6						
City	Boise	County	Ada	State	ID	Zip Code	83703
Lender/Client	National Loan Funding LLC						

Entrance (Unit 2)

Entry (Unit 2)



Living Room (Unit 2)



Kitchen (Photo 1 of 2) (Unit 2)



Kitchen (Photo 2 of 2) (Unit 2)



Dinette (Unit 2)

Serial# F8A328FD
esign.alamode.com/verify

Photograph Addendum

Borrower	North Boise Rentals LLC						
Property Address	2004 N 28th St Apt 6						
City	Boise	County	Ada	State	ID	Zip Code	83703
Lender/Client	National Loan Funding LLC						

Water Turned On (Unit 2)

Electricity Turned On (Unit 2)



Bedroom (Unit 2)



Bedroom (Unit 2)



Full Bathroom (Photo 1 of 2) (Unit 2)



Full Bathroom (Photo 2 of 2) (Unit 2)

Serial# F8A328FD
esign.alamode.com/verify

Photograph Addendum

Borrower	North Boise Rentals LLC						
Property Address	2004 N 28th St Apt 6						
City	Boise	County	Ada	State	ID	Zip Code	83703
Lender/Client	National Loan Funding LLC						



Furnace

Smoke Detector and CO Detector Installed (Unit 2)

Site View

Site View



Shared Driveway



Shared Driveway

Serial# F8A328FD
esign.alamode.com/verify

Photograph Addendum

Borrower	North Boise Rentals LLC						
Property Address	2004 N 28th St Apt 6						
City	Boise	County	Ada	State	ID	Zip Code	83703
Lender/Client	National Loan Funding LLC						



Storage (Unit 2)



Water Heater (Unit 2)

3377 W Nez Perce St
(MLS Photo)

Serial# F8A328FD
esign.alamode.com/verify

Comparable Photo Page

Borrower	North Boise Rentals LLC						
Property Address	2004 N 28th St Apt 6						
City	Boise	County	Ada	State	ID	Zip Code	83703
Lender/Client	National Loan Funding LLC						

Comparable 1

1110 W Chamberlin St

Prox. To subject	3.74 miles SE
Sale price	525,000
Gross living area	
Total rooms	7
Total bedrooms	3
Total bathrooms	2
Location	N;Res
View	N;Res;
Site	9888 sf
Quality	Q5
Age	104



Comparable 2

203 S Ruby St

Prox. To subject	2.50 miles S
Sale price	537,500
Gross living area	
Total rooms	
Total bedrooms	
Total bathrooms	
Location	N;Res
View	N;Res;
Site	6098 sf
Quality	Q5
Age	53

Comparable 3

1015 N 27th St

Prox. To subject	0.56 miles S
Sale price	490,000
Gross living area	
Total rooms	
Total bedrooms	
Total bathrooms	
Location	A;Res;BsyRd
View	N;Res;
Site	3485 sf
Quality	Q5
Age	85

Serial# F8A328FD
esign.alamode.com/verify

Comparable Photo Page

Borrower	North Boise Rentals LLC						
Property Address	2004 N 28th St Apt 6						
City	Boise	County	Ada	State	ID	Zip Code	83703
Lender/Client	National Loan Funding LLC						

Comparable 4

2816 W Rose Hill St

Prox. To subject	2.61 miles S
Sale price	465,000
Gross living area	
Total rooms	
Total bedrooms	
Total bathrooms	
Location	A;Res;BsyRd
View	N;Res;
Site	2614 sf
Quality	Q5
Age	91

Comparable 5

910 N Manville St

Prox. To subject	1.89 miles SW
Sale price	518,000
Gross living area	
Total rooms	
Total bedrooms	
Total bathrooms	
Location	N;Res
View	N;Res;
Site	7841 sf
Quality	Q5
Age	86

Comparable 6

412 W Sherman St

Prox. To subject	1.66 miles SE
Sale price	675,000
Gross living area	
Total rooms	
Total bedrooms	
Total bathrooms	
Location	N;Res;BoiseHghts
View	N;Res;
Site	12632 sf
Quality	Q4
Age	64

Serial# F8A328FD
esign.alamode.com/verify

Comparable Photo Page

Borrower	North Boise Rentals LLC						
Property Address	2004 N 28th St Apt 6						
City	Boise	County	Ada	State	ID	Zip Code	83703
Lender/Client	National Loan Funding LLC						

Comparable 7

2119 N 34th St

Prox. to Subject	0.44 miles W
Sale Price	599,900
Gross Living Area	
Total Rooms	
Total Bedrooms	
Total Bathrooms	
Location	N;Res
View	N;Res;
Site	3920 sf
Quality	Q4
Age	88



Comparable 8

3377 W Nez Perce St

Prox. to Subject	3.55 miles S
Sale Price	459,900
Gross Living Area	
Total Rooms	8
Total Bedrooms	4
Total Bathrooms	2
Location	N;Res
View	N;Res;
Site	5663 sf
Quality	Q5
Age	88

Comparable 9

Prox. to Subject	
Sale Price	
Gross Living Area	
Total Rooms	
Total Bedrooms	
Total Bathrooms	
Location	
View	
Site	
Quality	
Age	

Serial# F8A328FD
esign.alamode.com/verify

Rental Photo Page

Borrower	North Boise Rentals LLC						
Property Address	2004 N 28th St Apt 6						
City	Boise	County	Ada	State	ID	Zip Code	83703
Lender/Client	National Loan Funding LLC						

Rental 1

412 W Sherman St

Proximity to Subj.	1.66 miles SE
GBA	1,482
Age/Year Built	64

Rental 2

203 S Ruby St

Proximity to Subj.	2.50 miles S
GBA	1,504
Age/Year Built	53

Rental 3

2816 W Rose Hill St

Proximity to Subj.	2.61 miles S
GBA	1,145
Age/Year Built	91

Serial# F8A328FD
esign.alamode.com/verify

Building Sketch

Borrower	North Boise Rentals LLC						
Property Address	2004 N 28th St Apt 6						
City	Boise	County	Ada	State	ID	Zip Code	83703
Lender/Client	National Loan Funding LLC						

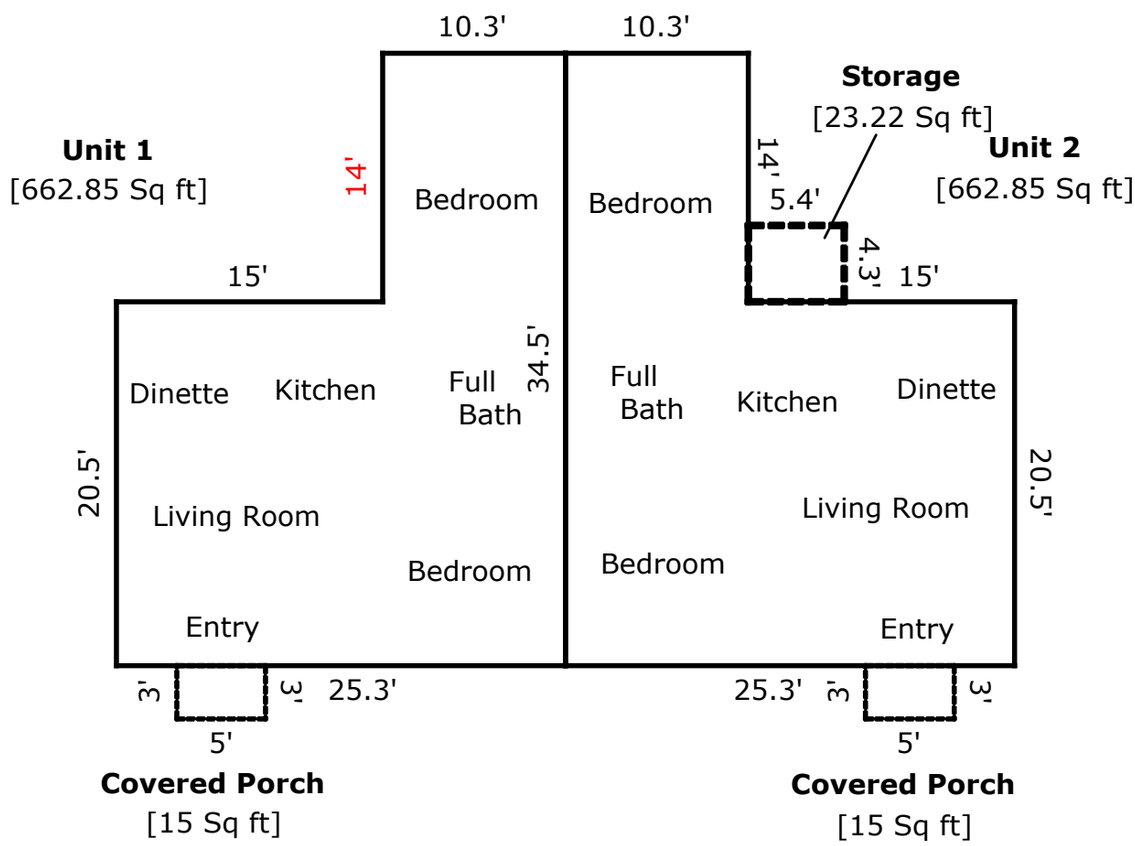

TOTAL Sketch by a la mode

Area Calculations Summary

Living Area		**Calculation Details**
Unit 1	662.85 Sq ft	25.3 × 20.5 = 518.65 14 × 10.3 = 144.2
Unit 2	662.85 Sq ft	25.3 × 20.5 = 518.65 14 × 10.3 = 144.2
Total Living Area (Rounded):	**1326 Sq ft**	
Non-living Area		
Covered Porch	15 Sq ft	5 × 3 = 15
Storage	23.22 Sq ft	4.3 × 5.4 = 23.22
Covered Porch	15 Sq ft	5 × 3 = 15

Serial# F8A328FD
esign.alamode.com/verify

Location Map

Borrower	North Boise Rentals LLC						
Property Address	2004 N 28th St Apt 6						
City	Boise	County	Ada	State	ID	Zip Code	83703
Lender/Client	National Loan Funding LLC						

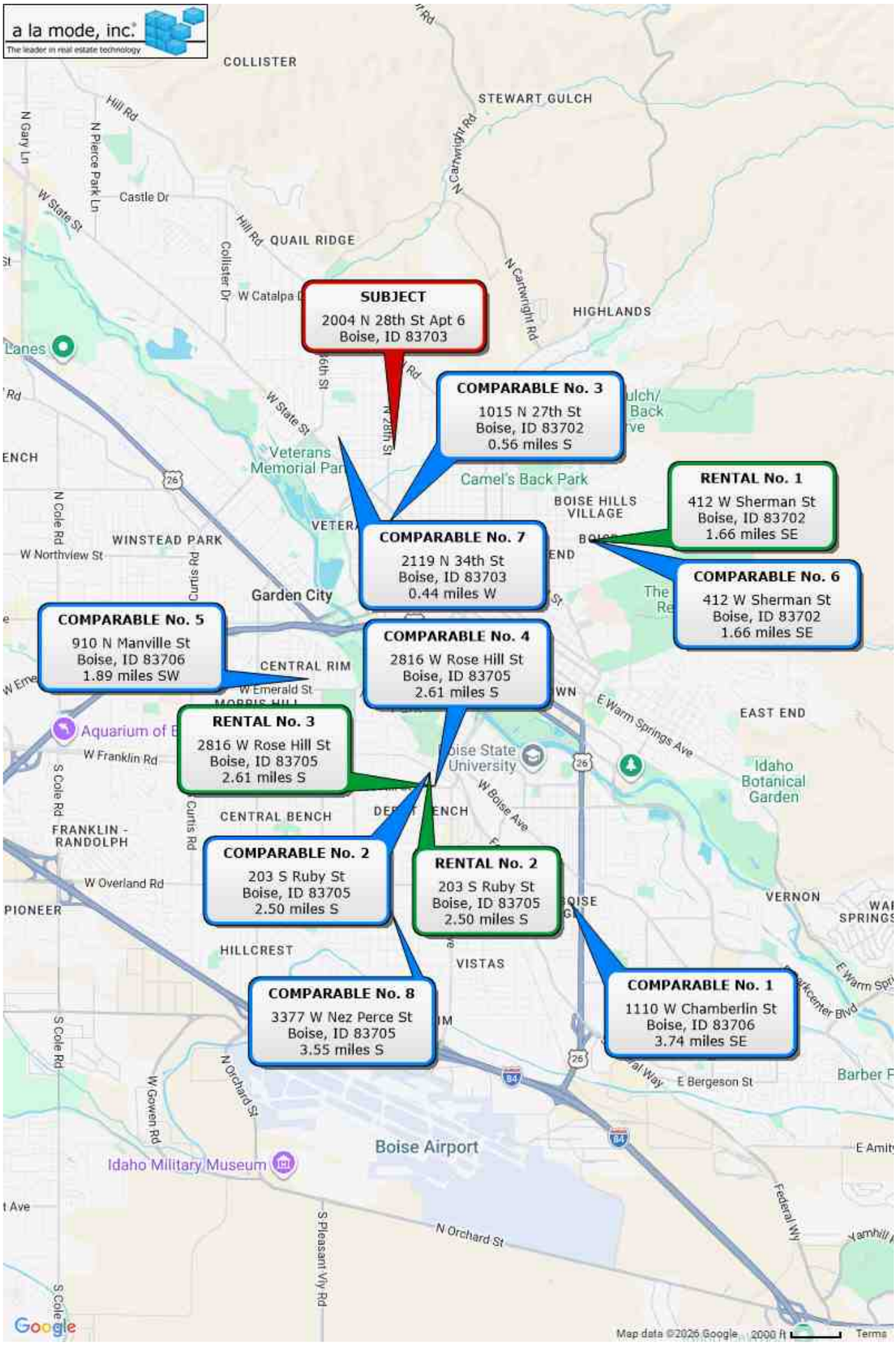

Serial# F8A328FD
esign.alamode.com/verify

Site Map

Borrower	North Boise Rentals LLC						
Property Address	2004 N 28th St Apt 6						
City	Boise	County	Ada	State	ID	Zip Code	83703
Lender/Client	National Loan Funding LLC						

Serial# F8A328FD
esign.alamode.com/verify

Aerial Map

Borrower	North Boise Rentals LLC						
Property Address	2004 N 28th St Apt 6						
City	Boise	County	Ada	State	ID	Zip Code	83703
Lender/Client	National Loan Funding LLC						

Serial# F8A328FD
esign.alamode.com/verify

License

Division of Occupational and Professional Licenses
11341 W Chinden Blvd. Boise, ID 83720-0063
dopl.idaho.gov

The person, firm, or corporation whose name appears on this certificate has complied with the provisions of the Idaho Real Estate Appraiser Board statutes and/or rules and regulations and is hereby authorized to engage in the activity as indicated below.

CHAD DICKENSON

Real Estate Appraiser License
5871264

Issued: 14-Jul-2025 Expires: 05-Feb-2027

Renewal Required

Russell Barron
Administrator

Printed: 14-Jul-2025

Real Estate Appraiser Board

CHAD DICKENSON
Real Estate Appraiser License
5871264

Expires: 05-Feb-2027

Russell Barron
Administrator

Serial# F8A328FD
esign.alamode.com/verify

Accelerant National Insurance Company
(A Stock Company)
400 Northridge Road, Suite 800
Sandy Springs, GA 30350

REAL ESTATE APPRAISERS
ERRORS AND OMISSIONS INSURANCE POLICY
DECLARATIONS

NOTICE: THIS IS A "CLAIMS MADE AND REPORTED" POLICY. THIS POLICY REQUIRES THAT A CLAIM BE MADE AGAINST THE INSURED DURING THE POLICY PERIOD AND REPORTED TO THE INSURER, IN WRITING, DURING THE POLICY PERIOD OR EXTENDED REPORTING PERIOD.

PLEASE READ YOUR POLICY CAREFULLY.

Policy Number: NAX40PL108391-01 **Renewal of: NAX40PL108391-00**

1. **Named Insured: Chad Dickenson**

2. **Address:** 2040 Springer Hills Ln SE
   Olympia, WA 98501

3. **Policy Period:** **From: March 12, 2025** **To: March 12, 2026**
   12:01 A.M. Standard Time at the address of the **Named Insured** as stated in item **2.** Above.

4. **Limit of Liability:**

	Each **Claim**	Policy Aggregate
Damages Limit of Liability	**4A. $ 1,000,000**	**4C. $ 1,000,000**
Claim Expenses Limit of Liability	**4B. $ 1,000,000**	**4D. $ 1,000,000**

5. **Deductible** (Inclusive of **Claims Expenses**):

Each **Claim**	Aggregate
5A. $500	**5B. $1,000**

6. **Policy Premium: $ 644**

7. **Retroactive Date: March 12, 2020**

8. **Notice to Company:** Notice of a **Claim** or Potential **Claim** should be sent to:
   OREP Insurance Services: info@orep.org
   6353 El Cajon Blvd, Suite 124-605
   San Diego, CA 92115

9. **Program Administrator:** OREP Insurance Services, LLC – appraisers@orep.org

10. **Forms and Endorsements Attached at Policy Inception:** See Schedule of Forms

If required by state law, this policy will be countersigned by an authorized representative of the Company.

Date: February 26, 2025 By: Isaac Peck
Authorized Representative

Form SCNLGL - "TOTAL" appraisal software by a la mode, inc. - 1-800-ALAMODE

Serial# F8A328FD
esign.alamode.com/verify

Borrower	North Boise Rentals LLC			File No.	260289
Property Address	2004 N 28th St Apt 6				
City	Boise	County	Ada	State ID	Zip Code 83703
Lender/Client	National Loan Funding LLC				

APPRAISAL AND REPORT IDENTIFICATION

This Report is one of the following types:

☒ Appraisal Report (A written report prepared under Standards Rule 2-2(a), pursuant to the Scope of Work, as disclosed elsewhere in this report.)

☐ Restricted Appraisal Report (A written report prepared under Standards Rule 2-2(b), pursuant to the Scope of Work, as disclosed elsewhere in this report, restricted to the stated intended use by the specified client or intended user.)

Comments on Standards Rule 2-3

I certify that, to the best of my knowledge and belief:
- The statements of fact contained in this report are true and correct.
- The reported analyses, opinions, and conclusions are limited only by the reported assumptions and limiting conditions and are my personal, impartial, and unbiased professional analyses, opinions, and conclusions.
- Unless otherwise indicated, I have no present or prospective interest in the property that is the subject of this report and no personal interest with respect to the parties involved.
- Unless otherwise indicated, I have performed no services, as an appraiser or in any other capacity, regarding the property that is the subject of this report within the three-year period immediately preceding acceptance of this assignment.
- I have no bias with respect to the property that is the subject of this report or the parties involved with this assignment.
- My engagement in this assignment was not contingent upon developing or reporting predetermined results.
- My compensation for completing this assignment is not contingent upon the development or reporting of a predetermined value or direction in value that favors the cause of the client, the amount of the value opinion, the attainment of a stipulated result, or the occurrence of a subsequent event directly related to the intended use of this appraisal.
- My analyses, opinions, and conclusions were developed, and this report has been prepared, in conformity with the Uniform Standards of Professional Appraisal Practice that were in effect at the time this report was prepared.
- Unless otherwise indicated, I have made a personal inspection of the property that is the subject of this report.
- Unless otherwise indicated, no one provided significant real property appraisal assistance to the person(s) signing this certification (if there are exceptions, the name of each individual providing significant real property appraisal assistance is stated elsewhere in this report).

Reasonable Exposure Time

(USPAP defines Exposure Time as the estimated length of time that the property interest being appraised would have been offered on the market prior to the hypothetical consummation of a sale at market value on the effective date of the appraisal.)

My Opinion of Reasonable Exposure Time for the subject property at the market value stated in this report is: 0-3 months

Based upon on statistical analysis and the examination of relevant sales history of comparable properties, the reasonable exposure time for the subject property type and value range is 0-3 months.

Comments on Appraisal and Report Identification

Note any USPAP-related issues requiring disclosure and any state mandated requirements:

I have performed no services, as an appraiser or in any other capacity, regarding the property that is the subject of this report within the three-year period immediately preceding acceptance of this assignment.

esign.alamode.com/verify Serial:F8A328FD

APPRAISER:

Signature:

Name: Chad Dickenson

State Certification #: 5871264

or State License #:

State: ID Expiration Date of Certification or License: 02/05/2027

Date of Signature and Report: 03/05/2026

Effective Date of Appraisal: 02/28/2026

Inspection of Subject: ☐ None ☒ Interior and Exterior ☐ Exterior-Only

Date of Inspection (if applicable): 02/28/2026

SUPERVISORY or CO-APPRAISER (if applicable):

Signature:

Name:

State Certification #:

or State License #:

State: Expiration Date of Certification or License:

Date of Signature:

Inspection of Subject: ☐ None ☐ Inter ☐ Exterior-Only

Date of Inspection (if applicable):

Serial# F8A328FD
esign.alamode.com/verify

UNIFORM APPRAISAL DATASET (UAD) DEFINITIONS ADDENDUM

(Source: Fannie Mae UAD Appendix D: UAD Field-Specific Standardization Requirements)

Condition Ratings and Definitions

C1

The improvements have been recently constructed and have not been previously occupied. The entire structure and all components are new and the dwelling features no physical depreciation.

Note: Newly constructed improvements that feature recycled or previously used materials and/or components can be considered new dwellings provided that the dwelling is placed on a 100 percent new foundation and the recycled materials and the recycled components have been rehabilitated/remanufactured into like-new condition. Improvements that have not been previously occupied are not considered “new” if they have any significant physical depreciation (that is, newly constructed dwellings that have been vacant for an extended period of time without adequate maintenance or upkeep).

C2

The improvements feature no deferred maintenance, little or no physical depreciation, and require no repairs. Virtually all building components are new or have been recently repaired, refinished, or rehabilitated. All outdated components and finishes have been updated and/or replaced with components that meet current standards. Dwellings in this category are either almost new or have been recently completely renovated and are similar in condition to new construction.

Note: The improvements represent a relatively new property that is well maintained with no deferred maintenance and little or no physical depreciation, or an older property that has been recently completely renovated.

C3

The improvements are well maintained and feature limited physical depreciation due to normal wear and tear. Some components, but not every major building component, may be updated or recently rehabilitated. The structure has been well maintained.

Note: The improvement is in its first-cycle of replacing short-lived building components (appliances, floor coverings, HVAC, etc.) and is being well maintained. Its estimated effective age is less than its actual age. It also may reflect a property in which the majority of short-lived building components have been replaced but not to the level of a complete renovation.

C4

The improvements feature some minor deferred maintenance and physical deterioration due to normal wear and tear. The dwelling has been adequately maintained and requires only minimal repairs to building components/mechanical systems and cosmetic repairs. All major building components have been adequately maintained and are functionally adequate.

Note: The estimated effective age may be close to or equal to its actual age. It reflects a property in which some of the short-lived building components have been replaced, and some short-lived building components are at or near the end of their physical life expectancy; however, they still function adequately. Most minor repairs have been addressed on an ongoing basis resulting in an adequately maintained property.

C5

The improvements feature obvious deferred maintenance and are in need of some significant repairs. Some building components need repairs, rehabilitation, or updating. The functional utility and overall livability is somewhat diminished due to condition, but the dwelling remains useable and functional as a residence.

Note: Some significant repairs are needed to the improvements due to the lack of adequate maintenance. It reflects a property in which many of its short-lived building components are at the end of or have exceeded their physical life expectancy but remain functional.

C6

The improvements have substantial damage or deferred maintenance with deficiencies or defects that are severe enough to affect the safety, soundness, or structural integrity of the improvements. The improvements are in need of substantial repairs and rehabilitation, including many or most major components.

Note: Substantial repairs are needed to the improvements due to the lack of adequate maintenance or property damage. It reflects a property with conditions severe enough to affect the safety, soundness, or structural integrity of the improvements.

Quality Ratings and Definitions

Q1

Dwellings with this quality rating are usually unique structures that are individually designed by an architect for a specified user. Such residences typically are constructed from detailed architectural plans and specifications and feature an exceptionally high level of workmanship and exceptionally high-grade materials throughout the interior and exterior of the structure. The design features exceptionally high-quality exterior refinements and ornamentation, and exceptionally high-quality interior refinements. The workmanship, materials, and finishes throughout the dwelling are of exceptionally high quality.

Q2

Dwellings with this quality rating are often custom designed for construction on an individual property owner’s site. However, dwellings in this quality grade are also found in high-quality tract developments featuring residence constructed from individual plans or from highly modified or upgraded plans. The design features detailed, high quality exterior ornamentation, high-quality interior refinements, and detail. The workmanship, materials, and finishes throughout the dwelling are generally of high or very high quality.

Serial# F8A328FD
esign.alamode.com/verify

UNIFORM APPRAISAL DATASET (UAD) DEFINITIONS ADDENDUM

(Source: Fannie Mae UAD Appendix D: UAD Field-Specific Standardization Requirements)

Quality Ratings and Definitions (continued)

Q3

Dwellings with this quality rating are residences of higher quality built from individual or readily available designer plans in above-standard residential tract developments or on an individual property owner's site. The design includes significant exterior ornamentation and interiors that are well finished. The workmanship exceeds acceptable standards and many materials and finishes throughout the dwelling have been upgraded from "stock" standards.

Q4

Dwellings with this quality rating meet or exceed the requirements of applicable building codes. Standard or modified standard building plans are utilized and the design includes adequate fenestration and some exterior ornamentation and interior refinements. Materials, workmanship, finish, and equipment are of stock or builder grade and may feature some upgrades.

Q5

Dwellings with this quality rating feature economy of construction and basic functionality as main considerations. Such dwellings feature a plain design using readily available or basic floor plans featuring minimal fenestration and basic finishes with minimal exterior ornamentation and limited interior detail. These dwellings meet minimum building codes and are constructed with inexpensive, stock materials with limited refinements and upgrades.

Q6

Dwellings with this quality rating are of basic quality and lower cost; some may not be suitable for year-round occupancy. Such dwellings are often built with simple plans or without plans, often utilizing the lowest quality building materials. Such dwellings are often built or expanded by persons who are professionally unskilled or possess only minimal construction skills. Electrical, plumbing, and other mechanical systems and equipment may be minimal or non-existent. Older dwellings may feature one or more substandard or non-conforming additions to the original structure

Definitions of Not Updated, Updated, and Remodeled

Not Updated

Little or no updating or modernization. This description includes, but is not limited to, new homes.

Residential properties of fifteen years of age or less often reflect an original condition with no updating, if no major components have been replaced or updated. Those over fifteen years of age are also considered not updated if the appliances, fixtures, and finishes are predominantly dated. An area that is 'Not Updated' may still be well maintained and fully functional, and this rating does not necessarily imply deferred maintenance or physical/functional deterioration.

Updated

The area of the home has been modified to meet current market expectations. These modifications are limited in terms of both scope and cost.

An updated area of the home should have an improved look and feel, or functional utility. Changes that constitute updates include refurbishment and/or replacing components to meet existing market expectations. Updates do not include significant alterations to the existing structure.

Remodeled

Significant finish and/or structural changes have been made that increase utility and appeal through complete replacement and/or expansion.

A remodeled area reflects fundamental changes that include multiple alterations. These alterations may include some or all of the following: replacement of a major component (cabinet(s), bathtub, or bathroom tile), relocation of plumbing/gas fixtures/appliances, significant structural alterations (relocating walls, and/or the addition of) square footage). This would include a complete gutting and rebuild.

Explanation of Bathroom Count

Three-quarter baths are counted as a full bath in all cases. Quarter baths (baths that feature only a toilet) are not included in the bathroom count. The number of full and half baths is reported by separating the two values using a period, where the full bath count is represented to the left of the period and the half bath count is represented to the right of the period.

Example:
3.2 indicates three full baths and two half baths.

Serial# F8A328FD
esign.alamode.com/verify

UNIFORM APPRAISAL DATASET (UAD) DEFINITIONS ADDENDUM

(Source: Fannie Mae UAD Appendix D: UAD Field-Specific Standardization Requirements)

Abbreviations Used in Data Standardization Text

Abbreviation	Full Name	Fields Where This Abbreviation May Appear
A	Adverse	Location & View
ac	Acres	Area, Site
AdjPrk	Adjacent to Park	Location
AdjPwr	Adjacent to Power Lines	Location
ArmLth	Arms Length Sale	Sale or Financing Concessions
AT	Attached Structure	Design (Style)
B	Beneficial	Location & View
ba	Bathroom(s)	Basement & Finished Rooms Below Grade
br	Bedroom	Basement & Finished Rooms Below Grade
BsyRd	Busy Road	Location
c	Contracted Date	Date of Sale/Time
Cash	Cash	Sale or Financing Concessions
Comm	Commercial Influence	Location
Conv	Conventional	Sale or Financing Concessions
cp	Carport	Garage/Carport
CrtOrd	Court Ordered Sale	Sale or Financing Concessions
CtySky	City View Skyline View	View
CtyStr	City Street View	View
cv	Covered	Garage/Carport
DOM	Days On Market	Data Sources
DT	Detached Structure	Design (Style)
dw	Driveway	Garage/Carport
e	Expiration Date	Date of Sale/Time
Estate	Estate Sale	Sale or Financing Concessions
FHA	Federal Housing Authority	Sale or Financing Concessions
g	Garage	Garage/Carport
ga	Attached Garage	Garage/Carport
gbi	Built-in Garage	Garage/Carport
gd	Detached Garage	Garage/Carport
GlfCse	Golf Course	Location
Glfvw	Golf Course View	View
GR	Garden	Design (Style)
HR	High Rise	Design (Style)
in	Interior Only Stairs	Basement & Finished Rooms Below Grade
Ind	Industrial	Location & View
Listing	Listing	Sale or Financing Concessions
Lndfl	Landfill	Location
LtdSght	Limited Sight	View
MR	Mid-rise	Design (Style)
Mtn	Mountain View	View
N	Neutral	Location & View
NonArm	Non-Arms Length Sale	Sale or Financing Concessions
o	Other	Basement & Finished Rooms Below Grade
O	Other	Design (Style)
op	Open	Garage/Carport
Prk	Park View	View
Pstrl	Pastoral View	View
PwrLn	Power Lines	View
PubTrn	Public Transportation	Location
Relo	Relocation Sale	Sale or Financing Concessions
REO	REO Sale	Sale or Financing Concessions
Res	Residential	Location & View
RH	USDA - Rural Housing	Sale or Financing Concessions
rr	Recreational (Rec) Room	Basement & Finished Rooms Below Grade
RT	Row or Townhouse	Design (Style)
s	Settlement Date	Date of Sale/Time
SD	Semi-detached Structure	Design (Style)
Short	Short Sale	Sale or Financing Concessions
sf	Square Feet	Area, Site, Basement
sqm	Square Meters	Area, Site
Unk	Unknown	Date of Sale/Time
VA	Veterans Administration	Sale or Financing Concessions
w	Withdrawn Date	Date of Sale/Time
wo	Walk Out Basement	Basement & Finished Rooms Below Grade
Woods	Woods View	View
Wtr	Water View	View
WtrFr	Water Frontage	Location
wu	Walk Up Basement	Basement & Finished Rooms Below Grade

Serial# F8A328FD
esign.alamode.com/verify